For Official Use Only
2576/GWR/2024

REPORT ON THE DYNAMIC GROUNDWATER RESOURCES OF MAHARASHTRA 2023

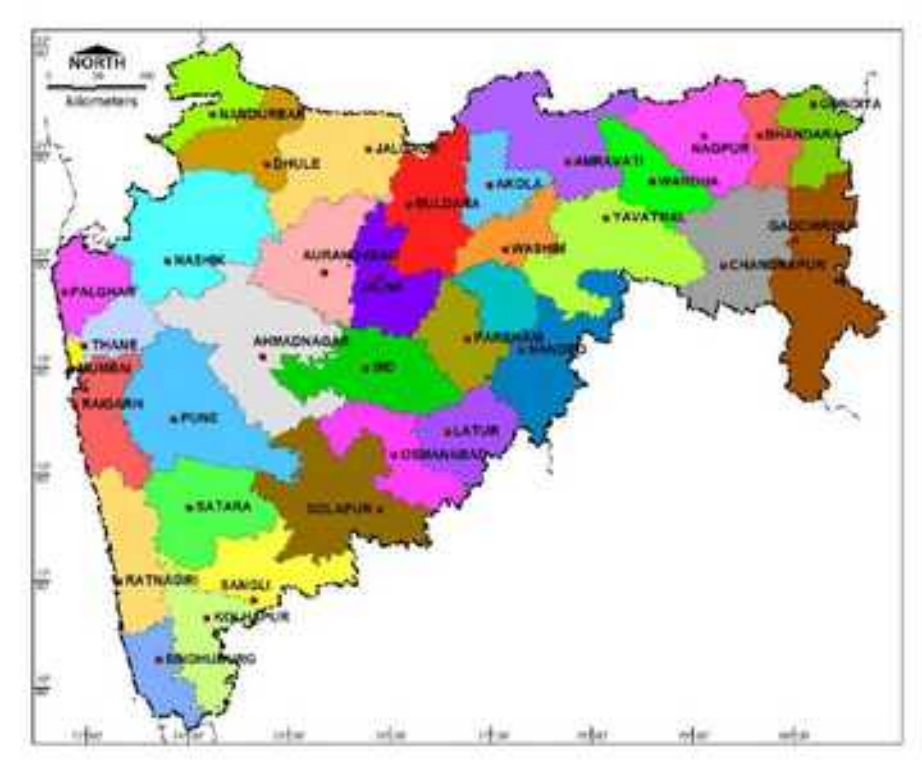

Groundwater Surveys and Development Agency, Pune

Water Supply and Sanitation Department,

Government of Maharashtra

&

Central Ground Water Board,

Central Region, Nagpur

Department of Water Resources, River Development & Ganga Rejuvenation

Ministry of Jal Shakti,

Government of India

MARCH-2024

REPORT ON

DYNAMIC GROUND WATER RESOURCES OF MAHARASHTRA 2023

Prepared by

Groundwater Surveys and Development Agency, Pune

Water Supply and Sanitation Department,

Government of Maharashtra

&

Central Ground Water Board,

Central Region, Nagpur

Department of Water Resources, River Development & Ganga Rejuvenation

Ministry of Jal Shakti,

Government of India

MARCH-2024

Contributor's Page

Groundwater Surveys and Development Agency, Government of Maharashtra, Pune

1. Pavneet Kaur, I.A.S, Commissioner, GSDA, Pune
2. Dr. Vijay V. Pakhmode, Joint Director, GSDA, Pune
3. Dr. Pramod P. Reddy, Deputy Director, GSDA, Pune
4. Mrs. Suvarna Shitole, Junior Geologist, GSDA, Pune
5. Mr. Pradip Kadam, System Analyst, GSDA, Pune

Central Ground Water Board, Central Region, Nagpur

1. Sh. N. Varadaraj, Regional Director, CGWB; CR, Nagpur
2. Dr. Pandith Madhnure, Scientist-D, CGWB; CR, Nagpur
3. Dr. J. Davithuraj, Scientist-D, SUO; Pune
4. Sh. Modi Durgaprasad, Scientist-C, CGWB; CR, Nagpur
5. Dr. Pullabhatla Kiran Kumar, Scientist-C, CGWB; CR, Nagpur
6. Ms. Bhagyashree Sahoo, Scientist-B, CGWB; CR, Nagpur

Shri. Sanjay Khandare (IAS),
Principal Secretary,
Water Supply and Sanitation
Department, Mantralay,
Mumbai-01

MESSAGE

Groundwater is the most precious fundamental resource used for drinking purpose, agriculture and for industry. The main source of Groundwater is rainfall. This groundwater is directly associated with the hydrological cycle, which is influenced by the atmosphere and climate. The climatic changes have also drastically affected the rainfall pattern. The impacts of climatic changes coupled with growing population, escalating urbanization, and the increasing demand of water for irrigation practices has led to heavy stress on groundwater resources, which can create a biggest hazard for the State's groundwater future availability. Greater part (92%) of the State is covered by basalt rocks that are unfavourable for groundwater storage. With this adverse background, to tackle the situation, periodical estimation of groundwater resources has become one of the most important aspects.

National level committees are constituted for designing the methodology and norms for carrying out the estimation of groundwater resources of the country. After due modifications in the previous methodologies and norms, recently formulated methodology 2015 is used to carry out the Groundwater Resources Estimation of 2023 of Maharashtra. The Groundwater Resources Estimation for Maharashtra State is jointly carried out by GSDA in association with CGWB.

The Groundwater Resources Estimation of 2023 is carried out on India-Groundwater Resources Estimation System (IN-GRES). The reports are available on the website of IN-GRES. All this exercise of Groundwater Resources Estimation is very much helpful for planning, policy making for different projects related to groundwater conservation, groundwater supplies, groundwater management etc.

I appreciate the efforts of all the officers and staff of GSDA and CGWB involved in the process of completing the Groundwater Resources Estimation of 2023 for the State of Maharashtra. I am keenly looking forward that this report will help in planning better groundwater management.

Principal Secretary
Water Supply and Sanitation Department
Mantralaya, Mumbai
Government of Maharashtra,
Maharashtra State

Pavneet Kaur (IAS)
Commissioner,
Groundwater Surveys and
Development Agency,
Government of Maharashtra,
Pune_05

MESSAGE

Groundwater is one of the most important natural resources of the State. It helps for drinking purpose both in rural as well as urban community. It also supports for irrigation & industry. Groundwater sustains the flow of rivers, streams, and helps to maintain wetland ecosystem. It is of vital importance for sustaining life, health, and integrity of ecosystems.

The availability of groundwater is extremely uneven, in space, time and depth. The uneven distribution of groundwater in the State can be mainly attributed to regional variation of rainfall and highly heterogeneous lithology. Around 92% of the State's area is occupied by hard rocks i.e. basalt, and because of variations in their basic characteristics, physiography and variability in the rainfall, there are restrictions for the groundwater availability.

To assess the availability of groundwater and to ensure maximum accuracy in groundwater estimation, the Central Government has appointed committees from time to time, comprising groundwater experts and has laid down guidelines for this purpose. In Maharashtra estimates of groundwater resources are being carried out based on these guidelines. The Groundwater Resource Estimation of Maharashtra for 2017, 2020, 2022 and 2023 is done based on latest norms and guidelines of the GEC-2015 Methodology.

Taking into consideration variation of rainfall in Maharashtra, which is the most dominant factor in the dynamic groundwater estimation, priority is to be given for demand management measures supported by artificial groundwater recharge in all the over developed (over-exploited/critical/semi-critical) watersheds. Similarly, the convergence of the GoI and GoM schemes of watershed development or artificial groundwater recharge need to be promoted in these areas.

I appreciate the efforts taken by officers of GSDA and CGWB who have been involved in the process of completing Groundwater Resources Estimation of 2023 for the state of Maharashtra. I am optimistic that this report will be useful to the planners, policy makers, farmers, and other stakeholders for better management of groundwater resources in the state.

(**Pavneet Kaur**, IAS)
Commissioner
Groundwater Surveys and Development Agency,
Government of Maharashtra,
Pune

PREFACE

Central Ground Water Board, Ministry of Jal Shakti, Govt of India in coordination with Groundwater Surveys and Development Agency, Government of Maharashtra has taken up the reassessment of **"Dynamic Groundwater Resources of Maharashtra-2023"** based on the latest techniques and data. The National Water Policy of India, regards groundwater as one of the most crucial elements in development planning. Therefore, accurate assessment of this vital resources is to be done at periodic interval by using the latest data & technology. The earlier estimates were carried out for the year 2004, 2009, 2011, 2013, 2017, 2020 and 2022.

Presently groundwater contributes 80 % of domestic needs and ~50% of irrigation needs of the people from the state. Demand on groundwater resources is further increasing due to pace of industrial development which, often leading to unsustainable drawl of groundwater resources from deeper aquifers.

The state which receives a normal annual rainfall between 882 mm to 3000 mm is mainly underlain by basalt (hard rock) aquifers (82% of geographical area), other aquifers are namely, gneisses, Schists & granite, (11%), rocks belonging to Precambrian age (2%) and alluvium (5%). The Water level data is monitored 4 times a year by CGWB from its 2124 monitoring wells and GSDA also monitors water level from its existing 3700 wells and this data is used extensively in computation of resources.

As compared to 2022 assessment, the Annual Ground Water Recharge in 2023 has increased from 32.28 to 32.76 BCM, Annual Extractable Ground Water Recharge from 30.45 to 30.95 BCM and Annual Ground Water Extraction from 16.65 to 16.66 BCM. There is a marginal decrease in the Stage of Ground Water Extraction by 0.85% i.e., from 54.68 % to 53.83 %.

I appreciate the efforts made by GSDA officials led by the Commissioner and his team of officers from Hqrs and officials from districts. I also put on record the sincere efforts made by officers from CGWB namely Dr. Pandith Madhnure, SC-D, Dr. Davithuraj, Sc-D, Sh. Modi Durgaprasad, Sc-C, Dr. P. Kiran Kumar, Sc-C and Smt. Bhagyashree Sahoo, SC-B. I also thank the committee members of SLC under the chairmanship of Adl. Chief Secretary, WS & SD, Govt of Maharashtra for giving their valuable comments in finalizing the report. The constant guidance and support provided by Chairman, CGWB, is duly acknowledged.

I, sincerely hope that the present report will serve as useful tool to the administrators, planners and government authorities in decision making and planning of groundwater schemes and regulation at field level.

Nagpur

Date: 27/03/2024

(N. Varadaraj)
Regional Director

CONTENTS

CHAPTERS	Page No.
CHAPTER- 1	1
1.INTRODUCTION	1
1.1 BACKGROUND	2
1.2 CONSTITUTION OF COMMITTEE FOR MAHARASHTRA STATE	3
1.3 BRIEF OUTLINE OF THE PROCEEDINGS OF THE COMMITTEE	4
CHAPTER- 2	5
2.1 LOCATION AND AREAL EXTENT	6
2.2 PHYSIOGRAPHY AND DRAINAGE	6
2.3 POPULATION	6
2.4 AGRICULTURE	6
2.5 CLIMATE AND RAINFALL	6
2.6. EVAPORATION	7
2.7 GEOLOGY	7
2.8 HYDROGEOLOGY	10
2.9 GROUND WATER QUALITY	12
CHAPTER - 3	13
3. GROUND WATER RESOURCE ESTIMATION METHODOLOGY, 2015	13
3.1 APPROACH OF GEC-2015	13
3.2 GROUNDWATER ASSESSMENT UNIT AND ITS SUB UNITS	13
3.3 GROUNDWATER RESOURCES OF AN ASSESSMENT UNIT	14
3.4 GROUNDWATER ASSESSMENT OF UNCONFINED AQUIFER	14
3.5 GROUNDWATER ASSESSMENT OF CONFINED AQUIFER SYSTEM	24
3.6 GW ASSESSMENT OF SEMI-CONFINED AQUIFER SYSTEM	26
3.7. TOTAL GROUND WATER AVAILABILITY OF AN AREA	26
CHAPTER 4	27
4. PROCEDURE FOLLOWED FOR GROUNDWATER ESTIMATION 2023	27
4.1 DATA SOURCE	27
4.2 VARIOUS NORMS USED	28
CHAPTER 5	30
5. COMPUTATION OF GW RESOURCES ESTIMATION	30
5.1 SALIENT FEATURES	30
5.2 GROUNDWATER RESOURCE ASSESMENT	30
5.3 SPATIAL VARIATION	33
5.4 COMPARISON WITH EARLIER ASSESSMENTS	35
5.5 GROUNDWATER RECHARGE IN POOR QUALITY ZONE	36

ENCLOSURES	41
Enclosure 1: State Govt. vide letter no. Bhujal-1822/C.R.29/WS-15 dated 27th Jan 2022, constituted The State Level Committee for Estimation of Ground Water Resources based on GEC-2015 Methodology	42
Enclosure 2: State Govt. vide letter no. Bhujal-1822/C.R.29/WS-15 constituted The Permanent State Level Committee for Estimation of Ground Water Resources based on GEC-2015 Methodology	47
Enclosure 3: List of Participants attended the SLC meeting of GWRE-2023 on 04th September 2023	51
5.6. ANNUAL POTENTIAL RECHARGES	36
5.7. The Summery of GWRE-2023	36
ANNEXURES	53
Annexure-A-I: GENERAL DESCRIPTION OF THE GROUND WATER ASSESSMENT UNIT 2023	54
Annexure-A-II: GENERAL DESCRIPTION OF THE GROUND WATER ASSESSMENT UNIT WATERSHED WISE 2023	114
Annexure-B: ASSESSMENT OF DYNAMIC GROUND WATER RESOURCES OF MAHARASHTRA 2023	176
ANNEXURE- C: ASSESSMENT OF DYNAMIC GROUND WATER EXTRACTION OF MAHARASHTRA -2023	191
ANNEXURE-D: SUMMARY OF TALUKA WISE SUMMARY-CATEGORIZATION-GWRE 2023	207
ANNEXURE E-CATEGORISATION OF ASSESSMENT UNIT - 2023 MAHARASHTRA STATE	209
ANNEXURE F - ASSESSMENT UNITS IMPROVED AND DETERIORATED COMPARED TO GWRE 2022	212

MAPS	
MAP 1: ADMINISTRATIVE MAP	213
MAP 2: RIVER BASINS, MAHARASHTRA STATE	214
MAP 3: RAINFALL DISTRIBUTION, MAHARASHTRA STATE	215
MAP 4: GEOLOGY, MAHARASHTRA STATE	216
MAP 5: TALUKA WISE CATEGORIZATION OF MAHARASHTRA STATE (As per Groundwater Estimation 2022-23)	217
MAP 6: WATERSHED WISE CATEGORIZATION OF MAHARASHTRA STATE (As per Groundwater Estimation 2022-23)	218

CHAPTER- 1

1. INTRODUCTION

The estimation of ground water resources of Maharashtra state as on 2023 has been carried out as per the recommendations of Ground Water Estimation Methodology-2015 (GEC-15). Earlier methodology (GEC- 97) is based on **'Water Balance Approach'** and the GEC 97 norms were used for estimation of dynamic ground water resources of the country considering 2004, 2009, 2011 and 2013 as base years. The methodology underwent comprehensive revisions in 2015 and a revised methodology, namely GEC 2015 methodology has been prescribed for ground water assessment. This methodology is followed for the assessment carried out since 2017 onwards. The revised methodology GEC 2015 recommends aquifer wise ground water resource assessment. Wherever the aquifer geometry has not been firmly established for unconfined aquifer, the in-storage ground water resources have to be assessed in alluvial areas up to depth of bed rock or 300 m whichever is less. In case of hard rock aquifers, the depth of assessment would be limited to 100 m. In case of confined aquifers, if it is known that ground water extraction is being taken place from this aquifer, the dynamic as well in-storage resources are to be estimated. If it is firmly established that there is no ground water extraction from this confined aquifer, then only in-storage resources of that aquifer have to be estimated.

Groundwater resource assessment is the determination of the source, extent, dependability and quality of groundwater, on which the evaluation of the possibilities of the utilisation and control depends. Estimation of groundwater is also important for managing State's water supply infrastructure, especially those that are dependent on groundwater. This report provides an overview of the groundwater resources of Maharashtra for use in like agricultural, domestic and industrial water supply. It will form the basis for understanding the existing and planning the future use of groundwater and to decide the management options on a holistic basis. These data also provide inputs that would be used to understand the dynamics of various sector wise demands and ensure sustainability for different water sector activities. The near approach accuracy in groundwater resource assessment will help the planners and policy makers in determining the extent and nature of:

- Co-ordinating and integrating mechanisms, now, required in the field of water sector.
- Regulations and new legislation, and Strategies and policies that deal with the priority of uses and conflict resolution mechanism (through mutually beneficial bargaining- basin/sub-basin water partnerships).

In short, groundwater resources assessment is a prerequisite for sustainable development of States water resources.

The present availability and requirement of water in the State of Maharashtra is extremely uneven, both spatially and temporally and so will be case in the future. Rapid population growth and

intensive anthropogenic activities have put both surface and groundwater under heavy stress, and significantly fresh water is becoming scarce and dearer in many areas. It is believed that in the coming decades most of the Earth's population will face a critical situation with regard to the availability of water. The water deficiency will become a factor affecting the living standards of populations adversely. To understand more about the water resource deficit that will face us in the future it is very important to analyse the present situation and understand rate of change in specific water resource availability in relation to socio-economic, geohydrologic and physiographic conditions.

In the State of Maharashtra, groundwater is an essential component for many water strategies and systems. It is therefore essential that the groundwater resource estimation is accurate so as to prepare strategies for the long-term management of this precious resource and for ensuring the long-term safety and wellbeing of all the sections of the society.

Groundwater resource estimation is mainly dependent on the quality of the data. Many a times because of the lack of good quality data the resource assessment misleads the planners, administrators and technocrats in formulating various developmental activities. Even today, the situation is no better. Systematic information on groundwater withdrawal by various sectors, especially irrigation and industry, through different groundwater structures is unavailable. Even with sincere efforts made by the Groundwater Surveys and Development Agency and CGWB it was not possible to obtain the required data, like estimated abstraction of groundwater from the wells from the well census data.

The State of Maharashtra is covered mostly by highly heterogeneous and structurally complicated rock formations, wherein it is very difficult to generalise any methodology or guidelines on hydrogeological aspects. In Deccan Trap Basalt, there is no well-defined, uniformly distributed, homogeneous aquifer system. Even during the process of recharge, the surface water in the given area does not uniformly replenish the subsurface. For assessing the groundwater resources on a regular basis, it is necessary to determine certain hydrogeological factors, which define the groundwater regime. This includes precipitation, storativity of the bedrock, aquifer characteristics, water quality and the overall environment.

Maharashtra is one of the few States in the country to initiate the work of aquifer delineation and subsequent management of groundwater resources. The implemented pilots illustrated the path breaking results.

1.1 BACKGROUND

In the State of Maharashtra groundwater has emerged as an important source to meet the water requirements of various sectors. Demands for groundwater resources are ever increasing and competition amongst users has intensified. The sustainable development of groundwater requires precise quantitative assessment based on reasonably valid scientific principles. The occurrence, movement and storage of groundwater are quite complex, being governed by several factors like

meteorology, geomorphology, geology, hydrogeology, and above all the human activities. All these factors make the precise assessment of groundwater very difficult and there is no direct technique available for precise assessment. Hence the methods applied for groundwater resource estimation are all indirect. There are several techniques and methodologies *in* vogue for estimation of groundwater resources. Quantification of groundwater resources is often critical and no single comprehensive technique is yet identified which is capable of estimating accurate groundwater potential. Since groundwater is a dynamic and replenishable resource, its proper and economic development on a sustainable basis, requires its realistic assessment. The estimation must be seen as an interactive procedure. Initial estimation are revised and refined by comparing these results with the results obtained by adopting alternative methods and third party studies.

The Ministry of Jal Shakti, Dept. of Water Resources, River Development & Ganga Rejuvenation, Govt. of India desires to reassess the Ground Water Resources for the entire country annual basis and hence the current re-estimation of resources as in March 2023 has been taken up in view of the changes that are observed in the ground water scenario. The last year data provided by the state agencies have been used in present ground water assessment. During current assessment, a software named "INDIA-Groundwater Resource Estimation System (IN-GRES)" has been introduced for re-assessing the ground water resources of entire country. The data collected were compiled as per format and was uploaded in the software and the results generated were validated with the manual calculations for ensuring the error-free functioning of software. The results were cross checked at various hierarchical levels.

1.2 CONSTITUTION OF COMMITTEE FOR MAHARASHTRA

The assessment of ground water resources for the State of Maharashtra have been estimated by the Ground Water Survey and Development Agency (GSDA) in collaboration with the Central Ground Water Board (CGWB), Nagpur based on the revised GEC-2015 Methodology. The present exercise on groundwater assessment as on March 2023 is also carried out in accordance with the protocol of GEC-2015 under the supervision of State Level Committee (SLC) of the respective States/UTs and under overall guidance of Central Level Expert Group (CLEG).

The SLC committee was constituted vide GR. No. Bhujal-1822/C.R. 29/WS-15 dated 27.01.2022. the copy of Govt resolution is enclosed as Enclosure -I. the RD CR is the member secretary of the committee.

State Govt. vide letter no. Bhujal-1822/C.R.29/WS-15 constituted The Permanent State Level Committee for Estimation of Ground Water Resources based on GEC-2015 Methodology (Enclosure-II).

As suggested in the protocol, the Groundwater Assessment Cell has been formed at State Level within the Directorate of Groundwater Surveys and Development Agency, Pune. The identification of data gaps and updating of database with respect to 2023 has been done in the cell. The entire data base has been reconciled jointly by GSDA and CGWB, Nagpur in a series of online/physical meetings, email correspondence and verification.

1.3 BRIEF OUTLINE OF THE PROCEEDINGS OF THE COMMITTEE

The State Level Technical Committee was held under the Chairmanship of Shri Sanjay Khandare, IAS, Principal Secretary, Department of Water Supply and Sanitation, Govt. of Maharashtra, Mumbai on 04th September 2023. The meeting was held in hybrid mode for finalization of Ground Water Resource Estimation 2023 (GWRE-2023) for the State of Maharashtra jointly carried out by Ground Water Surveys & Development Agency (GSDA), Pune and Central Ground Water Board (CGWB), Nagpur. Sh. N. Varadaraj, Regional Director & Member Secretary convened the meeting and the concerned Members of SLC participated during the meeting.

During the meeting, Dr. Vijay Pakhmode, Joint Director, GSDA, Pune made a detailed presentation on ground water resource assessment of Maharashtra component-wise (recharge & discharge) as on 2023 and also compared it with the previous assessment 2022.

During the discussions, the Chairman of the committee and Principal Secretary appreciated the efforts of CGWB & GSDA in completing the assessment and finally approved the Dynamic Ground Water Resources - 2023 (GWRE-2023) for the state of Maharashtra.

CHAPTER- 2

2.1 LOCATION & AREAL EXTENT

Maharashtra, the third largest state in India has a total geographical area of 3,07,713 sq km and lies between latitudes of 15°40’ and 22° 00’ N and longitudes of 72° 30’ and 80° 30' E in the west-central part of India abutting on the Arabian Sea. The State is governed by administrative by 36 districts

and including 2 urban districts and 357 talukas. There are 336 cities and towns in the State, out of which 40 have population more than 100,000. There are 40,785 villages and 45,528 hamlets (w*adi*, *vasti* or *pada*). District administrative boundaries considered for Groundwater Resource Assessment is shown in **Map 1**. The Silent features of State are given in Table-1

Table-1: SALIENT FEATURES OF MAHARASHTRA

A	***Location***	
	Latitude	15°40’ to 22°00’ E
	Longitude	72°30’ to 80°30’ N
	Area	3,07,713 sq. km
B	***Physiography***	**1.** The Sahyadri Range (Western Ghats) **2.** The Western Coastal Tract (Konkan **3.** The Eastern Plateau (Deccan Plateau)
C	***Population (census 2011)***	112,374,333 (112.37 million) (Male-58.3 million and Female-54.0 million)
	Urban Population	50.81 million (45.23%)
	Rural Population	61.56 million (54.77%)
C	***Rainfall Zone***	
	High Rainfall	2000 to 3500 mm
	DPAP Area	400 to 700 mm
	Assured Rainfall	800 to 1250 mm
D	***Land Use*** (2019-2020)	
	Area under Forest	61936 sq. km
	Gross Cropped area	232.12 sq.km. as per SER
	Net area Sown	168.15 sq.km
	Soils	Lateritic Soil, Shallow Black cotton soil, Deep Black cotton soil
	Plains and Central Highlands	Brown to black calcareous loams and clay
E	Western Ghats and Peninsular Plateau	Shallow brown to dark brown gravel, loams on high slopes, red to reddish brown laterites and lateritic soils on high level
	Coastal Plains	Laterites and lateritic soils red to reddish brown loam of non-lateritic origin
	Geology	
	Quaternary Alluvium	14498 sq. km (5.71%)
F	Deccan Trap lava flows	250026 sq. km (81.25%)
	Gondwana Rock Formation	4808 sq. km (1.56%)
	Proterozoic’s	6190 sq. km (2.01%)

	Precambrian Basement Complex	32191 sq. km (10.46%)
	Cropping Pattern	
	Konkan	Paddy, horticulture and vegetables
G	Western Maharashtra	Jowar, wheat, sugarcane, groundnut, onion, horticulture, sunflower, etc.
	Central Maharashtra	Jowar, wheat, cotton, sugarcane, grams, vegetables, sunflower, safola
	Vidarbha	Paddy, Jowar, Wheat, Cotton, Orange, Grams, Chilli
	Khandesh	Jowar, maize, grams, banana, wheat and chilli
	River Basins	5 basin & 15 sub basins
	Godavari	1,52,811 (49.8%)
H	*Krishna*	69,032 (22.6%)
	Tapi	51,304 (16.8%)
	Coastal (westerly flowing)	33,228 (10.80%)
	Narmada	1,417 (0.006%)
	watersheds	1535

2.2. PHYSIOGRAPHY & DRAINAGE

Physiographically, the State can be divided into three units: a) The Sahyadri Range (Western Ghats) b) The Western Coastal Tract (Konkan) and c) The Eastern Plateau (Deccan Plateau)**.** The state is divided in to 6 major basins namely Godavari, Krishna, Tapi, Narmada, Mahanadi and Coastal (westerly flowing) (Map 2). About 75% area of Maharashtra is drained by the eastward flowing rivers, viz., the Godavari and the Krishna before they join to Bay of Bengal sea and the remaining 25% area is drained by westward flowing rivers, viz., the Tapi and the Konkan coastal rivers, to the Arabian Sea.

2.3. POPULATION

As per 2011 census, the population of state is 112.37 million out of which 45.23 (40.25%) million is urban and 54.77 (48.75%) million is rural. The state is mainly an agriculture State with around 82% of rural population relying on agriculture.

2.4 AGRICULTURE

Agriculture is the mainstay of the state of Maharashtra. Maharashtra's economy is predominantly agrarian. Both food crops and cash crops are grown in the state. Principal crops include rice, jowar, bajra, wheat, pulses, turmeric, onions, cotton, sugarcane and several oil seeds including groundnut, sunflower and soybean. The state has huge areas, under fruit cultivation of which mangoes, bananas, grapes, and oranges are the main ones. The agriculture in state is predominantly rain-fed.

2.5 CLIMATE & RAINFALL

The climate of Maharashtra State is tropical monsoon type. Its location on the Western Coast and the peculiar topography are additional features which cause regional variation of climate from place to place within the State.

Maharashtra predominantly receives 85% of rainfall from the SW monsoon (from June to September). The monsoon normally withdraws by the end of September or early October. The distribution of rainfall across the State is variable and is strongly influenced by physiography. The

Western Ghats, popularly known as the '*Sahyadri*' rises up from the coastal plains- 'Konkan' upto a maximum height of 1654 m. It forms a fairly continuous hill range in the north-south direction and forms a major water divide along the western parts of the State. The Konkan coast experiences high rainfall up to 3000 mm. The *Sahyadris* also act as a barrier to the advancing southwest monsoon and also receive copious rainfall. However, they form a rain shadow zone on the eastern side where the rainfall is generally between 400-700 mm but at times less than 400 mm. This region constitutes the Drought Prone Area of the State. Thus, the central part of the State almost always reels under scarcity and droughts. Ninety-nine talukas in the State are chronically drought affected. The region towards east of Marathwada and Vidarbha receives up to 1250 mm rainfall and falls within the assured rainfall zone. Variability of rainfall over the State is generally high ranging from 20 to 35 %, except in coastal areas where it is less than 20% (Map 3)

The post-monsoon season generally extends for two months between October and November. The winter season lasts for three months from December to February. March, April and May form the hot weather season.

2.6. EVAPORATION

The evaporation in state varies from 1478 mm to 2474 mm. It is lowest in Konkan region where as highest in Nashik, Dhule, Jalgaon, Buldhana, Akola and Amravati districts. If mean monthly evaporation and mean monthly rainfall are compared the evaporation appears higher even than rainfall in the months of July and August in Ahmednagar District and in September in Jalgaon, Buldhana and Akola Districts. That is why, even during monsoon, crops are badly in need of irrigation in these districts.

2.7 GEOLOGY

The geology of Maharashtra is famous for the Deccan Traps, which occur in all the districts of the State, except Bhandara, Gondia and Gadchiroli. The other geological formations, older and younger than Deccan Traps, occur in the northeast and as isolated patches in the Sindhudurg and Ratnagiri districts (Map 4). The stratigraphic succession of the geologic formations in the State is given in Table -2.

TABLE 2- Stratigraphy of rock types occurring in Maharashtra

Age	Geology	Distribution in the districts Covered
Recent-Quaternary	Alluvium	Alluvium in parts of Dhule,Nandurbar, Jalgaon, Buldhana, Akola and Amravati districts.
	Laterite	Laterites in Kolhapur, Satara, Sangli, Ratnagiri, Raigad and Thane districts.
	Beach Deposits	Beach sand along the beaches, Konkan coast
Lower Eocene Upper Cretaceous	Deccan Trap Volcanic Lava flows with inter-trappean beds.	All the districts of the State except Bhandara, Gondia, Gadchiroli
	Lametas	Nagpur
	Bagh Beds	Nandurbar
Jurassic (Up. Gondwana)	Chikiala and Kota Stages: Limestone.	Sironcha taluka of Gadchiroli district.
Triassic	Pachmari and Maleri Stages: Clays, Sandstones.	Sironcha taluka of Gadchiroli district and Achalpur taluka of Amravati district.
Permian	Mangli Beds, Sandstones.	Warora taluka of Chandrapur district.

Age	Geology	Distribution in the districts Covered
(L. Gondwana)	Kamthi series Sandstones, Shales, Coal	Nagpur, Chandrapur and Yavatmal districts.
	Barakar series Sandstone, Shales and Coal	Nagpur, Chandrapur and Yavatmal districts.
Upper Carboniferous	Talchir series	Nagpur, Chandrapur and Yavatmal districts.
Proterozoic	Vindhyan Super Group (Limestones, Shales, Sandstones).	Yavatmal, Nanded and Chandrapur districts
	Cuddapah equivalent Limestones and Shales.	Sironcha Taluka of Gadchiroli district.
	Kaladgi Super Group Sandstones, Shales Conglomerates	Ratnagiri, Sindhudurg and Kolhapur districts.
Precambrian	Sakoli Series, Iron Ore Series	Gadchiroli, Chandrapur, Nagpur and Gondia districts.
	Sausar Series	Nagpur and Bhandara districts.
	Peninsular Basement Complex Gneissic (PGC)	Gadchiroli, Chandrapur, Nagpur, Bhandara and Sindhudurg districts.

PRECAMBRIAN ROCKS

The Precambrian rocks of Maharashtra are as varied and diverse as is found in Peninsular India. They are mostly confined to the north-eastern parts and fringe areas of the State. Most of these rocks are older than 3.5 billion years and are invariably metamorphosed and are grouped in PGC. These are mostly gneisses with enclaves of schists and amphibolites. Gneisses occur in Nagpur, Bhandara, Gondia, Chandrapur, Gadchiroli and Sindhudurg districts. Besides this, the meta sediments belonging to Sausar Series are also exposed in the Nagpur and Bhandara districts and include a variety of rock types such as calcgranulites, calciphyres, quartzites, gneisses, schists and manganese bearing ‘gondites’. Structurally, these rocks are intensely folded and faulted as these were subjected to a number of tectonic events. Another group of rocks popularly referred to as the Sakoli Series is exposed in the Gadchiroli, Chandrapur, Nagpur and Gondia districts. These consist of pelitic, psamopelitic and metabasic sediments and include phyllites, schists, amphibolites, quartzites and associated basic instrusives. The Iron Ore Series constitutes an important iron ore bearing formation in Gadchiroli and Sindhudurg districts. The rocks consist of quartzites and Banded Hematite Quartzites with sizeable quantities of exploitable iron ore.

PROTEROZOIC ROCKS

The Basement Gneissic Complex is overlain by the Proterozoic sediments. The limestone rocks equivalent to the Cuddapah Super Group, are exposed in small areas in the southern part of Gadchiroli district. Another equivalent rock formations referred to as Kaladgi Group rest directly on the Precambrian rocks in Sindhudurg and Kolhapur districts. The Kaladgi rocks consist of sandstones and shales and has given rise to important deposits of silica sands. Rocks belonging to this formation occur below the Deccan Trap flows in Kolhapur district. Vast areas in the districts of Nanded, Yavatmal, Chandrapur and Gadchiroli, are occupied by the rocks of the Vindhyan Super Group. They consist of limestones, dolomitic limestones, purple-coloured shales and feldspathic sandstone.

GONDWANA SYSTEM:

The coal bearing Gondwana sediments were deposited in basins formed by the rifting of the Gondwana protocontinent. The sedimentary rocks belonging to the Gondwana system can be divided into two groups namely the Lower Gondwana and the Upper Gondwana. The Lower Gondwana sediments include the Talchir series, the oldest group of rocks followed by Barakar series, Kamthi series and Mangli beds.The Talchir series include serrated boulders and green shales, sandstone, clays and mudstones that were deposited during the glacial period. The Barakar series consists of a thick succession of alternate layers of sandstones and shales with interbedded coal seams. The youngest group of rocks belonging to the lower Gondwana sequence is known as the Mangli beds and consists of conglomerates, grits and sandstones and is exposed in Warora taluka of Chandrapur district. The upper Gondwana sediments include Pachmari, Maleri, Kota and Chikli group and are mainly exposed in Sironcha taluka of Gadchiroli district. Around Bairamghat in Amravati district, the Pachmari group sediments are exposed. They essentially consist of sandstones, shales and clays and include number of plant fossils.

LAMETA AND BAGH BEDS

The rocks formations referred to the Bagh Beds are exposed along the southern bank of Narmada River in Akkalkuwa taluka, Nandurbar district and comprise of siliceous limestones and sandstones. The Lametas comprise essentially of calcareous sandstone, cherty limestones and clays. The Lameta and Bagh Beds are referred to as infra- trappean beds i.e. occurring below the Deccan Traps. These are located at various places and along the fringes of the Deccan Traps near Nagpur and Amravati district.

DECCAN VOLCANIC PROVINCE (DECCAN TRAPS)

It occupies an area of about 2,46,784 sq. km, which is about 82% of the State. The Traps are composed of a thick pile of lava flows seldom separated by flow top breccia or ‘red bole’. The individual lava flow varies greatly in thickness from a few metres to as much as 30-35 meters. In the fringe areas i.e. around Mumbai, Nagpur, etc. inter-trappean sediments, which consists of sandstones, shales, marls etc. is exposed between flows. The basaltic flows that constitute the shallow and deeper aquifers present inconsistent and complex hydrogeological pattern. Although climatic, physiographic and rainfall vary widely across the State, the inherent differences in the lava type, their geometry and the superimposing fabric of post-volcanic tectonics are more important locally in contributing to anisotropic nature of the aquifer.

The intrusive dyke swarms occur along two tectonic belts i.e. the West Coast and the Narmada-Tapi River. Most of the dykes are hypabassal. The dykes cut across number of flows and form an important physiographic feature sometimes occurring as ridges (positive feature) and at other places forming linear depressions (negative features). The dykes control groundwater movement and as such are known to be ‘carriers’ or ‘barriers’.

ALLUVIAL DEPOSITS

The alluvial deposits generally occur along the lower reaches of major river valleys. Two well-known alluvial deposits namely, Tapi Valley (districts of Nandurbar, Dhule and Jalgaon) and the Purna Valley (districts of Buldhana, Akola and Amravati) are recognised. These alluvial deposits belong to slightly older period (Quaternary) in geological history than most of the alluvial deposits in the coastal areas of the country. The alluvial deposits in the Tapi and Purna valleys occur in separate, rather, long

narrow basins and occupy a total area of 10,500 sq. km. of which Tapi covers an area of 4100 sq. km and Purna covers 6400 sq. km. On the basis of exploratory drilling, it is known that, these alluvial deposits attained a maximum thickness of about 425 m bgl. Minor alluvial deposits are also known to occur in other parts of the State such as along Bhima, Godavari, Wardha, Wainganga, Penganga rivers and few of their tributaries.

2.8 HYDROGEOLOGY

GROUNDWATER PROVINCES OF MAHARASHTRA

On the basis of geological formations, the State can be divided into the following groundwater provinces: -

i. Precambrian metamorphic groundwater province
ii. Proterozoic sedimentary groundwater province
iii. Gondwana groundwater province
iv. Deccan Trap volcanic groundwater province
v. Alluvial groundwater province

Precambrian metamorphic groundwater province

The basement complex rock types such as schists, gneisses, granite, amphibolites and basic intrusives constitute this province. The rocks are very hard and compact and possess practically no primary porosity. However, these are highly weathered and are fractured, sheared and jointed due to numerous tectonic episodes. The secondary porosity is therefore of prime importance in this province. The yield from the wells generally varies from 45 to 80 m^3/day and the water level fluctuation varies from 2 to 8 metres. However, the wells located on major lineaments or shear zones have higher yields (100 to 150 m^3/day).

Proterozoic sedimentary groundwater province

The compact sediments mainly comprise of Vindhyan and Kaladgi formations. The total area occupied by these sediments is 6,190 sq. km. The Vindhyans comprise of limestones, sandstones and shales. Groundwater occurs in these rocks under phreatic as well as semi-confined conditions. The dug wells piercing the Vindhyan rock types range in depth between 5 and 12 m and static water levels range between 2 and 7 m bgl. The diameters of the wells range between 3 and 5 m. The limestones at places are massive but are generally bedded and exhibit vertical joints. In some places, particularly in Yavatmal and Chandrapur districts they develop 'karst' topography. Geomorphological features such as sink holes, galleries and caverns associated with this topography impart secondary porosity and permeability to this formation. The wells in this area generally sustain a discharge of 50 to 100 m^3/day.

Gondwana sedimentary groundwater province

The Gondwana sedimentary rock formations are confined chiefly to the districts of Nagpur, Chandrapur, Yavatmal and Amravati. These sediments occupy a total area of about 4,808 sq. km and comprise of sandstones, shales and clays of varying thickness and degree of compaction. These rocks possess primary porosity. However, due to block faulting and intra-formational faulting and fracturing, secondary porosity is generated within these formations. Occasionally, lenses of pebbles and gravels are also encountered. There are possibilities of encountering confined aquifers in these types of rocks. Few exploratory tube wells drilled by Groundwater Surveys and Development Agency and Central Ground Water Board have indicated a discharge of 100 to 300 m^3/day. The dug wells in these types of

rocks vary in depth from 10 to 20 m. The water levels vary from few metres to 8 mbgl. The yield ranges between 50 and 300 m^3/day.

Deccan Trap volcanic groundwater province

The Deccan Traps, which occupy about 82% of the total area of the State, is a major groundwater province for consideration and evaluation of groundwater potential in the State. The basalt lava flows are formed as wide spread flows forming extensive plateaus. The entire pile of near horizontal lava flows show variation in their physical character, thereby influencing the aquifer parameters. While considering the occurrence of groundwater in the basaltic hard rocks, which possess very poor primary porosity it is interesting to note that the basaltic lava flows develop vesicular character, especially, in the flow crust. Further, secondary features like weathering, jointing, and shearing develop storage space, which make the basaltic rocks capable of holding and transmitting groundwater. The vesicles, the joint system and inter-flow zones contribute considerably to the yield of the basaltic flow. The yield is considerably affected by other two factors namely, degree of weathering and topographic setting. Weathering increases porosity and permeability and topographic setting affects the movement and discharge of groundwater. Thus a highly weathered vesicular lava flow has good porosity and permeability and proves to be a good aquifer. However, the inter flow horizons such as red boles tend to become clayey and sometimes reduce the aquifer properties. Groundwater in the basaltic aquifers occurs under phreatic and semi-confined conditions. The massive lava flows and thick red-bole layers tend to inhibit vertical movement of groundwater and thus act as confining aquicludes. The productive aquifers when favourably situated receive recharge and groundwater moves down the slopes till it is withdrawn by abstraction structures such as dug wells or natural discharge (spring). The water level and yields of wells are a function of the permeability and thickness of the aquifer encountered. The entire succession of lava flows act as multi-aquifer system. The average depth of wells varies from 9 to 15 m and diameter varies from 4 to 8 m. The range of water level varies from 3 to 7 m and the yield ranges from 75 to 100 m^3/day in winter. Wells located in favourable sites have very good yields ranging from 150 to 200 m^3/day. In the Deccan traps the low availability of groundwater is attributed to its peculiar geomorphological and geological set up. The lava flows are individually different in their ability to receive, hold as well as to transmit water. The availability and productivity of groundwater in Deccan Trap is entirely dependent in its inherent physical property such as the size and distribution of vesicles, number and spacing of interconnected joints and fractures and degree of weathering.

Alluvial groundwater province

The alluvial deposits in Tapi and Purna valleys are unique in that, they have been deposited in faulted basins. The northern - boundaries of the two basins are faulted and the floors of the basins have sunk to relatively greater depths. The basements have a slope towards north in both the cases. The weathering and erosion of the Satpuras have contributed considerable volume of material in filling up of the two basins. The foothills of the Satpuras have a thick accumulation of pediment deposits commonly referred to as the ‘bazada zone’. The thickness of the zone varies considerably but holds tremendous potential as far as artificial recharge to the depleting groundwater is concerned. The alluvial deposits in the basins have attained a maximum thickness of about 400 m at Akot in Akola district of Purna valley and about 300 m at Yawal in Jalgaon district in the Tapi valley. The alluvial sediments in the two basins generally consist of clays, silt, sand, pebbles and boulders. The sand, gravel, boulders etc. occur in one or more beds of 2 to 13 m in thickness, generally within a depth of about 100 m and sometimes even down to the depth of 250 m below the surface. Boulders and gravels sometimes mixed with clays are predominant in the northern part of alluvial area in the Purna basin.

The alluvial deposits in the two areas consist of different type of water bearing horizons. The most important amongst them are the beds of sand, gravel and boulders, as these beds receive recharge, and store and transmit large quantities of groundwater. The alluvial material generally contain one shallow aquifer within a depth of about 20 m and one deep confined aquifer below 30 m. Central Ground Water Board has carried out extensive exploratory drilling in Tapi (57 tube wells) and Purna (78 tube wells) alluvial areas. The depth of these tube wells range from 17 to 322 m bgl. and their yield range is from 5 to 45 lps. The exploratory study has shown that the alluvium is deposited in faulted basin which have prominent northerly tilting basement of the Deccan Trap. The 300 to 350 m thick alluvial deposits can be divided into younger alluvium up to 80 m depth and older alluvium below it. The younger alluvium contains 2 to 4 granular aquifer zones, which have excellent hydrologic parameters. The water levels in open wells vary in depth from 15 to 30 m. In areas bordering Satpura in the north water levels are deeper and the wells are 30 m or more in depth. Most of the existing dug wells yield 100 to 300 m^3/day, though in few cases higher yields are observed. Groundwater Surveys and Development Agency has drilled large number of tube wells in these formations especially for drinking water purposes. The chemical quality of groundwater in the aquifer of alluvial deposits is generally good in northern part. However, in Purna alluvial areas the groundwater in shallow aquifers, especially in the southern part of the basin is saline.

2.9 GROUND WATER QUALITY

The chemical quality of groundwater from the shallow basaltic aquifers during 2022 is good (electrical conductivity ~501-1000 µs/cm). In most samples the pH values range from 7.5 to 8.5 indicating the alkaline nature of the groundwater. In Maharashtra, the saline groundwater (electrical conductivity ~2001-3000 µs/cm) are present in three geographically distinct areas viz. the coastal areas of Konkan, the Purna alluvial basin and the upland DPAP areas. The chemical quality of groundwater for deeper aquifers however represents a different picture. Saline groundwater patches (electrical conductivity > 2001µs/cm) are reported from the Konkan coast (Thane, Raigad, Ratnagiri), Purna (Buldana, Akola, Amravati) and the DPAP areas (Pune, Sangli,). The average values of TDS of the samples suggest that the groundwater in the monitoring wells is fresh in nature. It is observed that the Total Dissolved Solids (TDS) of ground water of shallow aquifer in majority of the areas of the state is well within the maximum permissible limits as prescribed by BIS, i.e., below 2000 mg/L. It is also seen that in the plain area of Maharashtra especially in Western Maharashtra, Marathwada and parts of Vidarbha, the TDS of ground water lies mainly in the range of 500–2000 mg/L with some pockets having TDS more than 2000 mg/L. Major parts of Ahmednagar, Akola, Aurangabad, Buldhana, Dhule, Hingoli, Jalna, Nandurbar, Nasik, Nandurbar, Ratnagiri, Sangli, Satara, Solapur and Thane districts are reported to contain higher TDS (>2000 mg/L) in the ground water samples. In plain areas, the residence time for ground water is more, bringing more ions to groundwater through water rock interaction. The increase in TDS in Marathwada region of Maharashtra may be due to high rate of evapotranspiration in the area as it falls under the rain scarcity zone. The Hardness of groundwater range between 100 to 500 mg/lit which is suitable for drinking purposes. The fluoride concentration in groundwater from the Precambrian basement rocks and Proterozoic sediments are above prescribed limits of BIS drinking water standard (>1.5 mg/l). Such occurrences have been reported from districts such as Chandrapur, Nagpur, Gadchiroli, Yavatmal, Nanded, Bhandara and Sindhudurg However, it is to mention here that these are treated as point sources and not applicable to the entire watershed.

CHAPTER 3

3. GROUND WATER RESOURCE ESTIMATION METHODOLOGY, 2015

The ground water assessment of the country is being carried out jointly by State Ground Water Departments i.e., Groundwater Surveys and Development Agency (GSDA) and Central Ground Water Board (CGWB) based on "Ground Water Estimation Methodology, 1997" (GEC-97). Previous such joint exercises based on GEC-97 Methodology was carried out in 2004, 2009, 2011 and 2013. A number of changes have taken place since 1997 and with this background, the Ministry of Water Resources, River Development & Ganga Rejuvenation has constituted a committee headed by Chairman, CGWB to review and revise the existing GEC-97 Methodology and to incorporate new advancements/practices/tools so as to suggest a new methodology known as *"Ground Water Estimation Methodology, 2015" (GEC-2015 Methodology)*. The Committee has submitted a report on "Ground Water Estimation Methodology, 2015" incorporating refinement in the assessment methodology, database used for estimation and alternative approach for assessment involving Advanced Technology. The revised methodology as recommended has incorporated number of changes compared to the recommendations of Ground Water Estimation Committee- 1997.

3.1 APPROACH OF GEC-2015

The revised methodology GEC 2015 recommends aquifer wise ground water resource assessment. Ground water resources have two components–Replenishable ground water resources or Dynamic ground water resources and In-storage resources or Static resources. GEC- 2015 recommends estimation of Replenishable and in-storage ground water resources for both unconfined and confined/ semi-confined aquifers. Wherever the aquifer geometry has not been firmly established for the unconfined aquifer, the in-storage ground water resources have to be assessed in the alluvial areas up to the depth of bed rock or 300m whichever is less. In case of hard rock aquifers, the depth of assessment would be limited to 100m. In case of confined aquifers, if it is known that ground water extraction is being taken place from this aquifer, the dynamic as well as in-storage resources are to be estimated. If it is firmly established that there is no ground water extraction from this confined aquifer, then only in-storage resources of that aquifer have to be estimated.

3.2 GROUND WATER ASSESSMENT UNIT AND ITS SUB UNITS

This methodology recommends aquifer wise ground water resource assessment. An essential requirement for this is to demarcate lateral as well as vertical extent and disposition of different aquifers. A watershed with well-defined hydrological boundaries is an appropriate unit for ground water resource estimation if the principal aquifer is other than alluvium. Ground water resources worked out on watershed as a unit, may be apportioned and presented on administrative units (block/ taluka/ mandal/ firka).

It is recommended that ground water recharge may be estimated for the entire assessment unit. Out of the total geographical area of the unit, hilly areas wherever slope is greater than 20%, are to be identified and subtracted as these areas have more runoff than infiltration. The hilly areas wherever slope is more than 20% may be demarcated using DEM data and geomorphological maps. Apart from this it is also important that the areas where the quality of ground water is beyond the usable limits (for drinking water in particular) in terms of salinity is to be identified and handled separately. This methodology recommends that after the assessment is done, a quality flag may be added to the assessment unit for parameters salinity, fluoride and arsenic.

The ground water resource beyond the permissible quality limits in terms of the salinity has to be computed separately. The remaining area after excluding the area with poor ground water quality is to be delineated as follows:

(a) Non-command areas which do not come under major/medium surface water irrigation schemes.

(b) Command areas which come under major/medium surface water irrigation schemes which are actually supplying water.

3.3 GROUND WATER RESOURCES OF AN ASSESSMENT UNIT

The ground water resources of any assessment unit is the sum of the total ground water availability in the principal aquifer (mostly unconfined aquifer) and the total ground water availability of semi-confined and confined aquifers existing in that assessment unit. The total ground water availability of any aquifer is the sum of dynamic ground water resources and the in-storage or static resources of the aquifer.

3.4 GROUND WATER ASSESSMENT OF UNCONFINED AQUIFER

Assessment of ground water resources includes the assessment of dynamic and in-storage ground water resources. The development planning should mainly depend on dynamic resource only as it gets replenished every year. Changes in static or in-storage resources reflect impacts of ground water mining. Such resources may not be replenishable annually and may be allowed to be extracted only during exigencies with proper recharge planning in the succeeding excess rainfall years.

Assessment of Dynamic Ground Water Resources

The methodology for ground water resources estimation is based on the principle of water balance as given below –

$$\boldsymbol{Inflow - Outflow = Change\ in\ Storage\ (of\ an\ aquifer)} \qquad \textbf{(1)}$$

Equation 1 can be further elaborated as –

$$\Delta S = R_{RF} + R_{STR} + R_C + R_{SWI} + R_{GWI} + R_{TP} + R_{WCS} \pm VF \pm LF - GE - T - E - B \qquad \textbf{(2)}$$

Where,

ΔS – Change is storage

R_{RF} – Rainfall recharge

R_{STR}- Recharge from stream channels

Rc – Recharge from canals

R_{SWI} – Recharge from surface water irrigation

R_{GWI}- Recharge from ground water irrigation

R_{TP}- Recharge from Tanks & Ponds

R_{WCS} – Recharge from water conservation structures

VF – Vertical inter aquifer flow

LF- Lateral flow along the aquifer system (through flow)

GE-Ground Water Extraction

T- Transpiration

E- Evaporation

B-Base flow

It is preferred that all the components of water balance equation should be estimated in an assessment unit.

Rainfall Recharge

It is recommended that ground water recharge should be estimated on ground water level fluctuation method and rainfall infiltration factor method during monsoon season and the rainfall recharge during non-monsoon season may be estimated using rainfall infiltration factor method only.

Ground water level fluctuation method

The ground water level fluctuation method is to be used for assessment of rainfall recharge in the monsoon season. The ground water balance equation is given by

$$\Delta S = R_{RF} + R_{STR} + R_C + R_{SWI} + R_{GWI} + R_{TP} + R_{WCS} \pm VF \pm LF - GE - T - E - B \quad (3)$$

Where,

ΔS – Change is storage
R_{RF} – Rainfall recharge
R_{STR}- Recharge from stream channels
R_C – Recharge due to Canals
R_{SWI} – Recharge from surface water irrigation (Lift Irrigation)
R_{GWI}- Recharge from ground water irrigation
R_{TP}- Recharge from tanks & ponds
R_{WCS} – Recharge from water conservation structures
VF – Vertical inter aquifer flow
LF- Lateral flow along the aquifer system (through flow)
GE-Ground water Extraction
T- Transpiration
E- Evaporation
B-Base flow

This change in storage can be estimated using the following equation:

$$\Delta S = \Delta h * A * SY \quad (4)$$

Where

ΔS – Change is storage
Δh - rise in water level in the monsoon season
A - Area for computation of recharge
Sy - Specific Yield

Substituting the expression in equation 4 for increase in storage i.e.ΔS in terms of water level fluctuation and specific yield, the equations 3 becomes,

$$R_{RF} = h \times Sy \times A - R_{STR} - R_C - R_{SWI} - R_{GWI} - R_{TP} - R_{WCS} \pm VF \pm LF + GE + T + E + B \quad (5)$$

The recharge calculated from equation 5 gives the rainfall recharge for the particular monsoon season. This rainfall recharge is specific to a particular monsoon season for the associated monsoon season rainfall. This estimate is to be normalised for the normal monsoon season rainfall as per the procedure indicated below.

Normalization of Rainfall Recharge

Let Ri be the rainfall recharge and ri be the associated rainfall. The subscript i takes values 1 to N where N is the number of years for which data is available. This should be at least 5. The rainfall recharge, Ri is obtained as per equation 5 for which the normalization is to be done using any of the following two procedures. This normalisation procedure is to be carried out for obtaining the rainfall recharge corresponding to the normal monsoon season rainfall. Let r(normal) be the normal monsoon season rainfall obtained as the average of recent 30 to 50 years of monsoon season rainfall. Two methods are possible for the normalisation procedure.

The first method is based on a linear relationship between recharge and rainfall of the form

$$\boldsymbol{R = ar} \quad \textbf{(6)}$$

Where,

R = Rainfall recharge during monsoon season
r = Monsoon season rainfall
a = constant

The second method is also based on a linear relation between recharge and rainfall. However, this linear relationship is of the form,

$$\boldsymbol{R = ar + b} \quad \textbf{(7)}$$

Where,

R = Rainfall recharge during monsoon season
r = Monsoon season rainfall
a and b = constants.

The rainfall recharge during monsoon season for normal monsoon rainfall condition is computed as below:

$$\boldsymbol{R_{rf}\,(normal) = a\,x\,r\,(normal)} \quad \textbf{(8)}$$

Or

$$\boldsymbol{R_{rf}\,(normal) = a\,x\,r(normal) + b} \quad \textbf{(9)}$$

Rainfall Infiltration Factor method

Recharge from rainfall is estimated by using the following relationship –

$$\mathbf{R_{rf} = RFIF * A* (R - a)/1000} \quad \textbf{(10)}$$

Where,

R_{rf} = Rainfall recharge in ham
A = Area in Hactares
RFIF = Rainfall Infiltration Factor
R = Rainfall in mm
a = Minimum threshold value above which rainfall induces ground water recharge in mm

The threshold limit of minimum and maximum rainfall event which can induce recharge to the aquifer is to be considered while estimating ground water recharge using rainfall infiltration factor method. It is suggested that 10% of Normal annual rainfall may be taken as minimum rainfall threshold and 3000 mm as maximum rainfall limit. The same recharge factor may be used for both monsoon and non-monsoon rainfall, with the condition that the recharge due to non-monsoon rainfall may be taken as zero, if the normal rainfall during the non-monsoon season is less than 10% of normal annual rainfall.

Percent Deviation

After computing the rainfall recharge for normal monsoon season rainfall using the ground water level fluctuation method and rainfall infiltration factor method these two estimates have to be

compared with each other. A term, Percent Deviation (PD) which is the difference between the two expressed as a percentage of the later is computed as

$$PD = \frac{R_{rf}(normal, wtfm) - R_{rf}(normal, rifm)}{R_{rf}(normal, rifm)} \times 100 \quad \textbf{(11)}$$

Where,

Rrf (normal, wlfm) = Rainfall recharge for normal monsoon season rainfall estimated by the ground water level fluctuation method

Rrf (normal, rifm) = Rainfall recharge for normal monsoon season rainfall estimated by the rainfall infiltration factor method

The rainfall recharge for normal monsoon season rainfall is finally adopted as per the criteria given below:

- If PD is greater than or equal to -20%, and less than or equal to +20%, Rrf (normal) is taken as the value estimated by the ground water level fluctuation method.
- If PD is less than -20%, Rrf (normal) is taken as equal to 0.8 times the value estimated by the rainfall infiltration factor method.
- If PD is greater than +20%, Rrf (normal) is taken as equal to 1.2 times the value estimated by the rainfall infiltration factor method.

Recharge from other Sources

Recharge from other sources constitutes recharges from canals, surface water irrigation, ground water irrigation, tanks & ponds and water conservation structures in command areas where as in non-command areas it constitutes the recharge due to surface water irrigation, ground water irrigation, tanks & ponds and water conservation structures.

Recharge from Canals: Recharge due to canals is to be estimated based on the following formula:

$$\mathbf{R_C = WA * SF * Days} \quad \textbf{(12)}$$

Where:

R_C= Recharge from Canals
WA=Wetted Area = Wetted Perimeter X Length of Canal Reach.
SF= Seepage Factor
Days= Number of Canal Running Days.

Recharge from Surface Water Irrigation: Recharge due to applied surface water irrigation, either by means of canal outlets or by lift irrigation schemes is to be estimated based on the following formula:

$$\mathbf{R_{SWI} = AD * Days * RFF} \quad \textbf{(13)}$$

Where:

R_{SWI} = Recharge due to applied surface water irrigation
AD= Average Discharge
Days=Number of days water is discharged to the Fields
RFF= Return Flow Factor

Recharge from Ground Water Irrigation: Recharge due to applied ground water irrigation is to be estimated based on the following formula:

$$\mathbf{R_{GWI} = GE_{IRR} * RFF} \quad \textbf{(14)}$$

Where:

R_{GWI} = Recharge due to applied ground water irrigation
GE_{IRR}= Ground Water Extraction for Irrigation
RFF= Return Flow Factor

Recharge due to Tanks & Ponds: Recharge due to Tanks & Ponds is to be estimated based on the following formula:

$$\mathbf{R_{TP} = AWSA*N*RF} \quad \mathbf{(15)}$$

Where:

R_{TP} = Recharge due to Tanks & Ponds
AWSA= Average Water Spread Area
N=Number of days Water is available in the Tank/Pond
RF= Recharge Factor

Recharge due to Water Conservation Structures: Recharge due to Water Conservation Structures is to be estimated based on the following formula:

$$\mathbf{R_{WCS} = GS*RF} \quad \mathbf{(16)}$$

Where:

R_{WCS} = Recharge due to Water Conservation Structures
GS= Gross Storage = Storage Capacity multiplied by number of fillings.
RF= Recharge Factor

Lateral flow along the aquifer system (Through flow)

If the area under consideration is a watershed, the lateral flow across boundaries can be considered as zero. If there is inflow and outflow across the boundary, theoretically, the net inflow may be calculated using Darcy law, by delineating the inflow and outflow sections of the boundary. Besides such delineation, the calculation also requires estimate of transmissivity and hydraulic gradient across the inflow and outflow sections.

Base flow and Stream Recharge

If stream gauge stations are located in the assessment unit, the base flow and recharge from streams can be computed using Stream Hydrograph Separation method, Numerical Modelling and Analytical solutions. If the assessment unit is a watershed, a single stream monitoring station at the mouth of the watershed can provide the required data for the calculation of base flow.

Base flow assessment and Stream recharge should be carried out in consultation with Central Water Commission in order to avoid any duplicity in the estimation of total water availability in a river basin.

Vertical Inter Aquifer Flow

This can be estimated provided aquifer geometry and aquifer parameters are known. This can be calculated using the Darcy's law if the hydraulic heads in both aquifers and the hydraulic conductivity and thickness of the aquitard separating both the aquifers are known.

Evaporation and Transpiration

Evaporation can be estimated for the aquifer in the assessment unit if water levels in the aquifer are within the capillary zone. It is recommended to compute the evaporation through field studies. If field studies are not possible, for areas with water levels within 1.0 mbgl, evaporation can be estimated using the evaporation rates available for other adjoining areas. If depth to water level is more than 1.0m bgl, the evaporation losses from the aquifer should be taken as zero.

Transpiration through vegetation can be estimated if water levels in the aquifer are within the maximum root zone of the local vegetation. It is recommended to compute the transpiration through field studies. Even though it varies from place to place depending on type of soil & vegetation, in the absence of field studies the following estimation can be followed. If water levels are within 3.5m bgl, transpiration can be estimated using the transpiration rates available for other areas. If it is greater than 3.5m bgl, the transpiration should be taken as zero.

Recharge/ Accumulations during Monsoon Season

The sum of normalized monsoon rainfall recharge and the recharge from other sources and lateral and vertical flows into the sub unit and stream inflows during monsoon season is the total recharge/ accumulation during monsoon season for the sub unit. Similarly, this is to be computed for all the sub units available in the assessment unit.

Recharge/ Accumulations during Non-Monsoon Season

The rainfall recharge during non-monsoon season is estimated using rainfall infiltration factor Method only when the non-monsoon season rainfall is more than 10% of normal annual rainfall. The sum of non-monsoon rainfall recharge and the recharge from other sources and lateral and vertical flows into the sub unit and stream inflows during non-monsoon season is the total recharge/ accumulation during non-monsoon season for the sub unit. Similarly, this is to be computed for all the sub units available in the assessment unit.

Total Annual Ground Water Recharge

The sum of the recharge/ accumulations during monsoon and non-monsoon seasons is the total annual ground water recharge/ accumulations for the sub unit. Similarly, this is to be computed for all the sub units available in the assessment unit.

Annual Extractable Ground Water Resource (EGR)

The Total Annual Ground Water Recharge cannot be utilised for human consumption, since ecological commitments need to be fulfilled, before the extractable resources is defined. The National Water Policy, 2012 stresses that the ecological flow of rivers should be maintained. Therefore, ground water base flow contribution limited to the ecological flow of the river should be determined which will be deducted from Annual Ground Water Recharge to determine Annual Extractable Ground Water Resources (EGR). The ecological flows of the rivers are to be determined in consultation with Central Water Commission and other concerned river basin agencies.

In case base flow contribution to the ecological flow of rivers is not determined then following assumption is to be followed. If the rainfall recharge is assessed using water level fluctuation method this will be 5% of the annual recharge and if it is assessed using rainfall infiltration factor method, it will be 10% of the annual recharge. The balance will account for Annual Extractable Ground Water Resources (EGR).

Estimation of Ground Water Extraction

Ground water draft or extraction is to be assessed as follows.

$$\mathbf{GE_{ALL} = GE_{IRR} + GE_{DOM} + GE_{IND}} \qquad \textbf{(17)}$$

Where,

GE_{ALL}=Ground water extraction for all uses

GE_{IRR}=Ground water extraction for irrigation
GE_{DOM} =Ground water extraction for domestic uses
GE_{IND} = Ground water extraction for industrial uses

The single largest component of the ground water balance equation in large regions of India is the ground water extraction and the precise estimation of ground water extraction is riddled with uncertainties.

Ground Water Extraction for Irrigation (GE_{IRR}): The Ground Water Extraction for Irrigation is to be assessed employing at least two of the three methods recommended for estimation of ground water extraction for irrigation. The methods for estimation of ground water extraction are as follows.

***Unit Draft Method:* –** In this method, season-wise unit draft of each type of well in an assessment unit is estimated. The unit draft of different types (eg. Dug well, Dug cum bore well, shallow tube well, deep tube well, bore well etc.) is multiplied with the number of wells of that particular type to obtain season-wise ground water extraction by that particular structure. This method is being widely practiced in the country. There are several sources which maintain records on well census. These include Minor Irrigation Census conducted by MoWR, RD, GR, Government of India, and data maintained at the Tahsil level. It is recommended that a single source of well census should be maintained for resources computation at all India level. Minor Irrigation Census of MoWR, RD, GR would be the preferred option.

***Crop Water Requirement Method:* –** For each crop, the season-wise net irrigation water requirement is determined. This is then multiplied with the area irrigated by ground water abstraction structures. The database on crop area is obtained from Revenue records in Tahsil office, Agriculture Census and also by using Remote Sensing techniques.

***Power Consumption Method:* –**Ground water extraction for unit power consumption (electric) is determined. Extraction per unit power consumption is then multiplied with number of units of power consumed for agricultural pump sets to obtain total ground water extraction for irrigation.

Ground Water Extraction for Domestic Use (GE_{DOM}): There are several methods for estimation of extraction for domestic use (GE_{DOM}). Some of the commonly adopted methods are described here.

***Unit Draft Method:* –** In this method, unit draft of each type of well is multiplied by the number of wells used for domestic purpose to obtain the domestic ground water extraction.
***Consumptive Use Method:* –** In this method, population is multiplied with per capita consumption usually expressed in litre per capita per day (lpcd). It can be expressed using following equation.

$$GE_{DOM} = \text{Population X Consumptive Requirement X Lg} \quad (18)$$

Where,

Lg = Fractional Load on Ground Water for Domestic Water Supply

The Load on Ground water can be obtained from the Information based on Civic water supply agencies in urban areas.

Ground water Extraction for Industrial use (GE_{IND}): The commonly adopted methods for estimating the extraction for industrial use are as below:

Unit Draft Method: - In this method, unit draft of each type of well is multiplied by the number of wells used for industrial purpose to obtain the industrial ground water extraction.

***Consumptive Use Pattern Method:* –** In this method, water consumption of different industrial units is determined. Number of Industrial units which are dependent on ground water are multiplied with unit water consumption to obtain ground water extraction for industrial use.

$$GE_{IND} = \text{Number of industrial units X Unit Water Consumption X Lg} \quad (19)$$

Where,

Lg = Fractional load on ground water for industrial water supply

The load on ground water for industrial water supply can be obtained from water supply agencies in the Industrial belt. Other important sources of data on ground water extraction for industrial uses are - Central Ground Water Authority, State Ground Water Authority, National Green Tribunal and other Environmental Regulatory Authorities.

Ground water extraction obtained from different methods need to be compared and based on field checks, the seemingly best value may be adopted. At times, ground water extraction obtained by different methods may vary widely. In such cases, the value matching the field situation should be considered.

Stage of Ground Water Extraction

The stage of ground water extraction is defined by,

$$\textbf{Stage of Ground Water Extraction}(\%) = \frac{\textbf{Existing Gross Ground Water Extracrtion of all uses}}{\textbf{Annual Extractable Ground Water Resources}} \times \mathbf{100} \quad (20)$$

The existing gross ground water extraction for all uses refers to the total of existing gross ground water extraction for irrigation and all other purposes. The stage of ground water extraction should be obtained separately for command areas, non-command areas and poor ground water quality areas.

Validation of Stage of Ground Water Extraction

The assessment based on the stage of ground water extraction has inherent uncertainties. The estimation of ground water extraction is likely to be associated with considerable uncertainties as it is based on indirect assessment using factors such as electricity consumption, well census and area irrigated from ground water. The denominator in equation 20, namely Annual Extractable Ground Water Resources also has uncertainties due to limitations in the assessment methodology, as well as uncertainties in the data. In view of this, it is desirable to validate the 'Stage of Ground Water Extraction' with long term trend of ground water levels.

Long term water level trends are to be prepared for a minimum period of 10 years for both pre-monsoon and post-monsoon period. The water level trend would be average water level trend as obtained from the different observation wells in the area.

If the ground water resource assessment and the trend of long term water levels contradict each other, this anomalous situation requires a review of the ground water resource computation, as well as the reliability of water level data. The mismatch conditions are enumerated below.

SOGWE	Ground Water Level Trend	Remarks
≤70%	Significant decline in trend in both pre-monsoon and post-monsoon	Not acceptable and needs reassessment
>100%	No significant decline in both pre-monsoon and post-monsoon long term trend	Not acceptable and needs reassessment

Categorization of Assessment Units Based on Quantity: The categorization based on status of ground water quantity is defined by Stage of Ground Water Extraction as given below:

Stage of Ground Water Extraction	Category
≤70%	Safe
> 70%and ≤90%	Semi-Critical
> 90% and ≤100%	Critical
> 100%	Over Exploited

Quality Tag

If any of the three quality hazards in terms of Arsenic, Fluoride and Salinity are encountered in the assessment sub unit in mappable units on 1:50000 scale, the assessment sub unit may be tagged with the particular quality hazard.

Allocation of Ground Water Resource for Utilisation

The Annual Extractable Ground Water Resources are to be apportioned between domestic, industrial and irrigation uses. Among these, as per the National Water Policy, requirement for domestic water supply is to be accorded priority. This requirement has to be based on population as projected to the year 2025, per capita requirement of water for domestic use, and relative load on ground water for urban and rural water supply. The estimate of allocation for domestic water requirement may vary from one sub unit to the other in different states. In situations where adequate data is not available to make this estimate, the following empirical relation is recommended.

$$\textbf{Alloc} = 22 \times N \times L_g \text{ mm per year} \qquad (21)$$

Where,

Alloc= Allocation for domestic water requirement

N = population density in the unit in thousands per sq. km.

L_g = fractional load on ground water for domestic water supply (≤ 1.0)

In deriving equation 21, it is assumed that the requirement of water for domestic use is 60 lpd per head. The equation can be suitably modified in case per capita requirement is different. If by chance, the estimation of projected allocation for future domestic needs is less than the current domestic extraction due to any reason, the allocation must be equal to the present-day extraction. It can never be less than the present-day extraction as it is unrealistic.

Net Annual Ground Water Availability for Future Use

The water available for future use is obtained by deducting the allocation for domestic use and current extraction for Irrigation and Industrial uses from the Annual Extractable Ground Water Recharge. The resulting ground water potential is termed as the net annual ground water availability for future use. The Net annual ground water availability for future use should be calculated separately for non-command areas and command areas. As per the recommendations of the R&D Advisory committee, the ground water available for future use can never be negative. If it becomes negative, the

future allocation of Domestic needs can be reduced to current extraction for domestic use. Even then if it is still negative, then the ground water available for future uses will be zero.

ADDITIONAL POTENTIAL RESOURCES UNDER SPECIFIC CONDITIONS

Potential Resource Due to Spring Discharge: Spring discharge constitutes an additional source of ground water in hilly areas which emerges at the places where ground water level cuts the surface topography. Even though, the Spring Discharge is a form of 'Annual Extractable Ground Water Recharge', It is a considered as a potential resource because of the limited data available as on today. Spring discharge measurement is to be carried out by volumetric measurement of discharge of the springs. Spring discharges multiplied with time in days of each season will give the quantum of spring resources available during that season. The committee recommends that in hilly areas with substantial potential of spring discharges, the discharge measurement should be made at least 4 times a year in parity with the existing water level monitoring schedule.

Potential ground water resource due to springs = Q x No of days **(22)**

Where,

Q = Spring Discharge

No of days= No of days spring yields.

Potential Resource in Waterlogged and Shallow Water Table Areas: In the area where the ground water level is less than 5m below ground level or in waterlogged areas, the resources up to 5m below ground level are potential and would be available for development in addition to the annual recharge in the area. It is therefore recommended that in such areas, ground water resources may be estimated up to 5m bgl only assuming that where water level is less than 5m bgl, the same could be depressed by pumping to create space to receive recharge from natural resources. It is further evident that this potential recharge would be available mostly in the shallow water table areas which would have to be demarcated in each sub-basin/ watershed/ block/ taluka/ mandal/ Firka. The computation of potential resource of the ground water reservoir can be done by adopting the following equation:

Potential ground water resource in shallow water table areas = (5-D) x A x S_Y **(23)**

Where,

D= Depth to water table below ground surface in pre-monsoon period in shallow aquifers.

A= Area of shallow water table zone.

S_Y = Specific Yield

Potential Resource in Flood Prone Areas: Ground water recharge from a flood plain is mainly the function of the following parameters-

- Areal extent of flood plain
- Retention period of flood
- Type of sub-soil strata and silt charge in the river water which gets deposited and controls seepage

Since collection of data on all these factors is time taking and difficult, in the meantime, the potential resource from flood plain may be estimated on the same norms as for ponds, tanks and lakes. This has to be calculated over the water spread area and only for the retention period using the following formula.

Potential ground water resource in Flood Prone Areas = 1.4 x N x A/1000 **(24)**

Where,

N = No of Days Water is Retained in the Area

A = Flood Prone Area

Apportioning of Ground Water Assessment from Watershed to Development Unit:

Where the assessment unit is a watershed, there is a need to convert the ground water assessment in terms of an administrative unit such as block/ taluka/ mandal/ firka. This may be done as follows.

A block may comprise of one or more watersheds, in part or full. First, the ground water assessment in the subareas, command, non-command and poor ground water quality areas of the watershed may be converted into depth unit (mm), by dividing the annual recharge by the respective area. The contribution of this subarea of the watershed to the block, is now calculated by multiplying this depth with the area in the block occupied by this sub-area. This procedure must be followed to calculate the contribution from the sub-areas of all watersheds occurring in the block, to work out the total ground water resource of the block.

The total ground water resource of the block should be presented separately for each type of sub-area, namely for command areas, non-command areas and poor ground water quality areas, as in the case of the individual watersheds.

Assessment of In-Storage Ground Water Resources or Static Ground Water Resources

The quantum of ground water available for development is usually restricted to long term average recharge or dynamic resources. For sustainable ground water development, it is necessary to restrict it to the dynamic resources. Static or in-storage ground water resources could be considered for development during exigencies that also for drinking water purposes. It is also recommended that no irrigation development schemes based on static or in-storage ground water resources be taken up at this stage.

The computation of the static or in-storage ground water resources may be done after delineating the aquifer thickness and specific yield of the aquifer material. The computations can be done as follows: -

$$\mathbf{SGWR = A *(Z_2 - Z_1) * S_Y} \qquad \mathbf{(25)}$$

Where,

SGWR = Static or in-storage Ground Water Resources

A = Area of the Assessment Unit

Z_2= Bottom of Unconfined Aquifer

Z_1 = Pre-monsoon water level

S_Y = Specific Yield in the In storage Zone

Assessment of Total Ground Water Availability in Unconfined Aquifer

The sum of Annual Exploitable Ground Water Resource and the in storage ground water resources of an unconfined aquifer is the Total Ground Water Availability of that aquifer.

3.5 GROUND WATER ASSESSMENT OF CONFINED AQUIFER SYSTEM

Assessment of ground water resources of confined aquifers assumes crucial importance, since over-exploitation of these aquifers may lead to far more detrimental consequences than to those of shallow unconfined aquifers.

Most of the storage in confined aquifer is associated with compressibility of the aquifer matrix and compressibility of water. Once the piezometric head reaches below the top confining bed, it behaves like an unconfined aquifer and directly dewaters the aquifer and there is a possibility of damage to the aquifer as well as topography. Hence ground water potential of a confined aquifer is nothing but the water available for use without damaging the aquifer. Hence the resources available under pressure are

only considered as the ground water potential. The quantity of water released in confined aquifer due to change in pressure can be computed between piezometric head (h_t) at any given time 't' and the bottom of the top confining layer (h_o) by using the following equation.

$$\mathbf{Q_p = SA\Delta h = SA\ (h_t - h_0)} \qquad \mathbf{(26)}$$

Where,

Q_P = Ground Water Potential of Confined Aquifer
S = Storativity
A = Areal extent of the confined aquifer
Δh = Change in Piezometric head
h_t = Piezometric head at any particular time
h_0 =Bottom of the top Confining Layer

If any development activity is started in the confined aquifer, then there is a need to assess the dynamic as well as in storage resources of the confined aquifer. To assess the ground water resources of the confined aquifer, there is a need to have sufficient number of observation wells tapping exclusively that particular aquifer and proper monitoring of the piezometric heads is also needed.

To assess the dynamic ground water resources of the confined aquifer the following equation can be used with the pre and post monsoon piezometric heads of the particular aquifer.

$$\mathbf{Q_D = SA\Delta h = SA\ (h_{POST} - h_{PRE})} \qquad \mathbf{(27)}$$

Where,

Q_D = Dynamic Ground Water Resource of Confined Aquifer (m^3)
S = Storativity
A = Areal extent of the confined aquifer (m^2)
Δh = Change in Piezometric head (m)
h_{post} = Piezometric head during post-monsoon period (m amsl)
h_{PRE} = Piezometric head during pre-monsoon period (m amsl)

In storage Ground Water Resources of Confined Aquifer

For assessing the in-storage ground water potential of a confined aquifer, one has to compute the resources between the pre-monsoon piezometric head and bottom of the top confining layer. That can be assessed using the following formula:

$$\mathbf{Q_I = SA\Delta h = SA\ (h_{PRE} - h_0)} \qquad \mathbf{(28)}$$

Where,

Q_I = In storage Ground Water Resource of Confined Aquifer (m^3)
S = Storativity
A = Areal extent of the confined aquifer (m^2)
Δh = Change in Piezometric head (m)
h_0 = Bottom level of the top confining layer (m amsl)
h_{PRE} = Piezometric head during pre-monsoon period (m amsl)

If the confined aquifer is not being exploited for any purpose, the dynamic and static resources of the confined aquifer need not be estimated separately. Instead the in storage of the aquifer can be computed using the following formula.

$$\mathbf{Q_p = SA\Delta h = SA\ (h_{POST} - h_0)} \qquad \mathbf{(29)}$$

Where,

Q_p = In storage Ground Water Resource of the confined aquifer or the Quantity of water under pressure (m^3)
S = Storativity
A = Areal extent of the confined aquifer (m^2)
Δh = Change in Piezometric head (m)
H_{POST} =Piezometric head during post-monsoon period (m amsl)
h_0 = Bottom of the Top Confining Layer (m amsl)

The calculated resource includes small amount of dynamic resource of the confined aquifer also, which replenishes every year. But to make it simpler this was also computed as part of the static or in-storage resource of the confined aquifer.

Assessment of Total Ground Water Availability of Confined Aquifer

If the confined aquifer is being exploited, the Total Ground Water Availability of the confined aquifer is the sum of Dynamic Ground Water Resources and the in-storage ground water resources of that confined aquifer. Whereas if it is not being exploited, the Total Ground Water Availability of the confined aquifer comprises of only one component i.e. the in-storage of that confined aquifer.

3.6 GROUND WATER ASSESSMENT OF SEMI-CONFINED AQUIFER SYSTEM

The Assessment of Ground Water Resources of a semi-confined aquifer has some more complications. Unless and until, it is well studied that the recharge to this is not computed either in the over lying unconfined aquifer or underlying/overlying semi confined aquifers, it should not be assessed separately. If it is assessed separately, there is a possibility of duplication of estimating the same resource by direct computation in one aquifer and as leakage in the other aquifer. As it is advisable to under estimate rather than to overestimate the resources, it is recommended not to assess these resources separately as long as there is no study indicating its non-estimation. If it is found through field studies that the resources are not assessed in any of the aquifers in the area, these resources are to be assessed following the methodology similar to that used in assessing the resources of Confined aquifers.

3.7 TOTAL GROUND WATER AVAILABILITY OF AN AREA

The Total Ground Water Availability in any area is the Sum of Dynamic Ground Water Resources, the static/in-storage ground water resources in the unconfined aquifer and the dynamic and In-storage resources of the Confined aquifers and semi-confined aquifers in the area.

TERMINOLOGY CHANGE There are minor changes in the terminology used in GEC-2015 methodology and the corresponding changes for the terms have been tabulated below:

GEC- 97 Methodology	GEC-2015 methodology
Annual Replenishable Resources	Total Annual Groundwater Recharge
Net Groundwater Availability	Annual Extractable Groundwater Resources
Groundwater Draft	Groundwater Extraction
Annual Groundwater Draft for all uses	Current Annual Groundwater Extraction for all uses
Projected Demand for Domestic and Industrial uses up to 2025	Annual ground water allocation for domestic water supply as on 2025
Groundwater Availability for future irrigation	Net Annual Groundwater Availability for future Use
Stage of Groundwater Development	Stage of Ground Water Extraction

CHAPTER 4

4. PROCEDURE FOLLOWED FOR GROUNDWATER ESTIMATION 2023

4.1 DATA SOURCE

4.1.1 Area

Since 1973, watershed is being used as a unit of assessment in the State irrespective of the Methodology. The areas of the watersheds have been demarcated and computed by Groundwater Surveys and Development Agency. The command areas of the Irrigation Project as notified by Water Resources Department, GoM have been used in this assessment. The poor-quality area within a village as notified by the Revenue Department has been considered in this assessment. This data base is used for sub-dividing the assessment unit into command, non-command and poor-quality area.

4.1.2 Well Census

The IVth Minor Irrigation well census data have been procured from the Chief Engineer, Minor Irrigation Department as suggested by GoI. The IVth Minor Irrigation well census data containing irrigation wells/bore wells/tube wells, or the revenue data collected from local authorities, whichever was higher have been used in the draft calculations. Similarly, the Revenue well data have been cross verified with the number of electric connections registered with the Maharashtra State Electricity Distribution Company.

Presently, instead of dug wells, bore wells are being drilled on large scale in the State, tapping shallow and semi-confined aquifers. Very few bore wells are tapping deeper aquifer, but their details are not available. Hence the irrigation bore wells have been considered for the draft purpose.

There are limitations in the well census data, as their physical numbers are available; but their draft or abstraction details are not available with any of the organizations in the State. Hence, based on the hydrogeology and crop water requirement for the average cropping pattern of the watershed, the watershed wise unit draft has been worked out for the irrigation dug wells and borewells. Similarly, based on the hydrogeology, drinking water requirements and the pumping device, the unit draft, for the dug well and borewell, has been worked out.

4.1.3 Canals, Tanks & Ponds

The data base related to surface water bodies, canals, command area, number of rotations, and volume of water released into the canals etc have been collected or procured from the Water Resources, Water Conservation and Minor Irrigation Department for the year 2022.

4.1.4 Water Conservation Structures

The Directorate of Soil Conservation and Watershed Development Department is monitoring and implementing the water conservation measures in the State. The water conservation structures completed up to 2022 in the State have been considered. Apart from the WCS data, data from Agriculture, Minor Irrigation-Zila Parishad and GSDA is also utilized.

Apart from the conventional water conservation structures, ***recharge shafts*** constructed under various schemes have also been included as water conservation measures. Since recharge shafts enhance the general recharge capacity of the water conservation structures such as Cement Nala Bund, it adds on the induced recharge.

Each recharge shaft is estimated to add recharge of 100 cum (0.01 Ham). The unit recharge from a shaft is estimated based on the average dimension of the collection trench (10mX5mX2m). Studies on Managed Aquifer Recharge as documented in DFID report, CR/06/107N, British Geological

Survey, 2006 are also considered while establishing the recharge quantum due to recharge shaft. A Case study from Wardha district also indicates about a recharge of 400 cum (0.04 Ham) from a Recharge Shaft.

4.1.5 Cropping Pattern

The village wise cropping data and irrigated agriculture data, as on 2022, as received from district offices of the State Agriculture department have been used for the computations of irrigation return flow and for cross verification of groundwater draft.

4.1.6 Rainfall

The district revenue authorities are monitoring daily and monthly rainfall data at taluka headquarters and the same data up to 2022 is used for the data entry. The IMD published taluka wise normal rainfall figures are also used.

Besides these, the hydro-meteorological stations, data from Water Resources Department, GSDA has been considered during this assessment.

4.1.7 Groundwater Levels

The Groundwater Surveys and Development Agency is monitoring the groundwater levels in the State on quarterly basis i.e. in January, March, May and September/October. In the state total 3789 observation wells (3 observation wells in each watershed). The groundwater level data up to May 2023 has been considered for the Estimation.

4.1.8 Population

The 2011 census data has been used in the computations.

4.2 VARIOUS NORMS USED

4.2.1 Assessment Area

Out of the total geographical area, the hilly area (slope > 20%), hill tops and rocky waste land were identified and subtracted and the remaining area is considered as recharge worthy or assessment area.

4.2.2 Specific yield

The specific yield value as estimated from dry season balance method or field studies was taken, wherever available. In absence of field values of specific yield values through above methods recommended values as per prescribed norms of GEC-2015 methodology were taken.

4.2.3 Rainfall infiltration factor

In all the watersheds, the coefficients for RIF are as per the recommended values of GEC-2015 methodology norms.

4.2.4 Recharge due to canal seepage

The prescribed norms of GEC-2015 methodology i.e., 15 Ham per day/million sq. m wetted area for unlined canals and 20% of it is for lined canals, have been considered.

4.2.5 Recharge from Tanks and Ponds

The prescribed norms of GEC-2015 methodology i.e., Average water spread area * No. of days * **0.00144** meters per day per Ha, has been considered.

4.2.6 Recharge from water conservation structure

The recharge considered due to water conservation structures is as per norms i.e. 50% of the total storage capacity of the water conservation structure. The number fillings considered are either 1 or 2 only. This is as per the local observations.

4.2.7 Unit Draft or Extraction

The unit draft computed for different abstraction structures representing typical geological formations has been used for the estimation. The unit draft for irrigation dug well fitted with electric pump, during monsoon ranges from 0.0047 to 0.42 hams and during non-monsoon it ranges from 0.054 to 1.56 hams. For irrigation bore wells (with electric pump), the unit draft considered for monsoon ranges from 0.0049 to 0.38 hams and for non-monsoon it ranges from 0.03 to 1.37 hams. The unit draft for domestic dug well (with power pump) ranges during monsoon ranges from 0.12 to 0.70 hams and during non-monsoon it ranges from 0.066 to 1.47 hams. The unit draft for domestic bore well fitted with hand pump ranges from 0.006 to 0.59 hams. Similarly, the unit draft for domestic bore well fitted with power pump ranges from 0.013 to 1.47 hams.

4.2.9 Return flow from irrigation

The prescribed norms of GEC-2015 methodology have been adopted which includes,

SWL<10 m	Paddy	Non-Paddy
GW	45%	25%
SW	50%	30% of total water applied has been considered.

4.2.10 Stage of Ground water Extraction and Categorisation

The norms of GEC-2015 methodology have been used for the computation of the Stage of Ground water Extraction and Categorisation.

Stage of Ground Water Extraction	Category
≤70%	Safe
> 70%and ≤90%	Semi-Critical
> 90% and ≤100%	Critical
> 100%	Over Exploited

CHAPTER 5

5. COMPUTATION OF GROUNDWATER RESOURCES ESTIMATION

5.1 SALIENT FEATURES

The salient features of the dynamic groundwater resources of Maharashtra 2023 are as under:

5.1.1 Resources assessment unit

Watershed is the type of groundwater assessment unit used in the State. For the purpose of groundwater estimation and evaluation the Maharashtra State is divided into 1534 watersheds. These watersheds are sub-divided into 2563 assessment sub-units, comprising of 992 commands, 1513 non-command and 58 poor quality units. Where the assessment unit is a watershed, the ground water assessment is apportioned to an administrative unit such as Block/Taluka/Mandal. Groundwater estimation and evaluation is carried out of 353 talukas. Out of this, 307 taluka comes under only command area, 351 taluka comes under only non-command area and 29 taluka comes under poor quality area. The watershed wise details of these areas are given in **Annexure A-II.**

Out of the total area of the taluka the non-worthy area is deducted and only the worthy area is considered for this assessment. The worthy area is further sub-divided into command; Non-command & Poor quality and their percentages for the State are 14.75%, 84.17% & 1.07% respectively. The taluka wise details of these areas are given in **Annexure A-I.** The recharge is estimated for the groundwater worthy area of all the sub-units.

5.1.2 Base year of data

The monsoon rainfall for the year 2022 has been considered in the computations. The groundwater levels from 1991 up to May 2023 have been used in the calculations. Based on this database the sub-unit wise average pre-monsoon and post-monsoon groundwater levels and fluctuations are calculated and used in the assessment.

5.2 GROUNDWATER RESOURCE ASSESSMENT

5.2.1 Method

For the assessment to the all-sub-units, the water table fluctuation (WTF) method and the Rainfall Infiltration (RIF) method are adopted. Generally, most of the sub-units are assessed based on the groundwater level data.

5.2.2 Total Resources

The groundwater estimation is carried out for 34 districts of Maharashtra except for Greater Bombay & Sub-urban district due to paucity of data and highly dense urban set up. As per the protocol the groundwater availability and use has been computed for the sub-units, but the categorization has been done for the watershed. For administrative purpose the watershed wise assessment has been apportioned into 353 talukas and their categorization has been worked out separately. The State abstract showing details of Dynamic Groundwater Resources 2023 is given in **Table 3**.

TABLE 3- Information at a Glance of Ground Water Resource Assessment 2023

Sr. No	Description	Details
1	Total No. of Districts Assessed in the State	34
2	Total No. of watersheds in the State	1534
3	Total No. of Talukas in the State	353
4	Total No. of Assessment Sub Units	2563
5	Annual Groundwater Recharge (BCM)	32.76
6	Annual Extractable Ground Water Resource (BCM)	30.95
7	Total Extraction (BCM)	16.66
8	Ground Water Extraction for Irrigation Use (BCM)	15.28
9	Ground Water Extraction for Domestic and Industrial Uses (BCM)	1.39
10	Stage of Ground water extraction of Maharashtra	53.83%
11	Total No. of Irrigation Wells	24,38,844
12	Total No. of Domestic Wells	1,46,821
13	Total No. of Industrial Wells	10,149
14	No. of Over Exploited Talukas	9
15	No. of Critical Talukas	9
16	No. of Semi Critical Talukas	57
17	No. of Safe Talukas	277
18	Unclassified Assessment taluka due to entire Poor Quality	1

As per this report, the total rechargeable fresh groundwater resources in the State is computed as 32.76 BCM and the Annual Extractable Ground Water Resource is to the tune of 30.95 BCM. The Total Extraction is 16.66 BCM. The Stage of groundwater development for the State, as whole, is 53.83%. This indicates that on an average 53.83 % of yearly replenishable groundwater is being used in the State.

Considering the domestic and industrial requirement the annual ground water allocation for domestic water supply as on March 2025 is 1.42 BCM. Leaving this allocation, the net groundwater availability for future use Development is around 14.81 BCM. The taluka wise details of groundwater recharge from rainfall & other sources in monsoon and non-monsoon season, Total Annual Groundwater Recharge and Annual Extractable Groundwater Resources, are given in ***Annexure- B.***

The recharge from rainfall during monsoon and non-monsoon has been computed separately sub-unit wise. However, for few talukas of Ahmednagar, Akola, Amravati, Aurangabad, Bhandara, Dhule, Gadchiroli, Hingoli, Jalgaon, Nagpur, Nashik, Parbhani, Solapur and Wardha districts the rainfall recharge during non-monsoon season is zero. This is because in these districts the areas are receiving rainfall less than 10 % of normal monsoon rainfall and hence rainfall recharge is ignored as per the GEC 97 norms.

In the absence of non-availability of the base flow data, the Natural Discharge is computed as per the GEC97 norms for the sub-units. Within a district there is a variation in the natural discharge (either 5 % or 10 %). It is because in most of the watersheds the recharge has been computed by the WTF method but where there is difference in PD factor the computations are done by RIF.

5.2.3 Groundwater Abstraction

The basic pre-requisite for the groundwater assessment is the number of groundwater abstraction structures and their draft. For this assessment IVth well census data have been used for most of the watersheds. However, where the data was insufficient or less the Revenue Department data pertaining to wells have been considered. As per this database, it is found that in all there are 24.39 lakh abstraction structures being used for irrigation purpose withdrawing 15.39 BCM of groundwater **yearly (Fig 1).**

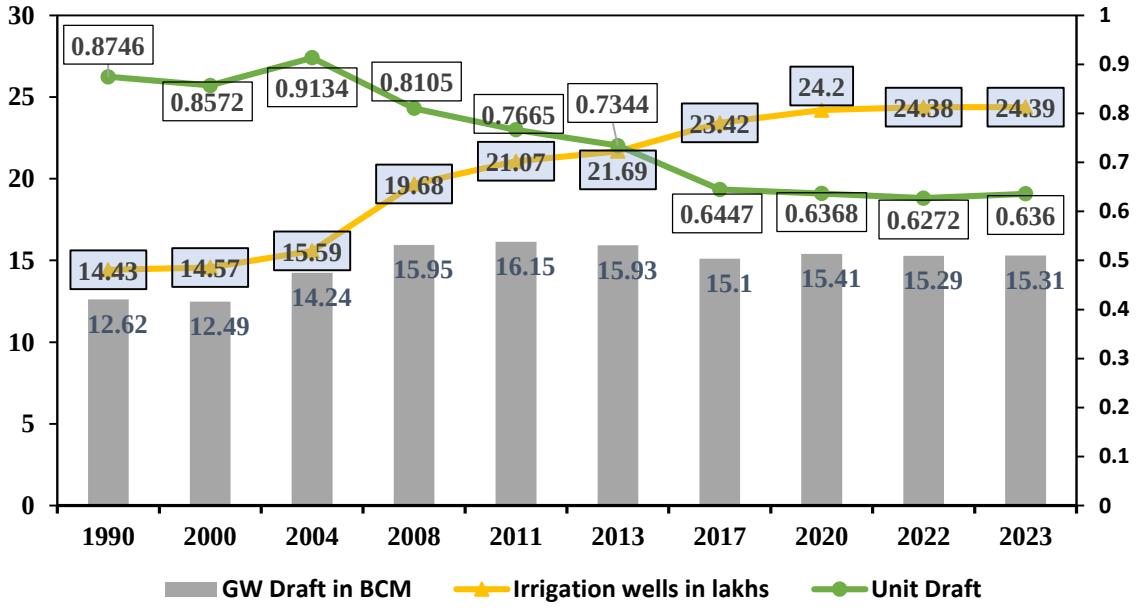

Fig. 1. Long term variation in irrigation wells and GW Extraction

As per the database received for domestic wells (dug wells & bore wells), there are 0.52 lakhs domestic dug wells and 0.94 lakhs bore wells which accounts for 0.013 BCM and 0.0099 BCM of ground water draft, respectively. The total domestic draft is 0.022 BCM.

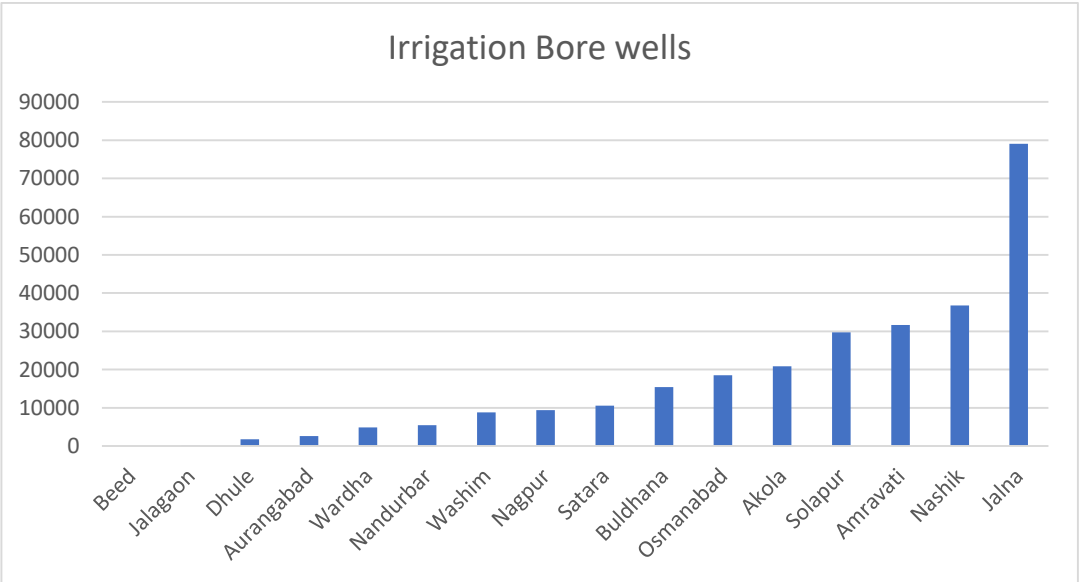

Fig. 2: District wise Irrigation wells senses

During this assessment, data of 24.39 lakh irrigation bore wells have been reported in the well census withdrawing 0.004 BCM of groundwater. However, this number could be much higher. Now the irrigation dug wells are being replaced by irrigation bore wells. This practice is very prominent in Latur, Osmanabad, Ahmednagar, Amravati, Nashik, Pune, Solapur, Sangli & Satara districts. However, even after knowing the disadvantages of irrigation bore wells, like low dependability of yield, low discharge & low recuperation rate etc, still the farmers are opting for irrigation bore wells. The district wise irrigation bore wells are shown in **figure 2**

For domestic purpose most of the rural area is dependent on groundwater. There are 1.46 lakh bore wells & Dug wells using only 0.023 BCM of groundwater for domestic purpose.

In the State, the industries are also using groundwater. Total of 10149 number of DW/BW using negligible quantity of groundwater. However actual wells must be much higher but due to paucity of data the actual ground water withdrawal for industrial purpose is not getting reflected.

5.2.4 Groundwater Recharge

As compared to 2022 assessment, the Annual Ground Water Recharge in 2023 has increased from 32.28 to 32.76 BCM, Annual Extractable Ground Water Recharge from 30.45 to 30.95 BCM and Annual Ground Water Extraction from 16.65 to 16.66 BCM. There is a marginal decrease in the Stage of Ground Water Extraction from 54.68 % to 53.83 %. The marginal increase in recharge due to the State government intervention of water conservation activities and the marginal increase in draft/extraction is due to revision of well census data on the basis of functional wells.

5.2.5 Future Allocations for Domestic & Industrial Allocations

As per the recommendations of the State Level Committee it has been decided to categorize the watershed/taluka. Hence all the computations, including the Future Domestic & Industrial Allocations, are done on watershed basis only. The apportioning has been done on taluka and district level. The Future Domestic & Industrial Allocations is either ≥ the existing Domestic & Industrial draft or zero, where there is no groundwater balance after deducting the actual drafts for different usages. This situation is prevailing in most of the over-exploited, critical and some semi-critical watersheds. Accordingly, the same has been mentioned in the **Annexure C.**

5.2. 6 Categorization of Talukas

The categorization of talukas is done as per the norms mentioned in GEC-2015 methodology. Based on these computations, it is observed that **277** talukas are falling in Safe category, **57** in Semi-Critical, **9** in Critical, **9** in Over-Exploited category and **1** taluka is categorized as unclassified due to Poor Quality. Taluka wise categorization are given in **Annexure D**. The categorization of talukas is also shown on the State Taluka **Map 5**. From this map, it reveals that two-third of the over-exploited, Critical and Semi-Critical talukas are from drought prone area of the State, where the rainfall is between 400 to 700 mm only. The district wise abstract showing number of OE/Critical/SC/Safe & PQ talukas is given in **Annexure E.**

5.3 SPATIAL VARIATION

5.3.1. Groundwater Development

The central part of Maharashtra which is included in the drought prone area, receives very less rainfall i.e., from 400 to 700 mm, but the geology is favourable for the groundwater recharge. Hence, in this area the dependency on groundwater is very high. Two-third of irrigation wells are from this area only. This primarily includes parts from Nashik, Jalgaon, Ahmednagar, Buldhana, Amravati, Pune, Satara, Sangli, Solapur, Osmanabad, Beed and Aurangabad districts.

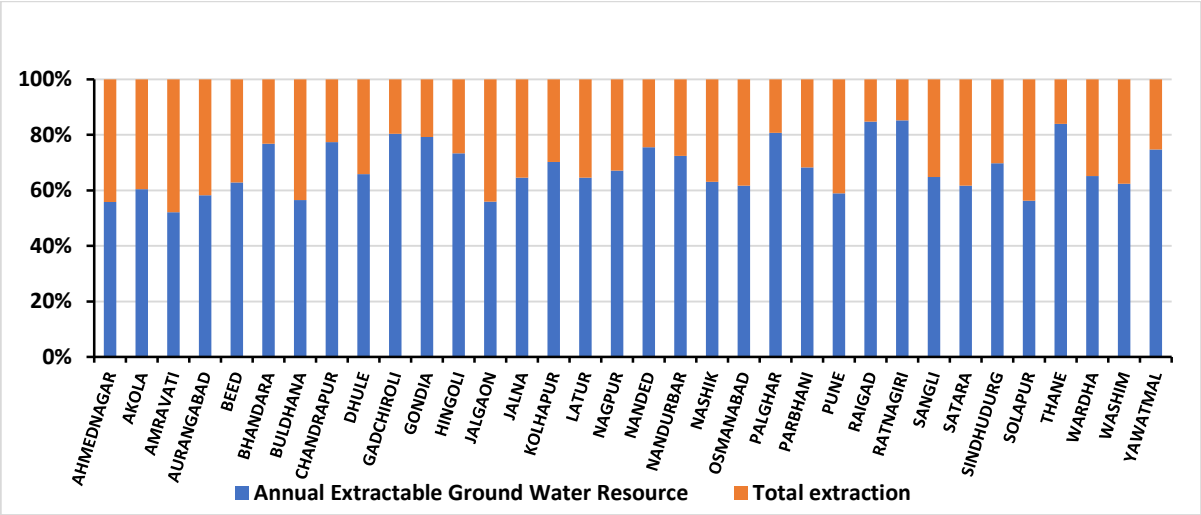

Fig. 3. District Wise Recharge and Extraction

The comparison of district wise groundwater recharge and withdrawal clearly shows that in Amravati, Ahmednagar, Aurangabad, Jalgaon, Buldhana, and Solapur district the groundwater development is between 70 to 90 %. However, in Satara, Pune, Akola, Osmanabad, Washim, Beed, Nashik, Wardha, Latur, Jalna, Sangli and Dhule districts, the development is between 50 to 70% and in rest 15 districts it is <50% % **(fig 3).** In Nashik, Ahmednagar, Pune, Amravati, Jalgaon districts the irrigation well density is also very high i.e., from 10 to 15 wells/sq km.

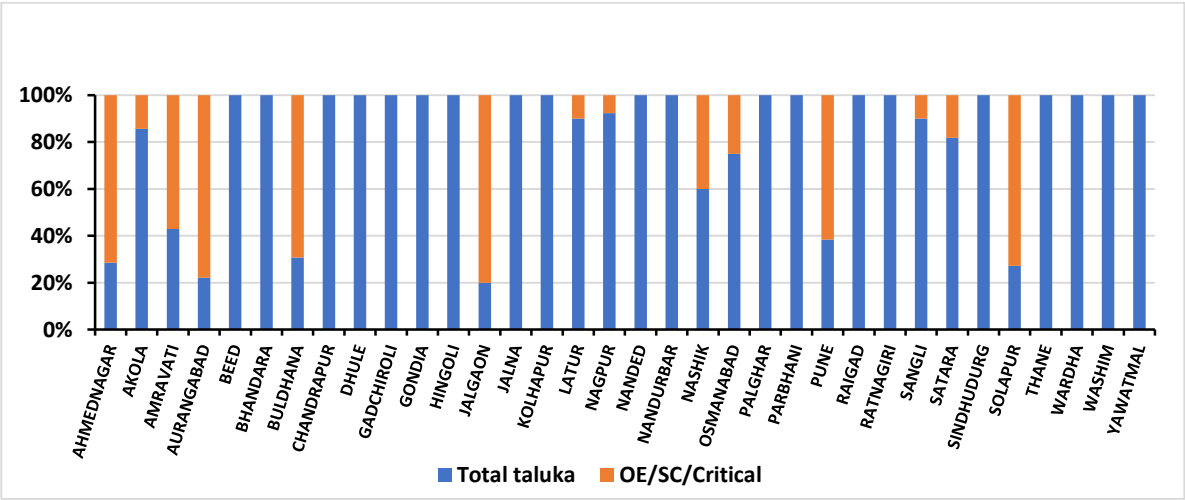

Fig 4. Percentage of total Abstracted Talukas

The groundwater development i.e., number of Over-exploited, critical and semi-critical Talukas are highest in Jalgaon (12), Ahmednagar (10), Buldhana (9), Pune (8), Solapur (8), Amravati (8), Aurangabad (7), Nashik (6), followed by Nagpur (1), Osmanabad (2), Satara (2), Akola (1), Latur (1), and Sangli (1) **(fig 4).** The over withdrawal of groundwater in these districts is attributed to the water intensive cash crop like Sugarcane, Banana, Grapes and Oranges, which are mostly groundwater dependent.

5.3.3 Groundwater Levels

The ground water level is the pulse of aquifer and the groundwater abstraction or the natural discharge has a direct impact on the groundwater levels. During this assessment, the post-monsoon groundwater levels of 2022 and pre-monsoon groundwater levels of 2023 are considered for computations.

5.4 COMPARISON WITH THE EARLIER ASSESSMENTS

5.4.1 Assessment Units

Since 1973, watershed is being used as a unit for assessment in the State irrespective of the methodology. Comparison between the Groundwater resource assessments in the State based on GEC 84 (1988), GEC-97 and GEC-2015 guidelines (2004, 2007-08, 2008-09, 2011-12 & 2013-14, 2017, 2020 & 2022) has been carried out. The comparison clearly shows that with the increasing ground water development; there is increase in number of over-abstracted watersheds. However, in the current year due to consistency in the rainfall for the last five years and because of increase in recharge from other sources (except Tanks and Ground Water irrigation structures), there is marginal decrease in the number of over-developed (OE/C/SC) watersheds. **Annexure F** shows the no. of assessment units improved and deteriorated compared to GWRE 2022.

Since 1988 the numbers of over abstracted watersheds have alarmingly increased till 2004. Subsequently, from 2007 onwards the number has started decreasing due to consistent good rainfall years supported by massive measures of artificial groundwater recharge.

The importance of groundwater resource for irrigation purposes is critical hence the development has been receiving the attention from the farmers. In the year 1988 there were 10.07 lakh irrigation wells and now in the year 2023 i.e., as per IVth Well Census, the number has gone up to 24.39 lakhs.

5.4.2 Recharge

The past good rainfall years supported by the development of new surface irrigation systems, recycled the surface water and replenished the groundwater in the non-monsoon period. The operationalization and distribution of surface water through newly constructed major, medium minor and lift irrigation projects/schemes have indirectly contributed to increase in the groundwater, either through irrigation return flow or by non-pumping of groundwater.

TABLE *4*- Recharge from different sources in BCM

Year	Rainfall	Canal	SW Irri.	GW Irri	Tank &Ponds	WCS	Total Recharge
2004	22.08	0.52	4.11	3.54	0.33	2.38	32.96
2008	23.94	0.53	4.2	4.03	0.31	2.73	35.73
2011	24.2	0.51	3.74	4.13	0.3	1.06	33.95
2013	23.78	0.47	3.4	4.07	0.3	1.17	33.19
2017	21.11	0.44	4.5	3.89	0.34	1.33	31.63
2020	21.39	0.46	4.73	3.97	0.35	1.53	32.42
2022	21.26	0.50	4.8	3.93	0.35	1.54	32.61
2023	21.61	0.49	4.86	3.95	0.36	1.74	33.01

The initiative taken by GoM and community in last decade, in artificial groundwater recharge, has shown the remarkable results due to the increased number of WCS structures under the various water conservation schemes taken by State Govt. under its various schemes like Jalyukt Shivar, IWMP etc.

5.5 GROUNDWATER RECHARGE IN POOR QUALITY ZONE

The poor-quality area in the State has increased from 305308 ha (2004) to 361858 ha (2023). This mainly includes the area from Saline Belt of Purna River. This is in-situ saline tract where TDS is very high.

Besides this in Western part of Maharashtra i.e., Sangli, Pune, Ahmednagar Districts due to excessive surface irrigation and use of chemical fertilizers the area is becoming saline. This increase is mainly in Sangli and Ahmednagar districts. During this assessment the watershed wise recharge from rainfall and other sources along with the gross groundwater draft has been computed separately for the poor-quality area. The total recharge is of the order of 28278.34 ham and the draft is about 22926.39 ham.

5.6 ANNUAL POTENTIAL RECHARGES

In Maharashtra, the water logged and shallow water table areas are very sporadic. Their aerial extent is very small and it is very difficult to map and monitor. Hence, computation of potential recharge to ground water reservoir i.e., potential ground water resource has not been computed.

5.7 THE SUMMERY OF GWRE-2023

Strategy Adopted for GWRE-2023:

Data Entry made by district officials of GSDA, after data entry First Level Scrutiny will be done by district Senior Geologists, Second Scrutiny done by Regional Deputy director, GSDA and final Reconciliation and Scrutiny with CGWB, Nagpur (GoI) and Directorate GSDA. The Database used for GWRE-2023 are as following:

TABLE 5: DATABASE USED FOR GWRE-2023

Parameters	Base year (As on 2022)	Source Department
▪ Rainfall	2022-23	Revenue
▪ GW level	Up to May 2023	GSDA
▪ Domestic Wells-Rural	Up to 2023	RWS, ZP
▪ Domestic Wells-Urban	Up to 2023	ULBs
▪ Irrigation Wells	Up to 2023	Revenue
▪ Cropping Details	2022-23	Agriculture
▪ Canal Rotations	2022-23	Jalsampada (WRD)
▪ Tanks and Ponds	Up to 2023	WRD / WCD / MI ZP
▪ WCS	Up to 2023	Agriculture/WCD/MI ZP/GSDA

GWRE-2023 AT A GLANCE:

Total Annual Ground water recharge of the Maharashtra is 32.76 BCM excluding Total Natural Discharge 1.82 BCM (Fig.5). Annual Extractable Ground Water Resource is 30.95 BCM, whereas current annual ground water extraction is 16.66 BCM and net ground water availability for future is 14.81 BCM.

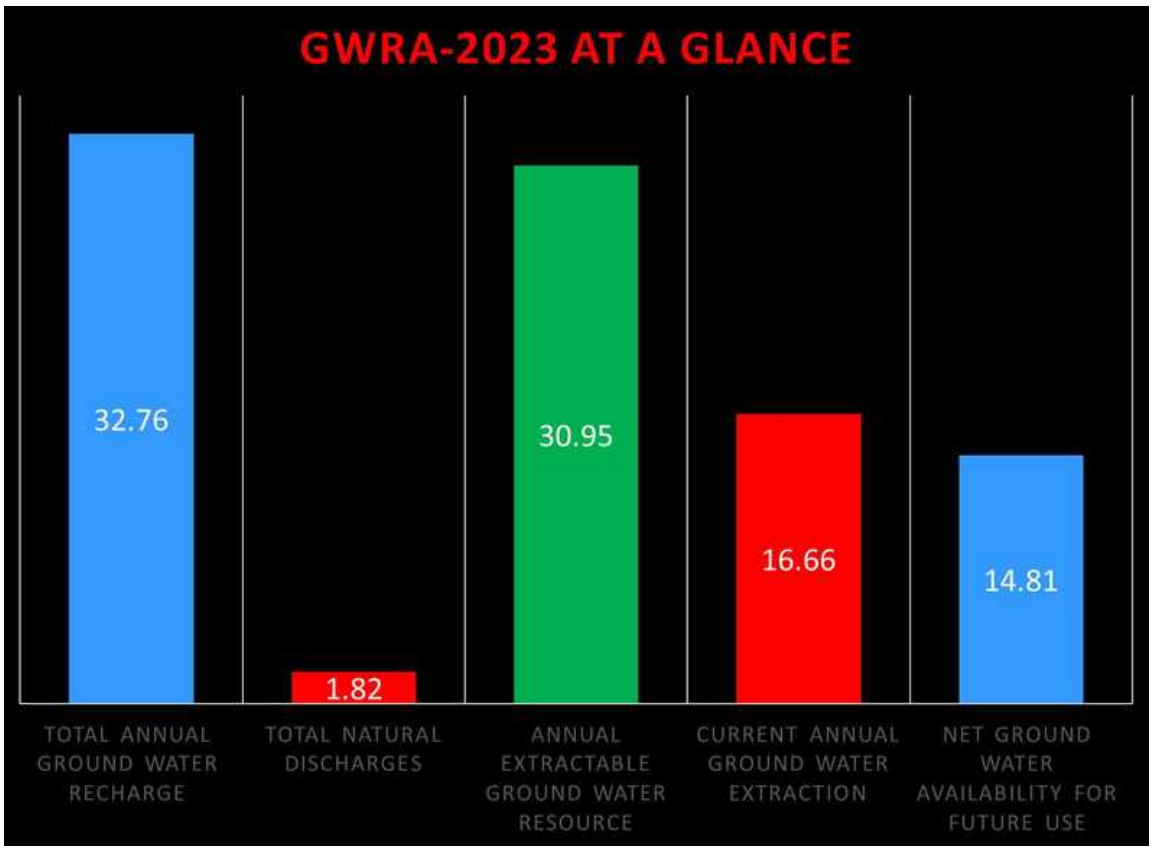

Fig 5: GWRE-2023 Recharge and Extractable groundwater quantum

Ground Water Recharge at a Glance – 2023

The total ground water recharge distribution by various components is presented in Fig.6 is clearly showing rainfall (65.26%) is the major contributor followed by Surface water and ground water irrigation (14.86 and 11.91%). The total no. of wells under Industrial, domestic and Irrigation for calculating Ground Water Extraction component is presented in Table no.6.

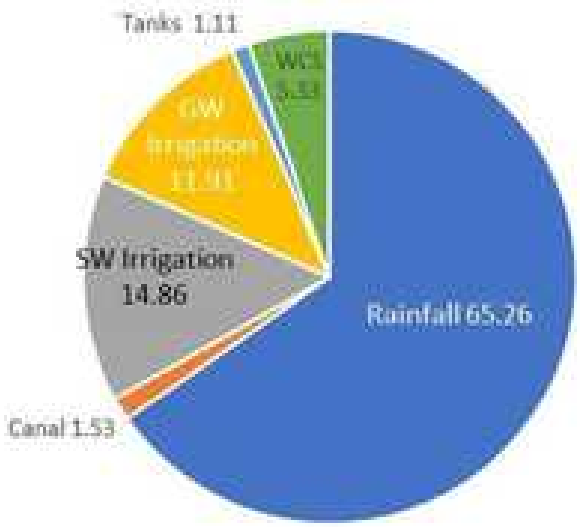

Fig 6: Distribution of Ground water recharge

TABLE 6: GROUNDWATER DRAFT COMPONENTS

GW Draft components	2021-2022			2022-2023		
	No. of wells	Draft in BCM	Draft %	No.of Wells	Draft in BCM	Draft %
Domestic	382659	1.313	8.12	386940	1.355	8.11
Irrigation	2420305	14.852	91.86	2438844	15.312	91.72
Industrial	8000	0.003	0.02	10149	0.027	0.16
Total	2810964	16.168	100	2835933	16.694	100

GWRE-2023 recharge component wise comparison with previous year GWRE-2022 is presented in Table-7. Significant increase in the recharge components of the Water Conservation Structures (0.62%) and Surface water irrigation component (0.36%) is observed in compared to GWRE-2022.

Components	2021-22		2022-23		Difference	
Unit	In BCM	%	In BCM	%	In BCM	%
Rainfall	20.55	65.951	21.38	65.25	0.83	-0.7
Canal	0.49	1.558	0.49	1.52	0	-0.03
SW Irrigation	4.52	14.501	4.86	14.86	0.34	0.36

GW Irrigation	3.79	12.169	3.9	11.91	0.11	-0.25
Tanks	0.35	1.109	0.36	1.11	0.01	0.01
WCS	1.47	4.713	1.74	5.33	0.27	0.62
Total	31.15	100	32.76	100	1.61	0.00

TABLE NO. 7: COMPONENT WISE VARIATIONS IN RECHARGE

GWRE-2023 block wise categorization observed that the no. of safe category taluka is increased from 272 to 277, the Semi-Critical reduced to 57 from 62, as well Critical increased and Over-exploited reduced in 2 talukas respectively, no change in number of saline taluka. The details are as given in table no. 8.

TABLE 8: CATEGORIZATION OF TALUKAS AND COMPARISON WITH PREVIOUS ESTIMATIONS

Category of Talukas	No. of Talukas in 2017	No. of Talukas in 2020	No. of Talukas in 2022	No. of Talukas in 2023	Difference in Taluka category as compared to 2022
Safe	271	271	272	277	+5
Semi-critical	61	63	62	57	-5
Critical	9	8	7	9	+2
Over Exploited	11	10	11	9	-2
Poor Quality	1	1	1	1	0
Total	353	353	353	353	

MINUTES OF STATE LEVEL TECHNICAL COMMITTEE (SLTC) MEETING ON 04th September 2023.

The State Level Committee (SLC) on GWRE-2023 meeting was held on 04.09.2023 at 15.15 PM in the Conference Hall, Water Supply & Sanitation Department, 7th Floor, Mantralaya, Mumbai under the Chairmanship of Hon. Sanjay Khandare, IAS, Principal Secretary, WS & S Department, Government of Maharashtra for approval of Ground Water Resource Estimation 2023 for the State of Maharashtra.

At the outset, Shri N. Varadaraj, Regional Director, Central Ground Water Board and Member Secretary of the Ground Water Resource Estimation (GWRE)2023, welcomed Hon. Sanjay Khandare, IAS, Principal Secretary, WS & S Department, Government of Maharashtra and Chairman of the Committee, other Members and representatives from various Departments/Universities. Regional Director, Central Region, CGWB briefed on the agenda of the meeting i.e., approval of GWRE-23 for the State of Maharashtra assessed through IN-GRES (INDIA-Groundwater Resource Estimation System) software jointly by GSDA & CGWB and requested the Chair to preside over the proceedings.

The Chair, Dr. Vijay Pakhmode, Joint Director, GSDA, Maharashtra made PPT presentation on the salient features of Maharashtra,including rainfall pattern, geographical & hydrogeological settings, aquifer disposition in basalt rock, and background of GWRE and also informed that GEC-2015 Methodology was adopted in making computations through IN-GRES software and the data was compiled watershed wise and analyzed for the entire state and further added that rainfall, recharge from tanks, water conservation structures viz., check dams, percolation tanks, extraction of resource for agricultural, domestic, industrial and drinking water requirements were the components taken into consideration while computing the resource. Dr. Pakhmode further made detailed presentation on ground water resource availability as per GWRE-23 in comparison with GWRE-22 resources, and informed that total annual extractable groundwater resource available is 30.95 BCM, current annual ground water extraction is 16.66 BCM and further ground water availability for future use is 14.81 BCM. Dr. Pakhmode further informed that 65.26% ground water recharge is from rainfall followed by SW irrigation (14.86%), ground water irrigation contributes about 11.91%, water conservation structures contribute 5.33% and rest by return flow from canal (1.53%) and tanks (1.11%) and also informed that out of 353 blocks, 79% blocks (277 nos.) fall in safe category and stressed on reduction in Over Exploited and Semi-Critical blocks from 11 to 9 nos and from 62 to 57 nos respectively, and increase of critical blocks from 7 to 9 nos and no changes in poor quality blocks as compared to 2022 estimates. Overall, there is an improvement in the annual extractable ground water resources and reduction in ground water extraction compared to previous GWRE.

The Chairman of the Committee, Hon. Sanjay Khandare, IAS, the Principal Secretary pointed out that the impact of good rainfall in the last 3 years and water conservation measures taken by Govt. in water sector on groundwater resource availability for which Dr. Pakhmode, JD, GSDA replied in detail and also explained how these resources data is consideredwhile implementing schemes like Atal Bhujal Yojana, Artificial Recharge Schemes, Catch the Rain campaign etc.

During the discussions, the Chairman of the committee and Principal Secretary appreciated the efforts of CGWB & GSDA in completing the assessment and finally approved the Dynamic Ground Water Resources - 2023 (GWRE-2023) for the state of Maharashtra. The meeting ended with the vote of thanks by Dr. Pramod Reddy, Dy. Director, GSDA.

ENCLOSURES

Enclosure-I:

State Govt. vide letter no. Bhujal-1822/C.R.29/WS-15 dated 27th Jan 2022, constituted The State Level Committee for Estimation of Ground Water Resources based on GEC-2015 Methodology

State Level committee for Estimation of Ground water Resources as on March 2022 based on GEC 2015 methodology.

Government of Maharashtra

Water Supply and Sanitation Department

Government Resolution No.: Bhujal-1822/C.R.29/WS-15

7th Floor, Gokuldas Tejpal Hospital Building Premises

Lokmanya Tilak Marg, Near Crawford Market, New Mantralaya ,Mumbai- 400 001

Date: 27 January, 2022

Read -

1. **Letter from Director, G.S.D.A. Pune No.:** भूसविय/सविक/भूजल मूल्यांकन २०२१-२२/३८/२०२२ दि. १९ जानेवारी, २०२२
2. **Letter from Regional Director, CGWB, Central region Nagapur, Ministry of Water Resources, River Development and Ganga Rejuvenation No.:** 20/2/TS-16 dated- 05/01/2022

Introduction:-

In accordance with the directives received from the ministry of Jalshakti, Water Resources, River Development and Ganga Rejuvenation, Central Groundwater Board, Government of India, Nagpur vide letter dated- 05/01/2022, Re-assessment of Ground Water Resources for the year 2021-2022 has to be carried out based on a methodology recommended by "Ground Water Estimation Committee-2015 Methodology" (GEC-2015) jointly by CGWB and State Ground Water Department for the State of Maharashtra based on the current ground water data in view of the changes observed in the ground water scenario. The last assessment of annual replenishable ground water resources for the state of Maharashtra was carried out for the water year 2019-20 based on GEC-2015 Methodology. The National Water Policy, 2012 has also recommended that the ground water resources of the country should be re-assessed periodically.

Page 1 of 5

In order to estimate Ground Water Resources of the State for year 2021-22 in accordance with GEC-2015 Methodology, a State Level Committee is required to be constituted as directed by Government of India.

Resolution:-

With the view to re-assess ground water resources for the water year 2021-22, the Government of Maharashtra has decided to constitute the State Level Committee (SLC) for re-assessment the Ground Water Resources for the year 2021-22 based on GEC-2015 Methodology for the State of Maharashtra with following composition:

Sr. No.	Designation	Designation in the Committee
1	Additional Chief Secretary/Principal Secretary, Water Supply And Sanitation Department, Government of Maharashtra Mantralaya, Mumbai-440001	Chairman
2	Principal Secretary, Rural Development and Water Conservation Government of Maharashtra Mantralaya, Mumbai-440 032	Member
3	Principal Secretary, Urban Development Department, Government of Maharashtra Mantralaya, Mumbai-440 032	Member
4	Commissioner Agriculture , Pune	Member
5	Commissioner Department of Industries, Opp. Mantralaya Mumbai	Member
6	Chief Engineer & Jt. Secretary Water Resources Department, Government of Maharashtra, Mumbai	Member
7	Commissioner, Groundwater Surveys and Development Agency, Pune	Member
8	Director, Maharashtra Remote Sensing Application Centre (MRSAC) Nagpur	Member
9	Director, Directorate of Municipal Administration (DMA) Worli, Mumbai	Member
10	Director, Soil Conservation & Watershed Development, Pune	Member
11	Chief Engineer, Minor Irrigation-Local Sector, Pune	Member

`

Sr. No.	Designation	Designation in the Committee
12	Chief Engineer, Maharashtra State Electricity Distribution Company Limited (MSEDCL) Mumbai	Member
13	General Manager NABARD, Pune	Member
14	Secretary, Maharashtra Water Resources and Regulatory Authority, (MWRRA), World Trade Centre, Mumbai	Member
15	Representative of Mahatma Phule Agricultural University, Rahuri	Member
16	Regional Director, Central Ground Water Board, Government of India, Nagpur	Member Secretary

The committee may co-opt any other member (s)/ special invitee (s), if necessary

(2) Terms of Reference:-

The broad terms of reference of the Committee would be as follows:

1) To re-assess annual replenishable ground water resources of the State of Maharashtra for the year 2021-22 in accordance with GEC-2015 Methodology.
2) To estimate the status of utilization of the annual replenishable ground water resource.
3) To submit the ground water resource estimates of the State to Central Level Expert Group (CLEG) after the approval of SLC for inclusion in National level report on assessment of ground water resources.
4) Any other aspect relevant to the terms referred to above.

3) Time Frame

The Committee will submit its report on or before 28-02-2023 to Government of India after the approval of SLC.

4) Expenditure

Expenditure on account of TA/DA to official Members of the SLC will be met from the source from which they draw their salaries.

This Government resolution of Maharashtra Government is available at the website www.maharashtra.gov.in. Reference no. for this is 202201271610087728. This Order has been signed digitally.

By Order and in the name of the Governor of Maharashtra.

RAJENDRA
MAHADEV
GENGAJE

(Rajendra Gengaje)

Deputy Secretary, Government of Maharashtra

Copy forwarded to:

1. Chief Secretary to Government of Maharashtra, Mantralaya, Mumbai 400 032
2. Chairman, Central Ground Water Board, Bhujal Bhavan, NH-IV, Faridabad 121001.
3. Principal Secretary, Rural Development Department, Mantralaya, Mumbai 32.
4. Principal Secretary, Urban Development Department, Mantralaya, Mumbai 32.
5. Principal Secretary, Agriculture Department, Mantralaya, Mumbai 32.
6. Principal Secretary, Irrigation Department, Mantralaya, Mumbai 32.
7. Commissioner, Agriculture Department, Pune 411 001.
8. Commissioner, Department of Industries, New Administrative Building, Opposite Mantralaya, Mumbai - 400 032.
9. Chief Engineer & Jt. Secretary, Water Resources Department, Govt. of Maharashtra, Mantralaya, Mumbai.
10. Commissioner, Groundwater Surveys & Development Agency, Shivaji Nagar, Pune 411 005.
11. Director, Maharashtra Remote Sensing Application Centre (MRSAC), VNIT Campus, Nagpur.
12. Director, Directorate of Municipal Administration (DMA), Govt. of Maharashtra, Government Transport Service Building, Sir Pochkhanwala Road, Worli, Mumbai-30.
13. Director of Soil Conservation & Watershed Management, Central Building (3rd Floor), Pune.

14. The Chief Engineer, Irrigation Local Sector, 12, Jail Raod, Yerewada, Pune 411 006.
15. Chief Engineer, Maharashtra State Electricity Distribution Company Limited (MSEDCL), Prakashgad, Plot No. G-9, Bandra (East), Mumbai – 400 051.
16. General Manager, National Bank for Agriculture and Rural Development (NABARD), 54, Wellesley Road, Shivaji Nagar, Pune – 411005.
17. Secretary, Maharashtra Water Resources and Regulatory Authority, (MWRRA), 9th Floor, Centre, World Trade Centre, Cuffe Parade, Mumbai - 400 005.
18. Vice Chancellor, Mahatma Phule Agricultural University, Rahuri-413 722.
19. The Regional Director, Central Groundwater Board, New Secretariat Building, Civil Lines, Nagpur 440 001
20. The Select file Papu 15

Enclosure- II:

State Govt. vide letter no. Bhujal-1822/C.R.29/WS-15 constituted The Permanent State Level Committee for Estimation of Ground Water Resources based on GEC-2015 Methodology

Constitution of Permanent State Level Committee for Estimation of Ground Water Resources based on GEC-2015 Methodology

Government of Maharashtra
Water Supply and Sanitation Department
Government Resolution No.: Bhujal-1822/C.R.29/WS-15
7th Floor, Gokuldas Tejpal Hospital Building Premises
Lokmanya Tilak Marg, Near Crawford Market, New Mantralaya ,Mumbai- 400 001
Date: 15 July, 2022

Read :-

1. **Letter from Regional Director, CGWB, Central region Nagpur, Ministry of Water Resources, River Development and Ganga Rejuvenation No.:** 20/2/TS-16 dated-05/01/2022
2. **Letter from Director, G.S.D.A. Pune No.:** भूजलविज्ञ/सचिव/भूजल मूल्यांकन २०२१-२२/२४६/२०२२, दि. ३० मार्च, २०२२

Introduction:-

In accordance with the directives received from Ministry of Jal Shakti, Department of Water Resources, River Development and Ganga Rejuvenation, Central Groundwater Board, Govt. of India, Nagpur vide letter no.No.20/2/TS-16, dated 05 January, 2022 and mail dated 24.03.2022, there-assessment the Ground Water Resources for the year 2021-22 and for subsequent regular and periodic assessment as per the directives issued by Ministry of Jal Shakti, Govt. of India from time to time has to be carried out based on a methodology recommended by *"Ground Water Estimation Committee-2015Methodology"* (GEC-2015) jointly by CGWB and State Ground Water Department for the State of Maharashtra based on the current ground water data in view of the changes observed in the ground water scenario. The last assessment of annual replenishable ground water resources for the state of Maharashtra was carried out for the water year 2019-20based on GEC-2015Methodology. The National Water Policy, 2012 has also recommended that the ground water resources of the country should be re-assessed periodically.

In order to estimate Ground Water Resources of the State in accordance with GEC-2015 Methodology, a Permanent State Level Committee is required to be constituted as directed by Government of India.

1) Resolution:

With the view to re-assess ground water resources for the State of Maharashtra, the Government of Maharashtra has decided to constitute the Permanent State Level Committee (SLC) for re-assessment the Ground Water Resources for the year 2021-22 and for subsequent regular and periodic assessment as per the directives issued by Ministry of Jal Shakti, Govt. of

Page 1 of 4

India from time to time based on *GEC-2015 Methodology* for the State of Maharashtra with following composition:

1)	Additional Chief Secretary/Principal Secretary, Water Supply and Sanitation Department, Govt. of Maharashtra, G.T. Hospital Complex, Mumbai-440001.	Chairman
2)	Principal Secretary, Rural Development Department, Govt. of Maharashtra, Mantralaya, Mumbai-440 032.	Member
3)	Principal Secretary, Urban Development Department, Govt. of Maharashtra, Mantralaya, Mumbai-440 032.	Member
4)	Commissioner, Agriculture, Pune.	Member
5)	Commissioner, Department of Industries, Opp. Mantralaya, Mumbai.	Member
6)	Chief Engineer & Joint Secretary, Water Resources Department, Govt. of Maharashtra, Mantralaya, Mumbai.	Member
7)	Commissioner, Groundwater Survey and Development Agency, Pune.	Member
8)	Director, Maharashtra Remote Sensing Application Centre (MRSAC), Nagpur.	Member
9)	Director, Directorate of Municipal Administration (DMA), Worli, Mumbai.	Member
10)	Director, Soil Conservation & Watershed Development, Pune.	Member
11)	Chief Engineer, Minor Irrigation - Local Sector, Pune.	Member
12)	Chief Engineer, Maharashtra State Electricity Distribution Company Limited (MSEDCL), Mumbai.	Member
13)	General Manager, NABARD, Pune.	Member
14)	Secretary, Maharashtra Water Resources and Regulatory Authority, (MWRRA), World Trade Centre, Mumbai.	Member
15)	Representative of Mahatma Phule Agricultural University, Rahuri.	Member
16)	Regional Director, Central Ground Water Board, Government of India, Ministry of Jal Shakti, Department of Water Resources, River Development and Ganga Rejuvenation, Central Region, Nagpur.	Member Secretary

The Committee may co-opt any other Member (s) /special invitee (s), if necessary.

2) Terms of Reference: The broad terms of reference of the Committee would be as follows:

1) To re-assess annual replenishable ground water resources of the State of Maharashtra for the year 2021-22and for subsequent regular and periodic assessment as per the directives issued by Ministry of Jal Shakti, Govt. of India from time to time in accordance with GEC-2015 Methodology.
2) To estimate the status of utilization of the annual replenishable ground water resource.

3) To submit the ground water resource estimates of the State to Central Level Expert Group (CLEG) after the approval of SLSC for inclusion in National level report on assessment of ground water resources.
4) Any other aspect relevant to the terms referred to above.

3) **Time Frame**

The Committee will submit its report on or before 30.09.2022to Government of India after the approval of SLC.

5) **Expenditure**

Expenditure on account of TA/DA to official Members of the SLC will be met from the source from which they draw their salaries.

This Government resolution of Maharashtra Government is available at the website www.maharashtra.gov.in. Reference no. for this is 202207151255483428. This Order has been signed digitally.

By Order and in the name of the Governor of Maharashtra.

RAJENDRA MAHADEV GENGAJE

Deputy Secretary, Government of Maharashtra

Copy forwarded to :-

1) Chief Secretary to Government of Maharashtra, Mantralaya, Mumbai 400 032.
2) Chairman, Central Ground Water Board, Bhujal Bhavan, NH-IV, Faridabad 121001.
3) Principal Secretary, Rural Development Department, Mantralaya, Mumbai 32.
4) Principal Secretary, Urban Development Department, Mantralaya, Mumbai 32.
5) Principal Secretary, Agriculture Department, Mantralaya, Mumbai 32.
6) Principal Secretary, Irrigation Department, Mantralaya, Mumbai 32.
7) Commissioner, Agriculture Department, Pune 411 001.
8) Commissioner, Department of Industries, New Administrative Building, Opposite Mantralaya, Mumbai - 400 032.
9) Chief Engineer & Jt. Secretary, Water Resources Department, Govt. of Maharashtra, Mantralaya, Mumbai.
10) Commissioner, Groundwater Surveys & Development Agency, Shivaji Nagar, Pune 411 005.
11) Director, Maharashtra Remote Sensing Application Centre (MRSAC), VNIT Campus, Nagpur.
12) Director, Directorate of Municipal Administration (DMA), Govt. of Maharashtra, Government Transport Service Building, Sir Pochakhanwala Road, Worli, Mumbai-30.
13) Director of Soil Conservation & Watershed Management, Central Building (3rd Floor), Pune.
14) The Chief Engineer, Irrigation Local Sector, 12, Jail Road, Yerawada, Pune 411 006.

15) Chief Engineer, Maharashtra State Electricity Distribution Company Limited (MSEDCL), Prakashgad, Plot No. G-9, Bandra (East), Mumbai – 400 051.
16) General Manager, National Bank for Agriculture and Rural Development (NABARD), 54, Wellesley Road, Shivaji Nagar, Pune – 411005.
17) Secretary, Maharashtra Water Resources and Regulatory Authority, (MWRRA), 9th Floor, Centre, World Trade Centre, Cuffe Parade, Mumbai - 400 005.
18) Vice Chancellor, Mahatma Phule Agricultural University, Rahuri-413 722.
19) The Regional Director, Central Groundwater Board, New Secretariat Building, Civil Lines, Nagpur 440 001
20) The Select file Papu 15

***Enclosure-III*: List of Participants attended the SLC meeting of GWRE-2023 on 04th September 2023**

In the Chair

Hon. Shri Sanjay Khandare, IAS, Principal Secretary, WS & S Department & Chairman SLC on GWRE-23, Government of Maharashtra.

Members/Representatives of the Committee:

GWRA SLC MEETING 04/09/2023

S.No	NAME & DESIGNATION	EMAIL & MOBILE	SIGN
1	MR. SANJAY KHANDARE Principal Secretary Water Supply & Sanitation dept		
2	Dr. Ramnath Sonawane Secretary, MWRRA	secretary@mwrra.in 9967440227	[signature]
3	Mr. Rajendra M. Gengaje D.O. Water Supply & Sanitation Dept	rajendragengaje@gmail.com 9763744413	[signature]
4	Mr. Ganesh Pawar Under secy, water supply & Sanitation dept.	ganesh.pawar@nic.in 9004678150	[signature]
5	Mr. Lalit P Sharma Ex. Engr. Director of Municipal Administration	dmanidsmt.1@gmail.com 9029008256	[signature]
6	Dr. C.P. Bhoyar Deputy Director GSDA - NGP.	7738141177	[signature]
7	Dr. Vijay Pakhmade Joint Director GSDA, M.S., Pune.	9822732365	[signature]
8	Kedar P.A. ASO MPU - ge	7788098585	[signature]

	NAME & DESIGNATION	GWRA SLC MEETING EMAIL & MOBILE	04/09/2023 SIGN
9	N. VARADARAJ REGIONAL DIRECTOR	rdcr-cgwb@nic.in 8248400917	[illegible]
10	Dr Pimulle M SCD CGWB, CR NAGPUR		[illegible]
11	Dr J. DAVITHURAJ SC-D CGWB-SUO PUNE	davithur-cgwb@gov.in 9931601245	[illegible]
12	Abhay Nivasarkar (SCD) CGWB CR NAGPUR	abhaynivasarkar-cgwb@nic.in 8275864263	[illegible]
13	Modi Durgaprasad SC-C CGWB, CR, Nagpur	prasad2182.kb@karnayogi.in 9642388029	[illegible]
14	Dr. Pramod Reddy Dy. Dir CR GSDA	ddrd.gsdahq@gmail.com	[illegible]
15			
16			

ANNEXURES

Annexure-A-I: GENERAL DESCRIPTION OF THE GROUND WATER ASSESSMENT UNIT 2023

S.No	WATERSHED	District	Rainfall (mm)				Total Geographical Area (ha)						Ground Water Recharge (ham)			
							Recharge Worthy Area (ha)				Hilly Area	Total	Rainfall Recharge			
			C	NC	PQ	Total	C	NC	PQ	Total			C	NC	PQ	Total
1	BM-1	AHMEDNAGAR	0	597	0	597	0	6780	0	6780	1197	7977	0	265	0	265
2	BM-14	AHMEDNAGAR	574	574	0	574	11838	9029	0	20867	2960	23827	824	628	0	1452
3	BM-15	AHMEDNAGAR	0	574	0	574	0	37110	0	37110	4587	41697	0	2582	0	2582
4	BM-16	AHMEDNAGAR	574	574	0	574	16077	5937	0	22014	7750	29764	1118	413	0	1531
5	BM-28	AHMEDNAGAR	516	0	0	516	17352	0	0	17352	0	17352	1074	0	0	1074
6	BM-29	AHMEDNAGAR	516	516	0	516	2465	19948	0	22413	4596	27009	153	1235	0	1387
7	BM-30	AHMEDNAGAR	516	516	0	516	2206	19859	0	22065	4858	26923	103	1079	0	1182
8	BM-31	AHMEDNAGAR	0	516	0	516	0	25401	0	25401	581	25982	0	1572	0	1572
9	BM-32	AHMEDNAGAR	0	556	0	556	0	26760	0	26760	10360	37120	0	1797	0	1797
10	BM-33	AHMEDNAGAR	516	516	516	516	1159	22893	6689	30741	0	30741	72	1417	304	1793
11	BM-47	AHMEDNAGAR	0	556	0	556	0	36259	0	36259	0	36259	0	1759	0	1759
12	BM-5	AHMEDNAGAR	574	574	0	574	7854	8943	0	16797	1073	17870	546	622	0	1168
13	GV-100	AHMEDNAGAR	0	597	0	597	0	23529	0	23529	6254	29783	0	919	0	919
14	GV-101	AHMEDNAGAR	597	597	597	597	7488	12410	0	19898	5612	25510	293	485	0	778
15	GV-102	AHMEDNAGAR	0	597	0	597	0	17676	0	17676	5892	23568	0	1283	0	1283
16	GV-103	AHMEDNAGAR	0	597	0	597	0	14055	0	14055	3297	17352	0	549	0	549
17	GV-104	AHMEDNAGAR	0	597	0	597	0	14939	0	14939	3060	17999	0	1084	0	1084
18	GV-105	AHMEDNAGAR	0	597	0	597	0	25534	0	25534	7202	32736	0	998	0	998
19	GV-106	AHMEDNAGAR	0	497	0	497	0	22162	0	22162	3608	25770	0	1351	0	1351
20	GV-107	AHMEDNAGAR	0	497	0	497	0	11654	0	11654	0	11654	0	711	0	711
21	GV-108	AHMEDNAGAR	0	497	0	497	0	20387	0	20387	4476	24863	0	1243	0	1243
22	GV-109	AHMEDNAGAR	0	497	0	497	0	10748	0	10748	0	10748	0	655	0	655
23	GV-110	AHMEDNAGAR	0	497	0	497	0	10360	0	10360	0	10360	0	632	0	632
24	GV-111	AHMEDNAGAR	497	497	0	497	15121	7411	0	22532	0	22532	922	452	0	1374
25	GV-112	AHMEDNAGAR	0	497	0	497	0	19323	0	19323	878	20201	0	1178	0	1178

S.No	WATERSHED	District	Rainfall (mm)				Total Geographical Area (ha)						Ground Water Recharge (ham)			
							Recharge Worthy Area (ha)				Hilly Area	Total	Rainfall Recharge			
			C	NC	PQ	Total	C	NC	PQ	Total			C	NC	PQ	Total
26	GV-113	AHMEDNAGAR	0	497	0	497	0	20913	0	20913	1101	22014	0	1275	0	1275
27	GV-114	AHMEDNAGAR	0	574	0	560	484	19707	0	20191	2496	22687	0	1371	0	1371
28	GV-115	AHMEDNAGAR	0	574	0	574	0	33175	0	33175	6320	39495	0	2308	0	2308
29	GV-116	AHMEDNAGAR	0	574	574	574	0	19217	9418	28635	2832	31467	0	1337	527	1864
30	GV-117	AHMEDNAGAR	520	520	0	520	5316	14626	0	19942	0	19942	255	856	0	1111
31	GV-118	AHMEDNAGAR	520	520	0	520	16984	6843	0	23827	0	23827	1070	431	0	1500
32	GV-119	AHMEDNAGAR	554	0	0	554	13208	0	0	13208	0	13208	796	0	0	796
33	GV-120	AHMEDNAGAR	512	512	0	512	33656	27208	0	60863	0	60863	1998	1691	0	3689
34	GV-121	AHMEDNAGAR	589	589	0	589	1638	7945	0	9583	0	9583	117	569	0	686
35	GV-122	AHMEDNAGAR	589	589	0	589	12906	11698	0	24604	0	24604	823	753	0	1577
36	GV-123	AHMEDNAGAR	520	520	0	520	11103	7026	0	18129	0	18129	699	442	0	1142
37	GV-124	AHMEDNAGAR	520	520	0	520	3957	15474	0	19431	4266	23697	249	974	0	1224
38	GV-125	AHMEDNAGAR	520	520	0	464	8933	7214	1931	18078	3651	21729	563	454	0	1017
39	GV-126	AHMEDNAGAR	589	589	0	589	29881	19715	0	49596	0	49596	2140	1412	0	3553
40	GV-127	AHMEDNAGAR	589	589	0	589	11725	6922	0	18647	0	18647	768	496	0	1264
41	GV-128	AHMEDNAGAR	633	633	0	633	26605	5251	0	31856	0	31856	2060	407	0	2467
42	GV-129	AHMEDNAGAR	669	669	0	669	21509	23617	0	45126	10428	55554	1481	1542	0	3023
43	GV-130	AHMEDNAGAR	669	669	669	669	12103	28041	0	40144	7898	48042	988	2252	0	3239
44	GV-131	AHMEDNAGAR	0	669	0	669	0	11223	0	11223	2891	14114	0	916	0	916
45	GV-132	AHMEDNAGAR	0	633	0	633	0	21496	0	21496	0	21496	0	1665	0	1665
46	GV-134	AHMEDNAGAR	0	633	0	633	0	25150	0	25150	1526	26676	0	1948	0	1948
47	GV-135	AHMEDNAGAR	0	633	0	633	0	12506	0	12506	702	13208	0	969	0	969
48	GV-136	AHMEDNAGAR	0	633	0	633	0	4920	0	4920	0	4920	0	381	0	381
49	GV-137	AHMEDNAGAR	589	589	0	589	15990	13275	0	29265	0	29265	1145	951	0	2096
50	GV-18	AHMEDNAGAR	0	597	0	597	0	233	0	233	1320	1553	0	9	0	9
51	GV-22 A	AHMEDNAGAR	0	497	0	497	0	11014	0	11014	1646	12660	0	672	0	672

S.No	WATERSHED	District	Rainfall (mm)				Total Geographical Area (ha)						Ground Water Recharge (ham)			
							Recharge Worthy Area (ha)				Hilly Area	Total	Rainfall Recharge			
			C	NC	PQ	Total	C	NC	PQ	Total			C	NC	PQ	Total
52	GV-25 B	AHMEDNAGAR	0	497	0	497	0	3980	0	3980	681	4661	0	243	0	243
53	GV-26 B	AHMEDNAGAR	512	512	0	512	2284	824	0	3107	0	3107	142	51	0	193
54	GV-28 B	AHMEDNAGAR	512	512	0	512	4079	6023	0	10101	0	10101	181	374	0	555
55	GV-29 B	AHMEDNAGAR	512	512	0	512	6959	24638	0	31597	0	31597	433	1532	0	1964
56	GV-31 B	AHMEDNAGAR	512	512	0	512	7169	9535	0	16704	0	16704	446	593	0	1038
57	GV-32 B	AHMEDNAGAR	512	512	0	512	8469	8624	0	17093	0	17093	526	536	0	1063
58	GV-33 A	AHMEDNAGAR	512	512	0	512	107	2741	0	2848	0	2848	6	170	0	176
59	GV-37 A	AHMEDNAGAR	589	589	0	589	11565	2161	0	13726	0	13726	828	155	0	983
60	GV-38 B	AHMEDNAGAR	589	589	0	589	7707	3429	0	11136	0	11136	552	246	0	798
61	GV-56	AHMEDNAGAR	633	633	633	633	940	10714	0	11654	0	11654	73	705	0	778
62	GV-57	AHMEDNAGAR	669	669	0	669	3108	8339	0	11447	2020	13467	232	681	0	913
63	GV-58	AHMEDNAGAR	0	669	0	669	0	4885	0	4885	1072	5957	0	399	0	399
64	SA-1	AHMEDNAGAR	0	622	622	622	0	15133	5805	20938	428	21366	0	1141	313	1455
65	SA-10	AHMEDNAGAR	0	753	0	753	0	9080	0	9080	1357	10437	0	805	0	805
66	SA-11	AHMEDNAGAR	0	516	0	516	0	16035	0	16035	1394	17429	0	992	0	992
67	SA-12	AHMEDNAGAR	0	556	0	556	0	31079	0	31079	0	31079	0	2087	0	2087
68	SA-14	AHMEDNAGAR	0	652	0	652	0	5279	0	5279	108	5387	0	419	0	419
69	SA-15	AHMEDNAGAR	0	556	0	556	0	22402	0	22402	0	22402	0	1504	0	1504
70	SA-16	AHMEDNAGAR	556	556	0	556	6259	14998	0	21257	886	22143	420	1007	0	1427
71	SA-17	AHMEDNAGAR	0	652	0	652	0	25363	0	25363	1675	27038	0	2013	0	2013
72	SA-18	AHMEDNAGAR	0	652	0	652	0	10152	0	10152	0	10152	0	806	0	806
73	SA-19	AHMEDNAGAR	0	652	0	652	0	27809	0	27809	2751	30560	0	1842	0	1842
74	SA-2	AHMEDNAGAR	0	622	0	622	0	28540	0	28540	1502	30042	0	2153	0	2153
75	SA-3	AHMEDNAGAR	0	622	0	622	0	12690	0	12690	259	12949	0	957	0	957
76	SA-4	AHMEDNAGAR	0	622	0	622	0	20558	0	20558	420	20978	0	1551	0	1551
77	SA-5	AHMEDNAGAR	0	622	0	622	0	18895	0	18895	788	19683	0	1425	0	1425

S.No	WATERSHED	District	Rainfall (mm)				Total Geographical Area (ha)						Ground Water Recharge (ham)			
							Recharge Worthy Area (ha)				Hilly Area	Total	Rainfall Recharge			
			C	NC	PQ	Total	C	NC	PQ	Total			C	NC	PQ	Total
78	SA-6	AHMEDNAGAR	0	622	0	622	0	10356	0	10356	780	11136	0	781	0	781
79	SA-7	AHMEDNAGAR	0	622	0	622	0	4428	0	4428	233	4661	0	334	0	334
80	SA-8	AHMEDNAGAR	0	622	0	622	0	10225	0	10225	653	10878	0	771	0	771
81	PT-17	AKOLA	0	730	0	730	0	20872	0	20872	0	20872	0	853	0	853
82	PT-18	AKOLA	820	820	820	820	1141	18217	8148	27506	678	28184	63	1001	535	1598
83	PT-19	AKOLA	820	820	820	820	5210	10396	8496	24102	0	24102	286	571	557	1415
84	PT-20	AKOLA	822	822	0	822	527	22330	0	22857	182	23039	29	1239	0	1268
85	PT-4	AKOLA	0	822	0	822	0	136	0	136	0	136	0	11	0	11
86	PT-5	AKOLA	0	768	768	763	145	17310	2108	19563	367	19930	0	1527	155	1682
87	PT-6	AKOLA	0	768	768	768	0	14362	939	15301	173	15474	0	1056	58	1114
88	PT-7	AKOLA	733	733	733	733	9792	40015	3619	53426	323	53749	704	2875	217	3795
89	PT-8	AKOLA	733	733	0	733	4274	2498	0	6772	0	6772	307	180	0	487
90	PTB-1	AKOLA	733	733	0	733	1524	190	0	1714	270	1984	109	14	0	123
91	PTK-1	AKOLA	748	748	0	748	1812	14178	0	15990	1504	17494	169	1282	0	1451
92	PTK-2 B	AKOLA	0	748	0	748	0	6501	0	6501	1018	7519	0	272	0	272
93	PTK-3 B	AKOLA	748	748	0	748	161	3298	0	3459	1111	4570	13	138	0	151
94	PTK-4 B	AKOLA	748	748	0	748	1798	8989	0	10787	3194	13981	112	700	0	812
95	PTKP-1 B	AKOLA	748	748	0	748	2527	18364	0	20891	3438	24329	158	1429	0	1587
96	PTM-1	AKOLA	730	730	0	730	340	4794	0	5134	0	5134	14	364	0	378
97	PTM-2	AKOLA	801	801	0	801	371	9242	0	9613	0	9613	25	950	0	976
98	PTM-3	AKOLA	0	801	0	801	0	786	0	786	0	786	0	67	0	67
99	PTM-4	AKOLA	730	730	0	730	674	4829	0	5503	36	5539	33	237	0	270
100	PTMB-1	AKOLA	0	730	0	730	0	763	0	763	0	763	0	31	0	31
101	PTMM-1	AKOLA	0	730	0	730	0	2572	0	2572	0	2572	0	180	0	180
102	PTMN-1 B	AKOLA	0	801	0	801	0	2921	0	2921	4412	7333	0	153	0	153
103	PTMN-2	AKOLA	801	801	0	801	4517	14932	0	19449	4049	23498	387	1116	0	1503

S.No	WATERSHED	District	Rainfall (mm)				Total Geographical Area (ha)						Ground Water Recharge (ham)			
							Recharge Worthy Area (ha)				Hilly Area	Total	Rainfall Recharge			
			C	NC	PQ	Total	C	NC	PQ	Total			C	NC	PQ	Total
104	PTMN-3	AKOLA	801	801	0	801	2097	19844	0	21941	2192	24133	144	2035	0	2179
105	PTMT-1	AKOLA	0	730	0	730	0	1684	0	1684	0	1684	0	98	0	98
106	PTMU-1	AKOLA	0	801	0	801	0	4256	0	4256	80	4336	0	292	0	292
107	PTP-2	AKOLA	0	822	0	822	0	1221	0	1221	4	1225	0	81	0	81
108	PTP-3	AKOLA	0	822	0	822	0	1884	0	1884	35	1919	0	149	0	149
109	PTP-4	AKOLA	0	822	0	822	0	1741	0	1741	0	1741	0	179	0	179
110	PTR-1	AKOLA	0	820	820	820	0	10708	4331	15039	23	15062	0	588	340	928
111	PTR-2	AKOLA	820	820	0	820	774	26282	0	27056	160	27216	79	1444	0	1523
112	PTR-3 B	AKOLA	820	820	0	820	4093	21229	0	25322	3112	28434	188	975	0	1163
113	PTR-4	AKOLA	0	748	748	748	0	22343	5127	27470	448	27918	0	1602	307	1909
114	PTS-1	AKOLA	0	0	820	820	0	0	7230	7230	0	7230	0	0	474	474
115	PTSB-1	AKOLA	768	768	768	768	1331	6569	147	8047	219	8266	98	580	9	687
116	PTSP-1	AKOLA	768	768	768	768	2082	19903	6436	28421	98	28519	184	1224	473	1880
117	PTU-1 B	AKOLA	822	822	822	822	2517	18694	333	21544	341	21885	93	692	15	800
118	PTU-2 B	AKOLA	822	822	822	822	307	24370	75	24752	367	25119	11	1352	6	1370
119	PT-1	AMRAVATI	0	1223	0	1223	0	425	0	425	520	945	0	23	0	23
120	PT-2	AMRAVATI	0	748	849	774	0	15448	5427	20875	0	20875	0	1329	526	1855
121	PT-20	AMRAVATI	0	748	757	748	0	16588	392	16980	0	16980	0	1191	24	1215
122	PT-3	AMRAVATI	0	0	649	649	0	0	26042	26042	0	26042	0	0	1615	1615
123	PT-4	AMRAVATI	0	1124	0	1124	0	73	0	73	7704	7777	0	6	0	6
124	PT-6	AMRAVATI	0	1597	0	1597	0	69	0	69	6172	6241	0	6	0	6
125	PTB-1	AMRAVATI	0	1337	0	1337	0	100	0	100	1039	1139	0	8	0	8
126	PTB-2	AMRAVATI	0	1467	0	1467	0	1125	0	1125	23821	24946	0	95	0	95
127	PTC-1	AMRAVATI	849	1597	649	1178	2678	15363	10512	28553	10600	39153	218	1418	546	2182
128	PTC-2	AMRAVATI	750	735	649	727	4507	23261	3582	31350	2591	33941	386	1641	186	2213
129	PTC-3	AMRAVATI	0	0	649	649	0	0	4392	4392	0	4392	0	0	272	272

S.No	WATERSHED	District	Rainfall (mm)				Total Geographical Area (ha)						Ground Water Recharge (ham)			
							Recharge Worthy Area (ha)				Hilly Area	Total	Rainfall Recharge			
			C	NC	PQ	Total	C	NC	PQ	Total			C	NC	PQ	Total
130	PTCS-1	AMRAVATI	849	849	0	849	4897	16198	0	21095	8760	29855	399	1320	0	1719
131	PTCS-2	AMRAVATI	0	748	649	727	0	18039	4771	22810	0	22810	0	1295	248	1543
132	PTG-0	AMRAVATI	0	650	649	650	0	10287	7604	17891	0	17891	0	535	395	930
133	PTP-1	AMRAVATI	977	748	748	757	1449	32602	2788	36839	0	36839	163	2341	200	2704
134	PTP-2	AMRAVATI	0	748	748	748	0	24059	4081	28140	0	28140	0	2070	244	2314
135	PTP-3	AMRAVATI	0	748	757	756	0	1329	19590	20919	0	20919	0	80	1418	1498
136	PTP-4	AMRAVATI	0	837	748	834	0	22386	894	23280	3731	27011	0	1904	0	1904
137	PTP-5	AMRAVATI	0	872	748	813	0	4628	4140	8768	1211	9979	0	337	0	337
138	PTP-6	AMRAVATI	977	977	748	966	465	35371	1808	37644	5114	42758	41	3594	130	3765
139	PTS-1	AMRAVATI	650	1597	650	1025	2065	11686	15799	29550	10045	39595	153	1078	986	2217
140	PTSB-1	AMRAVATI	650	650	649	650	3656	22277	3401	29334	10697	40031	226	1158	177	1561
141	PTSP-1	AMRAVATI	0	0	649	649	0	0	1502	1502	0	1502	0	0	78	78
142	PTU-2	AMRAVATI	0	769	0	769	0	82	0	82	0	82	0	7	0	7
143	TE-1	AMRAVATI	1597	1597	0	1597	196	4616	0	4812	5858	10670	18	341	0	359
144	TE-2	AMRAVATI	0	1223	0	1223	0	625	0	625	10503	11128	0	34	0	34
145	TE-3	AMRAVATI	0	1337	0	1337	0	1562	0	1562	9041	10603	0	111	0	111
146	TE-4	AMRAVATI	0	1337	0	1337	0	3750	0	3750	8990	12740	0	286	0	286
147	TE-5	AMRAVATI	1337	1337	0	1337	977	4648	0	5625	19757	25382	87	426	0	513
148	TE-6	AMRAVATI	1337	1337	0	1337	181	2944	0	3125	7706	10831	11	180	0	191
149	TEG-1	AMRAVATI	1337	1337	0	1337	667	9958	0	10625	10071	20696	51	609	0	660
150	TEG-2	AMRAVATI	1337	1337	0	1337	1295	7455	0	8750	9004	17754	80	456	0	535
151	TEG-3	AMRAVATI	0	1597	0	1597	0	137	0	137	21769	21906	0	10	0	10
152	TEGD-1	AMRAVATI	0	1467	0	1467	0	375	0	375	16687	17062	0	38	0	38
153	TEK-0	AMRAVATI	0	1223	0	1223	0	1250	0	1250	24460	25710	0	69	0	69
154	TEKA-1	AMRAVATI	0	1467	0	1467	0	517	0	517	9247	9764	0	35	0	35
155	TEKA-2	AMRAVATI	0	1467	0	1467	0	1875	0	1875	16835	18710	0	127	0	127

S.No	WATERSHED	District	Rainfall (mm)				Total Geographical Area (ha)						Ground Water Recharge (ham)			
							Recharge Worthy Area (ha)				Hilly Area	Total	Rainfall Recharge			
			C	NC	PQ	Total	C	NC	PQ	Total			C	NC	PQ	Total
156	TES-1	AMRAVATI	1337	1337	0	1337	264	5673	0	5937	11467	17404	24	433	0	458
157	TES-2	AMRAVATI	0	1337	0	1337	0	1625	0	1625	6533	8158	0	149	0	149
158	TES-3	AMRAVATI	0	1337	0	1337	0	375	0	375	21629	22004	0	25	0	25
159	TES-4	AMRAVATI	0	1597	0	1597	0	731	0	731	17505	18236	0	67	0	67
160	TES-5	AMRAVATI	1467	1467	0	1467	281	3469	0	3750	14823	18573	24	234	0	258
161	TES-6	AMRAVATI	0	1597	0	1597	0	427	0	427	6938	7365	0	32	0	32
162	WR-1	AMRAVATI	903	903	0	903	644	21152	0	21796	2148	23944	72	1986	0	2059
163	WR-2	AMRAVATI	903	903	0	903	2575	42604	0	45179	3691	48870	242	4001	0	4243
164	WR-3	AMRAVATI	836	836	0	836	377	25639	0	26016	2886	28902	33	2011	0	2044
165	WR-4	AMRAVATI	846	836	0	839	3493	9056	0	12549	1319	13868	302	790	0	1092
166	WR-5	AMRAVATI	856	917	0	905	7528	31586	0	39114	1976	41090	540	2421	0	2961
167	WR-6	AMRAVATI	827	827	0	827	3572	27261	0	30833	3160	33993	316	2796	0	3112
168	WR-7	AMRAVATI	0	797	0	797	0	19181	0	19181	593	19774	0	1590	0	1590
169	WR-8	AMRAVATI	0	797	0	797	0	21280	0	21280	507	21787	0	1604	0	1604
170	WR-9	AMRAVATI	797	797	0	797	1617	1295	0	2912	126	3038	130	107	0	237
171	WRB-1	AMRAVATI	0	769	0	769	0	21880	0	21880	2333	24213	0	1570	0	1570
172	WRB-10	AMRAVATI	0	797	0	797	0	15533	0	15533	460	15993	0	1288	0	1288
173	WRB-11	AMRAVATI	0	769	0	769	0	10418	0	10418	460	10878	0	992	0	992
174	WRB-17	AMRAVATI	0	769	0	769	0	1235	0	1235	0	1235	0	88	0	88
175	WRB-2	AMRAVATI	0	769	0	769	0	2182	0	2182	159	2341	0	208	0	208
176	WRB-4	AMRAVATI	0	769	0	769	0	14063	0	14063	562	14625	0	1318	0	1318
177	WRB-5	AMRAVATI	769	769	0	769	902	7347	0	8249	714	8963	64	476	0	540
178	WRB-6	AMRAVATI	0	769	0	769	0	2482	0	2482	299	2781	0	206	0	206
179	WRBK-1	AMRAVATI	887	887	0	887	1638	21833	0	23471	4703	28174	151	1620	0	1772
180	WRBK-2	AMRAVATI	783	783	0	783	165	21141	0	21306	2910	24216	13	2051	0	2064
181	WRC-1	AMRAVATI	836	836	0	836	2387	34757	0	37144	10632	47776	208	2427	0	2635

S.No	WATERSHED	District	Rainfall (mm)				Total Geographical Area (ha)						Ground Water Recharge (ham)			
							Recharge Worthy Area (ha)				Hilly Area	Total	Rainfall Recharge			
			C	NC	PQ	Total	C	NC	PQ	Total			C	NC	PQ	Total
182	GP-1	AURANGABAD	643	749	0	741	2670	33017	0	35687	6264	41951	241	3472	0	3713
183	GP-10	AURANGABAD	609	609	0	609	1562	32549	0	34111	1075	35186	72	1499	0	1570
184	GP-11	AURANGABAD	643	643	0	643	104	7585	0	7689	80	7769	8	685	0	693
185	GP-13 A	AURANGABAD	643	643	0	643	1800	2507	0	4307	0	4307	163	226	0	389
186	GP-14	AURANGABAD	0	609	0	609	0	8754	0	8754	0	8754	0	749	0	749
187	GP-15	AURANGABAD	0	609	0	609	0	10558	0	10558	800	11358	0	903	0	903
188	GP-16	AURANGABAD	609	609	0	609	7803	9650	0	17453	3081	20534	359	444	0	804
189	GP-17	AURANGABAD	0	609	0	609	0	7976	0	7976	181	8157	0	367	0	367
190	GP-17^	AURANGABAD	602	602	0	602	1885	19352	0	21237	0	21237	106	1090	0	1197
191	GP-18 A	AURANGABAD	0	643	0	643	0	5945	0	5945	0	5945	0	537	0	537
192	GP-2	AURANGABAD	749	749	0	749	730	29209	0	29939	3603	33542	51	3072	0	3123
193	GP-24	AURANGABAD	0	609	0	609	0	3207	0	3207	0	3207	0	148	0	148
194	GP-3	AURANGABAD	609	800	0	783	2672	27734	0	30406	5080	35486	123	2075	0	2198
195	GP-4	AURANGABAD	643	643	0	643	2685	15252	0	17937	1250	19187	207	918	0	1125
196	GP-5	AURANGABAD	0	643	0	643	0	15759	0	15759	838	16597	0	1092	0	1092
197	GP-6	AURANGABAD	0	609	0	609	0	14657	0	14657	557	15214	0	1253	0	1253
198	GP-7	AURANGABAD	609	609	0	609	4120	17853	0	21973	0	21973	190	1387	0	1577
199	GP-8	AURANGABAD	609	609	0	609	4300	17602	0	21902	774	22676	368	1505	0	1873
200	GP-9	AURANGABAD	609	609	0	609	364	21180	0	21544	2615	24159	17	975	0	992
201	GV-33	AURANGABAD	487	487	0	487	9815	14000	0	23815	0	23815	671	894	0	1565
202	GV-34 B	AURANGABAD	487	487	0	487	3368	37732	0	41100	0	41100	230	2580	0	2810
203	GV-35	AURANGABAD	487	487	0	487	3104	26616	0	29720	0	29720	212	1820	0	2032
204	GV-36	AURANGABAD	487	487	0	487	19180	3720	0	22900	0	22900	1311	170	0	1481
205	GV-38 A	AURANGABAD	749	749	0	749	2129	13570	0	15699	3285	18984	168	951	0	1119
206	GV-39 A	AURANGABAD	749	749	0	749	1644	29765	0	31409	846	32255	115	3130	0	3245
207	GV-40	AURANGABAD	749	749	0	749	1241	26550	0	27791	83	27874	70	2792	0	2862

S.No	WATERSHED	District	Rainfall (mm)				Total Geographical Area (ha)						Ground Water Recharge (ham)			
							Recharge Worthy Area (ha)				Hilly Area	Total	Rainfall Recharge			
			C	NC	PQ	Total	C	NC	PQ	Total			C	NC	PQ	Total
208	GV-41	AURANGABAD	625	625	0	625	1322	35456	0	36778	0	36778	77	3111	0	3189
209	GV-42	AURANGABAD	487	487	0	487	0	17171	0	17171	0	17171	0	1174	0	1174
210	GV-43	AURANGABAD	625	625	0	625	19224	1156	0	20380	50	20430	908	55	0	963
211	GV-44	AURANGABAD	673	673	0	673	1829	11535	0	13364	0	13364	173	1089	0	1262
212	GV-45	AURANGABAD	749	749	0	749	734	12883	0	13617	624	14241	77	903	0	980
213	GV-46	AURANGABAD	625	625	0	625	1350	30906	0	32256	1266	33522	108	1460	0	1568
214	GV-47	AURANGABAD	0	625	0	625	0	20120	0	20120	0	20120	0	1766	0	1766
215	GV-48	AURANGABAD	625	0	0	625	16708	0	0	16708	0	16708	1466	0	0	1466
216	GV-49	AURANGABAD	625	609	0	609	421	30480	0	30901	2923	33824	20	1403	0	1423
217	GV-50	AURANGABAD	602	609	0	608	4065	17838	0	21903	0	21903	344	1525	0	1869
218	GV-51	AURANGABAD	602	602	0	602	13428	28185	0	41613	0	41613	1135	2382	0	3517
219	GV-52	AURANGABAD	602	602	0	602	3725	10318	0	14043	0	14043	315	872	0	1187
220	GV-52 A	AURANGABAD	602	602	0	602	296	5145	0	5441	0	5441	25	435	0	460
221	GV-53	AURANGABAD	602	602	0	602	7129	28288	0	35417	0	35417	324	1287	0	1612
222	GV-54	AURANGABAD	0	602	0	602	0	4393	0	4393	0	4393	0	371	0	371
223	GV-55	AURANGABAD	602	602	0	602	3881	8024	0	11905	0	11905	328	678	0	1006
224	TE-10B	AURANGABAD	643	630	0	634	1619	3500	0	5119	2210	7329	79	167	0	245
225	TE-13 B	AURANGABAD	630	643	0	639	577	1527	0	2104	3356	5460	27	74	0	102
226	TE-15 B	AURANGABAD	630	630	0	630	348	23840	0	24188	1556	25744	11	1135	0	1147
227	TE-22 B	AURANGABAD	0	630	0	630	0	9696	0	9696	4257	13953	0	462	0	462
228	TE-28 B	AURANGABAD	630	630	0	630	1919	14791	0	16710	2175	18885	91	704	0	796
229	TE-36 B	AURANGABAD	0	630	0	630	0	2011	0	2011	838	2849	0	96	0	96
230	TE-37 B	AURANGABAD	749	749	0	749	1914	11921	0	13835	6917	20752	173	675	0	849
231	TE-5 B	AURANGABAD	0	630	0	630	0	2206	0	2206	250	2456	0	195	0	195
232	TE-6 B	AURANGABAD	630	630	0	630	680	8684	0	9364	724	10088	44	521	0	565
233	TE-72 B	AURANGABAD	0	487	0	487	0	5456	0	5456	2968	8424	0	373	0	373

S.No	WATERSHED	District	Rainfall (mm)				Total Geographical Area (ha)						Ground Water Recharge (ham)			
							Recharge Worthy Area (ha)				Hilly Area	Total	Rainfall Recharge			
			C	NC	PQ	Total	C	NC	PQ	Total			C	NC	PQ	Total
234	GV-56	BEED	686	686	0	686	2728	8616	0	11344	0	11344	229	723	0	952
235	GV-57 A	BEED	0	635	0	635	0	5490	0	5490	0	5490	0	430	0	430
236	GV-58	BEED	635	635	0	635	2115	22495	0	24610	1445	26055	166	1762	0	1928
237	GV-59	BEED	0	635	0	635	0	16804	0	16804	1740	18544	0	1316	0	1316
238	GV-60 A	BEED	0	660	0	660	0	9116	0	9116	0	9116	0	737	0	737
239	GV-61	BEED	686	686	0	686	3542	30231	0	33773	0	33773	297	2537	0	2834
240	GV-62	BEED	0	686	0	686	0	24138	0	24138	0	24138	0	2025	0	2025
241	GV-63	BEED	0	635	0	635	0	18414	0	18414	2306	20720	0	1442	0	1442
242	GV-64	BEED	686	686	0	686	6699	19847	0	26546	0	26546	562	1665	0	2228
243	GV-65	BEED	0	692	0	692	0	30751	0	30751	1701	32452	0	2613	0	2613
244	GV-67	BEED	686	686	0	686	6902	15786	0	22688	0	22688	579	1325	0	1904
245	GV-68	BEED	0	686	0	686	0	20936	0	20936	302	21238	0	1757	0	1757
246	GV-69	BEED	692	692	0	692	1612	17243	0	18855	0	18855	137	1465	0	1602
247	GV-70	BEED	0	664	0	664	0	28821	0	28821	2984	31805	0	2353	0	2353
248	GV-72	BEED	686	686	0	686	6581	10409	0	16990	0	16990	552	873	0	1426
249	GV-73	BEED	692	692	0	692	2092	28586	0	30678	1386	32064	167	2113	0	2280
250	GV-75	BEED	719	719	0	719	8226	6498	0	14724	0	14724	728	575	0	1304
251	GV-76	BEED	0	686	0	686	0	21963	0	21963	0	21963	0	1843	0	1843
252	GV-77	BEED	719	692	0	694	1753	27784	0	29537	1232	30769	155	2361	0	2517
253	GV-78	BEED	0	723	0	723	0	30972	0	30972	0	30972	0	2769	0	2769
254	GV-80	BEED	719	723	0	723	1482	11882	0	13364	0	13364	131	1060	0	1191
255	GV-81	BEED	733	733	0	733	1481	21390	0	22871	3371	26242	134	1940	0	2074
256	GV-84	BEED	719	719	0	719	1837	14137	0	15974	0	15974	163	1239	0	1402
257	GV-85	BEED	719	719	0	719	14206	3095	0	17301	0	17301	1258	274	0	1532
258	GV-86	BEED	719	719	0	719	2872	18723	0	21595	886	22481	254	1652	0	1907
259	GV-87	BEED	0	733	0	733	0	18114	0	18114	2865	20979	0	1643	0	1643

S.No	WATERSHED	District	Rainfall (mm)				Total Geographical Area (ha)						Ground Water Recharge (ham)			
							Recharge Worthy Area (ha)				Hilly Area	Total	Rainfall Recharge			
			C	NC	PQ	Total	C	NC	PQ	Total			C	NC	PQ	Total
260	GV-90 B	BEED	0	742	0	742	0	12754	0	12754	1128	13882	0	1171	0	1171
261	GV-91	BEED	719	733	0	730	4892	21206	0	26098	0	26098	433	1923	0	2356
262	GV-97 B	BEED	0	742	0	742	0	4794	0	4794	1810	6604	0	440	0	440
263	GV-98	BEED	742	742	0	742	10000	16036	0	26036	1979	28015	919	1470	0	2388
264	GV-99	BEED	742	742	0	742	5296	26427	0	31723	0	31723	486	2427	0	2914
265	MR-1	BEED	635	635	0	635	1954	18959	0	20913	1568	22481	153	1485	0	1638
266	MR-14	BEED	0	742	0	742	0	31818	0	31818	0	31818	0	2923	0	2923
267	MR-15	BEED	742	742	0	742	397	3740	0	4137	1231	5368	36	344	0	380
268	MR-2	BEED	0	664	0	664	0	23405	0	23405	1200	24605	0	1911	0	1911
269	MR-31 B	BEED	0	742	0	742	0	6222	0	6222	512	6734	0	572	0	572
270	MR-32 B	BEED	0	742	0	742	0	8730	0	8730	0	8730	0	608	0	608
271	MR-4	BEED	0	692	0	692	0	39782	0	39782	0	39782	0	3381	0	3381
272	MR-6	BEED	0	723	0	723	0	54908	0	54908	0	54908	0	4909	0	4909
273	MR-8	BEED	723	742	0	740	5930	44452	0	50382	200	50582	530	4083	0	4613
274	SA-10	BEED	660	660	0	660	1621	20392	0	22013	1245	23258	131	1649	0	1781
275	SA-11	BEED	660	660	0	660	621	9713	0	10334	414	10748	50	786	0	836
276	SA-12	BEED	660	660	0	660	1463	18971	0	20434	1011	21445	118	1534	0	1653
277	SA-13	BEED	660	660	0	660	1715	14818	0	16533	664	17197	139	1199	0	1337
278	SA-14	BEED	660	660	0	660	1454	14345	0	15799	0	15799	118	1160	0	1278
279	SA-15	BEED	660	660	0	660	555	22651	0	23206	0	23206	45	1832	0	1877
280	SA-5 B	BEED	660	660	0	660	1723	19359	0	21082	0	21082	139	1566	0	1705
281	SA-9	BEED	660	660	0	660	2478	15255	0	17733	915	18648	200	1234	0	1434
282	WG-10	BHANDARA	1376	1376	0	1376	4120	18370	0	22490	800	23290	219	1437	0	1656
283	WG-11	BHANDARA	1395	1395	0	1395	467	15570	0	16037	0	16037	42	1659	0	1700
284	WG-12	BHANDARA	1395	1395	0	1395	255	22425	0	22680	0	22680	17	1792	0	1809
285	WG-5	BHANDARA	1377	1377	0	1377	22871	8500	0	31371	2361	33732	1456	452	0	1907

S.No	WATERSHED	District	Rainfall (mm)				Total Geographical Area (ha)						Ground Water Recharge (ham)			
							Recharge Worthy Area (ha)				Hilly Area	Total	Rainfall Recharge			
			C	NC	PQ	Total	C	NC	PQ	Total			C	NC	PQ	Total
286	WG-6	BHANDARA	1377	1377	0	1377	1256	8069	0	9325	0	9325	83	638	0	721
287	WG-7 B	BHANDARA	1376	1376	0	1376	4202	8577	0	12779	660	13439	332	516	0	848
288	WG-8	BHANDARA	1376	1376	0	1376	1979	19481	0	21460	1000	22460	105	1539	0	1644
289	WG-9	BHANDARA	1376	1376	0	1376	6178	9335	0	15513	400	15913	328	738	0	1066
290	WGB'-0	BHANDARA	0	1395	0	1395	0	1005	0	1005	0	1005	0	80	0	80
291	WGB-3	BHANDARA	0	1377	0	1377	0	12732	0	12732	0	12732	0	1007	0	1007
292	WGB-4	BHANDARA	1377	1377	0	1377	6344	8463	0	14807	775	15582	502	575	0	1076
293	WGC-1	BHANDARA	1557	1557	0	1557	2370	20443	0	22813	2331	25144	142	1832	0	1974
294	WGC-2 B	BHANDARA	1557	1557	0	1557	9062	2642	0	11704	360	12064	812	237	0	1049
295	WGC-3 B	BHANDARA	1558	1558	0	1558	650	4858	0	5508	0	5508	48	363	0	412
296	WGC-4	BHANDARA	1557	1557	0	1557	1953	13494	0	15447	300	15747	175	978	0	1153
297	WGC-5	BHANDARA	1557	1557	0	1557	5416	28621	0	34037	400	34437	467	2566	0	3032
298	WGC-6	BHANDARA	1558	1558	0	1558	3306	27359	0	30665	125	30790	453	4279	0	4732
299	WGC-7	BHANDARA	1558	1558	0	1558	9015	13138	0	22153	38	22191	674	1178	0	1852
300	WGCK-0 B	BHANDARA	1557	1557	0	1557	1710	11943	0	13653	729	14382	153	1071	0	1224
301	WGK-6	BHANDARA	0	1376	0	1376	0	2362	0	2362	124	2486	0	125	0	125
302	WGM-2	BHANDARA	0	1395	0	1395	0	7322	0	7322	800	8122	0	585	0	585
303	WGS-2	BHANDARA	1376	0	0	1376	8910	0	0	8910	0	8910	473	0	0	473
304	WGS-3	BHANDARA	1376	0	0	1376	9324	0	0	9324	0	9324	679	0	0	679
305	WGS-4	BHANDARA	1376	1376	0	1376	1089	10716	0	11805	1000	12805	86	683	0	769
306	WGSG-0	BHANDARA	1376	1376	0	1376	6357	14239	0	20596	0	20596	338	756	0	1094
307	GP-1	BULDHANA	710	710	0	710	1507	11664	0	13171	1040	14211	112	921	0	1033
308	GP-2	BULDHANA	813	813	0	813	320	6731	0	7051	1629	8680	22	682	0	704
309	GP-4	BULDHANA	813	813	0	813	2030	20802	0	22832	5074	27906	206	2109	0	2315
310	GP-5	BULDHANA	813	813	0	813	1737	10269	0	12006	2795	14801	166	903	0	1070
311	GP-6	BULDHANA	710	710	0	710	1866	14709	0	16575	2528	19103	162	1303	0	1465

S.No	WATERSHED	District	Rainfall (mm)				Total Geographical Area (ha)						Ground Water Recharge (ham)			
							Recharge Worthy Area (ha)				Hilly Area	Total	Rainfall Recharge			
			C	NC	PQ	Total	C	NC	PQ	Total			C	NC	PQ	Total
312	GP-7	BULDHANA	799	799	0	799	964	22137	0	23101	3025	26126	96	2211	0	2307
313	GPA-1	BULDHANA	799	799	0	799	896	23937	0	24833	3672	28505	75	2101	0	2177
314	GPD-1	BULDHANA	786	786	0	786	916	17836	0	18752	1246	19998	87	1688	0	1774
315	GPD-2	BULDHANA	786	786	0	786	321	4114	0	4435	85	4520	31	403	0	434
316	GPD-3	BULDHANA	0	805	0	805	0	4270	0	4270	354	4624	0	410	0	410
317	GPDG-1	BULDHANA	0	710	0	710	0	5857	0	5857	1218	7075	0	519	0	519
318	GPP-1	BULDHANA	710	710	0	710	435	14802	0	15237	4678	19915	39	1311	0	1350
319	PG-1	BULDHANA	796	796	0	796	741	17777	0	18518	5617	24135	61	1763	0	1824
320	PG-2	BULDHANA	796	796	0	796	1205	22950	0	24155	2163	26318	82	1806	0	1888
321	PG-24	BULDHANA	829	829	0	829	822	6397	0	7219	676	7895	67	663	0	730
322	PG-25	BULDHANA	844	844	0	844	3752	9375	0	13127	2581	15708	295	964	0	1259
323	PG-26	BULDHANA	0	805	0	805	0	13382	0	13382	4407	17789	0	1009	0	1009
324	PG-3	BULDHANA	825	805	0	805	118	13367	0	13485	1850	15335	10	1342	0	1352
325	PG-4	BULDHANA	829	777	0	784	2798	18691	0	21489	3277	24766	290	1819	0	2109
326	PG-5	BULDHANA	813	813	0	813	1737	12629	0	14366	2703	17069	153	1280	0	1433
327	PG-6	BULDHANA	0	813	0	813	0	1495	0	1495	513	2008	0	126	0	126
328	PGKA-1	BULDHANA	0	844	0	844	0	14913	0	14913	3742	18655	0	1328	0	1328
329	PGKO-1	BULDHANA	844	805	0	807	1219	30379	0	31598	3954	35552	104	3049	0	3153
330	PT-10	BULDHANA	0	695	866	723	0	22718	4480	27198	1618	28816	0	1263	447	1710
331	PT-11	BULDHANA	682	682	682	682	356	25367	4500	30223	2633	32856	23	1988	295	2306
332	PT-12	BULDHANA	682	682	0	682	796	19562	0	20358	1718	22076	62	1533	0	1595
333	PT-13	BULDHANA	0	736	0	736	0	5144	0	5144	118	5262	0	473	0	473
334	PT-14	BULDHANA	736	736	0	736	2476	8945	0	11421	0	11421	228	822	0	1050
335	PT-15	BULDHANA	718	718	718	718	144	17039	1648	18831	0	18831	9	1542	124	1676
336	PT-16	BULDHANA	0	718	718	718	0	4726	300	5026	0	5026	0	329	25	354
337	PT-8	BULDHANA	695	695	0	695	600	2506	0	3106	0	3106	40	200	0	240

S.No	WATERSHED	District	Rainfall (mm)				Total Geographical Area (ha)						Ground Water Recharge (ham)			
							Recharge Worthy Area (ha)				Hilly Area	Total	Rainfall Recharge			
			C	NC	PQ	Total	C	NC	PQ	Total			C	NC	PQ	Total
338	PT-9	BULDHANA	0	695	695	695	0	2189	69	2258	0	2258	0	146	6	152
339	PTB-1	BULDHANA	695	695	0	695	3859	16983	0	20842	2928	23770	257	1356	0	1613
340	PTG-1	BULDHANA	718	718	0	718	653	15285	0	15938	2017	17955	49	1372	0	1420
341	PTG-2	BULDHANA	717	717	0	717	178	7223	0	7401	1323	8724	11	526	0	536
342	PTG-3	BULDHANA	0	805	0	805	0	13175	0	13175	4856	18031	0	1130	0	1130
343	PTG-4	BULDHANA	0	717	0	717	0	6457	0	6457	3973	10430	0	401	0	401
344	PTG-5	BULDHANA	717	717	0	717	4579	11355	0	15934	0	15934	304	678	0	982
345	PTGB-1	BULDHANA	717	724	0	723	1145	19503	0	20648	4083	24731	102	1764	0	1866
346	PTGI-1	BULDHANA	0	730	730	730	0	8032	2565	10597	0	10597	0	397	181	579
347	PTGID-1	BULDHANA	0	730	730	730	0	4353	1704	6057	0	6057	0	400	120	520
348	PTGIM-1	BULDHANA	0	724	0	724	0	14506	0	14506	0	14506	0	947	0	947
349	PTM-2	BULDHANA	0	844	0	844	0	3573	0	3573	454	4027	0	326	0	326
350	PTM-3	BULDHANA	805	805	0	805	232	24488	0	24720	6807	31527	16	1943	0	1959
351	PTMB-1	BULDHANA	717	717	730	722	1725	13884	9762	25371	1896	27267	103	1083	575	1761
352	PTMM-1	BULDHANA	717	717	0	717	3698	19732	0	23430	7366	30796	331	1583	0	1914
353	PTMN-1	BULDHANA	0	844	0	844	0	4146	0	4146	1064	5210	0	307	0	307
354	PTMT-1	BULDHANA	717	717	0	717	3525	14390	0	17915	7918	25833	235	957	0	1192
355	PTMU-1	BULDHANA	844	844	0	844	3548	12998	0	16546	5474	22020	314	1380	0	1694
356	PTN-1	BULDHANA	753	736	0	736	339	20194	0	20533	807	21340	14	1000	0	1014
357	PTN-2	BULDHANA	753	753	0	753	3578	18295	0	21873	3477	25350	182	929	0	1111
358	PTN-3	BULDHANA	0	753	0	753	0	7154	0	7154	7794	14948	0	675	0	675
359	PTV-1	BULDHANA	736	736	0	736	5193	14891	0	20084	6769	26853	390	1136	0	1526
360	PTV-2	BULDHANA	736	717	0	718	488	13391	0	13879	2812	16691	37	841	0	879
361	PTW-1	BULDHANA	745	745	0	745	1615	15111	0	16726	2626	19352	150	1407	0	1558
362	TE-6	BULDHANA	0	682	0	682	0	1860	0	1860	4555	6415	0	132	0	132
363	TE-7	BULDHANA	753	753	0	753	378	5440	0	5818	1572	7390	33	508	0	541

S.No	WATERSHED	District	Rainfall (mm)				Total Geographical Area (ha)						Ground Water Recharge (ham)			
							Recharge Worthy Area (ha)				Hilly Area	Total	Rainfall Recharge			
			C	NC	PQ	Total	C	NC	PQ	Total			C	NC	PQ	Total
364	PG-1	CHANDRAPUR	1281	1281	0	1281	4113	25806	0	29919	1575	31494	136	1265	0	1401
365	PG-2	CHANDRAPUR	1281	1281	0	1281	1944	28114	0	30058	3340	33398	64	1152	0	1217
366	PR-5	CHANDRAPUR	0	1281	0	1281	0	3125	0	3125	11563	14688	0	224	0	224
367	PR-6	CHANDRAPUR	0	1281	0	1281	0	3718	0	3718	1811	5529	0	319	0	319
368	PRJ-0	CHANDRAPUR	0	1281	0	1281	0	12700	0	12700	4966	17666	0	937	0	937
369	WG-14	CHANDRAPUR	0	1407	0	1407	0	8585	0	8585	0	8585	0	1160	0	1160
370	WG-15	CHANDRAPUR	0	1407	0	1407	0	30370	0	30370	0	30370	0	2460	0	2460
371	WG-16	CHANDRAPUR	0	1407	0	1407	0	25560	0	25560	0	25560	0	2761	0	2761
372	WG-17	CHANDRAPUR	1232	1232	0	1232	20926	8092	0	29018	0	29018	1330	762	0	2092
373	WG-18	CHANDRAPUR	1232	1232	0	1232	4047	539	0	4586	0	4586	381	51	0	432
374	WG-20	CHANDRAPUR	0	1281	0	1281	0	8453	0	8453	0	8453	0	829	0	829
375	WGA-1	CHANDRAPUR	0	1281	0	1281	0	23607	0	23607	0	23607	0	2315	0	2315
376	WGA-2	CHANDRAPUR	0	1281	0	1281	0	33172	0	33172	335	33507	0	4879	0	4879
377	WGA-3	CHANDRAPUR	1281	1281	0	1281	1358	10089	0	11447	0	11447	103	989	0	1092
378	WGA-4	CHANDRAPUR	0	1273	0	1273	0	21340	0	21340	5614	26954	0	2081	0	2081
379	WGA-5	CHANDRAPUR	0	1192	0	1192	0	22696	0	22696	0	22696	0	1551	0	1551
380	WGA-6	CHANDRAPUR	0	1192	0	1192	0	15980	0	15980	0	15980	0	1092	0	1092
381	WGAM-1	CHANDRAPUR	1232	1232	0	1232	2431	2774	0	5205	0	5205	207	219	0	426
382	WGAM-2	CHANDRAPUR	0	1232	0	1232	0	6786	0	6786	357	7143	0	639	0	639
383	WGAM-3	CHANDRAPUR	0	1422	0	1422	0	12119	0	12119	4040	16159	0	1327	0	1327
384	WGAM-4	CHANDRAPUR	0	1422	0	1422	0	5254	0	5254	1943	7197	0	575	0	575
385	WGAM-5	CHANDRAPUR	1457	1457	0	1457	8427	12281	0	20708	0	20708	629	1146	0	1776
386	WGAM-6	CHANDRAPUR	1422	1422	0	1422	5535	15219	0	20754	1857	22611	519	1666	0	2185
387	WGAMA-0	CHANDRAPUR	0	1422	0	1422	0	8029	0	8029	0	8029	0	879	0	879
388	WGAMB-0	CHANDRAPUR	1457	1457	0	1457	8585	21285	0	29870	1497	31367	885	2384	0	3269
389	WGAMG'-0	CHANDRAPUR	0	1281	0	1281	0	10981	0	10981	0	10981	0	1600	0	1600

S.No	WATERSHED	District	Rainfall (mm)				Total Geographical Area (ha)						Ground Water Recharge (ham)			
							Recharge Worthy Area (ha)				Hilly Area	Total	Rainfall Recharge			
			C	NC	PQ	Total	C	NC	PQ	Total			C	NC	PQ	Total
390	WGAMG-0	CHANDRAPUR	0	1281	0	1281	0	28133	0	28133	4964	33097	0	2754	0	2754
391	WGAMH-1	CHANDRAPUR	0	1422	0	1422	0	4250	0	4250	11244	15494	0	465	0	465
392	WGAMH-2	CHANDRAPUR	1422	1422	0	1422	2232	6711	0	8943	471	9414	230	735	0	964
393	WGAMH-3	CHANDRAPUR	0	1281	0	1281	0	9984	0	9984	4279	14263	0	489	0	489
394	WGAMJ-0	CHANDRAPUR	0	1457	0	1457	0	22362	0	22362	1000	23362	0	2505	0	2505
395	WGAMK-0	CHANDRAPUR	0	1281	0	1281	0	11898	0	11898	4959	16857	0	582	0	582
396	WGAMN'-0	CHANDRAPUR	0	1281	0	1281	0	6907	0	6907	2960	9867	0	338	0	338
397	WGAMN-0	CHANDRAPUR	0	1281	0	1281	0	5166	0	5166	2214	7380	0	217	0	217
398	WGAMP-0	CHANDRAPUR	1232	1232	0	1232	2741	16643	0	19384	3420	22804	257	1568	0	1824
399	WGB-0	CHANDRAPUR	0	1457	0	1457	0	43517	0	43517	440	43957	0	4875	0	4875
400	WGL-0	CHANDRAPUR	1232	1232	0	1232	10321	2072	0	12393	0	12393	972	163	0	1136
401	WGM-2	CHANDRAPUR	0	1281	0	1281	0	7763	0	7763	3328	11091	0	760	0	760
402	WR-16	CHANDRAPUR	1281	1281	0	1281	2853	26953	0	29806	1569	31375	210	1982	0	2192
403	WR-17	CHANDRAPUR	1281	1281	0	1281	1320	23830	0	25150	0	25150	194	3505	0	3699
404	WR-18	CHANDRAPUR	0	1281	0	1281	0	34409	0	34409	6072	40481	0	2530	0	2530
405	WR-19	CHANDRAPUR	0	1281	0	1281	0	28396	0	28396	0	28396	0	2088	0	2088
406	WR-20	CHANDRAPUR	0	1281	0	1281	0	22027	0	22027	2448	24475	0	3240	0	3240
407	WR-21	CHANDRAPUR	0	1273	0	1273	0	23335	0	23335	0	23335	0	2855	0	2855
408	WR-22	CHANDRAPUR	0	1192	0	1192	0	21707	0	21707	1017	22724	0	2671	0	2671
409	WRD-0	CHANDRAPUR	0	1163	0	1163	0	28282	0	28282	0	28282	0	2513	0	2513
410	WRE-1	CHANDRAPUR	0	1273	0	1273	0	23758	0	23758	0	23758	0	2331	0	2331
411	WRE-2	CHANDRAPUR	0	1273	0	1273	0	16291	0	16291	0	16291	0	794	0	794
412	WRE-3	CHANDRAPUR	0	1273	0	1273	0	13692	0	13692	721	14413	0	2002	0	2002
413	WRE-4	CHANDRAPUR	0	1192	0	1192	0	6728	0	6728	0	6728	0	306	0	306
414	WREC-1	CHANDRAPUR	1163	1163	0	1163	3085	22849	0	25934	6484	32418	185	2030	0	2215
415	WREC-2	CHANDRAPUR	1163	1163	0	1163	2531	22423	0	24954	0	24954	175	1992	0	2168

S.No	WATERSHED	District	Rainfall (mm)				Total Geographical Area (ha)						Ground Water Recharge (ham)			
							Recharge Worthy Area (ha)				Hilly Area	Total	Rainfall Recharge			
			C	NC	PQ	Total	C	NC	PQ	Total			C	NC	PQ	Total
416	WREK-0	CHANDRAPUR	0	1192	0	1192	0	15369	0	15369	155	15524	0	700	0	700
417	WRH-0	CHANDRAPUR	0	1186	0	1186	0	34737	0	34737	0	34737	0	5070	0	5070
418	WRS-0	CHANDRAPUR	0	1163	0	1163	0	33983	0	33983	0	33983	0	4529	0	4529
419	WRW-1	CHANDRAPUR	0	1163	0	1163	0	6223	0	6223	0	6223	0	484	0	484
420	WRWP-2	CHANDRAPUR	1163	1163	0	1163	1700	7258	0	8958	0	8958	132	564	0	696
421	WRWPL-0	CHANDRAPUR	1163	1163	0	1163	830	8348	0	9178	0	9178	65	649	0	714
422	TE-100	DHULE	601	601	0	601	2687	3141	0	5828	10	5838	170	199	0	368
423	TE-101	DHULE	539	539	0	539	600	15780	0	16380	2890	19270	29	619	0	648
424	TE-102	DHULE	539	539	0	539	1340	28002	0	29342	5180	34522	75	1890	0	1965
425	TE-103	DHULE	539	539	0	539	2370	29880	0	32250	3610	35860	144	1452	0	1595
426	TE-104	DHULE	539	539	0	539	460	17250	0	17710	1970	19680	22	953	0	975
427	TE-105 A	DHULE	539	539	0	539	760	10280	0	11040	1230	12270	30	403	0	433
428	TE-112 A	DHULE	539	539	0	539	0	605	0	605	195	800	0	44	0	44
429	TE-113 A	DHULE	560	560	0	560	1014	25291	0	26305	2595	28900	77	1922	0	1999
430	TE-114	DHULE	601	601	0	601	264	8060	0	8324	1468	9792	22	357	0	378
431	TE-114 A	DHULE	539	539	0	539	0	19160	0	19160	3380	22540	0	1396	0	1396
432	TE-115	DHULE	539	539	0	539	8327	12491	0	20818	1310	22128	506	910	0	1416
433	TE-122 B	DHULE	601	601	0	601	0	6990	0	6990	1047	8037	0	575	0	575
434	TE-123 A	DHULE	570	570	0	570	0	6426	0	6426	2174	8600	0	332	0	332
435	TE-124	DHULE	539	539	0	539	3450	23620	0	27070	2010	29080	251	927	0	1178
436	TE-124 A	DHULE	539	539	0	539	0	1340	0	1340	3130	4470	0	98	0	98
437	TE-135 A	DHULE	539	539	0	539	0	3700	0	3700	0	3700	0	270	0	270
438	TE-137 A	DHULE	539	539	0	539	0	2300	0	2300	1700	4000	0	168	0	168
439	TE-139 A	DHULE	539	539	0	539	0	4175	0	4175	1000	5175	0	304	0	304
440	TE-44 B	DHULE	651	651	0	651	0	5506	0	5506	971	6477	0	321	0	321
441	TE-50 B	DHULE	651	651	0	651	330	4750	0	5080	1282	6362	29	416	0	445

S.No	WATERSHED	District	Rainfall (mm)				Total Geographical Area (ha)						Ground Water Recharge (ham)			
							Recharge Worthy Area (ha)				Hilly Area	Total	Rainfall Recharge			
			C	NC	PQ	Total	C	NC	PQ	Total			C	NC	PQ	Total
442	TE-53	DHULE	853	853	0	853	0	12828	0	12828	1605	14433	0	967	0	967
443	TE-54	DHULE	853	853	0	853	3260	4100	0	7360	10	7370	236	297	0	533
444	TE-56	DHULE	651	651	0	651	0	26591	0	26591	2954	29545	0	2327	0	2327
445	TE-58 A	DHULE	651	651	0	651	3183	6454	0	9637	1500	11137	206	437	0	643
446	TE-61	DHULE	853	853	0	853	0	17200	0	17200	4200	21400	0	1470	0	1470
447	TE-61 A	DHULE	853	853	0	853	0	13450	0	13450	6770	20220	0	1014	0	1014
448	TE-62	DHULE	853	853	0	853	830	14930	0	15760	3940	19700	86	1487	0	1574
449	TE-63	DHULE	853	853	0	853	1680	19560	0	21240	10	21250	146	1701	0	1847
450	TE-64	DHULE	601	601	0	601	380	8790	0	9170	10	9180	31	705	0	737
451	TE-65	DHULE	651	651	0	651	1365	30980	0	32345	1671	34016	119	2711	0	2830
452	TE-66	DHULE	651	651	0	651	0	23057	0	23057	1562	24619	0	1552	0	1552
453	TE-67	DHULE	651	651	0	651	4110	18950	0	23060	1590	24650	360	893	0	1252
454	TE-73 A	DHULE	853	853	0	853	168	3252	0	3420	1780	5200	13	276	0	289
455	TE-74	DHULE	853	853	0	853	1690	16840	0	18530	2430	20960	147	1464	0	1611
456	TE-75	DHULE	853	0	0	275	4220	8860	0	13080	480	13560	367	0	0	367
457	TE-76	DHULE	601	601	0	601	0	11350	0	11350	10	11360	0	829	0	829
458	TE-77	DHULE	651	651	0	651	0	14320	0	14320	1298	15618	0	1253	0	1253
459	TE-78 A	DHULE	651	651	0	651	1125	9090	0	10215	934	11149	82	795	0	877
460	TE-79 A	DHULE	651	651	0	651	0	2150	0	2150	857	3007	0	188	0	188
461	TE-86 B	DHULE	853	853	0	853	0	7911	0	7911	589	8500	0	757	0	757
462	TE-87	DHULE	601	601	0	601	0	12740	0	12740	10	12750	0	1047	0	1047
463	TE-88	DHULE	601	601	0	601	0	21044	0	21044	3713	24757	0	1153	0	1153
464	TE-89	DHULE	539	539	0	539	754	16788	0	17542	1710	19252	39	1042	0	1081
465	TE-90 A	DHULE	651	651	0	651	4491	6412	0	10903	573	11476	302	432	0	734
466	TE-99	DHULE	601	601	0	601	203	36677	0	36880	10	36890	14	3015	0	3029
467	GV-1	GADCHIROLI	0	1211	0	1211	0	19067	0	19067	50	19117	0	2102	0	2102

S.No	WATERSHED	District	Rainfall (mm)				Total Geographical Area (ha)						Ground Water Recharge (ham)			
							Recharge Worthy Area (ha)				Hilly Area	Total	Rainfall Recharge			
			C	NC	PQ	Total	C	NC	PQ	Total			C	NC	PQ	Total
468	GV-2	GADCHIROLI	0	1211	0	1211	0	14646	0	14646	0	14646	0	1652	0	1652
469	I-1	GADCHIROLI	0	1211	0	1211	0	7820	0	7820	15248	23068	0	483	0	483
470	I-2	GADCHIROLI	0	1211	0	1211	0	5860	0	5860	13673	19533	0	362	0	362
471	I-3	GADCHIROLI	0	1457	0	1457	0	265	0	265	9977	10242	0	26	0	26
472	I-4	GADCHIROLI	0	1365	0	1365	0	9547	0	9547	7047	16594	0	1070	0	1070
473	I-5	GADCHIROLI	0	1365	0	1365	0	1871	0	1871	2806	4677	0	210	0	210
474	I-6	GADCHIROLI	0	1365	0	1365	0	7780	0	7780	7780	15560	0	726	0	726
475	IB-1	GADCHIROLI	0	1365	0	1365	0	11378	0	11378	7585	18963	0	1062	0	1062
476	IB-2	GADCHIROLI	0	1365	0	1365	0	13018	0	13018	7010	20028	0	1459	0	1459
477	IB-3	GADCHIROLI	0	1365	0	1365	0	2798	0	2798	12857	15655	0	250	0	250
478	IB-4	GADCHIROLI	0	1365	0	1365	0	3414	0	3414	5120	8534	0	383	0	383
479	IB-5	GADCHIROLI	0	1365	0	1365	0	13153	0	13153	133	13286	0	1424	0	1424
480	IBA-0	GADCHIROLI	0	1365	0	1365	0	8768	0	8768	8768	17536	0	982	0	982
481	IBAD-0	GADCHIROLI	0	1365	0	1365	0	9824	0	9824	517	10341	0	1101	0	1101
482	IBJ'-0	GADCHIROLI	0	1365	0	1365	0	11652	0	11652	14477	26129	0	1069	0	1069
483	IBJ-1	GADCHIROLI	0	1365	0	1365	0	7147	0	7147	17637	24784	0	641	0	641
484	IBJ-2	GADCHIROLI	0	1365	0	1365	0	11681	0	11681	9681	21361	0	1278	0	1278
485	IBK-0	GADCHIROLI	0	1456	0	1456	0	5825	0	5825	17474	23299	0	697	0	697
486	IBP'-0	GADCHIROLI	0	1456	0	1456	0	7506	0	7506	17513	25019	0	717	0	717
487	IBP'O-0	GADCHIROLI	0	1456	0	1456	0	6688	0	6688	10033	16721	0	679	0	679
488	IBP-1	GADCHIROLI	0	1411	0	1411	0	8888	0	8888	5926	14814	0	966	0	966
489	IBP-2	GADCHIROLI	0	1365	0	1365	0	10701	0	10701	19873	30574	0	1199	0	1199
490	IP-1	GADCHIROLI	0	1365	0	1365	0	5540	0	5540	8311	13851	0	621	0	621
491	IP-2	GADCHIROLI	0	1365	0	1365	0	9195	0	9195	2299	11494	0	1030	0	1030
492	IP-3	GADCHIROLI	0	1365	0	1365	0	2442	0	2442	7327	9769	0	228	0	228
493	IP-4	GADCHIROLI	0	1365	0	1365	0	1399	0	1399	5594	6993	0	131	0	131

S.No	WATERSHED	District	Rainfall (mm)				Total Geographical Area (ha)						Ground Water Recharge (ham)			
							Recharge Worthy Area (ha)				Hilly Area	Total	Rainfall Recharge			
			C	NC	PQ	Total	C	NC	PQ	Total			C	NC	PQ	Total
494	IPN-0	GADCHIROLI	0	1365	0	1365	0	502	0	502	9031	9533	0	47	0	47
495	IPNL-0	GADCHIROLI	0	1365	0	1365	0	6501	0	6501	16502	23003	0	607	0	607
496	IPNR-0	GADCHIROLI	0	1365	0	1365	0	110	0	110	15852	15962	0	10	0	10
497	IV-1	GADCHIROLI	0	1457	0	1457	0	5287	0	5287	15860	21147	0	469	0	469
498	IV-2	GADCHIROLI	0	1457	0	1457	0	8779	0	8779	661	9440	0	876	0	876
499	IVP-0	GADCHIROLI	0	1457	0	1457	0	11447	0	11447	8447	19893	0	1142	0	1142
500	PR-1	GADCHIROLI	0	1211	0	1211	0	12995	0	12995	5570	18565	0	1925	0	1925
501	PR-2	GADCHIROLI	0	1211	0	1211	0	13119	0	13119	10732	23851	0	1635	0	1635
502	PR-3	GADCHIROLI	0	1457	0	1457	0	15231	0	15231	3808	19039	0	1519	0	1519
503	PR-4	GADCHIROLI	0	1457	0	1457	0	21930	0	21930	21931	43861	0	2169	0	2169
504	PRD'-0	GADCHIROLI	0	1457	0	1457	0	15958	0	15958	15958	31916	0	1456	0	1456
505	PRD-1	GADCHIROLI	1457	1457	0	1457	193	14224	0	14417	1602	16019	19	1542	0	1562
506	PRD-2	GADCHIROLI	0	1457	0	1457	0	7479	0	7479	0	7479	0	597	0	597
507	PRD-3	GADCHIROLI	0	1382	0	1382	0	21671	0	21671	7223	28894	0	2460	0	2460
508	PRDC-0	GADCHIROLI	0	1382	0	1382	0	11223	0	11223	1980	13203	0	1064	0	1064
509	PRDP-0	GADCHIROLI	0	1382	0	1382	0	10778	0	10778	4619	15397	0	1127	0	1127
510	PRDW-0	GADCHIROLI	0	1457	0	1457	0	15657	0	15657	8430	24087	0	1250	0	1250
511	PRM-0	GADCHIROLI	0	1382	0	1382	0	25806	0	25806	2867	28673	0	2498	0	2498
512	PRT-0	GADCHIROLI	0	1211	0	1211	0	19196	0	19196	6398	25594	0	1959	0	1959
513	SE-0	GADCHIROLI	0	1665	0	1665	0	9161	0	9161	245	9406	0	1031	0	1031
514	WG-13	GADCHIROLI	1295	0	0	1295	12426	0	0	12426	0	12426	989	0	0	989
515	WG-19	GADCHIROLI	1455	1455	0	1455	3004	22479	0	25483	0	25483	244	2023	0	2267
516	WG-21	GADCHIROLI	0	1455	0	1455	0	26200	0	26200	810	27010	0	3026	0	3026
517	WGG-10	GADCHIROLI	1295	1295	0	1295	2453	16845	0	19298	0	19298	217	1723	0	1940
518	WGG-3	GADCHIROLI	0	1665	0	1665	0	150	0	150	1854	2004	0	17	0	17
519	WGG-7	GADCHIROLI	0	1356	0	1356	0	5011	0	5011	0	5011	0	558	0	558

S.No	WATERSHED	District	Rainfall (mm)				Total Geographical Area (ha)						Ground Water Recharge (ham)			
							Recharge Worthy Area (ha)				Hilly Area	Total	Rainfall Recharge			
			C	NC	PQ	Total	C	NC	PQ	Total			C	NC	PQ	Total
520	WGG-8	GADCHIROLI	0	1356	0	1356	0	8487	0	8487	943	9430	0	783	0	783
521	WGG-9	GADCHIROLI	0	1356	0	1356	0	15065	0	15065	3766	18831	0	1679	0	1679
522	WGGC-0	GADCHIROLI	0	1665	0	1665	0	314	0	314	5902	6216	0	43	0	43
523	WGGD-0	GADCHIROLI	0	1665	0	1665	0	130	0	130	1554	1684	0	15	0	15
524	WGK'-1	GADCHIROLI	0	1535	0	1535	0	18368	0	18368	2041	20409	0	2330	0	2330
525	WGK'-2	GADCHIROLI	0	1535	0	1535	0	19256	0	19256	3398	22654	0	2443	0	2443
526	WGK'-3	GADCHIROLI	0	1456	0	1456	0	7772	0	7772	6359	14131	0	715	0	715
527	WGK'-4	GADCHIROLI	0	1456	0	1456	0	614	0	614	5524	6138	0	58	0	58
528	WGK'K-0	GADCHIROLI	0	1456	0	1456	0	2136	0	2136	8545	10681	0	171	0	171
529	WGK-1	GADCHIROLI	0	1535	0	1535	0	28728	0	28728	290	29018	0	3644	0	3644
530	WGK-2	GADCHIROLI	0	1295	0	1295	0	10080	0	10080	531	10611	0	1069	0	1069
531	WGK-3	GADCHIROLI	0	1665	0	1665	0	7894	0	7894	11841	19735	0	1043	0	1043
532	WGK-4	GADCHIROLI	0	1665	0	1665	0	20302	0	20302	1069	21370	0	2249	0	2249
533	WGKB-0	GADCHIROLI	0	1456	0	1456	0	3777	0	3777	8813	12590	0	369	0	369
534	WGKD'-0	GADCHIROLI	0	1454	0	1454	0	7484	0	7484	153	7637	0	779	0	779
535	WGKD-0	GADCHIROLI	0	1454	0	1454	0	11396	0	11396	1266	12662	0	1365	0	1365
536	WGKS-1	GADCHIROLI	0	1454	0	1454	0	17433	0	17433	176	17609	0	2087	0	2087
537	WGKS-2	GADCHIROLI	0	1454	0	1454	0	19025	0	19025	192	19217	0	2278	0	2278
538	WGKS-3	GADCHIROLI	0	1454	0	1454	0	6668	0	6668	10003	16671	0	798	0	798
539	WGKST-0	GADCHIROLI	0	1454	0	1454	0	7536	0	7536	76	7612	0	902	0	902
540	WGKT-0	GADCHIROLI	0	1456	0	1456	0	3725	0	3725	21107	24832	0	409	0	409
541	WGP'-1	GADCHIROLI	0	1535	0	1535	0	16361	0	16361	5454	21814	0	1749	0	1749
542	WGP'-2	GADCHIROLI	0	1535	0	1535	0	8532	0	8532	5688	14220	0	1082	0	1082
543	WGP'K-0	GADCHIROLI	0	1456	0	1456	0	3635	0	3635	12539	16174	0	435	0	435
544	WGP-0	GADCHIROLI	1455	1455	0	1455	3883	8295	0	12178	0	12178	330	828	0	1158
545	WGPA-0	GADCHIROLI	0	1535	0	1535	0	26552	0	26552	268	26820	0	3135	0	3135

S.No	WATERSHED	District	Rainfall (mm)				Total Geographical Area (ha)						Ground Water Recharge (ham)			
							Recharge Worthy Area (ha)				Hilly Area	Total	Rainfall Recharge			
			C	NC	PQ	Total	C	NC	PQ	Total			C	NC	PQ	Total
546	WGPM-1	GADCHIROLI	0	1455	0	1455	0	8500	0	8500	5667	14167	0	848	0	848
547	WGPM-2	GADCHIROLI	0	1456	0	1456	0	10677	0	10677	10677	21354	0	1278	0	1278
548	WGPM-3	GADCHIROLI	0	1535	0	1535	0	13021	0	13021	19532	32553	0	1376	0	1376
549	WGPS-0	GADCHIROLI	1455	1455	0	1455	721	16849	0	17570	5830	23400	58	1681	0	1739
550	WG-1	GONDIA	1407	1407	0	1407	8742	26171	0	34913	1352	36265	704	2356	0	3060
551	WG-2	GONDIA	1282	1282	0	1282	5632	11856	0	17488	0	17488	462	973	0	1435
552	WG-3	GONDIA	1282	1282	0	1282	6503	18875	0	25378	16500	41878	429	1549	0	1978
553	WG-4	GONDIA	1282	1282	0	1282	349	3532	0	3881	4050	7931	29	300	0	329
554	WG-7 A	GONDIA	1282	1282	0	1282	5359	753	0	6111	1500	7611	353	62	0	415
555	WGC-2 A	GONDIA	1561	1561	0	1561	5219	5766	0	10985	1815	12800	503	576	0	1079
556	WGC-3 A	GONDIA	1537	1537	0	1537	8456	8232	0	16688	0	16688	689	839	0	1528
557	WGC-8	GONDIA	1561	1561	0	1561	2682	16499	0	19181	1440	20621	252	1320	0	1572
558	WGCB-0	GONDIA	1608	1608	0	1608	1018	12672	0	13690	200	13890	105	1104	0	1209
559	WGCK-A	GONDIA	1561	1561	0	1561	792	5168	0	5960	0	5960	95	516	0	611
560	WGCS-0	GONDIA	0	1561	0	1561	0	14820	0	14820	5729	20549	0	1570	0	1570
561	WGCU-0	GONDIA	1561	1561	0	1561	456	10567	0	11023	373	11396	46	1056	0	1101
562	WGG-1	GONDIA	0	1537	0	1537	0	7335	0	7335	3250	10585	0	745	0	745
563	WGG-2	GONDIA	0	1498	0	1498	0	5172	0	5172	6433	11605	0	420	0	420
564	WGG-3	GONDIA	1537	1537	0	1537	270	6547	0	6817	2167	8984	28	782	0	810
565	WGG-4	GONDIA	0	1537	0	1537	0	18073	0	18073	487	18560	0	2041	0	2041
566	WGG-5	GONDIA	1537	1537	0	1537	1812	10513	0	12325	750	13075	185	1285	0	1470
567	WGG-6	GONDIA	1537	1537	0	1537	7317	12189	0	19506	675	20181	746	1242	0	1988
568	WGGD-0	GONDIA	0	1498	0	1498	0	12880	0	12880	1500	14380	0	1494	0	1494
569	WGGS-0	GONDIA	0	1498	0	1498	0	3594	0	3594	2000	5594	0	279	0	279
570	WGW-1	GONDIA	1407	1407	0	1407	3406	6995	0	10401	0	10401	248	630	0	878
571	WGW-2	GONDIA	1608	1608	0	1608	3526	14723	0	18249	300	18549	292	1393	0	1685

S.No	WATERSHED	District	Rainfall (mm)				Total Geographical Area (ha)						Ground Water Recharge (ham)			
							Recharge Worthy Area (ha)				Hilly Area	Total	Rainfall Recharge			
			C	NC	PQ	Total	C	NC	PQ	Total			C	NC	PQ	Total
572	WGW-3	GONDIA	1608	1608	0	1608	2492	10501	0	12993	630	13623	206	1134	0	1340
573	WGW-3'	GONDIA	1608	1608	0	1608	2321	13397	0	15718	1525	17243	239	1379	0	1618
574	WGW-4	GONDIA	1608	1608	0	1608	2090	9173	0	11263	1625	12888	173	1129	0	1302
575	WGW-5	GONDIA	1498	1498	0	1498	320	16973	0	17293	70	17363	28	1460	0	1488
576	WGW-6	GONDIA	1498	1498	0	1498	678	16685	0	17363	0	17363	52	1935	0	1987
577	WGW-7	GONDIA	1498	1498	0	1498	1109	8461	0	9570	1950	11520	107	981	0	1088
578	WGWK-0	GONDIA	1608	1608	0	1608	2650	7556	0	10206	5925	16131	248	778	0	1025
579	WGWP-1	GONDIA	1407	1407	0	1407	6736	14274	0	21010	1250	22260	649	1039	0	1688
580	WGWP-2	GONDIA	1407	1407	0	1407	1010	17969	0	18979	0	18979	74	1308	0	1381
581	WGWP-3	GONDIA	0	1608	0	1608	0	16099	0	16099	0	16099	0	1751	0	1751
582	WGWS-0	GONDIA	1498	1498	0	1498	301	14440	0	14741	200	14941	29	1395	0	1425
583	GP-40	HINGOLI	0	900	0	900	0	667	0	667	0	667	0	79	0	79
584	GP-44	HINGOLI	900	900	0	900	4168	9170	0	13338	4000	17338	549	999	0	1548
585	GP-47	HINGOLI	0	900	0	900	0	31080	0	31080	0	31080	0	3612	0	3612
586	GP-52	HINGOLI	943	943	0	943	5787	12472	0	18259	0	18259	611	1620	0	2230
587	GP-53 B	HINGOLI	0	947	0	947	0	7939	0	7939	6000	13939	0	921	0	921
588	GP-55 B	HINGOLI	900	900	0	900	4581	2480	0	7061	4459	11520	441	290	0	732
589	GP-60 A	HINGOLI	1041	1041	0	1041	21155	0	0	21155	0	21155	3063	0	0	3063
590	GP-63 A	HINGOLI	1041	1041	0	1041	20521	2371	0	22892	0	22892	3267	313	0	3580
591	GV-100 A	HINGOLI	1041	0	0	990	22884	1172	0	24056	0	24056	3336	0	0	3336
592	GV-92	HINGOLI	1041	1041	0	1041	17461	11257	0	28718	0	28718	2780	1620	0	4400
593	GV-93 A	HINGOLI	1041	0	0	1041	12950	0	0	12950	0	12950	1931	0	0	1931
594	GV-94 A	HINGOLI	1041	0	0	1041	2515	0	0	2515	0	2515	340	0	0	340
595	PPG-1	HINGOLI	0	943	0	943	0	42984	0	42984	0	42984	0	4346	0	4346
596	PPG-10	HINGOLI	984	984	0	984	3069	847	0	3916	0	3916	421	89	0	511
597	PPG-11	HINGOLI	984	984	0	984	14767	11185	0	25952	0	25952	1635	1297	0	2932

S.No	WATERSHED	District	Rainfall (mm)				Total Geographical Area (ha)						Ground Water Recharge (ham)			
							Recharge Worthy Area (ha)				Hilly Area	Total	Rainfall Recharge			
			C	NC	PQ	Total	C	NC	PQ	Total			C	NC	PQ	Total
598	PPG-2	HINGOLI	0	943	0	943	0	2642	0	2642	2000	4642	0	381	0	381
599	PPG-3	HINGOLI	943	943	0	943	3990	24427	0	28417	0	28417	428	2783	0	3210
600	PPG-4	HINGOLI	943	943	0	943	8193	13200	0	21393	0	21393	1093	1425	0	2517
601	PPG-5	HINGOLI	943	943	0	943	8307	11429	0	19736	0	19736	840	1369	0	2209
602	PPG-6	HINGOLI	943	943	0	943	3959	36077	0	40036	0	40036	492	5067	0	5559
603	PPG-7	HINGOLI	943	943	0	943	5714	31965	0	37679	0	37679	578	4605	0	5183
604	PPG-8	HINGOLI	984	984	0	984	2553	21772	0	24325	0	24325	270	3057	0	3327
605	PPG-9	HINGOLI	984	984	0	984	6617	21914	0	28531	0	28531	762	3291	0	4053
606	PT'--	JALGAON	0	596	0	596	0	7433	0	7433	0	7433	0	569	0	569
607	PT--	JALGAON	596	596	0	596	253	24481	0	24734	0	24734	16	1456	0	1472
608	PT-13	JALGAON	0	596	0	596	0	18234	0	18234	0	18234	0	1215	0	1215
609	PTW-1	JALGAON	0	626	0	626	0	17974	0	17974	0	17974	0	1437	0	1437
610	TE-07	JALGAON	706	706	0	706	2660	39071	0	41731	424	42155	216	3167	0	3382
611	TE-1	JALGAON	0	596	0	596	0	10205	0	10205	0	10205	0	737	0	737
612	TE-10A	JALGAON	823	823	0	823	1060	16547	0	17607	523	18130	74	1723	0	1797
613	TE-11	JALGAON	717	717	0	717	2420	34690	0	37110	343	37453	168	2889	0	3057
614	TE-12	JALGAON	0	693	0	693	0	17923	0	17923	0	17923	0	1595	0	1595
615	TE-13	JALGAON	771	771	0	771	1516	27751	0	29267	0	29267	98	2283	0	2381
616	TE-13'	JALGAON	771	771	0	771	205	8187	0	8392	0	8392	20	612	0	631
617	TE-14	JALGAON	823	823	0	823	1766	14842	0	16608	874	17482	135	1064	0	1199
618	TE-15 A	JALGAON	823	823	0	823	156	8731	0	8887	618	9505	14	909	0	923
619	TE-16	JALGAON	0	622	0	622	0	3908	0	3908	5203	9111	0	261	0	261
620	TE-17	JALGAON	717	717	0	717	3776	19538	0	23314	229	23543	314	1627	0	1941
621	TE-18	JALGAON	0	693	0	693	0	10101	0	10101	0	10101	0	845	0	845
622	TE-19	JALGAON	693	693	0	693	367	25378	0	25745	0	25745	31	2122	0	2153
623	TE-19'	JALGAON	693	693	0	693	509	11955	0	12464	0	12464	43	1000	0	1042

S.No	WATERSHED	District	Rainfall (mm)				Total Geographical Area (ha)						Ground Water Recharge (ham)			
							Recharge Worthy Area (ha)				Hilly Area	Total	Rainfall Recharge			
			C	NC	PQ	Total	C	NC	PQ	Total			C	NC	PQ	Total
624	TE-2	JALGAON	694	694	0	694	2560	20769	0	23329	0	23329	203	1649	0	1852
625	TE-2'	JALGAON	0	694	0	694	0	16740	0	16740	189	16929	0	1329	0	1329
626	TE-20	JALGAON	693	693	0	693	665	27835	0	28500	0	28500	40	2457	0	2498
627	TE-21	JALGAON	718	718	0	718	380	10916	0	11296	722	12018	29	979	0	1007
628	TE-22	JALGAON	718	718	0	718	2439	17860	0	20299	1068	21367	177	1611	0	1788
629	TE-23	JALGAON	0	622	0	622	0	2230	0	2230	3908	6138	0	178	0	178
630	TE-24	JALGAON	622	622	0	622	8752	26079	0	34831	600	35431	539	1926	0	2465
631	TE-25	JALGAON	669	669	0	669	5186	12840	0	18026	0	18026	340	1009	0	1348
632	TE-26	JALGAON	708	708	0	708	5186	18927	0	24113	0	24113	419	1710	0	2129
633	TE-27	JALGAON	709	0	0	709	22378	0	0	22378	0	22378	1591	0	0	1591
634	TE-28 A	JALGAON	718	718	0	718	2230	4970	0	7200	0	7200	144	448	0	592
635	TE-29	JALGAON	622	622	0	622	2770	10206	0	12976	906	13882	205	754	0	958
636	TE-3	JALGAON	694	694	0	694	2099	27012	0	29111	3746	32857	167	2144	0	2311
637	TE-30	JALGAON	622	622	0	622	13370	17790	0	31160	308	31468	987	1314	0	2301
638	TE-31	JALGAON	708	708	0	708	1754	18293	0	20047	0	20047	115	1653	0	1768
639	TE-32	JALGAON	653	653	0	653	5620	19151	0	24771	2009	26780	460	1568	0	2028
640	TE-33	JALGAON	711	711	0	711	9000	7136	0	16136	0	16136	665	600	0	1266
641	TE-34	JALGAON	711	711	0	711	7019	0	0	7019	440	7459	419	0	0	419
642	TE-35	JALGAON	670	670	0	670	1474	9524	0	10998	579	11577	97	792	0	888
643	TE-36	JALGAON	718	718	0	718	2885	10687	0	13572	0	13572	209	846	0	1054
644	TE-37 A	JALGAON	673	673	0	673	1576	11984	0	13560	1850	15410	122	1005	0	1127
645	TE-38	JALGAON	622	622	0	622	10370	3020	0	13390	0	13390	766	223	0	989
646	TE-39	JALGAON	0	805	0	805	0	9091	0	9091	0	9091	0	928	0	928
647	TE-4	JALGAON	656	656	0	656	364	10566	0	10930	0	10930	25	881	0	906
648	TE-4'	JALGAON	656	656	0	656	580	27043	0	27623	32	27655	36	2255	0	2291
649	TE-40	JALGAON	684	684	0	684	11937	12772	0	24709	0	24709	1043	1116	0	2158

S.No	WATERSHED	District	Rainfall (mm)				Total Geographical Area (ha)						Ground Water Recharge (ham)			
							Recharge Worthy Area (ha)				Hilly Area	Total	Rainfall Recharge			
			C	NC	PQ	Total	C	NC	PQ	Total			C	NC	PQ	Total
650	TE-41	JALGAON	665	665	0	665	1398	23984	0	25382	0	25382	104	2133	0	2236
651	TE-42	JALGAON	672	672	0	672	1294	19202	0	20496	1079	21575	111	1099	0	1210
652	TE-43	JALGAON	672	672	0	672	3007	14522	0	17529	1119	18648	258	946	0	1204
653	TE-44	JALGAON	540	540	0	540	5901	11849	0	17750	1649	19399	366	550	0	916
654	TE-45	JALGAON	670	670	0	670	9428	18378	0	27806	3019	30825	530	1417	0	1947
655	TE-46	JALGAON	0	628	0	628	0	10879	0	10879	0	10879	0	573	0	573
656	TE-47	JALGAON	0	628	0	628	0	15953	0	15953	1177	17130	0	1231	0	1231
657	TE-48	JALGAON	0	805	0	805	0	23484	0	23484	1768	25252	0	1876	0	1876
658	TE-49	JALGAON	540	540	0	540	1836	13767	0	15603	620	16223	128	870	0	998
659	TE-5 A	JALGAON	746	746	0	746	138	22602	0	22740	0	22740	9	1673	0	1682
660	TE-50	JALGAON	540	540	0	540	985	4078	0	5063	324	5387	69	284	0	352
661	TE-51	JALGAON	628	628	0	628	3847	12932	0	16779	0	16779	300	1009	0	1309
662	TE-52	JALGAON	0	628	0	628	0	20340	0	20340	1063	21403	0	1585	0	1585
663	TE-55	JALGAON	0	805	0	805	0	16602	0	16602	0	16602	0	1585	0	1585
664	TE-56	JALGAON	0	805	0	805	0	1467	0	1467	165	1632	0	150	0	150
665	TE-59	JALGAON	0	628	0	628	0	2213	0	2213	0	2213	0	173	0	173
666	TE-6 A	JALGAON	823	823	0	823	1095	18986	0	20081	1364	21445	76	1322	0	1398
667	TE-60	JALGAON	628	628	0	628	1755	5018	0	6773	593	7366	137	392	0	528
668	TE-8	JALGAON	656	656	0	656	496	18204	0	18700	0	18700	41	1518	0	1559
669	TE-8'	JALGAON	0	656	0	656	0	10127	0	10127	0	10127	0	844	0	844
670	TE-9	JALGAON	823	823	0	823	383	7568	0	7951	0	7951	27	788	0	815
671	TE-9'	JALGAON	823	823	0	823	245	8248	0	8493	106	8599	17	653	0	670
672	GP-11	JALNA	664	664	0	664	2163	17459	0	19622	0	19622	165	1387	0	1551
673	GP-12 B	JALNA	0	664	0	664	0	7199	0	7199	0	7199	0	602	0	602
674	GP-13	JALNA	664	664	0	664	1054	7068	0	8122	0	8122	88	591	0	679
675	GP-14 B	JALNA	0	664	0	664	0	5244	0	5244	0	5244	0	438	0	438

S.No	WATERSHED	District	Rainfall (mm)				Total Geographical Area (ha)						Ground Water Recharge (ham)			
							Recharge Worthy Area (ha)				Hilly Area	Total	Rainfall Recharge			
			C	NC	PQ	Total	C	NC	PQ	Total			C	NC	PQ	Total
676	GP-15	JALNA	0	664	0	664	0	3372	0	3372	0	3372	0	236	0	236
677	GP-16	JALNA	0	642	0	642	0	6368	0	6368	0	6368	0	532	0	532
678	GP-17	JALNA	0	642	0	642	0	4521	0	4521	0	4521	0	378	0	378
679	GP-17 B	JALNA	0	689	0	689	0	8999	0	8999	0	8999	0	435	0	435
680	GP-18 A	JALNA	664	664	0	664	1380	22670	0	24050	0	24050	115	1894	0	2009
681	GP-19	JALNA	0	664	0	664	0	9786	0	9786	0	9786	0	818	0	818
682	GP-20	JALNA	0	642	0	642	0	23390	0	23390	0	23390	0	1955	0	1955
683	GP-21	JALNA	642	642	0	642	534	28952	0	29486	0	29486	37	2420	0	2457
684	GP-22	JALNA	664	664	0	664	631	7844	0	8475	0	8475	53	655	0	708
685	GP-23	JALNA	0	664	0	664	0	18648	0	18648	0	18648	0	1558	0	1558
686	GP-24	JALNA	642	642	0	642	3167	2985	0	6152	0	6152	265	250	0	514
687	GP-25	JALNA	0	642	0	642	0	7656	0	7656	0	7656	0	640	0	640
688	GP-26	JALNA	689	689	0	689	413	24497	0	24910	0	24910	20	1185	0	1205
689	GP-27	JALNA	0	750	0	750	0	13468	0	13468	0	13468	0	1255	0	1255
690	GP-28	JALNA	750	750	0	750	1062	16598	0	17660	0	17660	67	1547	0	1614
691	GP-29	JALNA	642	642	0	642	1317	54943	0	56260	0	56260	73	3075	0	3149
692	GP-30	JALNA	0	642	0	642	0	14677	0	14677	0	14677	0	1227	0	1227
693	GP-31	JALNA	689	689	0	689	384	25693	0	26077	0	26077	33	2309	0	2342
694	GP-32 A	JALNA	750	750	0	750	916	15970	0	16886	0	16886	85	1489	0	1574
695	GP-32 A'	JALNA	0	750	0	750	0	11194	0	11194	0	11194	0	1043	0	1043
696	GP-33	JALNA	0	642	0	642	0	9238	0	9238	0	9238	0	772	0	772
697	GP-34	JALNA	0	642	0	642	0	6620	0	6620	0	6620	0	369	0	369
698	GP-35 A	JALNA	0	689	0	689	0	11499	0	11499	0	11499	0	556	0	556
699	GP-35 B	JALNA	0	720	0	720	0	10644	0	10644	0	10644	0	551	0	551
700	GP-36 A	JALNA	0	689	0	689	0	2413	0	2413	0	2413	0	217	0	217
701	GP-36 B	JALNA	0	720	0	720	0	26418	0	26418	0	26418	0	2539	0	2539

S.No	WATERSHED	District	Rainfall (mm)				Total Geographical Area (ha)						Ground Water Recharge (ham)			
							Recharge Worthy Area (ha)				Hilly Area	Total	Rainfall Recharge			
			C	NC	PQ	Total	C	NC	PQ	Total			C	NC	PQ	Total
702	GP-37 A	JALNA	0	689	0	689	0	4014	0	4014	0	4014	0	194	0	194
703	GP-37 B	JALNA	0	720	0	720	0	29528	0	29528	0	29528	0	2614	0	2614
704	GP-38	JALNA	642	642	0	642	1472	16288	0	17760	0	17760	115	1361	0	1477
705	GP-39 A	JALNA	0	642	0	642	0	6100	0	6100	0	6100	0	483	0	483
706	GP-39 B	JALNA	720	720	0	720	255	13140	0	13395	0	13395	17	1263	0	1280
707	GP-40	JALNA	0	720	0	720	0	8391	0	8391	0	8391	0	806	0	806
708	GP-41	JALNA	0	720	0	710	396	27994	0	28390	0	28390	0	1793	0	1793
709	GP-42	JALNA	720	720	0	720	1228	24542	0	25770	0	25770	99	2358	0	2457
710	GP-43	JALNA	0	720	0	720	0	936	0	936	0	936	0	79	0	79
711	GP-46 A	JALNA	0	720	0	720	0	12038	0	12038	0	12038	0	1157	0	1157
712	GP-49 A	JALNA	0	720	0	720	0	1806	0	1806	0	1806	0	174	0	174
713	GP-5	JALNA	0	664	0	664	0	7432	0	7432	0	7432	0	564	0	564
714	GP-6 B	JALNA	0	664	0	664	0	5572	0	5572	0	5572	0	466	0	466
715	GV-54	JALNA	689	689	0	689	4757	27163	0	31920	0	31920	225	1314	0	1539
716	GV-55	JALNA	689	689	0	689	8960	15215	0	24175	0	24175	434	736	0	1170
717	GV-60	JALNA	689	689	0	689	3490	24481	0	27971	0	27971	169	1185	0	1354
718	GV-63	JALNA	689	689	0	689	11760	31580	0	43340	0	43340	890	2838	0	3728
719	GV-66 A	JALNA	689	689	0	689	4370	10164	0	14534	0	14534	211	492	0	703
720	GV-66 B	JALNA	720	720	0	720	3300	9599	0	12899	0	12899	231	922	0	1153
721	GV-71 A	JALNA	720	720	0	720	1290	8527	0	9817	0	9817	104	692	0	796
722	PA-1	JALNA	0	642	0	642	0	6089	0	6089	0	6089	0	463	0	463
723	TE-6 B	JALNA	0	664	0	664	0	870	0	870	0	870	0	39	0	39
724	KR-29	KOLHAPUR	0	1824	0	1824	0	4574	0	4574	8500	13074	0	449	0	449
725	KR-45	KOLHAPUR	1824	1824	0	1824	2758	2102	0	4860	13000	17860	235	179	0	414
726	KR-46	KOLHAPUR	0	1824	0	1824	0	16216	0	16216	24412	40628	0	1382	0	1382
727	KR-47	KOLHAPUR	0	1675	0	1675	0	25029	0	25029	0	25029	0	2538	0	2538

S.No	WATERSHED	District	Rainfall (mm)				Total Geographical Area (ha)						Ground Water Recharge (ham)			
							Recharge Worthy Area (ha)				Hilly Area	Total	Rainfall Recharge			
			C	NC	PQ	Total	C	NC	PQ	Total			C	NC	PQ	Total
728	KR-49	KOLHAPUR	0	579	0	579	0	19311	0	19311	0	19311	0	1802	0	1802
729	KR-54	KOLHAPUR	0	380	0	380	0	13716	0	13716	0	13716	0	595	0	595
730	KR-55	KOLHAPUR	0	380	0	380	0	23869	0	23869	0	23869	0	1097	0	1097
731	KR-56	KOLHAPUR	0	579	0	579	0	16576	0	16576	0	16576	0	1183	0	1183
732	KR-57	KOLHAPUR	0	1675	0	1675	0	16907	0	16907	0	16907	0	1318	0	1318
733	KR-58	KOLHAPUR	0	1675	0	1675	0	9407	0	9407	0	9407	0	917	0	917
734	KR-59	KOLHAPUR	0	1824	0	1824	0	13778	0	13778	30745	44523	0	1468	0	1468
735	KR-60	KOLHAPUR	0	5775	0	5775	0	12000	0	12000	17432	29432	0	1814	0	1814
736	KR-61	KOLHAPUR	0	2654	0	2654	0	7998	0	7998	16700	24698	0	1015	0	1015
737	KR-62	KOLHAPUR	0	905	0	905	0	27143	0	27143	0	27143	0	1644	0	1644
738	KR-63	KOLHAPUR	0	380	0	380	0	5682	0	5682	0	5682	0	225	0	225
739	KR-64 A	KOLHAPUR	0	380	0	380	0	5145	0	5145	0	5145	0	170	0	170
740	KR-64 B	KOLHAPUR	0	380	0	380	0	5387	0	5387	0	5387	0	248	0	248
741	KR-64 C	KOLHAPUR	0	380	0	380	0	4045	0	4045	0	4045	0	186	0	186
742	KR-65	KOLHAPUR	1771	1771	0	1771	4335	39654	0	43989	0	43989	448	3277	0	3725
743	KR-66	KOLHAPUR	2204	2204	0	2204	4567	19833	0	24400	4608	29008	1105	3837	0	4942
744	KR-67	KOLHAPUR	0	3633	0	3633	0	7704	0	7704	10400	18104	0	1456	0	1456
745	KR-68	KOLHAPUR	0	3633	0	3633	0	11550	0	11550	24343	35893	0	2183	0	2183
746	KR-69	KOLHAPUR	1119	1119	0	1119	6870	5680	0	12550	7424	19974	431	285	0	716
747	KR-70	KOLHAPUR	0	1119	0	1119	0	12453	0	12453	0	12453	0	625	0	625
748	KR-71	KOLHAPUR	0	1464	0	1464	0	21756	0	21756	0	21756	0	1459	0	1459
749	KR-72	KOLHAPUR	0	1464	0	1464	0	6225	0	6225	6000	12225	0	417	0	417
750	KR-73	KOLHAPUR	0	2034	0	2034	0	20050	0	20050	17967	38017	0	1921	0	1921
751	KR-74	KOLHAPUR	0	1119	0	1119	0	30458	0	30458	0	30458	0	1737	0	1737
752	KR-75	KOLHAPUR	0	1461	0	1461	0	21424	0	21424	0	21424	0	2657	0	2657
753	KR-76	KOLHAPUR	0	888	0	888	0	11520	0	11520	0	11520	0	861	0	861

S.No	WATERSHED	District	Rainfall (mm)				Total Geographical Area (ha)						Ground Water Recharge (ham)			
							Recharge Worthy Area (ha)				Hilly Area	Total	Rainfall Recharge			
			C	NC	PQ	Total	C	NC	PQ	Total			C	NC	PQ	Total
754	KR-77	KOLHAPUR	0	888	0	888	0	8288	0	8288	0	8288	0	620	0	620
755	KR-78	KOLHAPUR	0	1461	0	1461	0	20513	0	20513	0	20513	0	2544	0	2544
756	KR-79	KOLHAPUR	0	2655	0	2655	0	7666	0	7666	10200	17866	0	969	0	969
757	KR-80	KOLHAPUR	0	2655	0	2655	0	6713	0	6713	0	6713	0	848	0	848
758	KR-81	KOLHAPUR	0	2655	0	2655	0	6796	0	6796	0	6796	0	859	0	859
759	KR-82	KOLHAPUR	0	2655	0	2655	0	19014	0	19014	7093	26107	0	2403	0	2403
760	KR-83	KOLHAPUR	0	2655	0	2655	0	17404	0	17404	0	17404	0	2199	0	2199
761	KR-84	KOLHAPUR	0	2655	0	2655	0	3522	0	3522	0	3522	0	713	0	713
762	KR-85	KOLHAPUR	0	888	0	888	0	2886	0	2886	0	2886	0	317	0	317
763	WF-80	KOLHAPUR	0	2655	0	2655	0	13652	0	13652	7500	21152	0	1725	0	1725
764	GV-96 B	LATUR	785	785	0	785	165	3206	0	3371	1054	4425	10	159	0	168
765	GV-97 C	LATUR	0	785	0	785	0	1693	0	1693	482	2175	0	100	0	100
766	MR-14	LATUR	0	635	0	635	0	3212	0	3212	0	3212	0	249	0	249
767	MR-15	LATUR	635	635	0	635	6695	10584	0	17279	1928	19207	321	744	0	1065
768	MR-16 B	LATUR	635	635	0	635	1616	12911	0	14527	1443	15970	78	1151	0	1228
769	MR-19	LATUR	635	635	0	635	3048	13610	0	16658	581	17239	272	1055	0	1327
770	MR-20	LATUR	728	635	0	642	1908	21472	0	23380	809	24189	105	1914	0	2019
771	MR-21 B	LATUR	728	728	0	728	584	25108	0	25692	3032	28724	32	2566	0	2598
772	MR-24	LATUR	635	635	0	635	1829	10990	0	12819	398	13217	88	980	0	1067
773	MR-25	LATUR	635	635	0	635	499	7322	0	7821	0	7821	24	351	0	375
774	MR-26	LATUR	635	635	0	635	1168	14775	0	15943	819	16762	104	1317	0	1421
775	MR-27	LATUR	635	635	0	635	2088	10163	0	12251	844	13095	100	906	0	1006
776	MR-28	LATUR	728	728	0	728	2111	15387	0	17498	2963	20461	116	847	0	963
777	MR-29	LATUR	728	728	0	728	1504	29896	0	31400	1022	32422	149	2593	0	2742
778	MR-31 A	LATUR	785	785	0	785	2665	28896	0	31561	2207	33768	158	1714	0	1873
779	MR-32 A	LATUR	635	635	0	635	643	13336	0	13979	1706	15685	31	958	0	989

S.No	WATERSHED	District	Rainfall (mm)				Total Geographical Area (ha)						Ground Water Recharge (ham)			
							Recharge Worthy Area (ha)				Hilly Area	Total	Rainfall Recharge			
			C	NC	PQ	Total	C	NC	PQ	Total			C	NC	PQ	Total
780	MR-32 B	LATUR	0	635	0	635	0	9049	0	9049	1000	10049	0	744	0	744
781	MR-33	LATUR	635	635	0	635	582	12965	0	13547	698	14245	28	622	0	650
782	MR-34	LATUR	728	655	0	661	1949	24062	0	26011	2272	28283	107	2213	0	2321
783	MR-35	LATUR	728	728	0	728	1449	16515	0	17964	0	17964	80	1688	0	1768
784	MR-36 B	LATUR	0	655	0	655	0	12641	0	12641	0	12641	0	626	0	626
785	MR-37	LATUR	0	785	0	785	0	13665	0	13665	1108	14773	0	811	0	811
786	MR-38	LATUR	785	785	0	785	1070	29046	0	30116	0	30116	63	1723	0	1787
787	MR-39	LATUR	0	635	0	635	0	13036	0	13036	1893	14929	0	626	0	626
788	MR-40	LATUR	655	635	0	636	449	11055	0	11504	886	12390	22	985	0	1008
789	MR-41	LATUR	655	625	0	628	1417	15609	0	17026	0	17026	70	1264	0	1334
790	MR-42	LATUR	655	655	0	655	1216	11471	0	12687	1216	13903	112	1055	0	1167
791	MR-43	LATUR	0	655	0	655	0	15037	0	15037	2360	17397	0	745	0	745
792	MR-44	LATUR	655	655	0	655	815	17418	0	18233	2360	20593	40	863	0	903
793	MR-45	LATUR	655	655	0	655	815	33760	0	34575	2358	36933	75	1672	0	1747
794	MR-46 B	LATUR	785	785	0	785	177	14869	0	15046	1955	17001	20	1092	0	1112
795	MR-47	LATUR	761	761	0	761	3696	31267	0	34963	5513	40476	213	1799	0	2012
796	MR-48	LATUR	761	761	0	761	489	21372	0	21861	1532	23393	28	1523	0	1551
797	MR-51 A	LATUR	761	761	0	761	2495	20300	0	22795	1458	24253	144	1168	0	1312
798	MR-52 B	LATUR	761	761	0	761	69	5847	0	5916	600	6516	4	336	0	340
799	MR-53 B	LATUR	761	761	0	761	1250	22081	0	23331	2258	25589	72	1271	0	1343
800	MR-54	LATUR	0	761	0	761	0	14573	0	14573	1454	16027	0	839	0	839
801	MR-55	LATUR	761	761	0	761	463	22516	0	22979	735	23714	27	1296	0	1322
802	MR-56 B	LATUR	0	761	0	761	0	7909	0	7909	1208	9117	0	455	0	455
803	WG-0	NAGPUR	0	1274	0	1274	0	9901	0	9901	521	10422	0	966	0	966
804	WG-9	NAGPUR	1223	0	0	1223	14597	0	0	14597	769	15366	922	0	0	922
805	WGA-1	NAGPUR	1274	1274	0	1274	3375	40814	0	44189	4909	49098	329	3337	0	3667

S.No	WATERSHED	District	Rainfall (mm)				Total Geographical Area (ha)						Ground Water Recharge (ham)			
							Recharge Worthy Area (ha)				Hilly Area	Total	Rainfall Recharge			
			C	NC	PQ	Total	C	NC	PQ	Total			C	NC	PQ	Total
806	WGA-2	NAGPUR	1274	1274	0	1274	3079	7124	0	10203	2550	12753	177	608	0	785
807	WGA-3	NAGPUR	1274	1274	0	1274	138	3769	0	3907	1674	5581	10	216	0	226
808	WGA-4	NAGPUR	1274	1274	0	1274	1303	8114	0	9417	4035	13452	106	792	0	898
809	WGB-1	NAGPUR	1223	1223	0	1223	220	8292	0	8512	8512	17024	14	625	0	639
810	WGB-2	NAGPUR	1223	1223	0	1223	1261	11169	0	12430	11430	23860	80	1017	0	1096
811	WGB-3	NAGPUR	0	1223	0	1223	0	7973	0	7973	3339	11312	0	736	0	736
812	WGK-1	NAGPUR	1067	1067	0	1067	2544	15617	0	18161	8783	26944	140	862	0	1002
813	WGK-2	NAGPUR	1067	1067	0	1067	7780	8337	0	16117	1790	17907	429	679	0	1108
814	WGK-3	NAGPUR	1210	0	0	1210	11574	0	0	11574	0	11574	720	0	0	720
815	WGK-4	NAGPUR	1223	0	0	1223	46643	0	0	46643	2455	49098	2945	0	0	2945
816	WGK-5	NAGPUR	1055	1055	0	1055	10341	6641	0	16982	1333	18315	832	448	0	1280
817	WGK-6	NAGPUR	1223	0	0	1223	10859	0	0	10859	0	10859	686	0	0	686
818	WGK-7	NAGPUR	1223	0	0	1223	12193	0	0	12193	0	12193	770	0	0	770
819	WGK-8	NAGPUR	0	1214	0	1214	0	1562	0	1562	173	1735	0	145	0	145
820	WGKK-1	NAGPUR	1060	1060	0	1060	6289	11768	0	18057	1511	19568	375	798	0	1173
821	WGKK-2	NAGPUR	1060	1060	0	1060	1366	13195	0	14561	0	14561	93	749	0	841
822	WGKK-3	NAGPUR	1223	1223	0	1223	3582	10196	0	13778	0	13778	335	798	0	1133
823	WGKKC-1	NAGPUR	1060	1060	0	1060	836	13078	0	13914	1545	15459	75	1442	0	1517
824	WGKKC-2	NAGPUR	1060	1060	0	1060	3695	28456	0	32151	3884	36035	468	3735	0	4203
825	WGKN-1	NAGPUR	0	1145	0	1145	0	5941	0	5941	2418	8359	0	519	0	519
826	WGKN-2	NAGPUR	1274	1274	0	1274	243	17318	0	17561	2218	19779	20	1480	0	1500
827	WGKN-3	NAGPUR	1274	1274	0	1274	1620	13386	0	15006	1823	16829	138	1143	0	1281
828	WGKN-4	NAGPUR	1145	0	0	1145	10350	0	0	10350	4627	14977	613	0	0	613
829	WGKN-5	NAGPUR	1284	0	0	1284	11196	0	0	11196	0	11196	741	0	0	741
830	WGKP-1	NAGPUR	0	1067	0	1067	0	1538	0	1538	13087	14625	0	97	0	97
831	WGKP-2	NAGPUR	1067	0	0	1067	7091	0	0	7091	4727	11818	391	0	0	391

S.No	WATERSHED	District	Rainfall (mm)				Total Geographical Area (ha)						Ground Water Recharge (ham)			
							Recharge Worthy Area (ha)				Hilly Area	Total	Rainfall Recharge			
			C	NC	PQ	Total	C	NC	PQ	Total			C	NC	PQ	Total
832	WGKP-3	NAGPUR	1067	1067	0	1067	5030	5725	0	10755	4608	15363	409	391	0	800
833	WGKP-4	NAGPUR	0	1223	0	1223	0	2333	0	2333	9750	12083	0	147	0	147
834	WGM-1	NAGPUR	1274	1274	0	1274	526	16697	0	17223	1443	18666	21	815	0	836
835	WGM-2	NAGPUR	1274	1274	0	1274	1266	23407	0	24673	6976	31649	52	1142	0	1194
836	WGM-3	NAGPUR	0	1274	0	1274	0	4942	0	4942	639	5581	0	403	0	403
837	WGS-1	NAGPUR	1223	1223	0	1223	1567	13497	0	15064	8111	23175	99	852	0	951
838	WGS-2	NAGPUR	1223	1223	0	1223	4474	8978	0	13452	3737	17189	282	567	0	849
839	WGS-3	NAGPUR	1223	0	0	1223	11112	0	0	11112	584	11696	702	0	0	702
840	WR-29	NAGPUR	1004	1004	0	1004	3008	7018	0	10026	1921	11947	374	636	0	1010
841	WRJ-1	NAGPUR	0	1004	0	1004	0	21253	0	21253	3921	25174	0	2639	0	2639
842	WRJ-2	NAGPUR	1004	1004	0	1004	1063	16150	0	17213	4773	21986	132	1368	0	1500
843	WRJ-3	NAGPUR	1004	1004	0	1004	712	8365	0	9077	1430	10507	74	1039	0	1113
844	WRJ-4	NAGPUR	1004	1004	0	1004	393	25161	0	25554	11950	37504	41	3124	0	3165
845	WRK--	NAGPUR	0	1004	0	1004	0	12314	0	12314	6485	18799	0	1368	0	1368
846	WRW-4	NAGPUR	1146	1146	0	1146	1174	7246	0	8420	730	9150	113	699	0	812
847	WRW-5	NAGPUR	1146	1146	0	1146	1428	25782	0	27210	7388	34598	138	2486	0	2624
848	WRW-6	NAGPUR	1146	1146	0	1146	1584	39247	0	40831	5864	46695	189	5573	0	5762
849	WRW-7	NAGPUR	0	1146	0	1146	0	8280	0	8280	2661	10941	0	948	0	948
850	WRW-8	NAGPUR	1146	1146	0	1146	2975	15024	0	17999	5518	23517	312	1566	0	1879
851	WRWB-1	NAGPUR	1146	1146	0	1146	262	1756	0	2018	1728	3746	31	227	0	258
852	WRWB-2	NAGPUR	0	1146	0	1146	0	12416	0	12416	2416	14832	0	1197	0	1197
853	WRWB-3	NAGPUR	0	1146	0	1146	0	529	0	529	2117	2646	0	51	0	51
854	WRWN-1	NAGPUR	0	1274	0	1274	0	21770	0	21770	2418	24188	0	2318	0	2318
855	WRWN-2	NAGPUR	1274	1274	0	1274	2075	18662	0	20737	2746	23483	177	1332	0	1509
856	WRWN-3	NAGPUR	0	1274	0	1274	0	5036	0	5036	2114	7150	0	536	0	536
857	GV-100 B	NANDED	941	995	0	969	9040	10405	0	19445	1725	21170	714	867	0	1582

S.No	WATERSHED	District	Rainfall (mm)				Total Geographical Area (ha)						Ground Water Recharge (ham)			
							Recharge Worthy Area (ha)				Hilly Area	Total	Rainfall Recharge			
			C	NC	PQ	Total	C	NC	PQ	Total			C	NC	PQ	Total
858	GV-101	NANDED	965	965	0	965	1540	25625	0	27165	645	27810	184	3063	0	3246
859	GV-102	NANDED	994	994	0	994	20458	6200	0	26658	3362	30020	2416	750	0	3165
860	GV-103	NANDED	994	994	0	994	5347	14568	0	19915	115	20030	660	1799	0	2459
861	GV-104	NANDED	964	964	0	964	4346	28264	0	32610	0	32610	519	3376	0	3895
862	GV-105	NANDED	994	994	0	994	1917	32853	0	34770	2070	36840	160	2738	0	2898
863	GV-106	NANDED	964	964	0	964	4297	26153	0	30450	3910	34360	377	2222	0	2600
864	GV-107	NANDED	1027	1027	0	1027	2931	26859	0	29790	1840	31630	309	2782	0	3092
865	GV-108	NANDED	1027	1027	0	1027	1156	22464	0	23620	2130	25750	113	2194	0	2308
866	GV-109	NANDED	1027	1027	0	1027	2416	20834	0	23250	0	23250	261	2277	0	2537
867	GV-110	NANDED	1078	1078	0	1078	7780	26310	0	34090	0	34090	827	2855	0	3683
868	GV-111	NANDED	1027	1027	0	1027	369	25681	0	26050	0	26050	39	2921	0	2960
869	GV-112	NANDED	1078	1078	0	1078	4980	32250	0	37230	0	37230	454	3322	0	3775
870	GV-113	NANDED	0	1078	0	1078	0	19100	0	19100	0	19100	0	2544	0	2544
871	GV-114	NANDED	0	1090	0	1090	0	22535	0	22535	365	22900	0	2046	0	2046
872	GV-92 B	NANDED	994	994	0	994	723	523	0	1246	0	1246	67	52	0	119
873	GV-93 B	NANDED	994	994	0	994	3663	5357	0	9020	0	9020	414	604	0	1018
874	GV-94 B	NANDED	994	994	0	994	8550	3900	0	12450	0	12450	931	394	0	1325
875	MR-37 B	NANDED	0	1068	0	1068	0	18120	0	18120	0	18120	0	1696	0	1696
876	MR-46 B	NANDED	1068	1068	0	1068	1244	21896	0	23140	450	23590	165	2906	0	3071
877	MR-49	NANDED	1068	1068	0	1068	1931	24859	0	26790	860	27650	256	3298	0	3554
878	MR-50	NANDED	873	873	0	873	1699	26526	0	28225	1505	29730	165	2628	0	2793
879	MR-51 A	NANDED	0	873	0	873	0	2499	0	2499	372	2871	0	269	0	269
880	MR-52 A	NANDED	0	873	0	873	0	2167	0	2167	725	2892	0	160	0	160
881	MR-53 A	NANDED	0	873	0	873	0	4208	0	4208	637	4845	0	320	0	320
882	MR-57	NANDED	1068	1068	0	1068	998	6968	0	7966	593	8559	104	713	0	817
883	MR-59	NANDED	1078	1078	0	1078	6812	13608	0	20420	0	20420	621	1240	0	1861

S.No	WATERSHED	District	Rainfall (mm)				Total Geographical Area (ha)						Ground Water Recharge (ham)			
							Recharge Worthy Area (ha)				Hilly Area	Total	Rainfall Recharge			
			C	NC	PQ	Total	C	NC	PQ	Total			C	NC	PQ	Total
884	MR-60	NANDED	959	959	0	959	2784	26876	0	29660	1580	31240	225	2173	0	2398
885	MR-61	NANDED	0	959	0	959	0	24775	0	24775	1025	25800	0	2938	0	2938
886	MR-62	NANDED	0	959	0	892	555	7411	0	7966	675	8641	0	696	0	696
887	MR-63	NANDED	1078	1078	0	1078	626	17961	0	18587	643	19230	73	1896	0	1969
888	MR-64	NANDED	0	959	0	959	0	14220	0	14220	0	14220	0	1150	0	1150
889	MR-65	NANDED	959	959	0	959	1698	16167	0	17865	485	18350	201	1885	0	2086
890	MR-66	NANDED	959	959	0	959	1495	19870	0	21365	1247	22612	121	1606	0	1727
891	NPG-1	NANDED	1025	1025	0	1025	3077	9303	0	12380	0	12380	364	1018	0	1382
892	NPG-11	NANDED	1091	1091	0	1091	2085	20250	0	22335	985	23320	189	1840	0	2029
893	NPG-12	NANDED	0	1091	0	1091	0	13340	0	13340	755	14095	0	1212	0	1212
894	NPG-13	NANDED	1091	1091	0	1091	3984	22936	0	26920	1430	28350	362	2084	0	2446
895	NPG-14	NANDED	1091	1091	0	1091	282	28098	0	28380	970	29350	26	2553	0	2578
896	NPG-15	NANDED	1091	1091	0	1091	982	30608	0	31590	1130	32720	108	3308	0	3416
897	NPG-16	NANDED	1091	1091	0	1091	983	35217	0	36200	0	36200	89	3199	0	3289
898	NPG-2	NANDED	1025	1025	0	1025	3285	10695	0	13980	0	13980	369	1178	0	1547
899	NPG-3	NANDED	1025	1025	0	1025	2619	14496	0	17115	365	17480	259	1401	0	1660
900	NPG-4	NANDED	1025	1025	0	1025	756	11414	0	12170	0	12170	96	1452	0	1548
901	NPG-5	NANDED	1025	1025	0	1025	3705	23865	0	27570	240	27810	471	3036	0	3508
902	NPG-6	NANDED	0	1025	0	1025	0	3499	0	3499	0	3499	0	445	0	445
903	NPG-7	NANDED	1025	1025	0	1025	462	15918	0	16380	0	16380	44	1514	0	1558
904	NPG-8	NANDED	1025	1025	0	1025	1477	29393	0	30870	1130	32000	127	2658	0	2785
905	NPG-9	NANDED	2049	1025	0	1078	1448	26227	0	27675	1065	28740	249	3337	0	3586
906	NR-110	NANDURBAR	0	868	0	868	0	9713	0	9713	23664	33377	0	943	0	943
907	NR-118	NANDURBAR	0	868	0	868	0	1267	0	1267	3956	5223	0	143	0	143
908	NR-119	NANDURBAR	0	868	0	868	0	2409	0	2409	6121	8530	0	219	0	219
909	NR-120	NANDURBAR	0	868	0	868	0	6682	0	6682	15591	22273	0	706	0	706

S.No	WATERSHED	District	Rainfall (mm)				Total Geographical Area (ha)						Ground Water Recharge (ham)			
							Recharge Worthy Area (ha)				Hilly Area	Total	Rainfall Recharge			
			C	NC	PQ	Total	C	NC	PQ	Total			C	NC	PQ	Total
910	NR-131	NANDURBAR	0	1180	0	1180	0	6838	0	6838	15955	22793	0	883	0	883
911	NR-132	NANDURBAR	0	1180	0	1180	0	8082	0	8082	18858	26940	0	997	0	997
912	NR-141	NANDURBAR	0	1180	0	1180	0	7257	0	7257	16934	24191	0	901	0	901
913	NR-97	NANDURBAR	0	868	0	868	0	5484	0	5484	13800	19284	0	517	0	517
914	TE-111	NANDURBAR	812	762	0	762	151	30180	0	30331	562	30893	18	3286	0	3303
915	TE-112 B	NANDURBAR	1207	1207	0	1207	417	14274	0	14691	5358	20049	65	1799	0	1865
916	TE-113 B	NANDURBAR	0	751	0	751	0	4655	0	4655	545	5200	0	542	0	542
917	TE-121	NANDURBAR	812	812	0	812	153	18920	0	19073	963	20036	18	2192	0	2210
918	TE-122 A	NANDURBAR	0	751	0	751	0	16317	0	16317	2590	18907	0	1497	0	1497
919	TE-123 B	NANDURBAR	0	751	0	751	0	5386	0	5386	992	6378	0	425	0	425
920	TE-133	NANDURBAR	0	1180	0	1180	0	23004	0	23004	514	23518	0	2838	0	2838
921	TE-134	NANDURBAR	0	751	0	751	0	23841	0	23841	2162	26003	0	1495	0	1495
922	TE-134 A	NANDURBAR	751	751	0	751	1550	18811	0	20361	3762	24123	122	1483	0	1605
923	TE-135 B	NANDURBAR	751	1207	0	1168	2375	25333	0	27708	3072	30780	187	3193	0	3380
924	TE-137 B	NANDURBAR	1207	1207	0	1207	1225	18532	0	19757	8537	28294	154	2336	0	2490
925	TE-138	NANDURBAR	0	1207	0	1207	0	9228	0	9228	6051	15279	0	1163	0	1163
926	TE-138 A	NANDURBAR	0	1207	0	1150	692	13907	0	14599	3660	18259	0	1753	0	1753
927	TE-139 B	NANDURBAR	1207	1207	0	1207	4543	19355	0	23898	9621	33519	573	2440	0	3012
928	TE-141	NANDURBAR	1180	1180	0	1180	1045	9107	0	10152	10562	20714	103	713	0	816
929	TE-142	NANDURBAR	0	1207	0	1207	0	8881	0	8881	1743	10624	0	1119	0	1119
930	TE-73 B	NANDURBAR	0	712	0	712	0	11100	0	11100	2200	13300	0	1027	0	1027
931	TE-84	NANDURBAR	712	712	0	712	470	26676	0	27146	903	28049	43	2944	0	2987
932	TE-85	NANDURBAR	0	712	0	712	0	17628	0	17628	1412	19040	0	1569	0	1569
933	TE-86 A	NANDURBAR	712	712	0	712	436	11551	0	11987	134	12121	48	863	0	912
934	TE-98	NANDURBAR	712	712	0	712	4096	23707	0	27803	0	27803	417	2415	0	2833
935	GV-1	NASHIK	846	846	0	846	3210	21390	0	24600	6200	30800	339	2257	0	2596

S.No	WATERSHED	District	Rainfall (mm)				Total Geographical Area (ha)						Ground Water Recharge (ham)			
							Recharge Worthy Area (ha)				Hilly Area	Total	Rainfall Recharge			
			C	NC	PQ	Total	C	NC	PQ	Total			C	NC	PQ	Total
936	GV-10	NASHIK	819	819	0	819	2611	9818	0	12429	3207	15636	222	836	0	1058
937	GV-11	NASHIK	0	838	0	816	455	17102	0	17557	5912	23469	0	1201	0	1201
938	GV-12	NASHIK	0	3625	0	3625	0	13908	0	13908	4782	18690	0	3905	0	3905
939	GV-13	NASHIK	3625	3625	0	3625	562	17242	0	17804	5935	23739	158	4842	0	4999
940	GV-14	NASHIK	738	738	0	738	3597	17193	0	20790	1832	22622	330	1577	0	1907
941	GV-15	NASHIK	632	632	0	632	2906	3981	0	6887	332	7219	227	262	0	489
942	GV-16	NASHIK	717	717	0	717	3638	15461	0	19099	1050	20149	323	1372	0	1695
943	GV-17	NASHIK	759	759	0	759	387	10376	0	10763	1234	11997	30	976	0	1005
944	GV-18	NASHIK	3625	3625	0	3625	309	13736	0	14045	4607	18652	87	3857	0	3944
945	GV-19	NASHIK	680	680	0	680	3695	8181	0	11876	1034	12910	235	690	0	925
946	GV-2	NASHIK	846	846	0	846	3152	22268	0	25420	6405	31825	222	1909	0	2131
947	GV-20	NASHIK	663	663	0	663	2134	21050	0	23184	1165	24349	175	1722	0	1897
948	GV-21	NASHIK	694	694	0	694	753	32847	0	33600	1769	35369	54	2806	0	2861
949	GV-22 A	NASHIK	694	694	0	694	241	16532	0	16773	929	17702	21	1413	0	1433
950	GV-23	NASHIK	680	680	0	680	8319	27657	0	35976	1894	37870	588	2333	0	2921
951	GV-24	NASHIK	663	663	0	663	1495	3892	0	5387	334	5721	122	318	0	441
952	GV-25	NASHIK	694	694	0	694	2835	16922	0	19757	1090	20847	167	1446	0	1613
953	GV-26 A	NASHIK	670	670	0	670	5034	29404	0	34438	2592	37030	418	2442	0	2860
954	GV-26 A'	NASHIK	641	641	0	641	3849	18609	0	22458	227	22685	296	1242	0	1537
955	GV-27	NASHIK	632	632	0	632	2864	7617	0	10481	105	10586	224	596	0	819
956	GV-28 A	NASHIK	694	694	0	694	1800	11808	0	13608	187	13795	106	1009	0	1115
957	GV-29 A	NASHIK	694	694	0	694	273	9290	0	9563	553	10116	23	794	0	817
958	GV-3	NASHIK	835	835	0	835	6131	11779	0	17910	4595	22505	638	1023	0	1661
959	GV-30	NASHIK	690	690	0	690	3760	26116	0	29876	1573	31449	301	2232	0	2534
960	GV-31 A	NASHIK	651	651	0	651	4555	26528	0	31083	1636	32719	307	2133	0	2440
961	GV-32 A	NASHIK	651	651	0	651	2619	15579	0	18198	983	19181	144	1229	0	1373

S.No	WATERSHED	District	Rainfall (mm)				Total Geographical Area (ha)						Ground Water Recharge (ham)			
							Recharge Worthy Area (ha)				Hilly Area	Total	Rainfall Recharge			
			C	NC	PQ	Total	C	NC	PQ	Total			C	NC	PQ	Total
962	GV-33 A	NASHIK	651	651	0	651	308	7036	0	7344	412	7756	21	566	0	587
963	GV-34 A	NASHIK	0	692	0	692	0	5455	0	5455	337	5792	0	467	0	467
964	GV-39 B	NASHIK	0	692	0	692	0	3974	0	3974	259	4233	0	340	0	340
965	GV-4	NASHIK	819	819	0	819	1166	11317	0	12483	2996	15479	83	772	0	855
966	GV-5	NASHIK	819	819	0	819	4784	17282	0	22066	6904	28970	407	1477	0	1884
967	GV-6	NASHIK	846	846	0	846	4103	13995	0	18098	5459	23557	361	1215	0	1576
968	GV-7	NASHIK	767	767	0	767	14994	6426	0	21420	1176	22596	1431	613	0	2044
969	GV-8	NASHIK	824	0	0	824	11447	0	0	11447	1239	12686	951	0	0	951
970	GV-8'	NASHIK	824	0	0	824	6392	0	0	6392	361	6753	548	0	0	548
971	GV-9	NASHIK	824	824	0	824	3288	4988	0	8276	2619	10895	282	512	0	794
972	TE-105 B	NASHIK	0	568	0	568	0	5775	0	5775	1494	7269	0	405	0	405
973	TE-106	NASHIK	568	568	0	568	3557	22938	0	26495	1364	27859	210	1607	0	1817
974	TE-107	NASHIK	568	568	0	568	3129	30630	0	33759	8640	42399	219	1808	0	2028
975	TE-108	NASHIK	0	673	0	673	0	7450	0	7450	455	7905	0	622	0	622
976	TE-109	NASHIK	660	660	0	660	1889	12269	0	14158	1742	15900	130	990	0	1120
977	TE-116	NASHIK	0	798	0	798	0	23199	0	23199	5851	29050	0	2999	0	2999
978	TE-117	NASHIK	628	628	0	628	2597	22410	0	25007	2778	27785	154	1738	0	1892
979	TE-125	NASHIK	1375	1375	0	1375	554	19551	0	20105	5212	25317	82	2659	0	2740
980	TE-126	NASHIK	798	798	0	798	406	14561	0	14967	3626	18593	40	1439	0	1479
981	TE-127	NASHIK	798	798	0	798	1148	18934	0	20082	5121	25203	113	1274	0	1388
982	TE-128	NASHIK	779	779	0	779	2766	19870	0	22636	2030	24666	268	1295	0	1563
983	TE-129	NASHIK	600	600	0	600	2039	9614	0	11653	3569	15222	151	712	0	863
984	TE-130	NASHIK	679	679	0	679	3978	21528	0	25506	2859	28365	335	1792	0	2126
985	TE-58 B	NASHIK	628	628	0	628	3083	22137	0	25220	2151	27371	163	1700	0	1863
986	TE-59 A	NASHIK	628	628	0	628	1262	6712	0	7974	420	8394	98	487	0	585
987	TE-60 B	NASHIK	0	692	0	692	0	4674	0	4674	246	4920	0	400	0	400

S.No	WATERSHED	District	Rainfall (mm)				Total Geographical Area (ha)						Ground Water Recharge (ham)			
							Recharge Worthy Area (ha)				Hilly Area	Total	Rainfall Recharge			
			C	NC	PQ	Total	C	NC	PQ	Total			C	NC	PQ	Total
988	TE-68 B	NASHIK	571	598	0	595	1672	15360	0	17032	947	17979	118	776	0	894
989	TE-69	NASHIK	628	628	0	628	3637	15651	0	19288	2143	21431	282	1214	0	1496
990	TE-70	NASHIK	0	692	0	692	0	7142	0	7142	424	7566	0	612	0	612
991	TE-71 A	NASHIK	692	692	0	692	321	7696	0	8017	403	8420	27	659	0	687
992	TE-72 A	NASHIK	672	672	0	672	411	28345	0	28756	1513	30269	34	2354	0	2388
993	TE-78 B	NASHIK	0	628	0	628	0	4096	0	4096	1024	5120	0	318	0	318
994	TE-79	NASHIK	598	598	0	598	3833	18853	0	22686	5721	28407	283	1325	0	1608
995	TE-80	NASHIK	598	598	0	598	1051	8615	0	9666	1124	10790	65	436	0	500
996	TE-81	NASHIK	598	598	0	598	3033	15376	0	18409	2002	20411	205	1135	0	1340
997	TE-82	NASHIK	0	692	0	692	0	9497	0	9497	1119	10616	0	604	0	604
998	TE-83	NASHIK	579	579	0	579	1112	19030	0	20142	1060	21202	67	1354	0	1421
999	TE-91	NASHIK	568	568	0	568	1180	11174	0	12354	751	13105	83	783	0	866
1000	TE-92	NASHIK	0	568	0	568	0	21569	0	21569	1186	22755	0	1511	0	1511
1001	TE-93	NASHIK	598	598	0	598	3344	14471	0	17815	1051	18866	169	1068	0	1237
1002	TE-94	NASHIK	0	692	0	692	0	6236	0	6236	1559	7795	0	495	0	495
1003	TE-95	NASHIK	0	692	0	692	0	8500	0	8500	1014	9514	0	728	0	728
1004	TE-96	NASHIK	710	710	0	710	168	34838	0	35006	1689	36695	10	3069	0	3079
1005	WF-1	NASHIK	0	3625	0	3625	0	3047	0	3047	762	3809	0	856	0	856
1006	WF-2	NASHIK	0	3606	0	3606	0	18117	0	18117	5813	23930	0	5087	0	5087
1007	WF-3	NASHIK	0	1611	0	1611	0	17085	0	17085	5560	22645	0	2435	0	2435
1008	WF-4	NASHIK	0	2409	0	2409	0	7679	0	7679	2605	10284	0	1668	0	1668
1009	WF-5	NASHIK	2410	2410	0	2410	340	15825	0	16165	5440	21605	92	3437	0	3529
1010	WF-6	NASHIK	2411	2411	0	2411	480	20778	0	21258	6809	28067	104	4512	0	4616
1011	WF-7	NASHIK	1737	1737	0	1737	234	43262	0	43496	10197	53693	36	6628	0	6664
1012	WF-8	NASHIK	1952	1952	0	1952	134	22323	0	22457	7485	29942	23	3851	0	3874
1013	WF-9	NASHIK	0	1952	0	1952	0	10256	0	10256	3261	13517	0	1769	0	1769

S.No	WATERSHED	District	Rainfall (mm)				Total Geographical Area (ha)						Ground Water Recharge (ham)			
							Recharge Worthy Area (ha)				Hilly Area	Total	Rainfall Recharge			
			C	NC	PQ	Total	C	NC	PQ	Total			C	NC	PQ	Total
1014	BM-1	OSMANABAD	837	837	0	837	1322	30478	0	31800	2409	34209	115	3160	0	3275
1015	BM-10	OSMANABAD	899	899	0	899	639	9778	0	10417	502	10919	71	1084	0	1155
1016	BM-11	OSMANABAD	899	899	0	899	1663	20146	0	21809	2610	24419	184	2233	0	2418
1017	BM-2	OSMANABAD	837	837	0	837	115	13726	0	13841	9782	23623	12	1423	0	1435
1018	BM-3	OSMANABAD	837	837	0	837	3203	15702	0	18905	4618	23523	332	1628	0	1960
1019	BM-4 A	OSMANABAD	837	837	0	837	1172	5664	0	6836	913	7749	119	587	0	707
1020	BM-5	OSMANABAD	837	837	0	837	830	13767	0	14597	1917	16514	86	1427	0	1513
1021	BM-6 A	OSMANABAD	837	837	0	837	198	4698	0	4896	584	5480	21	487	0	508
1022	BM-7	OSMANABAD	899	899	0	899	1863	27497	0	29360	3336	32696	207	3048	0	3255
1023	BM-8 A	OSMANABAD	899	899	0	899	217	6286	0	6503	190	6693	24	697	0	721
1024	BM-9	OSMANABAD	899	899	0	899	2068	21039	0	23107	1612	24719	229	2332	0	2562
1025	MR-03	OSMANABAD	806	806	0	806	1500	13143	0	14643	1850	16493	150	1315	0	1465
1026	MR-10	OSMANABAD	0	716	0	716	0	13767	0	13767	2550	16317	0	1201	0	1201
1027	MR-11	OSMANABAD	716	716	0	716	1138	17115	0	18253	716	18969	99	1259	0	1358
1028	MR-12	OSMANABAD	752	752	0	752	1037	14490	0	15527	1171	16698	100	1399	0	1499
1029	MR-13	OSMANABAD	0	752	0	752	0	12547	0	12547	1785	14332	0	1211	0	1211
1030	MR-16 A	OSMANABAD	716	716	0	716	309	11996	0	12305	868	13173	27	1046	0	1073
1031	MR-17	OSMANABAD	752	752	0	752	1079	14567	0	15646	1800	17446	104	1406	0	1510
1032	MR-18	OSMANABAD	752	752	0	752	1307	14187	0	15494	2045	17539	126	1370	0	1496
1033	MR-20 A	OSMANABAD	0	752	0	752	0	1675	0	1675	231	1906	0	162	0	162
1034	MR-21 A	OSMANABAD	752	752	0	752	508	6866	0	7374	806	8180	49	663	0	712
1035	MR-22	OSMANABAD	752	752	0	752	2060	21658	0	23718	2224	25942	199	2091	0	2290
1036	MR-23	OSMANABAD	752	752	0	752	364	17832	0	18196	1353	19549	35	1721	0	1757
1037	MR-30	OSMANABAD	899	899	0	899	2117	25298	0	27415	2484	29899	232	2805	0	3037
1038	MR-36 A	OSMANABAD	899	899	0	899	604	7363	0	7967	997	8964	67	560	0	627
1039	MR-5	OSMANABAD	806	806	0	806	1850	10499	0	12349	1492	13841	185	1050	0	1235

S.No	WATERSHED	District	Rainfall (mm)				Total Geographical Area (ha)						Ground Water Recharge (ham)			
							Recharge Worthy Area (ha)				Hilly Area	Total	Rainfall Recharge			
			C	NC	PQ	Total	C	NC	PQ	Total			C	NC	PQ	Total
1040	MR-7	OSMANABAD	806	806	0	806	368	31701	0	32069	2005	34074	37	3171	0	3208
1041	MR-9	OSMANABAD	0	716	0	716	0	26288	0	26288	1479	27767	0	2293	0	2293
1042	SA-21	OSMANABAD	0	616	0	616	0	11346	0	11346	2049	13395	0	867	0	867
1043	SA-23	OSMANABAD	616	616	0	616	2874	21015	0	23889	4627	28516	220	1606	0	1826
1044	SA-24	OSMANABAD	616	616	0	616	2015	32664	0	34679	3699	38378	154	2497	0	2651
1045	SA-25	OSMANABAD	616	616	0	616	2100	20878	0	22978	5560	28538	161	1596	0	1756
1046	SA-27 A	OSMANABAD	616	616	0	616	996	11679	0	12675	1746	14421	76	893	0	969
1047	SA-28 A	OSMANABAD	0	616	0	616	0	24946	0	24946	5036	29982	0	1907	0	1907
1048	SA-29 A	OSMANABAD	616	616	0	616	2424	12802	0	15226	811	16037	185	979	0	1164
1049	SA-33 B	OSMANABAD	0	752	0	752	0	3178	0	3178	302	3480	0	307	0	307
1050	SA-37 A	OSMANABAD	752	752	0	752	800	16061	0	16861	3196	20057	77	1550	0	1628
1051	SA-38 A	OSMANABAD	837	837	0	837	645	10974	0	11619	2636	14255	67	1138	0	1205
1052	SA-39 A	OSMANABAD	837	837	0	837	200	6932	0	7132	203	7335	21	719	0	739
1053	SA-40 A	OSMANABAD	0	837	0	837	0	4051	0	4051	10	4061	0	420	0	420
1054	SA-43 A	OSMANABAD	837	837	0	837	660	25084	0	25744	1068	26812	68	2601	0	2669
1055	WF-10	PALGHAR	0	1892	0	1892	0	6543	0	6543	2487	9030	0	371	0	371
1056	WF-11	PALGHAR	2028	2028	0	2028	1452	19743	0	21195	11305	32500	90	977	0	1067
1057	WF-12	PALGHAR	2028	2028	0	2028	3496	22859	0	26355	16155	42510	260	1697	0	1957
1058	WF-13	PALGHAR	2028	2028	0	2028	730	5659	0	6389	3415	9804	36	350	0	386
1059	WF-14	PALGHAR	2437	2437	0	2437	2972	20868	0	23840	29111	52951	175	1225	0	1400
1060	WF-15	PALGHAR	3612	3612	0	3612	296	17096	0	17392	21497	38889	22	1292	0	1315
1061	WF-16	PALGHAR	3612	3612	0	3612	572	39863	0	40435	17900	58335	54	3767	0	3821
1062	WF-17	PALGHAR	1937	1937	0	1937	348	4085	0	4433	3250	7683	16	192	0	208
1063	WF-18	PALGHAR	1937	1937	0	1937	768	3204	0	3972	2650	6622	36	151	0	187
1064	WF-19	PALGHAR	1937	1937	0	1937	3470	17103	0	20573	13715	34288	245	1207	0	1451
1065	WF-20	PALGHAR	0	1937	0	1937	0	6450	0	6450	7724	14174	0	319	0	319

S.No	WATERSHED	District	Rainfall (mm)				Total Geographical Area (ha)						Ground Water Recharge (ham)			
							Recharge Worthy Area (ha)				Hilly Area	Total	Rainfall Recharge			
			C	NC	PQ	Total	C	NC	PQ	Total			C	NC	PQ	Total
1066	WF-21	PALGHAR	1937	1937	0	1937	1521	10581	0	12102	7529	19631	89	622	0	711
1067	WF-22	PALGHAR	0	2837	0	2837	0	9750	0	9750	3253	13003	0	671	0	671
1068	WF-23	PALGHAR	0	2837	0	2837	0	7198	0	7198	16796	23994	0	495	0	495
1069	WF-24B	PALGHAR	0	2837	0	2837	0	7717	0	7717	18883	26600	0	531	0	531
1070	WF-25	PALGHAR	0	2029	0	2029	0	5525	0	5525	4846	10371	0	365	0	365
1071	WF-26	PALGHAR	2029	2029	0	2029	523	10637	0	11160	6180	17340	32	515	0	547
1072	WF-27B	PALGHAR	0	2029	0	2029	0	5486	0	5486	1875	7361	0	266	0	266
1073	WF-28B	PALGHAR	2837	2837	0	2837	260	7346	0	7606	3249	10855	22	505	0	528
1074	WF-29B	PALGHAR	0	2029	0	2029	0	15266	0	15266	5291	20557	0	740	0	740
1075	WF-7	PALGHAR	2437	2437	0	2437	1472	10037	0	11509	24920	36429	86	589	0	676
1076	WF-8	PALGHAR	0	3612	0	3612	0	1475	0	1475	2456	3931	0	112	0	112
1077	WF-9	PALGHAR	0	2028	0	2028	0	3715	0	3715	5573	9288	0	184	0	184
1078	GP-36 B	PARBHANI	0	946	0	946	0	11006	0	11006	0	11006	0	878	0	878
1079	GP-37 B	PARBHANI	0	946	0	946	0	13723	0	13723	0	13723	0	1303	0	1303
1080	GP-41 B	PARBHANI	0	909	0	909	0	3109	0	3109	0	3109	0	284	0	284
1081	GP-43 B	PARBHANI	0	946	0	946	0	19546	0	19546	0	19546	0	1587	0	1587
1082	GP-45	PARBHANI	909	909	0	909	1928	12930	0	14858	0	14858	188	1250	0	1438
1083	GP-46 B	PARBHANI	0	946	0	946	0	15979	0	15979	0	15979	0	1351	0	1351
1084	GP-48	PARBHANI	909	909	0	909	10500	14279	0	24779	0	24779	1028	1359	0	2387
1085	GP-49	PARBHANI	909	909	0	909	10917	21947	0	32864	0	32864	1032	1708	0	2740
1086	GP-50	PARBHANI	0	909	0	909	0	29646	0	29646	0	29646	0	2648	0	2648
1087	GP-51	PARBHANI	946	946	0	946	1282	21580	0	22862	0	22862	128	2151	0	2279
1088	GP-53 A	PARBHANI	0	909	0	909	0	3825	0	3825	0	3825	0	331	0	331
1089	GP-54	PARBHANI	909	909	0	909	5667	19254	0	24921	0	24921	551	1818	0	2369
1090	GP-55 A	PARBHANI	0	909	0	909	0	15300	0	15300	0	15300	0	1731	0	1731
1091	GP-56	PARBHANI	893	909	0	906	1622	6302	0	7924	0	7924	154	554	0	708

S.No	WATERSHED	District	Rainfall (mm)				Total Geographical Area (ha)						Ground Water Recharge (ham)			
							Recharge Worthy Area (ha)				Hilly Area	Total	Rainfall Recharge			
			C	NC	PQ	Total	C	NC	PQ	Total			C	NC	PQ	Total
1092	GP-57	PARBHANI	0	893	0	893	0	10132	0	10132	0	10132	0	1067	0	1067
1093	GP-58	PARBHANI	893	893	0	893	11298	8797	0	20095	0	20095	850	817	0	1667
1094	GP-59	PARBHANI	893	893	0	893	15940	5039	0	20979	0	20979	1641	557	0	2197
1095	GP-60 B	PARBHANI	893	893	0	893	501	406	0	907	0	907	55	45	0	100
1096	GP-61	PARBHANI	893	0	0	893	6610	0	0	6610	0	6610	730	0	0	730
1097	GP-62	PARBHANI	893	0	0	893	8371	0	0	8371	0	8371	716	0	0	716
1098	GP-63 B	PARBHANI	1019	0	0	1019	17968	0	0	17968	0	17968	1866	0	0	1866
1099	GV-71 B	PARBHANI	946	946	0	946	700	8724	0	9424	0	9424	56	705	0	761
1100	GV-74	PARBHANI	946	946	0	946	25200	7082	0	32282	0	32282	2925	814	0	3739
1101	GV-79	PARBHANI	946	946	0	946	34331	8788	0	43119	0	43119	4110	1051	0	5161
1102	GV-82	PARBHANI	893	698	0	816	17162	11305	0	28467	0	28467	1292	688	0	1980
1103	GV-83	PARBHANI	0	698	0	698	0	21486	0	21486	0	21486	0	1961	0	1961
1104	GV-88	PARBHANI	1019	1019	0	1019	31910	1294	0	33204	0	33204	3027	137	0	3164
1105	GV-89	PARBHANI	698	698	0	698	1349	13443	0	14792	0	14792	83	894	0	977
1106	GV-90 A	PARBHANI	698	698	0	698	11729	2824	0	14553	0	14553	1071	172	0	1243
1107	GV-94 B	PARBHANI	1019	0	0	1019	21940	0	0	21940	0	21940	2644	0	0	2644
1108	GV-95	PARBHANI	0	698	0	698	0	13567	0	13567	0	13567	0	1239	0	1239
1109	GV-96	PARBHANI	698	698	0	698	8009	34847	0	42856	0	42856	731	3181	0	3912
1110	GV-97 A	PARBHANI	698	698	0	698	8204	12102	0	20306	0	20306	665	873	0	1538
1111	BM-1	PUNE	761	761	761	761	0	9157	0	9157	3923	13080	0	869	0	869
1112	BM-10	PUNE	714	714	714	714	0	10074	0	10074	7296	17370	0	941	0	941
1113	BM-11	PUNE	624	624	624	624	884	11291	0	12175	10705	22880	74	890	0	964
1114	BM-12	PUNE	714	714	714	714	11994	14756	0	26750	0	26750	849	946	0	1796
1115	BM-13	PUNE	457	457	457	457	0	10380	0	10380	0	10380	0	624	0	624
1116	BM-17	PUNE	714	714	714	714	0	19858	0	19858	4282	24140	0	1910	0	1910
1117	BM-18	PUNE	457	457	457	457	4154	17746	0	21900	0	21900	208	1066	0	1274

S.No	WATERSHED	District	Rainfall (mm)				Total Geographical Area (ha)						Ground Water Recharge (ham)			
							Recharge Worthy Area (ha)				Hilly Area	Total	Rainfall Recharge			
			C	NC	PQ	Total	C	NC	PQ	Total			C	NC	PQ	Total
1118	BM-19	PUNE	624	624	624	624	8235	11885	0	20120	0	20120	688	972	0	1660
1119	BM-2	PUNE	761	761	761	761	620	11601	0	12221	8159	20380	49	739	0	788
1120	BM-20	PUNE	624	624	624	624	15976	11534	0	27510	0	27510	1038	843	0	1882
1121	BM-21	PUNE	624	624	624	624	1791	23739	0	25530	0	25530	100	1985	0	2084
1122	BM-22	PUNE	624	624	624	624	0	21080	0	21080	0	21080	0	1762	0	1762
1123	BM-23	PUNE	624	624	624	624	0	21830	0	21830	0	21830	0	1825	0	1825
1124	BM-24	PUNE	1119	1119	1119	1119	0	26800	0	26800	0	26800	0	2757	0	2757
1125	BM-25	PUNE	624	624	624	624	0	19870	0	19870	0	19870	0	1661	0	1661
1126	BM-26	PUNE	457	457	457	457	21112	10648	0	31760	0	31760	1269	640	0	1908
1127	BM-27	PUNE	457	457	457	457	0	20285	0	20285	2375	22660	0	1219	0	1219
1128	BM-3	PUNE	761	761	761	761	3955	14770	0	18725	8025	26750	255	1401	0	1656
1129	BM-34	PUNE	457	457	457	457	16750	0	0	16750	0	16750	1007	0	0	1007
1130	BM-35	PUNE	457	457	457	457	17159	11141	0	28300	0	28300	1031	669	0	1701
1131	BM-36	PUNE	616	616	616	616	0	19300	0	19300	0	19300	0	1214	0	1214
1132	BM-37	PUNE	616	616	616	616	0	15300	0	15300	0	15300	0	1027	0	1027
1133	BM-38	PUNE	1119	1119	1119	1119	789	7970	0	8759	7031	15790	81	820	0	901
1134	BM-39	PUNE	1119	1119	1119	1119	0	13112	0	13112	5938	19050	0	1349	0	1349
1135	BM-4	PUNE	761	761	761	761	1609	17071	0	18680	0	18680	122	1082	0	1204
1136	BM-40	PUNE	1119	1119	1119	1119	0	9518	0	9518	8592	18110	0	979	0	979
1137	BM-41	PUNE	1119	1119	1119	1119	2554	6699	0	9253	9447	18700	263	689	0	952
1138	BM-42	PUNE	616	616	616	616	0	16288	0	16288	2302	18590	0	1135	0	1135
1139	BM-43	PUNE	1484	1484	1484	1484	1978	7616	0	9593	11357	20950	272	1049	0	1322
1140	BM-44	PUNE	1484	1484	1484	1484	0	7373	0	7373	22417	29790	0	1016	0	1016
1141	BM-45	PUNE	1484	1484	1484	1484	0	12562	0	12562	11338	23900	0	1731	0	1731
1142	BM-46	PUNE	616	616	616	616	0	27290	0	27290	0	27290	0	2227	0	2227

S.No	WATERSHED	District	Rainfall (mm)				Total Geographical Area (ha)						Ground Water Recharge (ham)			
							Recharge Worthy Area (ha)				Hilly Area	Total	Rainfall Recharge			
			C	NC	PQ	Total	C	NC	PQ	Total			C	NC	PQ	Total
1143	BM-48	PUNE	464	464	464	464	25714	905	7761	34380	0	34380	1194	38	375	1607
1144	BM-49	PUNE	464	464	464	464	7996	14476	3968	26440	0	26440	314	830	227	1371
1145	BM-5	PUNE	761	761	761	761	1631	4129	0	5760	0	5760	129	328	0	457
1146	BM-50	PUNE	464	464	464	464	10737	11097	4531	26365	2425	28790	615	436	260	1310
1147	BM-51	PUNE	616	616	616	616	11131	14069	0	25200	0	25200	908	1148	0	2056
1148	BM-52	PUNE	616	616	616	616	8224	13906	0	22130	0	22130	447	1068	0	1516
1149	BM-53	PUNE	1484	1484	1484	1484	0	13473	0	13473	10567	24040	0	1856	0	1856
1150	BM-54	PUNE	2716	2716	2716	2716	0	13092	0	13092	15058	28150	0	3295	0	3295
1151	BM-55	PUNE	616	616	616	616	870	12510	0	13380	10770	24150	59	826	0	886
1152	BM-56	PUNE	2716	2716	2716	2716	0	9478	0	9478	11342	20820	0	2385	0	2385
1153	BM-57	PUNE	929	929	929	929	0	13034	0	13034	20916	33950	0	1160	0	1160
1154	BM-58	PUNE	572	572	572	572	0	32620	0	32620	0	32620	0	2307	0	2307
1155	BM-59	PUNE	572	572	572	572	0	23430	0	23430	0	23430	0	1657	0	1657
1156	BM-6	PUNE	761	761	761	761	6392	7180	0	13572	1508	15080	506	681	0	1187
1157	BM-60	PUNE	473	473	473	473	0	24620	0	24620	0	24620	0	1432	0	1432
1158	BM-61	PUNE	464	464	464	464	8463	15883	0	24345	2995	27340	485	905	0	1390
1159	BM-66	PUNE	468	468	468	468	16526	1444	0	17970	0	17970	657	85	0	742
1160	BM-67	PUNE	468	468	468	468	10087	11963	0	22050	0	22050	501	476	0	977
1161	BM-68	PUNE	468	468	468	468	9732	11428	0	21160	0	21160	580	682	0	1262
1162	BM-69	PUNE	473	473	473	473	6430	24818	2182	33430	0	33430	316	1444	107	1867
1163	BM-7	PUNE	761	761	761	761	5598	6621	0	12219	3801	16020	355	595	0	950
1164	BM-70	PUNE	473	473	473	473	3373	21817	0	25190	0	25190	196	1269	0	1465
1165	BM-71	PUNE	929	929	929	929	0	10158	0	10158	18662	28820	0	852	0	852
1166	BM-72	PUNE	572	572	572	572	327	16441	0	16768	13192	29960	19	1045	0	1065
1167	BM-73	PUNE	572	572	572	572	1465	19095	0	20560	0	20560	87	1350	0	1438
1168	BM-74	PUNE	473	473	473	473	6196	12250	553	19000	0	19000	305	713	27	1044

S.No	WATERSHED	District	Rainfall (mm)				Total Geographical Area (ha)						Ground Water Recharge (ham)			
							Recharge Worthy Area (ha)				Hilly Area	Total	Rainfall Recharge			
			C	NC	PQ	Total	C	NC	PQ	Total			C	NC	PQ	Total
1169	BM-75	PUNE	473	473	473	473	13365	11699	2127	27190	0	27190	657	680	105	1442
1170	BM-76	PUNE	468	468	468	468	14786	18234	830	33850	0	33850	725	1087	50	1862
1171	BM-77	PUNE	468	468	468	468	12809	7471	769	21050	0	21050	764	446	38	1248
1172	BM-78	PUNE	468	468	468	468	36281	1079	0	37360	0	37360	2164	64	0	2228
1173	BM-8	PUNE	761	761	761	761	1166	19674	0	20840	0	20840	92	1776	0	1868
1174	BM-81	PUNE	929	929	929	929	1138	13226	0	14364	21997	36360	95	1386	0	1481
1175	BM-9	PUNE	714	714	714	714	7819	12037	0	19856	9344	29200	627	1100	0	1727
1176	GV-114	PUNE	761	761	761	761	0	3605	0	3605	4843	8448	0	342	0	342
1177	WF-38	PUNE	714	714	714	714	0	339	0	339	1082	1421	0	27	0	27
1178	WF-41	PUNE	1119	1119	1119	1119	0	4426	0	4426	6764	11190	0	569	0	569
1179	WF-45	PUNE	1484	1484	1484	1484	0	489	0	489	716	1205	0	84	0	84
1180	WF-47	PUNE	1484	1484	1484	1484	0	1732	0	1732	5359	7091	0	298	0	298
1181	WF-51	PUNE	2723	2723	2723	2723	0	2698	0	2698	4047	6745	0	849	0	849
1182	WF-37	RAIGAD	0	3278	0	3278	0	2160	0	2160	3631	5791	0	204	0	204
1183	WF-39	RAIGAD	3278	3278	0	3278	336	9899	0	10235	10990	21225	32	748	0	780
1184	WF-40	RAIGAD	0	2741	0	2717	274	30927	0	31201	13359	44560	0	2259	0	2259
1185	WF-41	RAIGAD	3278	3278	0	3278	2142	23602	0	25744	16832	42576	162	1784	0	1946
1186	WF-42	RAIGAD	0	2072	0	2072	0	15150	0	15150	9447	24597	0	1469	0	1469
1187	WF-43	RAIGAD	2949	2949	0	2949	868	34536	0	35404	27656	63060	120	4766	0	4886
1188	WF-44	RAIGAD	0	2866	0	2820	226	13816	0	14042	9820	23862	0	1853	0	1853
1189	WF-45	RAIGAD	0	2742	0	2670	1130	42184	0	43314	49822	93136	0	2915	0	2915
1190	WF-46	RAIGAD	0	2080	0	2080	0	15895	0	15895	10766	26661	0	1547	0	1547
1191	WF-47	RAIGAD	3117	3117	0	3117	3323	49792	0	53115	16762	69877	251	3764	0	4016
1192	WF-48	RAIGAD	3080	3080	0	3080	469	31334	0	31803	50318	82121	35	2369	0	2404
1193	WF-49	RAIGAD	3087	3087	0	3087	5583	40284	0	45867	22975	68842	422	3045	0	3468

S.No	WATERSHED	District	Rainfall (mm)				Total Geographical Area (ha)						Ground Water Recharge (ham)			
							Recharge Worthy Area (ha)				Hilly Area	Total	Rainfall Recharge			
			C	NC	PQ	Total	C	NC	PQ	Total			C	NC	PQ	Total
1194	WF-50	RAIGAD	2772	2772	0	2772	298	14478	0	14776	15909	30685	21	1011	0	1032
1195	WF-51	RAIGAD	3190	3190	0	3190	377	7746	0	8123	19196	27319	29	586	0	614
1196	WF-52	RAIGAD	3190	3190	0	3190	110	9197	0	9307	16259	25566	8	695	0	704
1197	WF-53	RAIGAD	3305	3305	0	3305	158	16714	0	16872	45145	62017	12	1264	0	1276
1198	WF-54	RAIGAD	0	3190	0	3190	0	1751	0	1751	1554	3305	0	246	0	246
1199	WF-54	RATNAGIRI	0	3912	0	3912	0	13300	0	13300	6692	19992	0	1005	0	1005
1200	WF-55	RATNAGIRI	0	3912	0	3912	0	16600	0	16600	10728	27328	0	1255	0	1255
1201	WF-56	RATNAGIRI	3383	3383	0	3383	404	16315	0	16719	21668	38387	38	1233	0	1272
1202	WF-57	RATNAGIRI	3535	3535	0	3535	364	20189	0	20553	11222	31775	28	1526	0	1554
1203	WF-58	RATNAGIRI	3535	3535	0	3535	2050	34073	0	36123	11186	47309	155	2576	0	2731
1204	WF-59	RATNAGIRI	0	3383	0	3383	0	21573	0	21573	19131	40704	0	1631	0	1631
1205	WF-60	RATNAGIRI	0	2656	0	2656	0	26319	0	26319	9741	36060	0	1644	0	1644
1206	WF-61	RATNAGIRI	3666	3666	0	3666	824	48427	0	49251	20925	70176	62	3661	0	3723
1207	WF-62	RATNAGIRI	0	3666	0	3666	0	34288	0	34288	16554	50842	0	2592	0	2592
1208	WF-63	RATNAGIRI	0	2656	0	2656	0	21192	0	21192	7485	28677	0	1324	0	1324
1209	WF-64	RATNAGIRI	3666	3666	0	3666	404	22570	0	22974	9333	32307	31	1706	0	1737
1210	WF-65	RATNAGIRI	0	2767	0	2767	0	13665	0	13665	10740	24405	0	1298	0	1298
1211	WF-66	RATNAGIRI	0	2767	0	2767	0	15816	0	15816	10121	25937	0	1002	0	1002
1212	WF-67	RATNAGIRI	3857	3857	0	3857	227	18912	0	19139	25431	44570	17	1430	0	1447
1213	WF-68	RATNAGIRI	2767	2767	0	2767	220	29707	0	29927	27169	57096	17	1882	0	1899
1214	WF-69	RATNAGIRI	3857	3857	0	3857	184	36974	0	37158	14093	51251	14	2795	0	2809
1215	WF-69 A	RATNAGIRI	0	3857	0	3857	0	699	0	699	1631	2330	0	53	0	53
1216	WF-70	RATNAGIRI	3930	3930	0	3930	849	45090	0	45939	40048	85987	65	3427	0	3491
1217	WF-71	RATNAGIRI	3406	3406	0	3406	721	47561	0	48282	23376	71658	68	4495	0	4563
1218	WF-72	RATNAGIRI	0	3406	0	3406	0	21790	0	21790	12219	34009	0	1647	0	1647
1219	BM-103	SANGLI	0	387	0	387	0	9158	0	9158	0	9158	0	479	0	479

S.No	WATERSHED	District	Rainfall (mm)				Total Geographical Area (ha)						Ground Water Recharge (ham)			
							Recharge Worthy Area (ha)				Hilly Area	Total	Rainfall Recharge			
			C	NC	PQ	Total	C	NC	PQ	Total			C	NC	PQ	Total
1220	BM-104	SANGLI	387	387	0	387	2401	23374	0	25775	0	25775	84	945	0	1029
1221	BM-105	SANGLI	0	387	0	387	0	3137	0	3137	0	3137	0	164	0	164
1222	BM-112	SANGLI	606	606	0	606	581	580	0	1161	0	1161	44	44	0	88
1223	BM-113	SANGLI	387	387	0	387	20064	5595	0	25659	0	25659	1050	293	0	1343
1224	BM-114	SANGLI	387	387	0	387	20113	2456	0	22569	0	22569	1053	107	0	1160
1225	BM-115	SANGLI	516	516	0	516	2431	3733	0	6164	0	6164	136	217	0	353
1226	BM-116	SANGLI	516	561	0	548	3798	8892	0	12690	0	12690	201	540	0	741
1227	BM-117	SANGLI	606	561	0	583	6511	6956	0	13467	0	13467	329	328	0	657
1228	BM-118	SANGLI	606	606	0	606	27102	10875	0	37977	0	37977	1884	686	0	2569
1229	BM-119	SANGLI	606	606	0	606	6898	7994	0	14892	0	14892	497	404	0	901
1230	BM-120	SANGLI	0	606	0	606	0	6811	0	6811	0	6811	0	515	0	515
1231	BM-121	SANGLI	606	606	0	606	8928	23064	0	31992	0	31992	675	1743	0	2417
1232	BM-122	SANGLI	0	606	0	606	0	34385	0	34385	0	34385	0	2226	0	2226
1233	BM-123	SANGLI	606	606	0	606	138	45393	0	45531	0	45531	7	3430	0	3437
1234	KR-22	SANGLI	469	469	0	469	25542	2802	0	28344	0	28344	1488	146	0	1633
1235	KR-24	SANGLI	591	591	0	591	2442	2271	0	4713	0	4713	162	181	0	343
1236	KR-25	SANGLI	591	591	0	591	2333	35480	0	37813	0	37813	155	1930	0	2084
1237	KR-28	SANGLI	0	1169	0	1169	0	13435	0	13435	6202	19637	0	765	0	765
1238	KR-29	SANGLI	0	1169	0	1169	0	4105	0	4105	3316	7421	0	234	0	234
1239	KR-32	SANGLI	815	815	815	815	2799	19666	5856	28320	169	28489	254	1784	531	2569
1240	KR-33	SANGLI	591	591	591	591	16083	5644	1736	23463	0	23463	853	374	115	1343
1241	KR-34	SANGLI	591	591	0	591	29093	3157	0	32250	0	32250	1662	222	0	1884
1242	KR-35	SANGLI	683	683	683	683	31858	7850	1572	41280	0	41280	2758	680	113	3551
1243	KR-36	SANGLI	516	516	0	516	19733	15690	0	35423	0	35423	1092	694	0	1786
1244	KR-37	SANGLI	516	516	0	516	17862	2004	0	19866	0	19866	988	89	0	1077
1245	KR-38	SANGLI	606	606	0	606	25199	3420	0	28619	0	28619	1274	173	0	1447

S.No	WATERSHED	District	Rainfall (mm)				Total Geographical Area (ha)						Ground Water Recharge (ham)			
							Recharge Worthy Area (ha)				Hilly Area	Total	Rainfall Recharge			
			C	NC	PQ	Total	C	NC	PQ	Total			C	NC	PQ	Total
1246	KR-39	SANGLI	516	516	0	516	19157	709	0	19866	0	19866	1272	31	0	1303
1247	KR-40	SANGLI	683	683	683	683	11626	16040	6519	34185	0	34185	737	1157	470	2364
1248	KR-41	SANGLI	0	815	815	815	0	24592	7154	31746	246	31992	0	2230	649	2879
1249	KR-42	SANGLI	815	1169	815	1077	490	18696	6113	25299	600	25899	44	1598	554	2197
1250	KR-43	SANGLI	1169	1169	1169	1169	863	20525	130	21518	476	21994	61	1754	9	1825
1251	KR-44	SANGLI	0	1169	0	1169	0	15271	0	15271	2540	17811	0	1012	0	1012
1252	KR-48	SANGLI	815	815	815	815	148	20097	8907	29152	525	29677	13	1727	808	2548
1253	KR-50	SANGLI	633	633	633	633	30666	649	5321	36636	0	36636	2423	43	350	2817
1254	KR-51	SANGLI	633	633	0	633	14194	918	0	15112	368	15480	1096	60	0	1156
1255	KR-52	SANGLI	606	606	0	606	4105	10735	0	14840	0	14840	259	811	0	1070
1256	KR-53	SANGLI	0	606	0	606	0	10134	0	10134	0	10134	0	766	0	766
1257	BM-100	SATARA	553	553	0	553	795	34479	0	35274	1840	37114	38	2330	0	2367
1258	BM-101	SATARA	0	553	0	553	0	35459	0	35459	4520	39979	0	2396	0	2396
1259	BM-102	SATARA	0	553	0	553	0	27011	0	27011	1960	28971	0	1825	0	1825
1260	BM-103	SATARA	0	553	0	553	0	19359	0	19359	2360	21719	0	1308	0	1308
1261	BM-104	SATARA	0	553	0	553	0	16323	0	16323	500	16823	0	1103	0	1103
1262	BM-81	SATARA	0	516	0	516	0	3510	0	3510	352	3862	0	155	0	155
1263	BM-82	SATARA	516	516	0	516	568	28316	0	28884	4578	33462	36	1788	0	1824
1264	BM-83	SATARA	473	473	0	473	518	21082	0	21600	2560	24160	25	1221	0	1246
1265	BM-84	SATARA	473	473	0	473	2938	23834	0	26772	2360	29132	119	1380	0	1499
1266	BM-85	SATARA	473	473	0	473	4229	27974	0	32203	2440	34643	209	1620	0	1829
1267	BM-86	SATARA	473	473	0	473	10207	22398	0	32605	2080	34685	591	1297	0	1888
1268	BM-87	SATARA	473	473	0	473	2874	13912	0	16786	1240	18026	116	805	0	922
1269	BM-88	SATARA	0	553	0	553	0	1006	0	1006	115	1121	0	68	0	68
1270	BM-89	SATARA	0	553	0	553	0	1621	0	1621	520	2141	0	110	0	110
1271	KR-1	SATARA	765	765	0	765	2475	16696	0	19171	4677	23848	204	1397	0	1601

S.No	WATERSHED	District	Rainfall (mm)				Total Geographical Area (ha)						Ground Water Recharge (ham)			
							Recharge Worthy Area (ha)				Hilly Area	Total	Rainfall Recharge			
			C	NC	PQ	Total	C	NC	PQ	Total			C	NC	PQ	Total
1272	KR-10	SATARA	512	512	0	512	980	27860	0	28840	6000	34840	52	1747	0	1799
1273	KR-11	SATARA	512	512	0	512	1084	14640	0	15724	2163	17887	58	918	0	976
1274	KR-12	SATARA	748	748	0	748	11773	20907	0	32680	1625	34305	742	1626	0	2367
1275	KR-13	SATARA	1048	1048	0	1048	6877	5421	0	12298	669	12967	606	478	0	1084
1276	KR-14	SATARA	0	1048	0	1048	0	37595	0	37595	7087	44682	0	4883	0	4883
1277	KR-15	SATARA	0	1926	0	1926	0	14103	0	14103	15330	29433	0	121	0	121
1278	KR-16	SATARA	0	1796	0	1796	0	9745	0	9745	9503	19248	0	1460	0	1460
1279	KR-17	SATARA	0	1926	0	1926	0	20955	0	20955	2076	23031	0	258	0	258
1280	KR-18	SATARA	0	1926	0	1926	0	13269	0	13269	2353	15622	0	164	0	164
1281	KR-19	SATARA	0	742	0	742	0	10427	0	10427	5320	15747	0	653	0	653
1282	KR-2	SATARA	765	2469	0	2252	2008	13720	0	15728	8006	23734	165	325	0	491
1283	KR-20	SATARA	0	742	0	742	0	22074	0	22074	9088	31162	0	1419	0	1419
1284	KR-21	SATARA	742	742	0	742	2576	23983	0	26559	6880	33439	161	1503	0	1665
1285	KR-22	SATARA	0	512	0	512	0	20159	0	20159	975	21134	0	1264	0	1264
1286	KR-23	SATARA	0	512	0	512	0	20085	0	20085	800	20885	0	1163	0	1163
1287	KR-24	SATARA	0	512	0	512	0	27019	0	27019	1855	28874	0	1695	0	1695
1288	KR-25	SATARA	0	512	0	512	0	900	0	900	177	1077	0	41	0	41
1289	KR-26	SATARA	0	1926	0	1926	0	6680	0	6680	1524	8204	0	103	0	103
1290	KR-27	SATARA	0	1926	0	1926	0	9714	0	9714	4832	14546	0	150	0	150
1291	KR-28	SATARA	0	1926	0	1926	0	1561	0	1561	345	1906	0	19	0	19
1292	KR-3	SATARA	0	2469	0	2469	0	17688	0	17688	14420	32108	0	280	0	280
1293	KR-30	SATARA	0	1926	0	1926	0	32342	0	32342	8600	40942	0	598	0	598
1294	KR-31	SATARA	0	742	0	742	0	24350	0	24350	5571	29921	0	1526	0	1526
1295	KR-32	SATARA	742	742	0	742	1003	1295	0	2298	480	2778	77	100	0	177
1296	KR-4	SATARA	1048	1796	0	1695	3487	22316	0	25803	4990	30793	380	3342	0	3722
1297	KR-42	SATARA	0	742	0	742	0	1378	0	1378	0	1378	0	73	0	73

S.No	WATERSHED	District	Rainfall (mm)				Total Geographical Area (ha)						Ground Water Recharge (ham)			
							Recharge Worthy Area (ha)				Hilly Area	Total	Rainfall Recharge			
			C	NC	PQ	Total	C	NC	PQ	Total			C	NC	PQ	Total
1298	KR-43	SATARA	0	742	0	742	0	227	0	227	0	227	0	14	0	14
1299	KR-44	SATARA	0	742	0	742	0	165	0	165	0	165	0	10	0	10
1300	KR-5	SATARA	1048	2469	0	2036	6469	14741	0	21210	6720	27930	705	233	0	938
1301	KR-6	SATARA	1048	765	0	862	8349	16141	0	24490	1117	25607	910	1298	0	2208
1302	KR-7	SATARA	0	748	0	675	2741	25419	0	28160	3696	31856	0	2171	0	2171
1303	KR-8	SATARA	748	748	0	748	2375	16839	0	19214	2500	21714	185	1445	0	1629
1304	KR-9	SATARA	0	512	0	512	0	14974	0	14974	3010	17984	0	939	0	939
1305	WF-(A)	SATARA	0	2469	0	2469	0	982	0	982	327	1309	0	16	0	16
1306	WF-(B)	SATARA	0	1926	0	1926	0	527	0	527	352	879	0	6	0	6
1307	WF-72	SINDHUDURG	0	3695	0	3695	0	24690	0	24690	39089	63779	0	1877	0	1877
1308	WF-73	SINDHUDURG	0	3334	0	3334	0	28167	0	28167	21499	49666	0	2129	0	2129
1309	WF-74	SINDHUDURG	0	2424	0	2424	0	17925	0	17925	4694	22619	0	1362	0	1362
1310	WF-75	SINDHUDURG	0	2424	0	2424	0	15978	0	15978	12362	28340	0	1058	0	1058
1311	WF-76	SINDHUDURG	3882	3882	0	3882	284	61796	0	62080	34140	96219	25	5339	0	5364
1312	WF-77	SINDHUDURG	3315	3315	0	3315	1547	45251	0	46798	39553	86351	134	3910	0	4043
1313	WF-78	SINDHUDURG	0	2873	0	2873	0	30260	0	30260	4220	34480	0	2308	0	2308
1314	WF-79	SINDHUDURG	4061	4061	0	4061	306	32894	0	33200	37769	70969	17	1423	0	1440
1315	WF-79 A	SINDHUDURG	4061	4061	0	4061	124	8508	0	8632	5404	14036	12	644	0	656
1316	WF-80	SINDHUDURG	0	4061	0	4061	0	8262	0	8262	38323	46585	0	450	0	450
1317	WF-81	SINDHUDURG	0	4061	0	4061	0	3315	0	3315	4341	7656	0	143	0	143
1318	BM-105	SOLAPUR	0	548	0	548	0	16270	0	16270	0	16270	0	1095	0	1095
1319	BM-106	SOLAPUR	0	548	0	548	0	28420	0	28420	0	28420	0	1913	0	1913
1320	BM-107	SOLAPUR	698	698	0	698	10865	36220	0	47085	0	47085	936	3099	0	4035
1321	BM-108	SOLAPUR	584	584	0	584	11327	26106	0	37433	0	37433	399	1022	0	1421
1322	BM-109	SOLAPUR	603	603	0	603	7453	18891	0	26344	0	26344	454	1183	0	1637
1323	BM-110	SOLAPUR	0	770	0	770	0	14997	0	14997	0	14997	0	1215	0	1215

S.No	WATERSHED	District	Rainfall (mm)				Total Geographical Area (ha)						Ground Water Recharge (ham)			
							Recharge Worthy Area (ha)				Hilly Area	Total	Rainfall Recharge			
			C	NC	PQ	Total	C	NC	PQ	Total			C	NC	PQ	Total
1324	BM-111	SOLAPUR	0	584	0	584	0	17021	0	17021	0	17021	0	666	0	666
1325	BM-112	SOLAPUR	0	548	0	548	0	31716	0	31716	0	31716	0	1149	0	1149
1326	BM-115	SOLAPUR	0	548	0	548	0	11814	0	11814	676	12490	0	795	0	795
1327	BM-116	SOLAPUR	548	548	0	548	13598	24242	0	37840	0	37840	915	1631	0	2546
1328	BM-117	SOLAPUR	0	548	0	548	0	19710	0	19710	0	19710	0	714	0	714
1329	BM-119	SOLAPUR	0	584	0	584	0	34460	0	34460	0	34460	0	1349	0	1349
1330	BM-129	SOLAPUR	0	782	0	782	0	8876	0	8876	0	8876	0	863	0	863
1331	BM-130	SOLAPUR	0	782	0	782	0	2477	0	2477	0	2477	0	162	0	162
1332	BM-131	SOLAPUR	0	782	0	782	0	3213	0	3213	0	3213	0	210	0	210
1333	BM-132	SOLAPUR	0	770	0	770	0	945	0	945	0	945	0	61	0	61
1334	BM-133	SOLAPUR	0	782	0	782	0	22213	0	22213	0	22213	0	1806	0	1806
1335	BM-134	SOLAPUR	0	782	0	782	0	18105	0	18105	0	18105	0	1235	0	1235
1336	BM-135	SOLAPUR	0	782	0	782	0	2323	0	2323	0	2323	0	199	0	199
1337	BM-136	SOLAPUR	0	782	0	782	0	17785	0	17785	0	17785	0	1418	0	1418
1338	BM-137	SOLAPUR	0	782	0	782	0	13443	0	13443	0	13443	0	704	0	704
1339	BM-138	SOLAPUR	0	782	0	782	0	36380	0	36380	0	36380	0	3482	0	3482
1340	BM-139	SOLAPUR	0	770	0	770	0	34595	0	34595	0	34595	0	3310	0	3310
1341	BM-47	SOLAPUR	0	615	0	615	0	8532	0	8532	0	8532	0	351	0	351
1342	BM-62	SOLAPUR	0	615	0	615	0	21701	0	21701	0	21701	0	892	0	892
1343	BM-63	SOLAPUR	0	615	0	615	0	24983	0	24983	0	24983	0	1908	0	1908
1344	BM-64	SOLAPUR	0	615	0	615	0	23013	0	23013	0	23013	0	1758	0	1758
1345	BM-65	SOLAPUR	0	615	0	615	0	17307	0	17307	0	17307	0	1322	0	1322
1346	BM-79	SOLAPUR	662	615	0	618	1756	25924	0	27680	0	27680	117	1980	0	2097
1347	BM-80	SOLAPUR	662	662	0	662	1518	24792	0	26310	0	26310	125	2038	0	2163
1348	BM-87	SOLAPUR	613	613	0	613	2093	5326	0	7419	1113	8532	85	217	0	302
1349	BM-88	SOLAPUR	613	613	0	613	7586	24227	0	31813	2389	34202	573	1829	0	2402

S.No	WATERSHED	District	Rainfall (mm)				Total Geographical Area (ha)						Ground Water Recharge (ham)			
							Recharge Worthy Area (ha)				Hilly Area	Total	Rainfall Recharge			
			C	NC	PQ	Total	C	NC	PQ	Total			C	NC	PQ	Total
1350	BM-89	SOLAPUR	613	613	0	613	10011	19345	0	29356	0	29356	756	1088	0	1843
1351	BM-90	SOLAPUR	613	613	0	613	16870	17094	0	33964	0	33964	1237	888	0	2125
1352	BM-91	SOLAPUR	698	698	0	698	3492	12717	0	16209	0	16209	303	1102	0	1405
1353	BM-92	SOLAPUR	698	698	0	698	5761	15839	0	21600	0	21600	478	1373	0	1851
1354	BM-93	SOLAPUR	662	662	0	662	4703	38385	0	43088	0	43088	208	1699	0	1908
1355	BM-94	SOLAPUR	603	603	0	603	11190	8708	0	19898	0	19898	636	503	0	1139
1356	BM-95	SOLAPUR	603	603	0	603	5559	18518	0	24077	0	24077	224	747	0	971
1357	BM-96	SOLAPUR	698	0	0	698	34415	0	0	34415	0	34415	1606	0	0	1606
1358	BM-97	SOLAPUR	698	698	0	698	4537	27723	0	32260	0	32260	308	2403	0	2711
1359	BM-98	SOLAPUR	698	698	0	698	6997	11127	0	18124	0	18124	327	519	0	846
1360	BM-99	SOLAPUR	613	613	0	613	15393	19327	0	34720	0	34720	1057	1004	0	2061
1361	SA-15	SOLAPUR	0	615	0	615	0	10305	0	10305	0	10305	0	424	0	424
1362	SA-16	SOLAPUR	0	615	0	615	0	11556	0	11556	0	11556	0	475	0	475
1363	SA-20	SOLAPUR	0	615	0	615	0	21378	0	21378	0	21378	0	879	0	879
1364	SA-21	SOLAPUR	0	615	0	615	0	6457	0	6457	0	6457	0	266	0	266
1365	SA-22	SOLAPUR	0	615	0	615	0	24411	0	24411	0	24411	0	1004	0	1004
1366	SA-26	SOLAPUR	0	737	0	737	0	18091	0	18091	829	18920	0	895	0	895
1367	SA-27	SOLAPUR	0	737	0	737	0	27149	0	27149	0	27149	0	1343	0	1343
1368	SA-28	SOLAPUR	0	662	0	662	0	51276	0	51276	0	51276	0	4216	0	4216
1369	SA-29	SOLAPUR	0	662	0	662	0	31023	0	31023	0	31023	0	1373	0	1373
1370	SA-30	SOLAPUR	0	662	0	662	0	17083	0	17083	0	17083	0	1405	0	1405
1371	SA-31	SOLAPUR	0	737	0	737	0	25837	0	25837	0	25837	0	1278	0	1278
1372	SA-32	SOLAPUR	0	737	0	737	0	34986	0	34986	0	34986	0	1731	0	1731
1373	SA-33	SOLAPUR	0	737	0	737	0	22617	0	22617	603	23220	0	1119	0	1119
1374	SA-34	SOLAPUR	0	737	0	737	0	25805	0	25805	0	25805	0	1276	0	1276
1375	SA-35	SOLAPUR	0	770	0	770	0	15656	0	15656	0	15656	0	1498	0	1498

S.No	WATERSHED	District	Rainfall (mm)				Total Geographical Area (ha)						Ground Water Recharge (ham)			
							Recharge Worthy Area (ha)				Hilly Area	Total	Rainfall Recharge			
			C	NC	PQ	Total	C	NC	PQ	Total			C	NC	PQ	Total
1376	SA-36	SOLAPUR	603	603	0	603	2285	9201	0	11486	0	11486	139	587	0	727
1377	SA-37	SOLAPUR	603	603	0	603	3674	22563	0	26237	0	26237	148	910	0	1058
1378	SA-38	SOLAPUR	770	770	0	770	6723	48012	0	54735	0	54735	643	4593	0	5236
1379	SA-39	SOLAPUR	603	603	0	603	9480	19118	0	28598	0	28598	710	1432	0	2142
1380	SA-40	SOLAPUR	0	770	0	770	0	15580	0	15580	0	15580	0	1004	0	1004
1381	SA-41	SOLAPUR	0	770	0	770	0	23690	0	23690	0	23690	0	2266	0	2266
1382	WF-24A	THANE	0	2652	0	2652	0	4155	0	4155	12589	16744	0	267	0	267
1383	WF-27A	THANE	2516	2516	0	2516	113	4025	0	4138	4375	8513	9	245	0	253
1384	WF-28A	THANE	0	2652	0	2652	0	19566	0	19566	7582	27148	0	1569	0	1569
1385	WF-29A	THANE	0	2516	0	2516	0	19429	0	19429	12344	31773	0	1180	0	1180
1386	WF-30	THANE	2652	2652	0	2652	7991	32627	0	40618	56000	96618	513	2093	0	2606
1387	WF-31	THANE	0	2516	0	2516	0	8528	0	8528	3061	11589	0	518	0	518
1388	WF-32	THANE	0	2455	0	2455	0	14536	0	14536	4847	19383	0	862	0	862
1389	WF-33	THANE	2545	2545	0	2545	286	15796	0	16082	10750	26832	18	973	0	991
1390	WF-34	THANE	2432	2432	0	2432	196	19653	0	19849	32150	51999	14	1148	0	1162
1391	WF-35	THANE	2432	2432	0	2432	914	22278	0	23192	8800	31992	53	1301	0	1354
1392	WF-36	THANE	0	2569	0	2569	0	8295	0	8295	4452	12747	0	514	0	514
1393	WF-36 A	THANE	0	2569	0	2569	0	9472	0	9472	9000	18472	0	586	0	586
1394	WF-37	THANE	2455	2455	0	2455	512	9954	0	10466	10493	20959	38	591	0	629
1395	WF-38	THANE	2489	2432	0	2433	481	18030	0	18511	28264	46775	36	1288	0	1324
1396	WF-39	THANE	0	2455	0	2455	0	16610	0	16610	11500	28110	0	986	0	986
1397	WR-23	WARDHA	0	1108	0	1108	0	10149	0	10149	0	10149	0	1284	0	1284
1398	WR-24	WARDHA	0	1108	0	1108	0	7863	0	7863	80	7943	0	729	0	729
1399	WR-25	WARDHA	1096	1096	0	1096	13453	7270	0	20723	40	20763	1490	708	0	2198
1400	WR-26	WARDHA	1096	1096	0	1096	12369	7282	0	19651	0	19651	1370	669	0	2039
1401	WR-27	WARDHA	965	965	0	965	4606	8580	0	13186	4358	17544	426	755	0	1181

S.No	WATERSHED	District	Rainfall (mm)				Total Geographical Area (ha)						Ground Water Recharge (ham)			
							Recharge Worthy Area (ha)				Hilly Area	Total	Rainfall Recharge			
			C	NC	PQ	Total	C	NC	PQ	Total			C	NC	PQ	Total
1402	WR-28	WARDHA	929	929	0	929	12499	1130	0	13629	2341	15970	972	130	0	1102
1403	WRJ-1	WARDHA	0	929	0	929	0	21954	0	21954	3474	25428	0	2534	0	2534
1404	WRJ-4	WARDHA	0	965	0	965	0	2836	0	2836	357	3193	0	341	0	341
1405	WRK-1	WARDHA	965	965	0	965	4685	20174	0	24859	647	25506	390	2178	0	2567
1406	WRK-2	WARDHA	965	965	0	965	1144	10362	0	11506	0	11506	137	1241	0	1377
1407	WRV-1	WARDHA	929	929	0	929	16212	7268	0	23480	5836	29316	1338	565	0	1903
1408	WRV-2	WARDHA	965	965	0	965	3610	1395	0	5005	2588	7593	291	113	0	404
1409	WRV-3	WARDHA	965	965	0	965	4157	18025	0	22182	7003	29185	499	2162	0	2661
1410	WRW-1	WARDHA	0	1108	0	1108	0	9789	0	9789	0	9789	0	1012	0	1012
1411	WRW-2	WARDHA	0	1108	0	1108	0	31379	0	31379	0	31379	0	3022	0	3022
1412	WRW-3	WARDHA	1069	0	0	1069	8652	0	0	8652	76	8728	770	0	0	770
1413	WRW-4	WARDHA	1069	1069	0	1069	13756	1308	0	15064	865	15929	1403	134	0	1537
1414	WRW-5	WARDHA	1133	1133	0	1133	9967	4904	0	14871	30	14901	1057	495	0	1552
1415	WRW-6	WARDHA	1108	1108	0	1108	12315	10296	0	22611	0	22611	1370	1146	0	2516
1416	WRWB-1	WARDHA	0	965	0	965	0	1679	0	1679	421	2100	0	200	0	200
1417	WRWB-2	WARDHA	1069	1069	0	1069	7300	6050	0	13350	7076	20426	811	672	0	1484
1418	WRWB-3	WARDHA	1069	1069	0	1069	9059	1934	0	10993	729	11722	806	172	0	978
1419	WRWBD-1	WARDHA	1027	1027	0	1027	8713	7205	0	15918	20	15938	1090	732	0	1822
1420	WRWBD-2	WARDHA	1027	1027	0	1027	5407	26265	0	31672	800	32472	578	2269	0	2847
1421	WRWBD-3	WARDHA	0	965	0	965	0	13097	0	13097	180	13277	0	1194	0	1194
1422	WRWBD-4	WARDHA	965	965	0	965	1872	13211	0	15083	7324	22407	225	1118	0	1343
1423	WRWBD-5	WARDHA	1069	965	0	984	2001	8974	0	10975	2017	12992	178	721	0	899
1424	WRWBD-6	WARDHA	1069	1069	0	1069	8892	3312	0	12204	1232	13436	791	295	0	1086
1425	WRWBD-7	WARDHA	1069	1069	0	1069	534	4332	0	4866	40	4906	53	456	0	509
1426	WRWN-3	WARDHA	1133	1133	0	1133	5368	6987	0	12355	0	12355	509	774	0	1282
1427	WRWP-1	WARDHA	1133	1133	0	1133	4882	24626	0	29508	0	29508	463	3471	0	3933

S.No	WATERSHED	District	Rainfall (mm)				Total Geographical Area (ha)						Ground Water Recharge (ham)			
							Recharge Worthy Area (ha)				Hilly Area	Total	Rainfall Recharge			
			C	NC	PQ	Total	C	NC	PQ	Total			C	NC	PQ	Total
1428	WRWP-2	WARDHA	1108	1108	0	1108	5401	3713	0	9114	0	9114	501	511	0	1012
1429	WRWPL-1	WARDHA	0	1133	0	1133	0	13911	0	13911	335	14246	0	1592	0	1592
1430	WRY-1	WARDHA	1096	1096	0	1096	8747	12072	0	20819	0	20819	1190	1390	0	2580
1431	WRY-2	WARDHA	1027	1027	0	1027	8889	16855	0	25744	1965	27709	1132	1456	0	2588
1432	WRY-3	WARDHA	0	1027	0	1027	0	4071	0	4071	50	4121	0	518	0	518
1433	WRY-4	WARDHA	0	1027	0	1027	0	16154	0	16154	0	16154	0	2056	0	2056
1434	WRY-5	WARDHA	0	1108	0	1108	0	6258	0	6258	0	6258	0	842	0	842
1435	WRY-6	WARDHA	1096	1096	0	1096	9638	4418	0	14056	0	14056	1180	585	0	1765
1436	GP-3	WASHIM	924	924	0	924	512	4547	0	5059	1212	6271	61	543	0	604
1437	GP-4	WASHIM	0	924	0	924	0	1295	0	1295	116	1411	0	155	0	155
1438	PG-22	WASHIM	916	916	0	916	1646	23810	0	25456	2036	27492	177	2043	0	2220
1439	PG-23	WASHIM	916	916	0	916	3052	20888	0	23940	376	24316	194	1331	0	1525
1440	PG-24	WASHIM	924	924	0	924	770	8174	0	8944	0	8944	92	814	0	906
1441	PG-5	WASHIM	0	924	0	924	0	1212	0	1212	0	1212	0	145	0	145
1442	PG-6	WASHIM	924	924	0	924	30	11195	0	11225	1023	12248	3	1337	0	1340
1443	PG-7	WASHIM	0	924	0	924	0	1697	0	1697	0	1697	0	203	0	203
1444	PG-8	WASHIM	924	924	0	924	837	23772	0	24609	187	24796	100	2839	0	2939
1445	PG-9	WASHIM	924	924	0	924	352	4297	0	4649	0	4649	28	342	0	370
1446	PGA-1	WASHIM	864	864	0	864	2783	26637	0	29420	716	30136	300	2871	0	3171
1447	PGA-2	WASHIM	836	836	0	836	160	10973	0	11133	2154	13287	15	975	0	990
1448	PGA-3	WASHIM	864	864	0	864	2314	32468	0	34782	984	35766	212	3500	0	3711
1449	PGA-4	WASHIM	840	840	0	840	954	9093	0	10047	1018	11065	80	965	0	1044
1450	PGAA-1	WASHIM	840	840	0	840	506	10970	0	11476	840	12316	48	776	0	824
1451	PGAA-2	WASHIM	840	840	0	840	911	9353	0	10264	809	11073	64	661	0	726
1452	PGAA-3	WASHIM	840	840	0	840	3057	21489	0	24546	3139	27685	277	2276	0	2554
1453	PGAA-4	WASHIM	840	840	0	840	548	14175	0	14723	0	14723	58	1002	0	1061

S.No	WATERSHED	District	Rainfall (mm)				Total Geographical Area (ha)						Ground Water Recharge (ham)			
							Recharge Worthy Area (ha)				Hilly Area	Total	Rainfall Recharge			
			C	NC	PQ	Total	C	NC	PQ	Total			C	NC	PQ	Total
1454	PGAK-1	WASHIM	840	840	0	840	451	2572	0	3023	0	3023	32	205	0	237
1455	PGD-1	WASHIM	1076	1076	0	1076	570	28065	0	28635	8	28643	41	2026	0	2067
1456	PGKA-1	WASHIM	924	924	0	924	155	18245	0	18400	0	18400	12	2179	0	2191
1457	PGP-1	WASHIM	916	916	0	916	1319	23665	0	24984	854	25838	119	2517	0	2636
1458	PGP-2	WASHIM	864	864	0	864	818	16429	0	17247	6192	23439	88	1771	0	1859
1459	PTK-2 B	WASHIM	1076	1076	0	1076	863	12973	0	13836	760	14596	62	937	0	999
1460	PTK-3 B	WASHIM	1076	1076	0	1076	1672	24499	0	26171	1903	28074	121	1769	0	1889
1461	PTK-4 B	WASHIM	0	864	0	864	0	106	0	106	1983	2089	0	8	0	8
1462	PTKP-1 B	WASHIM	864	864	0	864	400	5744	0	6144	147	6291	29	516	0	545
1463	PTMN-1 B	WASHIM	0	1076	0	1076	0	6827	0	6827	3724	10551	0	493	0	493
1464	PTR-3 B	WASHIM	1076	1076	0	1076	921	9694	0	10615	2765	13380	66	700	0	766
1465	PTU-1 B	WASHIM	836	836	0	836	635	10931	0	11566	1188	12754	30	618	0	648
1466	PTU-2 B	WASHIM	836	836	0	836	40	9204	0	9244	0	9244	2	434	0	436
1467	WRB-2	WASHIM	836	836	0	836	321	12072	0	12393	0	12393	33	845	0	879
1468	WRB-3	WASHIM	836	836	0	836	750	28639	0	29389	0	29389	79	2006	0	2084
1469	WRB-4	WASHIM	0	836	0	836	0	3743	0	3743	0	3743	0	343	0	343
1470	WRB-5	WASHIM	0	836	0	836	0	4396	0	4396	10	4406	0	453	0	453
1471	PG-1	YAWATMAL	920	920	0	920	2596	26796	0	29393	7511	36904	248	3051	0	3300
1472	PG-10	YAWATMAL	0	1111	0	1111	0	9593	0	9593	4814	14407	0	898	0	898
1473	PG-11	YAWATMAL	1141	1141	0	1141	206	24976	0	25183	7332	32514	13	1629	0	1642
1474	PG-12	YAWATMAL	0	1080	0	1080	0	9181	0	9181	1671	10852	0	1136	0	1136
1475	PG-2	YAWATMAL	952	952	0	952	15253	12155	0	27408	3244	30652	1509	973	0	2482
1476	PG-3	YAWATMAL	952	952	0	952	1569	15273	0	16842	687	17528	176	1800	0	1977
1477	PG-4	YAWATMAL	952	952	0	952	666	14771	0	15437	7798	23235	79	1741	0	1820
1478	PG-5	YAWATMAL	952	952	0	952	4995	15188	0	20183	4698	24882	494	1790	0	2285
1479	PG-6	YAWATMAL	952	952	0	952	2241	15656	0	17897	7200	25096	222	1691	0	1913

S.No	WATERSHED	District	Rainfall (mm)				Total Geographical Area (ha)						Ground Water Recharge (ham)			
							Recharge Worthy Area (ha)				Hilly Area	Total	Rainfall Recharge			
			C	NC	PQ	Total	C	NC	PQ	Total			C	NC	PQ	Total
1480	PG-7	YAWATMAL	0	952	0	952	0	14073	0	14073	10221	24294	0	1659	0	1659
1481	PG-8	YAWATMAL	0	947	0	947	0	14796	0	14796	4353	19148	0	1711	0	1711
1482	PG-9	YAWATMAL	0	1101	0	1101	0	4075	0	4075	2084	6159	0	378	0	378
1483	PGA-1	YAWATMAL	889	889	0	889	2367	20271	0	22639	1550	24189	219	1521	0	1740
1484	PGA-2	YAWATMAL	914	914	0	914	3048	18570	0	21617	1552	23169	290	1431	0	1721
1485	PGA-3	YAWATMAL	914	914	0	914	2039	22468	0	24507	3188	27695	161	1976	0	2137
1486	PGA-4	YAWATMAL	889	889	0	889	2673	24649	0	27322	5203	32525	247	1947	0	2194
1487	PGA-5	YAWATMAL	1113	1113	0	1113	6928	12313	0	19241	3570	22811	659	1166	0	1826
1488	PGA-6	YAWATMAL	947	947	0	947	5978	11538	0	17516	2951	20467	532	941	0	1473
1489	PGA-7	YAWATMAL	1113	1113	0	1113	6125	11317	0	17442	5417	22860	580	1072	0	1652
1490	PGA-8	YAWATMAL	1101	1101	0	1101	2982	18380	0	21362	3339	24701	277	1705	0	1981
1491	PGA-9	YAWATMAL	947	947	0	947	1005	11168	0	12173	3293	15466	0	891	0	891
1492	PGAA-1	YAWATMAL	0	932	0	932	0	10505	0	10505	1740	12245	0	910	0	910
1493	PGAA-2	YAWATMAL	932	932	0	932	6038	9573	0	15611	2385	17996	473	841	0	1314
1494	PGAA-3	YAWATMAL	932	932	0	932	4738	10421	0	15159	4646	19805	459	816	0	1275
1495	PGAA-4	YAWATMAL	947	947	0	947	8276	12670	0	20946	6279	27226	738	1060	0	1798
1496	PGAA-5	YAWATMAL	947	947	0	947	4777	7652	0	12429	4132	16561	381	610	0	991
1497	PGD--	YAWATMAL	947	947	0	947	1778	15735	0	17513	4847	22360	175	1470	0	1645
1498	PGK-1	YAWATMAL	1111	1111	0	1111	4425	19189	0	23614	2688	26302	327	1420	0	1748
1499	PGK-2	YAWATMAL	1074	1074	0	1074	719	10085	0	10804	1184	11988	65	912	0	977
1500	PGK-3	YAWATMAL	1111	1111	0	1111	9323	14072	0	23394	3785	27179	873	1318	0	2191
1501	PGK-4	YAWATMAL	1111	1111	0	1111	5926	18079	0	24005	3997	28001	555	1693	0	2248
1502	PGK-5	YAWATMAL	1111	1111	0	1111	1220	11107	0	12328	1870	14198	114	1040	0	1154
1503	PGK-6	YAWATMAL	1111	1111	0	1111	388	17614	0	18002	3117	21119	36	1650	0	1686
1504	PGK-7	YAWATMAL	1141	1141	0	1141	479	18300	0	18779	2165	20943	57	1759	0	1815
1505	PGP-1	YAWATMAL	0	920	0	920	0	10862	0	10862	3513	14375	0	842	0	842

S.No	WATERSHED	District	Rainfall (mm)				Total Geographical Area (ha)						Ground Water Recharge (ham)			
							Recharge Worthy Area (ha)				Hilly Area	Total	Rainfall Recharge			
			C	NC	PQ	Total	C	NC	PQ	Total			C	NC	PQ	Total
1506	PGP-2	YAWATMAL	920	920	0	920	14311	14706	0	29017	4920	33937	1109	1140	0	2250
1507	PGP-3	YAWATMAL	920	920	0	920	7986	26827	0	34812	7111	41924	666	2080	0	2746
1508	PGP-4	YAWATMAL	956	956	0	956	5410	12502	0	17912	7554	25467	344	795	0	1139
1509	PGP-5	YAWATMAL	956	956	0	956	4819	16283	0	21103	4764	25867	389	1452	0	1841
1510	PGV-1	YAWATMAL	1080	1080	0	1080	3508	7370	0	10878	1190	12067	217	456	0	673
1511	PGV-2	YAWATMAL	0	1141	0	1141	0	5546	0	5546	3240	8785	0	362	0	362
1512	PGV-3	YAWATMAL	1141	1141	0	1141	930	16530	0	17460	2278	19739	116	2156	0	2273
1513	PGW-1	YAWATMAL	1113	1113	0	1113	5813	11584	0	17398	2524	19921	297	853	0	1150
1514	PGW-2	YAWATMAL	1113	1113	0	1113	2020	11555	0	13575	2241	15816	149	851	0	1000
1515	PGW-3	YAWATMAL	1113	1113	0	1113	504	13363	0	13867	3311	17178	31	898	0	929
1516	PGW-4	YAWATMAL	0	1101	0	1101	0	15155	0	15155	4430	19584	0	985	0	985
1517	PGW-5	YAWATMAL	1101	1101	0	1101	4738	8368	0	13106	1919	15025	439	1140	0	1579
1518	WR-1	YAWATMAL	0	1113	0	1113	0	3178	0	3178	6	3184	0	301	0	301
1519	WR-2	YAWATMAL	1074	1074	0	1074	1212	17377	0	18589	4395	22984	135	1571	0	1707
1520	WR-3	YAWATMAL	1074	1074	0	1074	1688	18147	0	19834	2052	21886	153	1641	0	1794
1521	WR-4	YAWATMAL	1103	1103	0	1103	3373	18863	0	22235	3216	25452	357	2163	0	2521
1522	WR-5	YAWATMAL	1103	1103	0	1103	3361	19552	0	22913	3838	26752	313	1819	0	2132
1523	WR-6	YAWATMAL	956	956	0	956	10489	14469	0	24958	850	25809	561	920	0	1482
1524	WR-7	YAWATMAL	956	956	0	956	1153	22280	0	23433	1028	24460	53	1215	0	1268
1525	WR-8	YAWATMAL	0	1080	0	1080	0	8632	0	8632	66	8698	0	1068	0	1068
1526	WRB-1	YAWATMAL	889	889	0	889	805	19937	0	20742	1172	21913	73	1496	0	1569
1527	WRB-2	YAWATMAL	0	889	0	889	0	4657	0	4657	16	4674	0	275	0	275
1528	WRB-3	YAWATMAL	0	933	0	933	0	10520	0	10520	764	11283	0	651	0	651
1529	WRB-4	YAWATMAL	0	1113	0	1113	0	17720	0	17720	156	17876	0	1862	0	1862
1530	WRB-5	YAWATMAL	1113	1113	0	1113	2261	20982	0	23242	3916	27158	262	1988	0	2249
1531	WRB-6	YAWATMAL	933	933	0	933	3334	6812	0	10146	1966	12112	264	708	0	972

S.No	WATERSHED	District	Rainfall (mm)				Total Geographical Area (ha)						Ground Water Recharge (ham)			
							Recharge Worthy Area (ha)				Hilly Area	Total	Rainfall Recharge			
			C	NC	PQ	Total	C	NC	PQ	Total			C	NC	PQ	Total
1532	WRBM--	YAWATMAL	889	889	0	889	1977	20471	0	22448	1568	24017	117	1211	0	1328
1533	WRN-1	YAWATMAL	0	1080	0	1080	0	19249	0	19249	2948	22196	0	2381	0	2381
1534	WRN-2	YAWATMAL	956	956	0	956	5325	34587	0	39912	2672	42584	339	2200	0	2539
TOTAL			**844**	**1061.9**	**690**	**1025.8**	**3831484.5**	**21860471.8**	**278614.1**	**25970570.4**	**4718173.4**	**30688743.9**	**301594.8**	**1841055.5**	**17896.**	**2160546.6**

Annexure-A-II: GENERAL DESCRIPTION OF THE GROUND WATER ASSESSMENT UNIT WATERSHED WISE 2023

S.No	BASIN	WATER SHED	District	Annual Extractable Ground water Resource (ham)				Ground Water Extraction for all uses (ha.m)												Stage of Ground Water Extraction (%)				Categorization of Assessment Unit				Allocation of Ground Water Resource for Domestic Utilisation for projected year 2025 (ham)				Net Annual Ground Water Availability for Future Use (ham)			
								Domestic				Industrial				Irrigation																			
				C	NC	PQ	Total	C	NC	PQ	Total	C	NC	PQ	Total	C	NC	PQ	Total	C	NC	PQ	Total	C	NC	PQ	Total	C	NC	PQ	Total	C	NC	PQ	Total
1	BM	BM-1	AHMEDNAGAR	656.1	3708.2	0	4364.3	12.6	87.3		99.9	0.0	0.0		0.0	377.6	1552.5		1930.2	59.5	44.2		46.5	safe	safe		safe	12.6	87.4	0.0	99.9	265.9	2068.3	0.0	2334.2
2	BM	BM-14	AHMEDNAGAR	0.0	287.9	0	287.9		39.4		39.4		0.0		0.0		102.1		102.1		49.2		49.2		safe		safe	0.0	39.4	0.0	39.4	0.0	146.4	0.0	146.4
3	BM	BM-15	AHMEDNAGAR	0.0	1370.5	0	1370.5		49.1		49.1		0.0		0.0		1319.4		1319.4		99.9		99.9		critical		critical	0.0	49.1	0.0	49.1	0.0	2.0	0.0	2.0
4	BM	BM-16	AHMEDNAGAR	78.3	1267.8	0	1346.2	6.3	43.1		49.4	0.0	0.0		0.0	46.4	671.1		717.5	67.2	56.3		57.0	safe	safe		safe	6.3	43.1	0.0	49.4	25.7	553.6	0.0	579.3
5	BM	BM-28	AHMEDNAGAR	0.0	1047.6	0	1047.6		45.7		45.7		0.0		0.0		225.0		225.0		25.8		25.8		safe		safe	0.0	45.7	0.0	45.7	0.0	777.0	0.0	777.0
6	BM	BM-29	AHMEDNAGAR	268.7	2824.4	0	3093.1	18.1	83.8		101.9	0.0	0.0		0.0	81.1	1876.9		1958.0	36.9	69.4		66.6	safe	safe		safe	18.1	83.8	0.0	101.9	169.5	863.7	0.0	1033.2
7	BM	BM-30	AHMEDNAGAR	364.5	3541.7	0	3906.2		150.9		150.9		0.0		0.0		3032.3		3032.3		89.9		81.5		semi_critical		semi_critical	0.0	150.9	0.0	150.9	364.5	358.6	0.0	723.1
8	BM	BM-31	AHMEDNAGAR	82.9	2534.1	0	2617.0		64.0		64.0		0.0		0.0		1812.9		1812.9		74.1		71.7		semi_critical		semi_critical	0.0	64.0	0.0	64.0	82.9	657.2	0.0	740.1
9	BM	BM-32	AHMEDNAGAR	0.0	1683.3	0	1683.3		56.6		56.6		0.0		0.0		1398.1		1398.1		86.4		86.4		semi_critical		semi_critical	0.0	56.6	0.0	56.6	0.0	228.6	0.0	228.6
10	BM	BM-33	AHMEDNAGAR	0.0	794.2	0	794.2		62.8		62.8		0.0		0.0		450.9		450.9		64.7		64.7		safe		safe	0.0	62.8	0.0	62.8	0.0	280.5	0.0	280.5
11	BM	BM-47	AHMEDNAGAR	697.0	2082.2	0	2779.1	57.3	52.3		109.6	0.0	0.0		0.0	335.2	938.5		1273.7	56.3	47.6		49.8	safe	safe		safe	57.3	52.3	0.0	109.6	304.5	1091.3	0.0	1395.8
12	BM	BM-5	AHMEDNAGAR	972.3	1596.9	0	2569.2		117.2		117.2		0.0		0.0		1523.2		1523.2		102.7		63.9		over_exploited		safe	0.0	117.2	0.0	117.2	972.3	0.0	0.0	972.3
13	GV	GV-100	AHMEDNAGAR	0.0	285.2	0	285.2		7.3		7.3		0.0		0.0		228.7		228.7		82.8		82.8		semi_critical		semi_critical	0.0	7.3	0.0	7.3	0.0	49.2	0.0	49.2
14	GV	GV-101	AHMEDNAGAR	128.2	1404.1	0	1532.3		36.7		36.7		0.0		0.0		1158.5		1158.5		85.1		78.0		semi_critical		semi_critical	0.0	36.7	0.0	36.7	128.2	208.9	0.0	337.1
15	GV	GV-102	AHMEDNAGAR	0.0	2350.7	0	2350.7		81.8		81.8		0.0		0.0		1532.5		1532.5		68.7		68.7		safe		safe	0.0	81.8	0.0	81.8	0.0	736.5	0.0	736.5
16	GV	GV-103	AHMEDNAGAR	1413.2	3674.5	0	5087.7	48.0	104.0		151.9	0.0	0.0		0.0	1100.1	2331.4		3431.4	81.2	66.3		70.4	semi_critical	safe		semi_critical	48.0	104.0	0.0	151.9	265.2	1239.2	0.0	1504.4
17	GV	GV-104	AHMEDNAGAR	1708.1	1287.6	0	2995.7	34.6	42.8		77.4	0.0	0.0		0.0	632.1	1061.2		1693.3	39.0	85.7		59.1	safe	semi_critical		safe	34.6	42.8	0.0	77.4	1041.4	183.6	0.0	1225.0
18	GV	GV-105	AHMEDNAGAR	846.9	1330.3	0	2177.1	37.8	25.4		63.1	0.0	0.0		0.0	648.1	851.8		1499.9	81.0	65.9		71.8	semi_critical	safe		semi_critical	37.8	25.4	0.0	63.2	161.0	453.2	0.0	614.1
19	GV	GV-106	AHMEDNAGAR	196.4	2589.8	0	2786.2	13.0	71.1		84.1	0.0	0.0		0.0	89.3	1097.6		1187.0	52.1	45.1		45.6	safe	safe		safe	13.0	71.1	0.0	84.1	94.0	1421.1	0.0	1515.2
20	GV	GV-107	AHMEDNAGAR	216.3	1158.4	0	1374.7	31.0	51.3		82.3	0.0	0.0		0.0	206.7	720.0		926.7	109.9	66.6		73.4	over_exploited	safe		semi_critical	31.0	51.3	0.0	82.3	0.0	387.1	0.0	387.1
21	GV	GV-108	AHMEDNAGAR	402.0	1470.8	0	1872.8		76.1		76.1		0.0		0.0		1231.9		1231.9		88.9		69.8		semi_critical		safe	0.0	76.1	0.0	76.1	402.0	162.8	0.0	564.8
22	GV	GV-109	AHMEDNAGAR	0.0	1073.4	0	1073.4		30.9		30.9		0.0		0.0		1044.6		1044.6		100.2		100.2		over_exploited		over_exploited	0.0	30.9	0.0	30.9	0.0	0.0	0.0	0.0
23	GV	GV-110	AHMEDNAGAR	63.1	68.9	0	132.0	1.9	3.5		5.4	0.0	0.0		0.0	30.2	37.4		67.6	50.8	59.5		55.3	safe	safe		safe	1.9	3.5	0.0	5.4	31.1	27.9	0.0	59.0
24	GV	GV-111	AHMEDNAGAR	0.0	1554.4	0	1554.4		81.8		81.8		0.0		0.0		1292.0		1292.0		88.4		88.4		semi_critical		semi_critical	0.0	81.8	0.0	81.8	0.0	180.6	0.0	180.6

S.No	BASIN	WATER SHED	District	Annual Extractable Ground water Resource (ham)				Ground Water Extraction for all uses (ha.m)												Stage of Ground Water Extraction (%)				Categorization of Assessment Unit				Allocation of Ground Water Resource for Domestic Utilisation for projected year 2025 (ham)				Net Annual Ground Water Availability for Future Use (ham)			
								Domestic				Industrial				Irrigation																			
				C	NC	PQ	Total	C	NC	PQ	Total	C	NC	PQ	Total	C	NC	PQ	Total	C	NC	PQ	Total	C	NC	PQ	Total	C	NC	PQ	Total	C	NC	PQ	Total
25	GV	GV-112	AHMEDNAGAR	2466.7	645.5	0	3112.2	160.3	13.5		173.8	0.0	0.0		0.0	1781.5	227.1		2008.6	78.7	37.3		70.1	semi_critical	safe		semi_critical	160.3	13.5	0.0	173.8	524.9	404.8	0.0	929.8
26	GV	GV-113	AHMEDNAGAR	4831.8	733.9	0	5565.7	172.9	8.9		181.9	0.0	0.0		0.0	2222.3	167.9		2390.2	49.6	24.1		46.2	safe	safe		safe	172.9	8.9	0.0	181.9	2436.6	557.1	0.0	2993.7
27	GV	GV-114	AHMEDNAGAR	0.0	1146.5	0	1146.5		41.6		41.6		0.0		0.0		954.3		954.3		86.9		86.9		semi_critical		semi_critical	0.0	41.6	0.0	41.6	0.0	150.6	0.0	150.6
28	GV	GV-115	AHMEDNAGAR	428.5	353.0	0	781.4	15.6	12.1		27.7	0.0	0.0		0.0	338.2	232.0		570.2	82.6	69.1		76.5	semi_critical	safe		semi_critical	15.6	12.1	0.0	27.7	74.6	108.9	0.0	183.5
29	GV	GV-116	AHMEDNAGAR	1375.9	2023.1	0	3399.0	118.1	112.3		230.4	0.0	0.0		0.0	685.2	1300.5		1985.6	58.4	69.8		65.2	safe	safe		safe	118.1	112.3	0.0	230.4	572.6	610.4	0.0	1182.9
30	GV	GV-117	AHMEDNAGAR	458.5	613.4	0	1071.9	4.1	20.6		24.7	0.0	0.0		0.0	337.6	302.3		639.9	74.5	52.7		62.0	semi_critical	safe		safe	4.1	20.6	0.0	24.7	116.9	290.4	0.0	407.3
31	GV	GV-118	AHMEDNAGAR	1392.5	694.7	0	2087.2	21.9	22.6		44.5	0.0	0.0		0.0	651.4	254.8		906.2	48.4	39.9		45.6	safe	safe		safe	21.9	22.6	0.0	44.5	719.2	417.2	0.0	1136.4
32	GV	GV-119	AHMEDNAGAR	0.0	1174.9	0	1174.9		46.9		46.9		0.0		0.0		1030.5		1030.5		91.7		91.7		critical		critical	0.0	46.9	0.0	46.9	0.0	97.5	0.0	97.5
33	GV	GV-120	AHMEDNAGAR	3317.4	1335.3	0	4652.6	45.2	43.1		88.3	0.0	0.0		0.0	1011.9	1157.9		2169.7	31.9	89.9		48.5	safe	semi_critical		safe	45.2	43.1	0.0	88.3	2260.3	134.3	0.0	2394.6
34	GV	GV-121	AHMEDNAGAR	1050.6	574.9	0	1625.5	15.5	80.7		96.2	0.0	0.0		0.0	368.5	451.4		819.9	36.5	92.5		56.4	safe	critical		safe	15.5	80.7	0.0	96.2	666.6	42.9	0.0	709.5
35	GV	GV-122	AHMEDNAGAR	0.0	2220.0	0	2220.0		114.2		114.2		0.0		0.0		1892.0		1892.0		90.4		90.4		critical		critical	0.0	114.3	0.0	114.3	0.0	213.8	0.0	213.8
36	GV	GV-123	AHMEDNAGAR	3161.4	1435.3	0	4596.6	84.6	76.7		161.4	0.0	0.0		0.0	1785.5	1714.9		3500.4	59.2	124.8		79.7	safe	over_exploited		semi_critical	84.6	76.7	0.0	161.4	1291.2	0.0	0.0	1291.2
37	GV	GV-124	AHMEDNAGAR	0.0	633.0	0	633.0		12.4		12.4		0.0		0.0		387.5		387.5		63.2		63.2		safe		safe	0.0	12.4	0.0	12.4	0.0	233.1	0.0	233.1
38	GV	GV-125	AHMEDNAGAR	955.3	2258.4	0	3213.7	28.0	43.8		71.8	0.0	0.0		0.0	629.3	1123.3		1752.6	68.8	51.7		56.8	safe	safe		safe	28.0	43.8	0.0	71.8	298.0	1091.3	0.0	1389.3
39	GV	GV-126	AHMEDNAGAR	0.0	3293.7	0	3293.7		77.9		77.9		0.0		0.0		2606.7		2606.7		81.5		81.5		semi_critical		semi_critical	0.0	77.9	0.0	77.9	0.0	609.1	0.0	609.1
40	GV	GV-127	AHMEDNAGAR	84.8	4725.5	0	4810.3	18.0	81.8		99.9	0.0	0.0		0.0	27.4	2212.9		2240.3	53.6	48.6		48.7	safe	safe		safe	18.1	81.8	0.0	99.9	39.3	2430.7	0.0	2470.0
41	GV	GV-128	AHMEDNAGAR	55.5	983.6	0	1039.1		26.0		26.0		0.0		0.0		518.6		518.6		55.4		52.4		safe		safe	0.0	26.0	0.0	26.0	55.5	439.1	0.0	494.6
42	GV	GV-129	AHMEDNAGAR	215.0	836.7	0	1051.7		34.9		34.9		0.0		0.0		877.9		877.9		109.1		86.8		over_exploited		semi_critical	0.0	34.9	0.0	34.9	215.0	0.0	0.0	215.0
43	GV	GV-130	AHMEDNAGAR	0.0	196.3	0	196.3		6.4		6.4		0.0		0.0		138.9		138.9		74.1		74.1		semi_critical		semi_critical	0.0	6.4	0.0	6.4	0.0	50.9	0.0	50.9
44	GV	GV-131	AHMEDNAGAR	0.0	253.8	0	253.8		6.3		6.3		0.0		0.0		219.0		219.0		88.8		88.8		semi_critical		semi_critical	0.0	6.3	0.0	6.3	0.0	28.5	0.0	28.5
45	GV	GV-132	AHMEDNAGAR	0.0	90.6	0	90.6		16.6		16.6		0.0		0.0		91.3		91.3		119.1		119.1		over_exploited		over_exploited	0.0	16.6	0.0	16.6	0.0	0.0	0.0	0.0
46	GV	GV-134	AHMEDNAGAR	0.0	1996.8	0	1996.8		69.8		69.8		0.0		0.0		799.2		799.2		43.5		43.5		safe		safe	0.0	69.8	0.0	69.8	0.0	1127.7	0.0	1127.7
47	GV	GV-135	AHMEDNAGAR	0.0	1478.9	0	1478.9		69.4		69.4		0.4		0.4		728.3		728.3		54.0		54.0		safe		safe	0.0	69.4	0.0	69.4	0.0	680.8	0.0	680.8
48	GV	GV-136	AHMEDNAGAR	0.0	245.8	0	245.8		14.9		14.9		0.0		0.0		155.7		155.7		69.4		69.4		safe		safe	0.0	14.9	0.0	14.9	0.0	75.1	0.0	75.1
49	GV	GV-137	AHMEDNAGAR	0.0	1672.0	0	1672.0		64.4		64.4		0.0		0.0		941.8		941.8		60.2		60.2		safe		safe	0.0	64.4	0.0	64.4	0.0	665.9	0.0	665.9

S.No	BASIN	WATER SHED	District	Annual Extractable Ground water Resource (ham)				Ground Water Extraction for all uses (ha.m)												Stage of Ground Water Extraction (%)				Categorization of Assessment Unit				Allocation of Ground Water Resource for Domestic Utilisation for projected year 2025 (ham)				Net Annual Ground Water Availability for Future Use (ham)			
								Domestic				Industrial				Irrigation																			
				C	NC	PQ	Total	C	NC	PQ	Total	C	NC	PQ	Total	C	NC	PQ	Total	C	NC	PQ	Total	C	NC	PQ	Total	C	NC	PQ	Total	C	NC	PQ	Total
50	GV	GV-18	AHMEDNAGAR	0.0	849.9	0	849.9		54.1		54.1		0.0		0.0		684.1		684.1		86.9		86.9		semi_critical		semi_critical	0.0	54.1	0.0	54.1	0.0	111.7	0.0	111.7
51	GV	GV-22 A	AHMEDNAGAR	0.0	3908.7	0	3908.7		130.4		130.4		0.0		0.0		1914.8		1914.8		52.3		52.3		safe		safe	0.0	130.4	0.0	130.4	0.0	1863.6	0.0	1863.6
52	GV	GV-25 B	AHMEDNAGAR	352.1	3609.3	0	3961.5		122.5		122.5		0.0		0.0		1707.0		1707.0		50.7		46.2		safe		safe	0.0	122.5	0.0	122.5	352.1	1779.8	0.0	2131.9
53	GV	GV-26 B	AHMEDNAGAR	2063.7	818.1	0	2881.8	67.7	77.7		145.5	0.0	0.0		0.0	477.1	381.5		858.6	26.4	56.1		34.8	safe	safe		safe	67.7	77.8	0.0	145.5	1518.9	358.8	0.0	1877.7
54	GV	GV-28 B	AHMEDNAGAR	0.0	3180.1	0	3180.1		102.0		102.0		0.0		0.0		1630.1		1630.1		54.5		54.5		safe		safe	0.0	102.0	0.0	102.0	0.0	1448.0	0.0	1448.0
55	GV	GV-29 B	AHMEDNAGAR	1741.7	523.2	0	2265.0	73.9	47.6		121.5	0.0	0.0		0.0	1141.8	255.0		1396.7	69.8	57.8		67.0	safe	safe		safe	73.9	47.6	0.0	121.5	526.1	220.7	0.0	746.7
56	GV	GV-31 B	AHMEDNAGAR	593.3	2670.4	0	3263.6		78.1		78.1		0.0		0.0		1848.6		1848.6		72.2		59.0		semi_critical		safe	0.0	78.1	0.0	78.1	593.3	743.7	0.0	1336.9
57	GV	GV-32 B	AHMEDNAGAR	399.1	2199.2	0	2598.3	88.6	362.3		450.9	0.0	0.0		0.0	598.6	3128.0		3726.6	172.2	158.7		160.8	over_exploited	over_exploited		over_exploited	88.6	362.3	0.0	450.9	0.0	0.0	0.0	0.0
58	GV	GV-33 A	AHMEDNAGAR	1136.8	1358.7	0	2495.5	70.1	60.8		131.0	0.0	0.0		0.0	982.9	857.6		1840.5	92.6	67.6		79.0	critical	safe		semi_critical	70.1	60.8	0.0	131.0	83.7	440.3	0.0	524.0
59	GV	GV-37 A	AHMEDNAGAR	25.2	1785.8	0	1811.0	9.9	63.2		73.1	0.0	0.0		0.0	15.0	990.4		1005.3	98.8	59.0		59.5	critical	safe		safe	9.9	63.2	0.0	73.1	0.3	732.3	0.0	732.6
60	GV	GV-38 B	AHMEDNAGAR	657.9	861.9	0	1519.8	24.6	58.2		82.8	0.0	0.0		0.0	456.0	389.5		845.5	73.1	51.9		61.1	semi_critical	safe		safe	24.6	58.2	0.0	82.8	177.2	414.3	0.0	591.5
61	GV	GV-56	AHMEDNAGAR	1599.5	1139.5	0	2739.0	52.0	93.0		145.0	0.0	0.0		0.0	1381.2	878.4		2259.6	89.6	85.3		87.8	semi_critical	semi_critical		semi_critical	52.0	93.1	0.0	145.0	166.4	168.1	0.0	334.4
62	GV	GV-57	AHMEDNAGAR	476.8	2287.5	0	2764.3	156.4	81.6		237.9	0.0	0.0		0.0	275.1	1394.9		1670.0	90.5	64.5		69.0	critical	safe		safe	156.4	81.6	0.0	237.9	45.4	811.0	0.0	856.4
63	GV	GV-58	AHMEDNAGAR	169.4	2216.1	0	2385.5		201.4		201.4		0.0		0.0		1450.2		1450.2		74.5		69.2		semi_critical		safe	0.0	201.4	0.0	201.4	169.4	564.6	0.0	734.0
64	SA	SA-1	AHMEDNAGAR	131.2	2216.1	0	2347.3		189.1		189.1		0.0		0.0		1381.3		1381.3		70.9		66.9		semi_critical		safe	0.0	189.1	0.0	189.1	131.2	645.7	0.0	776.9
65	SA	SA-10	AHMEDNAGAR	16.8	2832.6	0	2849.4		36.8		36.8		0.0		0.0		457.2		457.2		17.4		17.3		safe		safe	0.0	36.8	0.0	36.8	16.8	2338.6	0.0	2355.3
66	SA	SA-11	AHMEDNAGAR	113.7	1974.2	0	2087.9		101.0		101.0		0.0		0.0		1201.7		1201.7		66.0		62.4		safe		safe	0.0	101.0	0.0	101.0	113.7	671.5	0.0	785.1
67	SA	SA-12	AHMEDNAGAR	1730.2	1124.0	0	2854.2	93.3	120.4		213.7	0.0	0.0		0.0	1096.5	1003.5		2099.9	68.8	100.0		81.1	safe	critical		semi_critical	93.3	120.4	0.0	213.7	540.4	0.2	0.0	540.6
68	SA	SA-14	AHMEDNAGAR	202.2	1790.1	0	1992.3		73.7		73.7		0.0		0.0		1691.5		1691.5		98.6		88.6		critical		semi_critical	0.0	73.7	0.0	73.7	202.2	25.0	0.0	227.1
69	SA	SA-15	AHMEDNAGAR	2009.7	0.0	0	2009.7	60.6			60.6	0.0			0.0	947.8			947.8	50.2			50.2	safe			safe	60.6	0.0	0.0	60.6	1001.4	0.0	0.0	1001.4
70	SA	SA-16	AHMEDNAGAR	986.0	1586.7	0	2572.8	10.2	42.3		52.6	0.0	0.0		0.0	1538.8	1448.3		2987.1	157.1	93.9		118.1	over_exploited	critical		over_exploited	10.2	42.3	0.0	52.6	0.0	96.1	0.0	96.1
71	SA	SA-17	AHMEDNAGAR	379.6	1905.3	0	2284.9	19.4	48.5		67.8	0.0	0.0		0.0	233.5	766.8		1000.4	66.6	42.8		46.8	safe	safe		safe	19.4	48.5	0.0	67.8	126.6	1090.0	0.0	1216.7
72	SA	SA-18	AHMEDNAGAR	832.8	1776.4	0	2609.2	10.8	70.0		80.9	0.0	0.0		0.0	339.0	1386.5		1725.4	42.0	82.0		69.2	safe	semi_critical		safe	10.8	70.0	0.0	80.9	483.0	319.9	0.0	802.9
73	SA	SA-19	AHMEDNAGAR	279.5	1288.9	0	1568.4	11.1	35.3		46.4	0.0	0.0		0.0	349.7	806.6		1156.3	129.1	65.3		76.7	over_exploited	safe		semi_critical	11.1	35.3	0.0	46.4	0.0	447.0	0.0	447.0
74	SA	SA-2	AHMEDNAGAR	0.0	1917.3	0	1917.3		52.0		52.0		0.0		0.0		1253.7		1253.7		68.1		68.1		safe		safe	0.0	52.0	0.0	52.0	0.0	611.6	0.0	611.6

S.No	BASIN	WATER SHED	District	Annual Extractable Ground water Resource (ham)				Ground Water Extraction for all uses (ha.m)												Stage of Ground Water Extraction (%)				Categorization of Assessment Unit				Allocation of Ground Water Resource for Domestic Utilisation for projected year 2025 (ham)				Net Annual Ground Water Availability for Future Use (ham)			
								Domestic				Industrial				Irrigation																			
				C	NC	PQ	Total	C	NC	PQ	Total	C	NC	PQ	Total	C	NC	PQ	Total	C	NC	PQ	Total	C	NC	PQ	Total	C	NC	PQ	Total	C	NC	PQ	Total
75	SA	SA-3	AHMEDNAGAR	0.0	2263.1	0	2263.1		33.6		33.6		0.0		0.0		1513.1		1513.1		68.3		68.3		safe		safe	0.0	33.6	0.0	33.6	0.0	716.4	0.0	716.4
76	SA	SA-4	AHMEDNAGAR	377.3	1554.5	396	2328.3	23.0	34.7	0.0	57.7	0.0	0.0	0.0	0.0	382.1	853.0	453.7	1688.7	107.3	57.1	114.4	66.9	over_exploited	safe	over_exploited	safe	23.0	34.7	0.0	57.7	0.0	666.8	0.0	666.8
77	SA	SA-5	AHMEDNAGAR	1763.6	17.2	0	1780.9	18.3			18.3	0.0			0.0	1451.9			1451.9	83.4			82.6	semi_critical			semi_critical	18.3	0.0	0.0	18.3	293.5	17.2	0.0	310.7
78	SA	SA-6	AHMEDNAGAR	1833.9	792.4	0	2626.3	162.1	12.3		174.5	0.0	0.0		0.0	1594.1	381.5		1975.6	95.8	49.7		81.9	critical	safe		semi_critical	162.1	12.3	0.0	174.5	77.7	398.6	0.0	476.3
79	SA	SA-7	AHMEDNAGAR	377.0	1614.0	0	1991.0		43.0		43.0		0.0		0.0		1420.4		1420.4		90.7		73.5		critical		semi_critical	0.0	43.0	0.0	43.0	377.0	150.6	0.0	527.6
80	SA	SA-8	AHMEDNAGAR	202.0	1168.4	0	1370.3		41.4		41.4		0.0		0.0		436.1		436.1		40.9		34.8		safe		safe	0.0	41.4	0.0	41.4	202.0	690.9	0.0	892.8
81	PT	PT-17	AKOLA	170.1	824.9	0	994.9	10.6	33.4		44.0	0.0	0.0		0.0	16.0	53.5		69.5	15.7	10.5		11.4	safe	safe		safe	10.6	33.4	0.0	44.0	143.4	738.0	0.0	881.5
82	PT	PT-18	AKOLA	0.0	1362.8	0	1362.8		138.9		138.9		0.0		0.0		282.0		282.0		30.9		30.9		safe		safe	0.0	138.9	0.0	138.9	0.0	941.9	0.0	941.9
83	PT	PT-19	AKOLA	387.3	1658.4	0	2045.7	22.8	49.3		72.0	0.0	0.0		0.0	324.7	1898.6		2223.4	89.7	117.5		112.2	semi_critical	over_exploited		over_exploited	22.8	49.3	0.0	72.0	39.8	0.0	0.0	39.8
84	PT	PT-20	AKOLA	136.9	675.9	0	812.8	12.3	22.5		34.8	0.0	0.0		0.0	98.6	335.2		433.8	81.0	52.9		57.7	semi_critical	safe		safe	12.3	22.5	0.0	34.8	26.0	318.2	0.0	344.2
85	PT	PT-4	AKOLA	0.0	1041.6	0	1041.6		47.0		47.0		0.0		0.0		115.6		115.6		15.6		15.6		safe		safe	0.0	47.0	0.0	47.0	0.0	879.0	0.0	879.0
86	PT	PT-5	AKOLA	604.1	739.2	0	1343.3	26.1	52.4		78.5	0.0	0.0		0.0	106.2	173.9		280.1	21.9	30.6		26.7	safe	safe		safe	26.1	52.4	0.0	78.5	471.7	512.9	0.0	984.6
87	PT	PT-6	AKOLA	0.0	1119.5	0	1119.5		43.1		43.1		0.0		0.0		99.7		99.7		12.8		12.8		safe		safe	0.0	43.1	0.0	43.1	0.0	976.7	0.0	976.7
88	PT	PT-7	AKOLA	759.7	1132.8	0	1892.5	17.4	95.6		113.1	0.0	0.0		0.0	144.4	101.5		246.0	21.3	17.4		19.0	safe	safe		safe	17.4	95.6	0.0	113.1	597.8	935.7	0.0	1533.5
89	PT	PT-8	AKOLA	223.0	1016.0	0	1239.1		97.0		97.0		0.0		0.0		155.4		155.4		24.8		20.4		safe		safe	0.0	97.1	0.0	97.1	223.0	763.6	0.0	986.6
90	PTB	PTB-1	AKOLA	175.4	1844.1	0	2019.4		640.0		640.0		0.0		0.0		471.0		471.0		60.2		55.0		safe		safe	0.0	640.0	0.0	640.0	175.4	733.1	0.0	908.4
91	PTK	PTK-1	AKOLA	1276.8	2670.8	0	3947.6		222.5		222.5		0.0		0.0		2015.1		2015.1		83.8		56.7		semi_critical		safe	0.0	222.5	0.0	222.5	1276.8	433.2	0.0	1710.0
92	PTK	PTK-2 B	AKOLA	0.0	391.6	0	391.6		15.0		15.0		0.0		0.0		212.5		212.5		58.1		58.1		safe		safe	0.0	15.0	0.0	15.0	0.0	164.1	0.0	164.1
93	PTK	PTK-3 B	AKOLA	0.0	2378.8	0	2378.8		46.2		46.2		0.0		0.0		1967.5		1967.5		84.7		84.7		semi_critical		semi_critical	0.0	46.2	0.0	46.2	0.0	365.1	0.0	365.1
94	PTK	PTK-4 B	AKOLA	4156.7	95.3	402	4653.8	39.6	7.8	75.6	122.9	0.0	0.0	0.0	0.0	2065.0	249.3	287.4	2601.8	50.6	269.9	90.3	55.5	safe	over_exploited	critical	safe	39.6	7.8	75.6	47.3	2052.1	0.0	38.9	2052.1
95	PTKP	PTKP-1 B	AKOLA	2321.0	1077.6	249	3647.6	97.1	49.9	10.5	157.5	0.0	0.0	0.0	0.0	1886.2	890.1	138.9	2915.1	85.4	87.2	60.0	86.0	semi_critical	semi_critical	safe	semi_critical	97.1	49.9	10.5	147.0	337.8	137.6	99.6	475.4
96	PTM	PTM-1	AKOLA	99.3	1623.4	0	1722.6	14.3	36.3		50.6	0.0	0.0		0.0	73.7	794.0		867.7	88.7	51.1		53.3	semi_critical	safe		safe	14.3	36.3	0.0	50.6	11.2	793.1	0.0	804.3
97	PTM	PTM-2	AKOLA	582.8	597.1	0	1179.9	31.4	15.5		46.9	0.0	0.0		0.0	312.9	764.9		1077.8	59.1	130.7		95.3	safe	over_exploited		critical	31.4	15.5	0.0	46.9	238.5	0.0	0.0	238.5
98	PTM	PTM-3	AKOLA	877.3	754.8	0	1632.1	56.4	60.6		117.0	0.0	0.0		0.0	142.6	282.6		425.2	22.7	45.5		33.2	safe	safe		safe	56.4	60.6	0.0	117.0	678.3	411.6	0.0	1089.9
99	PTM	PTM-4	AKOLA	2564.5	664.8	300	3529.4	38.9	40.5	9.0	88.5	0.0	0.0	0.0	0.0	1482.9	843.0	225.1	2551.0	59.3	132.9	78.0	74.5	safe	over_exploited	semi_critical	semi_critical	38.9	40.5	9.0	79.5	1042.7	0.0	66.1	1042.7

S.No	BASIN	WATER SHED	District	Annual Extractable Ground water Resource (ham)				Ground Water Extraction for all uses (ha.m)												Stage of Ground Water Extraction (%)				Categorization of Assessment Unit				Allocation of Ground Water Resource for Domestic Utilisation for projected year 2025 (ham)				Net Annual Ground Water Availability for Future Use (ham)			
								Domestic				Industrial				Irrigation																			
				C	NC	PQ	Total	C	NC	PQ	Total	C	NC	PQ	Total	C	NC	PQ	Total	C	NC	PQ	Total	C	NC	PQ	Total	C	NC	PQ	Total	C	NC	PQ	Total
100	PTMB	PTMB-1	AKOLA	1845.8	1373.6	0	3219.4	155.0	36.8		191.8	0.0	0.0		0.0	1851.7	756.2		2608.0	108.7	57.7		87.0	over_exploited	safe		semi_critical	155.0	36.8	0.0	191.8	0.0	580.5	0.0	580.5
101	PTMM	PTMM-1	AKOLA	1863.9	1230.5	0	3094.5	63.5	119.8		183.3	0.0	0.0		0.0	748.7	807.9		1556.6	43.6	75.4		56.2	safe	semi_critical		safe	63.5	119.8	0.0	183.3	1051.8	302.8	0.0	1354.5
102	PTMN	PTMN-1B	AKOLA	102.4	1801.5	0	1903.9		106.9		106.9		0.0		0.0		97.9		97.9		11.4		10.8		safe		safe	0.0	106.9	0.0	106.9	102.4	1596.7	0.0	1699.1
103	PTMN	PTMN-2	AKOLA	1.0	3146.2	0	3147.1		29.8		29.8		0.0		0.0		10.8		10.8		1.3		1.3		safe		safe	0.0	29.8	0.0	29.8	1.0	3105.6	0.0	3106.5
104	PTMN	PTMN-3	AKOLA	417.5	897.0	0	1314.6	134.1	158.0		292.1	0.0	0.0		0.0	20.4	290.7		311.1	37.0	50.0		45.9	safe	safe		safe	134.1	158.0	0.0	292.1	263.1	448.3	0.0	711.4
105	PTMT	PTMT-1	AKOLA	60.3	2323.5	0	2383.8		45.4		45.4		0.0		0.0		69.0		69.0		4.9		4.8		safe		safe	0.0	45.4	0.0	45.4	60.3	2209.1	0.0	2269.4
106	PTMU	PTMU-1	AKOLA	130.9	1546.6	0	1677.5		74.5		74.5		0.0		0.0		1313.7		1313.7		89.8		82.8		semi_critical		semi_critical	0.0	74.5	0.0	74.5	130.9	158.4	0.0	289.4
107	PTP	PTP-2	AKOLA	17.6	3317.8	0	3335.4		112.1		112.1		0.0		0.0		2878.1		2878.1		90.1		89.7		critical		semi_critical	0.0	112.1	0.0	112.1	17.6	327.6	0.0	345.2
108	PTP	PTP-3	AKOLA	6.9	2668.5	0	2675.4		94.7		94.7		0.0		0.0		3187.6		3187.6		123.0		122.7		over_exploited		over_exploited	0.0	94.7	0.0	94.7	6.9	0.0	0.0	6.9
109	PTP	PTP-4	AKOLA	1487.6	861.1	0	2348.7	26.2	24.2		50.4	0.0	0.0		0.0	1422.5	638.9		2061.4	97.4	77.0		89.9	critical	semi_critical		semi_critical	26.3	24.2	0.0	50.4	38.8	198.1	0.0	236.9
110	PTR	PTR-1	AKOLA	22.1	602.3	0	624.4	4.2	12.5		16.7	0.0	0.0		0.0	11.1	282.3		293.3	69.0	48.9		49.6	safe	safe		safe	4.2	12.5	0.0	16.7	6.9	307.6	0.0	314.4
111	PTR	PTR-2	AKOLA	90.5	1976.6	0	2067.2		75.7		75.7		0.0		0.0		1766.4		1766.4		93.2		89.1		critical		semi_critical	0.0	75.7	0.0	75.7	90.5	134.5	0.0	225.0
112	PTR	PTR-3 B	AKOLA	2975.5	1204.4	0	4179.9	26.0	21.8		47.8	0.0	0.0		0.0	1231.0	1120.4		2351.5	42.2	94.8		57.4	safe	critical		safe	26.0	21.8	0.0	47.8	1718.4	62.2	0.0	1780.7
113	PTR	PTR-4	AKOLA	10.5	1160.2	0	1170.7		44.5		44.5		0.0		0.0		953.1		953.1		86.0		85.2		semi_critical		semi_critical	0.0	44.5	0.0	44.5	10.5	162.6	0.0	173.1
114	PTS	PTS-1	AKOLA	15.2	2250.6	0	2265.8		48.5		48.5		0.0		0.0		1389.8		1389.8		63.9		63.5		safe		safe	0.0	48.5	0.0	48.5	15.2	812.2	0.0	827.4
115	PTSB	PTSB-1	AKOLA	8.9	1897.8	0	1906.6		45.2		45.2		0.0		0.0		772.9		772.9		43.1		42.9		safe		safe	0.0	45.2	0.0	45.2	8.9	1079.8	0.0	1088.6
116	PTSP	PTSP-1	AKOLA	9.6	1495.4	0	1505.1		52.3		52.3		0.0		0.0		779.4		779.4		55.6		55.3		safe		safe	0.0	52.3	0.0	52.3	9.6	663.7	0.0	673.3
117	PTU	PTU-1 B	AKOLA	4409.1	153.7	0	4562.9	172.0	18.4		190.4	0.0	0.0		0.0	1323.3	118.6		1441.9	33.9	89.1		35.8	safe	semi_critical		safe	172.0	18.4	0.0	190.4	2913.8	16.8	0.0	2930.5
118	PTU	PTU-2 B	AKOLA	4252.4	691.5	0	4943.9	219.8	0.3		220.0	0.0	0.0		0.0	1021.7	765.1		1786.8	29.2	110.7		40.6	safe	over_exploited		safe	219.8	0.3	0.0	220.0	3011.0	0.0	0.0	3011.0
119	PT	PT-1	AMRAVATI	1754.7	933.2	0	2688.0	19.9	7.9		27.8	0.0	0.0		0.0	1287.1	624.5		1911.6	74.5	67.8		72.2	semi_critical	safe		semi_critical	19.9	7.9	0.0	27.8	447.6	300.9	0.0	748.5
120	PT	PT-2	AMRAVATI	1782.0	2229.4	120	4131.5	57.3	39.2	5.4	101.9	0.0	0.0	0.0	0.0	3114.8	1573.3	104.5	4792.6	178.0	72.3	91.6	119.3	over_exploited	semi_critical	critical	over_exploited	57.3	39.2	5.4	96.5	0.0	617.0	10.1	617.0
121	PT	PT-20	AMRAVATI	1526.1	1042.1	0	2568.1	6.4	66.1		72.5	0.0	0.0		0.0	738.9	1671.4		2410.3	48.8	166.7		96.7	safe	over_exploited		critical	6.4	66.1	0.0	72.5	780.8	0.0	0.0	780.8
122	PT	PT-3	AMRAVATI	245.6	4585.9	0	4831.4	11.3	68.8		80.1	0.0	0.0		0.0	207.8	2097.4		2305.2	89.2	47.2		49.4	semi_critical	safe		safe	11.3	68.8	0.0	80.1	26.5	2419.7	0.0	2446.2
123	PT	PT-4	AMRAVATI	741.1	1912.0	0	2653.1	50.2	78.9		129.1	0.0	0.0		0.0	557.5	1487.8		2045.3	82.0	81.9		82.0	semi_critical	semi_critical		semi_critical	50.2	78.9	0.0	129.1	133.4	345.3	0.0	478.7
124	PT	PT-6	AMRAVATI	8.0	851.1	0	859.1		96.4		96.4		0.0		0.0		105.9		105.9		23.8		23.6		safe		safe	0.0	96.5	0.0	96.5	8.0	648.8	0.0	656.7

S.No	BASIN	WATER SHED	District	Annual Extractable Ground water Resource (ham)				Ground Water Extraction for all uses (ha.m)												Stage of Ground Water Extraction (%)				Categorization of Assessment Unit				Allocation of Ground Water Resource for Domestic Utilisation for projected year 2025 (ham)				Net Annual Ground Water Availability for Future Use (ham)			
								Domestic				Industrial				Irrigation																			
				C	NC	PQ	Total	C	NC	PQ	Total	C	NC	PQ	Total	C	NC	PQ	Total	C	NC	PQ	Total	C	NC	PQ	Total	C	NC	PQ	Total	C	NC	PQ	Total
125	PTB	PTB-1	AMRAVATI	251.7	1504.7	0	1756.4	17.1	68.4		85.5	0.0	0.0		0.0	62.6	968.6		1031.2	31.7	68.9		63.6	safe	safe		safe	17.1	68.4	0.0	85.5	172.1	467.7	0.0	639.8
126	PTB	PTB-2	AMRAVATI	3344.8	1784.7	0	5129.5	11.4	29.1		40.5	0.0	0.0		0.0	1626.2	1615.4		3241.6	49.0	92.1		64.0	safe	critical		safe	11.4	29.1	0.0	40.5	1707.2	140.2	0.0	1847.4
127	PTC	PTC-1	AMRAVATI	1168.7	1184.8	45	2398.9	24.2	44.9	4.4	73.5	0.0	0.0	0.0	0.0	438.0	1433.2	93.4	1964.6	39.6	124.8	214.9	82.4	safe	over_exploited	over_exploited	semi_critical	24.2	44.9	4.4	69.1	706.5	0.0	0.0	706.5
128	PTC	PTC-2	AMRAVATI	7174.3	877.4	167	8218.9	74.4	38.8	5.2	118.4	0.0	0.0	0.0	0.0	4262.8	723.3	324.9	5311.0	60.5	86.9	197.4	63.3	safe	semi_critical	over_exploited	safe	74.4	38.8	5.2	113.2	2837.1	115.3	0.0	2952.3
129	PTC	PTC-3	AMRAVATI	8563.6	1863.6	328	10755.5	74.2	37.7	34.6	146.5	0.0	0.0	0.0	0.0	6250.1	2908.1	1184.0	10342.1	73.9	158.1	371.2	88.9	semi_critical	over_exploited	over_exploited	semi_critical	74.2	37.7	34.6	111.9	2239.4	0.0	0.0	2239.4
130	PTCS	PTCS-1	AMRAVATI	3097.8	852.0	105	4054.6	363.7	32.4	0.0	396.1	0.0	0.0	0.0	0.0	2683.9	1398.3	312.9	4395.2	98.4	167.9	298.5	113.4	critical	over_exploited	over_exploited	over_exploited	363.7	32.4	0.0	396.1	50.1	0.0	0.0	50.1
131	PTCS	PTCS-2	AMRAVATI	3289.1	112.1	0	3401.2	245.4	6.1		251.5	0.0	0.0		0.0	1941.8	60.9		2002.8	66.5	59.8		66.3	safe	safe		safe	245.4	6.1	0.0	251.5	1101.9	45.0	0.0	1146.9
132	PTG	PTG-0	AMRAVATI	666.5	2501.6	0	3168.1	30.5	34.1		64.6	0.0	0.0		0.0	233.4	2344.9		2578.2	39.6	95.1		83.4	safe	critical		semi_critical	30.5	34.1	0.0	64.6	402.7	122.6	0.0	525.2
133	PTP	PTP-1	AMRAVATI	582.2	2149.5	0	2731.7	24.5	56.9		81.4	0.0	0.0		0.0	504.7	1426.5		1931.1	90.9	69.0		73.7	critical	safe		semi_critical	24.5	56.9	0.0	81.4	53.1	666.1	0.0	719.2
134	PTP	PTP-2	AMRAVATI	27.9	834.6	0	862.4	3.4	22.1		25.4	0.0	0.0		0.0	21.1	400.9		421.9	87.7	50.7		51.9	semi_critical	safe		safe	3.4	22.1	0.0	25.4	3.4	411.6	0.0	415.1
135	PTP	PTP-3	AMRAVATI	464.6	2704.0	0	3168.6	22.1	83.7		105.8	0.1	0.0		0.1	337.2	2188.5		2525.7	77.4	84.0		83.1	semi_critical	semi_critical		semi_critical	22.1	83.7	0.0	105.8	105.2	431.8	0.0	537.0
136	PTP	PTP-4	AMRAVATI	0.0	213.7	0	213.7		22.6		22.6		0.0		0.0		87.1		87.1		51.4		51.4		safe		safe	0.0	22.6	0.0	22.6	0.0	103.9	0.0	103.9
137	PTP	PTP-5	AMRAVATI	465.5	1340.4	0	1805.8	22.1	114.5		136.7	0.0	0.0		0.0	13.9	195.9		209.8	7.7	23.2		19.2	safe	safe		safe	22.1	114.5	0.0	136.7	429.4	1029.9	0.0	1459.3
138	PTP	PTP-6	AMRAVATI	281.4	2502.6	0	2784.0	0.0	104.1		104.1	0.0	0.0		0.0	175.1	1516.0		1691.1	62.2	64.7		64.5	safe	safe		safe	0.0	104.1	0.0	104.1	106.3	882.6	0.0	988.9
139	PTS	PTS-1	AMRAVATI	2702.6	1548.4	0	4251.0	21.9	104.5		126.4	0.0	0.0		0.0	1248.9	973.1		2222.0	47.0	69.6		55.2	safe	safe		safe	21.9	104.5	0.0	126.4	1431.9	470.9	0.0	1902.7
140	PTSB	PTSB-1	AMRAVATI	1371.9	1925.1	0	3297.0	41.4	109.3		150.7	0.0	0.0		0.0	733.3	1405.3		2138.6	56.5	78.7		69.4	safe	semi_critical		safe	41.4	109.3	0.0	150.8	597.2	410.5	0.0	1007.7
141	PTSP	PTSP-1	AMRAVATI	1000.7	2759.6	0	3760.3	26.1	68.3		94.4	0.0	0.0		0.0	570.9	2080.2		2651.1	59.7	77.9		73.0	safe	semi_critical		semi_critical	26.1	68.3	0.0	94.4	403.7	611.1	0.0	1014.8
142	PTU	PTU-2	AMRAVATI	2761.0	1783.2	0	4544.2	38.5	150.9		189.4	0.0	0.0		0.0	1608.6	1359.5		2968.1	59.7	84.7		69.5	safe	semi_critical		safe	38.5	150.9	0.0	189.4	1113.9	272.7	0.0	1386.7
143	TE	TE-1	AMRAVATI	1800.1	1112.5	0	2912.5	34.1	31.7		65.8	0.0	0.0		0.0	886.7	963.0		1849.7	51.2	89.4		65.8	safe	semi_critical		safe	34.1	31.7	0.0	65.8	879.2	117.8	0.0	997.0
144	TE	TE-2	AMRAVATI	532.8	340.9	0	873.7	23.7	7.9		31.6	0.0	0.0		0.0	955.4	308.0		1263.4	183.8	92.7		148.2	over_exploited	critical		over_exploited	23.7	8.0	0.0	31.6	0.0	25.0	0.0	25.0
145	TE	TE-3	AMRAVATI	2935.9	2458.3	0	5394.1	77.7	95.3		173.0	0.0	0.0		0.0	1380.5	2412.9		3793.4	49.7	102.0		73.5	safe	over_exploited		semi_critical	77.7	95.3	0.0	173.0	1477.7	0.0	0.0	1477.7
146	TE	TE-4	AMRAVATI	0.0	163.2	0	163.2		30.2		30.2		0.0		0.0		66.6		66.6		59.3		59.3		safe		safe	0.0	30.2	0.0	30.2	0.0	66.4	0.0	66.4
147	TE	TE-5	AMRAVATI	0.0	125.7	0	125.7		24.0		24.0		0.0		0.0		25.7		25.7		39.5		39.5		safe		safe	0.0	24.0	0.0	24.0	0.0	76.1	0.0	76.1
148	TE	TE-6	AMRAVATI	2291.0	1633.4	0	3924.4	40.1	59.9		100.1	0.0	0.0		0.0	1863.6	2252.1		4115.7	83.1	141.5		107.4	semi_critical	over_exploited		over_exploited	40.1	59.9	0.0	100.1	387.3	0.0	0.0	387.3
149	TEG	TEG-1	AMRAVATI	1394.8	1666.4	0	3061.2	56.5	70.6		127.2	0.0	0.0		0.0	776.0	1826.0		2602.0	59.7	113.8		89.2	safe	over_exploited		semi_critical	56.5	70.6	0.0	127.2	562.3	0.0	0.0	562.3

S.No	BASIN	WATER SHED	District	Annual Extractable Ground water Resource (ham)				Ground Water Extraction for all uses (ha.m)												Stage of Ground Water Extraction (%)				Categorization of Assessment Unit				Allocation of Ground Water Resource for Domestic Utilisation for projected year 2025 (ham)				Net Annual Ground Water Availability for Future Use (ham)			
								Domestic				Industrial				Irrigation																			
				C	NC	PQ	Total	C	NC	PQ	Total	C	NC	PQ	Total	C	NC	PQ	Total	C	NC	PQ	Total	C	NC	PQ	Total	C	NC	PQ	Total	C	NC	PQ	Total
150	TEG	TEG-2	AMRAVATI	255.8	2970.0	0	3225.8	12.5	62.4		74.9	0.0	0.0		0.0	159.9	1851.9		2011.8	67.4	64.5		64.7	safe	safe		safe	12.5	62.5	0.0	74.9	83.4	1055.7	0.0	1139.1
151	TEG	TEG-3	AMRAVATI	3853.0	993.7	0	4846.7	109.7	95.5		205.2	0.0	0.0		0.0	5621.4	566.5		6187.9	148.7	66.6		131.9	over_exploited	safe		over_exploited	109.7	95.5	0.0	205.2	0.0	331.6	0.0	331.6
152	TEGD	TEGD-1	AMRAVATI	964.2	1232.4	0	2196.6	32.7	45.6		78.4	0.0	0.0		0.0	262.8	701.4		964.2	30.6	60.6		47.5	safe	safe		safe	32.7	45.6	0.0	78.4	668.7	485.4	0.0	1154.1
153	TEK	TEK-0	AMRAVATI	986.1	1717.4	0	2703.5	40.5	34.6		75.2	0.0	0.0		0.0	472.7	1468.9		1941.6	52.0	87.5		74.6	safe	semi_critical		semi_critical	40.5	34.6	0.0	75.2	472.9	213.9	0.0	686.8
154	TEKA	TEKA-1	AMRAVATI	1560.6	3202.1	0	4762.6	39.5	31.0		70.4	0.0	0.0		0.0	4067.3	2615.3		6682.6	263.2	82.6		141.8	over_exploited	semi_critical		over_exploited	39.5	31.0	0.0	70.4	0.0	555.8	0.0	555.8
155	TEKA	TEKA-2	AMRAVATI	1507.6	860.4	0	2367.9	31.6	19.1		50.7	0.0	0.0		0.0	893.7	885.4		1779.1	61.4	105.1		77.3	safe	over_exploited		semi_critical	31.6	19.1	0.0	50.7	582.3	0.0	0.0	582.3
156	TES	TES-1	AMRAVATI	710.1	1085.9	0	1795.9	42.5	55.9		98.4	0.0	0.0		0.0	459.8	1185.3		1645.1	70.8	114.3		97.1	semi_critical	over_exploited		critical	42.5	55.9	0.0	98.4	207.7	0.0	0.0	207.7
157	TES	TES-2	AMRAVATI	3460.1	18.0	0	3478.1	100.0			100.0	0.0			0.0	2399.6			2399.6	72.2			71.9	semi_critical			semi_critical	100.0	0.0	0.0	100.0	960.5	18.0	0.0	978.5
158	TES	TES-3	AMRAVATI	1603.9	2784.4	0	4388.3	36.6	77.4		114.0	0.0	0.0		0.0	803.0	1574.1		2377.1	52.3	59.3		56.8	safe	safe		safe	36.6	77.5	0.0	114.0	764.3	1132.9	0.0	1897.2
159	TES	TES-4	AMRAVATI	902.5	675.6	0	1578.1	22.5	16.0		38.5	0.0	0.0		0.0	457.6	500.8		958.4	53.2	76.5		63.2	safe	semi_critical		safe	22.5	16.0	0.0	38.5	422.4	158.9	0.0	581.2
160	TES	TES-5	AMRAVATI	1677.6	1604.1	0	3281.7	38.2	34.6		72.8	0.0	0.0		0.0	950.5	2156.5		3107.0	58.9	136.6		96.9	safe	over_exploited		critical	38.3	34.6	0.0	72.9	688.8	0.0	0.0	688.8
161	TES	TES-6	AMRAVATI	524.8	4148.7	0	4673.5	22.7	91.5		114.1	0.0	0.0		0.0	416.6	2630.5		3047.1	83.7	65.6		67.6	semi_critical	safe		safe	22.7	91.5	0.0	114.1	85.6	1426.7	0.0	1512.2
162	WR	WR-1	AMRAVATI	232.4	1317.1	0	1549.5	27.5	33.0		60.5	0.0	0.0		0.0	132.6	1020.7		1153.3	68.9	80.0		78.3	safe	semi_critical		semi_critical	27.5	33.0	0.0	60.5	72.4	263.4	0.0	335.8
163	WR	WR-2	AMRAVATI	445.1	2085.3	0	2530.4	20.3	120.0		140.3	0.0	0.0		0.0	211.2	1526.6		1737.8	52.0	79.0		74.2	safe	semi_critical		semi_critical	20.3	120.0	0.0	140.3	213.5	438.7	0.0	652.3
164	WR	WR-3	AMRAVATI	109.1	821.4	0	930.6	0.0	43.5		43.5	0.0	0.0		0.0	98.3	555.0		653.3	90.1	72.9		74.9	critical	semi_critical		semi_critical	0.0	43.5	0.0	43.5	10.8	222.9	0.0	233.7
165	WR	WR-4	AMRAVATI	325.2	1614.2	0	1939.4	5.2	19.5		24.8	1.2	0.6		1.8	146.2	813.8		959.9	46.9	51.7		50.9	safe	safe		safe	38.8	45.4	0.0	84.2	139.1	754.4	0.0	893.5
166	WR	WR-5	AMRAVATI	2.8	793.2	0	796.0		14.8		14.8		0.0		0.0		505.4		505.4		65.6		65.3		safe		safe	0.0	43.9	0.0	43.9	2.8	244.0	0.0	246.8
167	WR	WR-6	AMRAVATI	123.7	802.3	0	926.0	9.9	15.7		25.7	0.0	2.2		2.2	91.0	682.4		773.4	81.6	87.3		86.5	semi_critical	semi_critical		semi_critical	30.6	598.3	0.0	628.9	2.2	102.0	0.0	104.2
168	WR	WR-7	AMRAVATI	893.1	318.3	0	1211.4	23.1	10.0		33.1	0.0	0.0		0.0	540.8	164.2		704.9	63.1	54.7		60.9	safe	safe		safe	23.1	10.0	0.0	33.1	329.2	144.2	0.0	473.4
169	WR	WR-8	AMRAVATI	0.0	989.7	0	989.7		27.4		27.4		0.0		0.0		679.9		679.9		71.5		71.5		semi_critical		semi_critical	0.0	27.4	0.0	27.4	0.0	282.4	0.0	282.4
170	WR	WR-9	AMRAVATI	0.0	647.9	0	647.9		16.4		16.4		0.1		0.1		519.6		519.6		82.7		82.7		semi_critical		semi_critical	0.0	39.1	0.0	39.1	0.0	89.0	0.0	89.0
171	WRB	WRB-1	AMRAVATI	0.0	1284.4	0	1284.4		44.2		44.2		0.0		0.0		1117.1		1117.1		90.4		90.4		critical		critical	0.0	44.2	0.0	44.2	0.0	123.0	0.0	123.0
172	WRB	WRB-10	AMRAVATI	0.0	322.8	0	322.8		8.4		8.4		0.0		0.0		201.9		201.9		65.2		65.2		safe		safe	0.0	24.1	0.0	24.1	0.0	96.8	0.0	96.8
173	WRB	WRB-11	AMRAVATI	709.3	581.9	0	1291.2	29.2	52.2		81.4	0.0	0.0		0.0	525.9	452.2		978.1	78.3	86.7		82.1	semi_critical	semi_critical		semi_critical	29.3	52.2	0.0	81.4	154.1	77.5	0.0	231.7
174	WRB	WRB-17	AMRAVATI	1.8	620.3	0	622.2		32.4		32.4		0.8		0.8		386.1		386.1		67.6		67.4		safe		safe	0.0	43.3	0.0	43.3	1.8	190.2	0.0	192.0

S.No	BASIN	WATERSHED	District	Annual Extractable Ground water Resource (ham)				Ground Water Extraction for all uses (ha.m)												Stage of Ground Water Extraction (%)				Categorization of Assessment Unit				Allocation of Ground Water Resource for Domestic Utilisation for projected year 2025 (ham)				Net Annual Ground Water Availability for Future Use (ham)			
								Domestic				Industrial				Irrigation																			
				C	NC	PQ	Total	C	NC	PQ	Total	C	NC	PQ	Total	C	NC	PQ	Total	C	NC	PQ	Total	C	NC	PQ	Total	C	NC	PQ	Total	C	NC	PQ	Total
175	WRB	WRB-2	AMRAVATI	1.2	480.8	0	482.0		34.4		34.4		0.0		0.0		242.4		242.4		57.6		57.4		safe		safe	0.0	34.4	0.0	34.4	1.2	204.0	0.0	205.2
176	WRB	WRB-4	AMRAVATI	6.2	452.6	0	458.9		29.6		29.6		0.0		0.0		249.4		249.4		61.6		60.8		safe		safe	0.0	29.6	0.0	29.6	6.2	173.6	0.0	179.9
177	WRB	WRB-5	AMRAVATI	0.0	593.3	0	593.3		33.1		33.1		0.0		0.0		464.4		464.4		83.9		83.9		semi_critical		semi_critical	0.0	43.2	0.0	43.2	0.0	85.8	0.0	85.8
178	WRB	WRB-6	AMRAVATI	733.8	1472.6	0	2206.4	30.2	24.3		54.5	0.0	0.0		0.0	567.8	1234.8		1802.6	81.5	85.5		84.2	semi_critical	semi_critical		semi_critical	30.2	24.3	0.0	54.5	135.9	213.5	0.0	349.4
179	WRBK	WRBK-1	AMRAVATI	0.0	611.7	0	611.7		8.5		8.5		0.0		0.0		374.4		374.4		62.6		62.6		safe		safe	0.0	8.5	0.0	8.5	0.0	228.8	0.0	228.8
180	WRBK	WRBK-2	AMRAVATI	246.2	2227.8	0	2474.1	3.2	53.6		56.8	0.2	1.3		1.5	98.6	1161.1		1259.7	41.4	54.6		53.3	safe	safe		safe	61.3	140.7	0.0	202.0	86.1	924.7	0.0	1010.8
181	WRC	WRC-1	AMRAVATI	0.0	1031.3	0	1031.3		15.8		15.8		0.0		0.0		691.9		691.9		68.6		68.6		safe		safe	0.0	44.0	0.0	44.0	0.0	295.4	0.0	295.4
182	GP	GP-1	AURANGABAD	229.7	3689.6	0	3919.4	12.4	95.8		108.1	0.0	0.0		0.0	162.0	2463.2		2625.2	75.9	69.4		69.7	semi_critical	safe		safe	12.4	95.8	0.0	108.1	55.4	1130.7	0.0	1186.1
183	GP	GP-10	AURANGABAD	75.1	891.8	0	966.9	7.1	45.2		52.3	0.0	0.0		0.0	9.2	521.7		531.0	21.8	63.6		60.3	safe	safe		safe	7.1	45.2	0.0	52.3	58.7	324.9	0.0	383.6
184	GP	GP-11	AURANGABAD	0.0	2413.6	0	2413.6		63.0		63.0		0.7		0.7		1202.6		1202.6		52.5		52.5		safe		safe	0.0	102.2	0.0	102.2	0.0	1108.1	0.0	1108.1
185	GP	GP-13 A	AURANGABAD	248.4	2951.5	0	3199.9	9.6	14.9		24.5	0.2	0.4		0.7	85.9	1965.6		2051.5	38.5	67.1		64.9	safe	safe		safe	9.6	124.9	0.0	134.4	152.7	860.6	0.0	1013.3
186	GP	GP-14	AURANGABAD	65.0	797.3	0	862.3	2.8	16.1		18.9	2.0	2.0		4.0	42.0	427.5		469.5	72.1	55.9		57.1	semi_critical	safe		safe	18.3	66.1	0.0	84.4	2.7	301.7	0.0	304.4
187	GP	GP-15	AURANGABAD	0.0	1850.9	0	1850.9		31.8		31.8		1.5		1.5		1010.1		1010.1		56.4		56.4		safe		safe	0.0	87.4	0.0	87.4	0.0	752.0	0.0	752.0
188	GP	GP-16	AURANGABAD	383.5	322.1	0	705.6	4.9	8.6		13.5	2.0	2.0		4.0	276.0	172.6		448.6	73.8	56.9		66.1	semi_critical	safe		safe	4.9	8.6	0.0	13.5	100.6	138.9	0.0	239.5
189	GP	GP-17	AURANGABAD	0.0	224.2	0	224.2		7.2		7.2		0.0		0.0		178.4		178.4		82.8		82.8		semi_critical		semi_critical	0.0	7.2	0.0	7.2	0.0	38.6	0.0	38.6
190	GP	GP-17^	AURANGABAD	0.0	746.7	0	746.7		19.1		19.1		0.0		0.0		449.8		449.8		62.8		62.8		safe		safe	0.0	34.8	0.0	34.8	0.0	262.1	0.0	262.1
191	GP	GP-18 A	AURANGABAD	159.6	1381.4	0	1540.9	3.2	19.2		22.4	0.0	0.0		0.0	54.7	875.5		930.2	36.3	64.8		61.8	safe	safe		safe	8.9	90.4	0.0	99.4	95.9	415.4	0.0	511.3
192	GP	GP-2	AURANGABAD	16.9	1644.5	0	1661.4		43.9		43.9		0.3		0.3		1070.5		1070.5		67.8		67.1		safe		safe	0.0	106.3	0.0	106.3	16.9	467.4	0.0	484.3
193	GP	GP-24	AURANGABAD	298.0	1761.4	0	2059.4	6.8	26.1		32.9	0.5	0.4		0.9	147.6	1033.6		1181.2	52.0	60.2		59.0	safe	safe		safe	57.5	37.9	0.0	95.4	92.5	689.5	0.0	782.0
194	GP	GP-3	AURANGABAD	229.2	3739.5	0	3968.6	5.2	29.9		35.1	0.0	0.4		0.4	182.2	2497.0		2679.1	81.8	67.6		68.4	semi_critical	safe		safe	601.6	350.3	0.0	951.9	41.8	891.8	0.0	933.6
195	GP	GP-4	AURANGABAD	169.2	592.7	0	761.9	0.0	48.4		48.4	0.0	0.0		0.0	4.8	264.0		268.8	2.8	52.7		41.6	safe	safe		safe	0.0	48.4	0.0	48.4	164.4	280.3	0.0	444.7
196	GP	GP-5	AURANGABAD	1114.2	2963.9	0	4078.1	40.9	133.9		174.9	0.0	0.0		0.0	991.9	2086.2		3078.0	92.7	74.9		79.8	critical	semi_critical		semi_critical	40.9	133.9	0.0	174.9	81.4	743.9	0.0	825.2
197	GP	GP-6	AURANGABAD	41.0	1497.8	0	1538.8		47.2		47.2		3.5		3.5		875.1		875.1		61.8		60.2		safe		safe	0.0	61.0	0.0	61.0	41.0	558.3	0.0	599.3
198	GP	GP-7	AURANGABAD	166.2	2641.7	0	2807.8	3.7	22.0		25.6	0.0	0.5		0.5	123.0	1567.4		1690.4	76.2	60.2		61.1	semi_critical	safe		safe	7.4	93.9	0.0	101.3	35.8	979.9	0.0	1015.7
199	GP	GP-8	AURANGABAD	200.1	1744.6	0	1944.7	2.9	12.9		15.8	0.4	0.0		0.4	124.2	801.9		926.1	63.7	46.7		48.5	safe	safe		safe	2.9	53.1	0.0	56.0	72.6	889.6	0.0	962.2

S.No	BASIN	WATER SHED	District	Annual Extractable Ground water Resource (ham)				Ground Water Extraction for all uses (ha.m)												Stage of Ground Water Extraction (%)				Categorization of Assessment Unit				Allocation of Ground Water Resource for Domestic Utilisation for projected year 2025 (ham)				Net Annual Ground Water Availability for Future Use (ham)			
								Domestic				Industrial				Irrigation																			
				C	NC	PQ	Total	C	NC	PQ	Total	C	NC	PQ	Total	C	NC	PQ	Total	C	NC	PQ	Total	C	NC	PQ	Total	C	NC	PQ	Total	C	NC	PQ	Total
200	GP	GP-9	AURANGABAD	8.9	1288.0	0	1296.9		19.4		19.4		0.0		0.0		760.8		760.8		60.6		60.2		safe		safe	0.0	55.0	0.0	55.0	8.9	472.3	0.0	481.2
201	GV	GV-33	AURANGABAD	10.1	1082.5	0	1092.6		23.2		23.2		2.4		2.4		874.7		874.7		83.2		82.4		semi_critical		semi_critical	0.0	83.2	0.0	83.2	10.1	122.1	0.0	132.2
202	GV	GV-34 B	AURANGABAD	0.0	494.3	0	494.3		26.0		26.0		0.1		0.1		381.2		381.2		82.4		82.4		semi_critical		semi_critical	0.0	39.1	0.0	39.1	0.0	73.7	0.0	73.7
203	GV	GV-35	AURANGABAD	0.0	701.9	0	701.9		39.8		39.8		0.0		0.0		526.6		526.6		80.7		80.7		semi_critical		semi_critical	0.0	56.8	0.0	56.8	0.0	118.5	0.0	118.5
204	GV	GV-36	AURANGABAD	0.0	670.3	0	670.3		30.7		30.7		8.8		8.8		499.6		499.6		80.4		80.4		semi_critical		semi_critical	0.0	115.8	0.0	115.8	0.0	46.2	0.0	46.2
205	GV	GV-38 A	AURANGABAD	0.0	258.3	0	258.3		10.6		10.6		0.0		0.0		141.1		141.1		58.8		58.8		safe		safe	0.0	17.2	0.0	17.2	0.0	100.0	0.0	100.0
206	GV	GV-39 A	AURANGABAD	0.0	2770.6	0	2770.6		67.7		67.7		21.9		21.9		1265.8		1265.8		48.9		48.9		safe		safe	0.0	92.7	0.0	92.7	0.0	1390.2	0.0	1390.2
207	GV	GV-40	AURANGABAD	3.7	1013.3	0	1017.0		52.2		52.2		0.0		0.0		622.0		622.0		66.5		66.3		safe		safe	0.0	52.2	0.0	52.2	3.7	339.1	0.0	342.8
208	GV	GV-41	AURANGABAD	0.0	264.3	0	264.3		14.8		14.8		0.0		0.0		218.6		218.6		88.3		88.3		semi_critical		semi_critical	0.0	18.2	0.0	18.2	0.0	27.5	0.0	27.5
209	GV	GV-42	AURANGABAD	8.7	1434.9	0	1443.6		33.5		33.5		0.0		0.0		898.6		898.6		65.0		64.6		safe		safe	0.0	33.5	0.0	33.5	8.7	502.9	0.0	511.6
210	GV	GV-43	AURANGABAD	0.0	2944.9	0	2944.9		50.0		50.0		0.0		0.0		1595.4		1595.4		55.9		55.9		safe		safe	0.0	53.2	0.0	53.2	0.0	1296.3	0.0	1296.3
211	GV	GV-44	AURANGABAD	392.3	1602.9	0	1995.2	10.1	7.0		17.1	0.4	0.0		0.4	117.8	920.2		1038.0	32.7	57.8		52.9	safe	safe		safe	40.5	61.4	0.0	102.0	233.6	621.3	0.0	854.9
212	GV	GV-45	AURANGABAD	0.0	579.0	0	579.0		10.3		10.3		0.0		0.0		329.8		329.8		58.7		58.7		safe		safe	0.0	18.9	0.0	18.9	0.0	230.4	0.0	230.4
213	GV	GV-46	AURANGABAD	51.2	1443.7	0	1494.9	2.0	18.1		20.1	0.0	0.9		0.9	25.2	757.9		783.1	53.2	53.8		53.8	safe	safe		safe	5.3	61.2	0.0	66.4	20.7	623.7	0.0	644.5
214	GV	GV-47	AURANGABAD	449.1	2403.5	0	2852.6	32.9	33.7		66.7	0.0	0.0		0.0	194.5	1183.3		1377.7	50.6	50.6		50.6	safe	safe		safe	32.9	33.7	0.0	66.7	221.7	1186.5	0.0	1408.2
215	GV	GV-48	AURANGABAD	341.5	1228.3	0	1569.8	9.3	65.1		74.4	0.0	0.0		0.0	267.3	961.1		1228.4	81.0	83.5		83.0	semi_critical	semi_critical		semi_critical	9.3	65.1	0.0	74.4	64.9	202.1	0.0	266.9
216	GV	GV-49	AURANGABAD	0.0	176.6	0	176.6		10.6		10.6		0.0		0.0		77.1		77.1		49.7		49.7		safe		safe	0.0	10.6	0.0	10.6	0.0	88.8	0.0	88.8
217	GV	GV-50	AURANGABAD	3.6	957.8	0	961.5		14.8		14.8		0.0		0.0		332.6		332.6		36.3		36.1		safe		safe	0.0	34.3	0.0	34.3	3.6	590.9	0.0	594.5
218	GV	GV-51	AURANGABAD	0.0	80.4	0	80.4		1.1		1.1		0.0		0.0		20.4		20.4		26.7		26.7		safe		safe	0.0	1.1	0.0	1.1	0.0	58.9	0.0	58.9
219	GV	GV-52	AURANGABAD	53.6	2004.9	0	2058.5	3.2	33.8		37.0	0.0	0.2		0.2	20.5	631.8		652.3	44.2	33.2		33.5	safe	safe		safe	13.2	122.7	0.0	135.9	19.9	1250.1	0.0	1270.0
220	GV	GV-52 A	AURANGABAD	0.0	322.1	0	322.1		10.3		10.3		0.0		0.0		99.0		99.0		33.9		33.9		safe		safe	0.0	10.3	0.0	10.3	0.0	212.9	0.0	212.9
221	GV	GV-53	AURANGABAD	266.9	2616.6	0	2883.4	6.2	34.1		40.3	0.0	1.3		1.3	148.7	1204.6		1353.2	58.0	47.4		48.4	safe	safe		safe	6.2	469.1	0.0	475.3	112.0	941.7	0.0	1053.7
222	GV	GV-54	AURANGABAD	0.0	95.6	0	95.6		5.3		5.3		0.0		0.0		69.1		69.1		77.8		77.8		semi_critical		semi_critical	0.0	5.3	0.0	5.3	0.0	21.2	0.0	21.2
223	GV	GV-55	AURANGABAD	20.2	1769.3	0	1789.5		40.2		40.2		0.0		0.0		932.7		932.7		55.0		54.4		safe		safe	0.0	40.2	0.0	40.2	20.2	796.4	0.0	816.6
224	TE	TE-10B	AURANGABAD	887.7	1171.9	0	2059.7	4.7	17.7		22.4	0.0	0.0		0.0	43.1	345.1		388.2	5.4	31.0		19.9	safe	safe		safe	4.7	17.7	0.0	22.4	840.0	809.2	0.0	1649.1

S.No	BASIN	WATER SHED	District	Annual Extractable Ground water Resource (ham)				Ground Water Extraction for all uses (ha.m)												Stage of Ground Water Extraction (%)				Categorization of Assessment Unit				Allocation of Ground Water Resource for Domestic Utilisation for projected year 2025 (ham)				Net Annual Ground Water Availability for Future Use (ham)			
								Domestic				Industrial				Irrigation																			
				C	NC	PQ	Total	C	NC	PQ	Total	C	NC	PQ	Total	C	NC	PQ	Total	C	NC	PQ	Total	C	NC	PQ	Total	C	NC	PQ	Total	C	NC	PQ	Total
225	TE	TE-13 B	AURANGABAD	1130.4	1362.0	0	2492.4	3.8	21.7		25.5	0.0	0.0		0.0	119.6	448.1		567.7	10.9	34.5		23.8	safe	safe		safe	3.8	21.7	0.0	25.5	1007.0	892.2	0.0	1899.2
226	TE	TE-15 B	AURANGABAD	63.4	1348.3	0	1411.7		32.4		32.4		0.0		0.0		737.9		737.9		57.1		54.6		safe		safe	0.0	52.2	0.0	52.2	63.4	558.2	0.0	621.5
227	TE	TE-22 B	AURANGABAD	10.1	1689.7	0	1699.8		32.5		32.5		0.0		0.0		625.2		625.2		38.9		38.7		safe		safe	0.0	32.5	0.0	32.5	10.1	1032.0	0.0	1042.1
228	TE	TE-28 B	AURANGABAD	0.0	3944.4	0	3944.4		44.0		44.0		0.0		0.0		1209.0		1209.0		31.8		31.8		safe		safe	0.0	44.0	0.0	44.0	0.0	2691.4	0.0	2691.4
229	TE	TE-36 B	AURANGABAD	2015.8	1571.1	0	3586.9	13.6	29.3		42.9	0.0	0.0		0.0	379.9	641.8		1021.6	19.5	42.7		29.7	safe	safe		safe	13.6	29.3	0.0	42.9	1622.3	900.0	0.0	2522.3
230	TE	TE-37 B	AURANGABAD	1989.2	2266.8	0	4256.0	24.7	51.9		76.6	0.0	0.0		0.0	662.7	1287.0		1949.6	34.6	59.1		47.6	safe	safe		safe	24.7	51.9	0.0	76.6	1301.8	928.0	0.0	2229.8
231	TE	TE-5 B	AURANGABAD	0.0	210.3	0	210.3		7.1		7.1		0.0		0.0		85.1		85.1		43.8		43.8		safe		safe	0.0	7.3	0.0	7.3	0.0	118.0	0.0	118.0
232	TE	TE-6 B	AURANGABAD	0.0	760.1	0	760.1		10.5		10.5		0.0		0.0		484.4		484.4		65.1		65.1		safe		safe	0.0	40.6	0.0	40.6	0.0	235.2	0.0	235.2
233	TE	TE-72 B	AURANGABAD	0.0	1417.9	0	1417.9		51.3		51.3		0.0		0.0		1190.9		1190.9		87.6		87.6		semi_critical		semi_critical	0.0	51.3	0.0	51.3	0.0	175.7	0.0	175.7
234	GV	GV-56	BEED	307.6	1098.4	0	1406.0	24.0	45.2		69.2	0.0	0.0		0.0	136.5	683.2		819.6	52.2	66.3		63.2	safe	safe		safe	24.0	45.2	0.0	69.2	147.2	370.1	0.0	517.2
235	GV	GV-57 A	BEED	3.6	3269.8	0	3273.4		65.6		65.6		0.0		0.0		2174.4		2174.4		68.5		68.4		safe		safe	0.0	65.6	0.0	65.6	3.6	1029.8	0.0	1033.4
236	GV	GV-58	BEED	796.2	2755.8	0	3551.9	6.7	49.2		55.9	0.0	0.0		0.0	217.1	1150.6		1367.7	28.1	43.5		40.1	safe	safe		safe	6.7	49.2	0.0	55.9	572.4	1555.9	0.0	2128.3
237	GV	GV-59	BEED	636.3	1894.2	0	2530.5	4.8	89.4		94.2	0.0	0.0		0.0	82.6	948.9		1031.5	13.7	54.8		44.5	safe	safe		safe	4.8	89.4	0.0	94.2	548.8	855.9	0.0	1404.7
238	GV	GV-60 A	BEED	5.1	331.0	0	336.1		9.4		9.4		0.0		0.0		63.6		63.6		22.1		21.7		safe		safe	0.0	9.4	0.0	9.4	5.1	258.0	0.0	263.1
239	GV	GV-61	BEED	0.0	1073.3	0	1073.3		38.0		38.0		0.0		0.0		491.9		491.9		49.4		49.4		safe		safe	0.0	38.0	0.0	38.0	0.0	543.4	0.0	543.4
240	GV	GV-62	BEED	1997.2	2038.7	0	4035.8	8.0	25.0		33.1	0.0	0.0		0.0	552.1	886.6		1438.7	28.0	44.7		36.5	safe	safe		safe	8.0	25.0	0.0	33.1	1437.0	1127.0	0.0	2564.1
241	GV	GV-63	BEED	0.0	1880.9	0	1880.9		32.4		32.4		0.0		0.0		850.5		850.5		46.9		46.9		safe		safe	0.0	32.4	0.0	32.4	0.0	997.9	0.0	997.9
242	GV	GV-64	BEED	964.9	350.1	0	1315.0	7.3	82.6		89.9	0.0	0.0		0.0	398.2	120.1		518.3	42.0	57.9		46.2	safe	safe		safe	7.3	82.6	0.0	89.9	559.4	147.4	0.0	706.9
243	GV	GV-65	BEED	388.3	613.9	0	1002.2	11.1	24.5		35.6	0.0	0.0		0.0	176.1	252.5		428.5	48.2	45.1		46.3	safe	safe		safe	11.1	24.5	0.0	35.6	201.1	337.0	0.0	538.1
244	GV	GV-67	BEED	13.0	1290.8	0	1303.8		44.4		44.4		0.0		0.0		769.4		769.4		63.1		62.4		safe		safe	0.0	44.4	0.0	44.4	13.0	476.9	0.0	489.9
245	GV	GV-68	BEED	1360.7	788.3	0	2149.0	21.7	27.2		49.0	0.0	0.0		0.0	504.8	233.9		738.7	38.7	33.1		36.7	safe	safe		safe	21.7	27.2	0.0	49.0	834.2	527.1	0.0	1361.3
246	GV	GV-69	BEED	2222.4	624.5	0	2846.9	33.0	38.2		71.2	0.0	0.0		0.0	787.3	354.9		1142.2	36.9	62.9		42.6	safe	safe		safe	33.0	38.2	0.0	71.2	1402.1	231.4	0.0	1633.5
247	GV	GV-70	BEED	0.0	1635.0	0	1635.0		37.9		37.9		0.0		0.0		1109.3		1109.3		70.2		70.2		semi_critical		semi_critical	0.0	38.0	0.0	38.0	0.0	487.8	0.0	487.8
248	GV	GV-72	BEED	342.7	1677.9	0	2020.6	16.8	41.8		58.6	0.0	0.0		0.0	180.0	1173.4		1353.3	57.4	72.4		69.9	safe	semi_critical		safe	16.9	41.8	0.0	58.7	145.9	462.8	0.0	608.6
249	GV	GV-73	BEED	0.0	634.9	0	634.9		7.1		7.1		0.0		0.0		386.6		386.6		62.0		62.0		safe		safe	0.0	18.6	0.0	18.6	0.0	229.7	0.0	229.7

S.No	BASIN	WATER SHED	District	Annual Extractable Ground water Resource (ham)				Ground Water Extraction for all uses (ha.m)												Stage of Ground Water Extraction (%)				Categorization of Assessment Unit				Allocation of Ground Water Resource for Domestic Utilisation for projected year 2025 (ham)				Net Annual Ground Water Availability for Future Use (ham)			
								Domestic				Industrial				Irrigation																			
				C	NC	PQ	Total	C	NC	PQ	Total	C	NC	PQ	Total	C	NC	PQ	Total	C	NC	PQ	Total	C	NC	PQ	Total	C	NC	PQ	Total	C	NC	PQ	Total
250	GV	GV-75	BEED	16016.8	143.1	0	16159.8	153.3			153.3	0.0			0.0	2088.9			2088.9	14.0			13.9	safe			safe	153.3	0.0	0.0	153.3	13774.6	143.1	0.0	13917.6
251	GV	GV-76	BEED	97.7	47.7	0	145.3	13.7	10.2		23.9	0.0	0.0		0.0	42.2	21.2		63.4	57.3	65.9		60.1	safe	safe		safe	13.7	10.2	0.0	23.9	41.7	16.2	0.0	58.0
252	GV	GV-77	BEED	871.5	1.2	0	872.7	30.4			30.4	0.0			0.0	437.3			437.3	53.7			53.6	safe			safe	30.4	0.0	0.0	30.4	403.9	1.2	0.0	405.0
253	GV	GV-78	BEED	880.6	3.5	0	884.1	34.6			34.6	0.0			0.0	539.3			539.3	65.2			64.9	safe			safe	34.6	0.0	0.0	34.6	306.7	3.5	0.0	310.2
254	GV	GV-80	BEED	4860.9	419.5	0	5280.4	114.2	21.0		135.2	0.0	0.0		0.0	2246.3	362.5		2608.7	48.6	91.4		52.0	safe	critical		safe	114.2	21.0	0.0	135.2	2500.4	36.1	0.0	2536.5
255	GV	GV-81	BEED	3781.5	2.5	0	3784.0	128.8			128.8	0.0			0.0	1129.4			1129.4	33.3			33.2	safe			safe	128.8	0.0	0.0	128.8	2523.4	2.5	0.0	2525.9
256	GV	GV-84	BEED	179.5	2871.6	0	3051.0	4.8	70.4		75.2	0.0	0.0		0.0	118.5	2351.0		2469.5	68.7	84.3		83.4	safe	semi_critical		semi_critical	4.8	70.4	0.0	75.2	56.2	450.2	0.0	506.3
257	GV	GV-85	BEED	462.4	1749.1	0	2211.5	13.6	45.7		59.4	0.0	0.0		0.0	336.3	1220.2		1556.5	75.7	72.4		73.1	semi_critical	semi_critical		semi_critical	13.6	45.7	0.0	59.4	112.5	483.2	0.0	595.6
258	GV	GV-86	BEED	1420.3	1847.9	0	3268.1	23.8	46.1		69.9	0.0	0.0		0.0	756.9	1253.8		2010.7	55.0	70.3		63.7	safe	semi_critical		safe	23.8	46.1	0.0	69.9	639.5	548.0	0.0	1187.5
259	GV	GV-87	BEED	93.2	1406.6	0	1499.8	11.3	47.8		59.1	0.0	0.0		0.0	78.4	1223.2		1301.6	96.3	90.4		90.7	critical	critical		critical	11.3	47.8	0.0	59.1	3.5	135.6	0.0	139.1
260	GV	GV-90 B	BEED	244.3	2772.1	0	3016.4	40.7	101.3		141.9	0.0	0.0		0.0	125.0	2034.6		2159.6	67.8	77.0		76.3	safe	semi_critical		semi_critical	40.7	101.3	0.0	141.9	78.6	636.3	0.0	714.9
261	GV	GV-91	BEED	159.3	2244.4	0	2403.6	14.4	64.0		78.5	0.0	0.0		0.0	80.7	1650.1		1730.8	59.7	76.4		75.3	safe	semi_critical		semi_critical	14.4	64.0	0.0	78.5	64.2	530.2	0.0	594.3
262	GV	GV-97 B	BEED	56.6	567.3	0	623.9	7.9	14.3		22.2	0.0	0.0		0.0	10.8	655.6		666.5	33.1	118.1		110.4	safe	over_exploited		over_exploited	7.9	14.3	0.0	22.2	37.9	0.0	0.0	37.9
263	GV	GV-98	BEED	0.0	559.4	0	559.4		10.6		10.6		0.0		0.0		429.2		429.2		78.6		78.6		semi_critical		semi_critical	0.0	10.6	0.0	10.6	0.0	119.6	0.0	119.6
264	GV	GV-99	BEED	0.0	711.5	0	711.5		22.4		22.4		0.0		0.0		459.4		459.4		67.7		67.7		safe		safe	0.0	22.4	0.0	22.4	0.0	229.8	0.0	229.8
265	MR	MR-1	BEED	71.1	1843.7	0	1914.9	6.0	69.6		75.5	0.0	0.0		0.0	34.2	1578.1		1612.3	56.5	89.4		88.1	safe	semi_critical		semi_critical	6.0	69.6	0.0	75.5	30.9	196.1	0.0	227.0
266	MR	MR-14	BEED	815.7	2524.4	0	3340.1	8.2	81.8		89.9	0.0	296.9		296.9	342.3	1227.0		1569.3	43.0	63.6		58.6	safe	safe		safe	8.2	81.8	0.0	90.0	465.2	918.7	0.0	1383.9
267	MR	MR-15	BEED	0.0	2294.5	0	2294.5		47.5		47.5		0.0		0.0		719.5		719.5		33.4		33.4		safe		safe	0.0	47.5	0.0	47.5	0.0	1527.5	0.0	1527.5
268	MR	MR-2	BEED	430.7	899.2	0	1329.9	2.7	18.7		21.4	0.0	0.2		0.2	90.4	555.6		646.0	21.6	63.9		50.2	safe	safe		safe	2.7	18.7	0.0	21.4	337.6	324.6	0.0	662.2
269	MR	MR-31 B	BEED	0.0	936.0	0	936.0		117.0		117.0		0.0		0.0		49.3		49.3		17.8		17.8		safe		safe	0.0	117.0	0.0	117.0	0.0	769.7	0.0	769.7
270	MR	MR-32 B	BEED	5190.5	197.6	0	5388.0	23.7	46.2		69.9	0.0	0.0		0.0	2527.2	245.1		2772.3	49.1	147.5		52.8	safe	over_exploited		safe	23.7	46.2	0.0	69.9	2639.5	0.0	0.0	2639.5
271	MR	MR-4	BEED	1622.6	946.6	0	2569.2	19.4	32.2		51.6	0.0	0.0		0.0	1039.6	511.6		1551.2	65.3	57.4		62.4	safe	safe		safe	19.4	32.2	0.0	51.6	563.5	402.8	0.0	966.4
272	MR	MR-6	BEED	1229.5	697.8	0	1927.3	33.2	83.6		116.8	0.0	0.0		0.0	567.0	762.1		1329.1	48.8	121.2		75.0	safe	over_exploited		semi_critical	33.2	83.6	0.0	116.8	629.3	0.0	0.0	629.3
273	MR	MR-8	BEED	399.7	3063.0	0	3462.7	17.9	39.0		56.8	0.0	0.0		0.0	221.8	436.1		657.8	60.0	15.5		20.6	safe	safe		safe	17.9	39.0	0.0	56.9	160.1	2588.0	0.0	2748.1
274	SA	SA-10	BEED	0.0	1773.7	0	1773.7		101.5		101.5		0.0		0.0		2201.3		2201.3		129.8		129.8		over_exploited		over_exploited	0.0	101.5	0.0	101.5	0.0	0.0	0.0	0.0

S.No	BASIN	WATER SHED	District	Annual Extractable Ground water Resource (ham)				Ground Water Extraction for all uses (ha.m)												Stage of Ground Water Extraction (%)				Categorization of Assessment Unit				Allocation of Ground Water Resource for Domestic Utilisation for projected year 2025 (ham)				Net Annual Ground Water Availability for Future Use (ham)			
								Domestic				Industrial				Irrigation																			
				C	NC	PQ	Total	C	NC	PQ	Total	C	NC	PQ	Total	C	NC	PQ	Total	C	NC	PQ	Total	C	NC	PQ	Total	C	NC	PQ	Total	C	NC	PQ	Total
275	SA	SA-11	BEED	3570.7	807.6	0	4378.3	58.8	13.7		72.5	0.0	0.0		0.0	1967.2	364.3		2331.5	56.7	46.8		54.9	safe	safe		safe	58.8	13.7	0.0	72.5	1544.7	429.6	0.0	1974.3
276	SA	SA-12	BEED	0.0	595.8	0	595.8		76.7		76.7		0.0		0.0		122.7		122.7		33.5		33.5		safe		safe	0.0	76.7	0.0	76.7	0.0	396.5	0.0	396.5
277	SA	SA-13	BEED	1360.1	1843.9	0	3203.9	30.2	40.0		70.2	0.0	0.0		0.0	325.9	555.8		881.6	26.2	32.3		29.7	safe	safe		safe	30.2	40.0	0.0	70.2	1004.0	1248.1	0.0	2252.1
278	SA	SA-14	BEED	744.6	3568.4	0	4313.1	22.3	67.1		89.4	0.0	0.0		0.0	384.8	1361.2		1746.0	54.7	40.0		42.6	safe	safe		safe	22.3	67.1	0.0	89.4	337.5	2140.1	0.0	2477.6
279	SA	SA-15	BEED	0.0	1306.3	0	1306.3		76.0		76.0		0.0		0.0		963.2		963.2		79.5		79.5		semi_critical		semi_critical	0.0	76.0	0.0	76.0	0.0	267.2	0.0	267.2
280	SA	SA-5 B	BEED	0.0	1605.3	0	1605.3		111.8		111.8		0.0		0.0		1305.6		1305.6		88.3		88.3		semi_critical		semi_critical	0.0	111.8	0.0	111.8	0.0	187.9	0.0	187.9
281	SA	SA-9	BEED	441.7	2944.8	0	3386.5	23.5	30.7		54.3	0.0	0.0		0.0	282.6	1398.9		1681.5	69.3	48.5		51.3	safe	safe		safe	23.6	30.8	0.0	54.3	135.6	1515.2	0.0	1650.7
282	WG	WG-10	BHANDARA	0.0	1733.0	0	1733.0		71.5		71.5		0.0		0.0		1008.0		1008.0		62.3		62.3		safe		safe	0.0	71.5	0.0	71.5	0.0	653.4	0.0	653.4
283	WG	WG-11	BHANDARA	698.6	2363.0	0	3061.6	22.7	47.4		70.1	0.0	0.0		0.0	364.5	933.2		1297.6	55.4	41.5		44.7	safe	safe		safe	22.7	47.4	0.0	70.1	311.5	1382.5	0.0	1693.9
284	WG	WG-12	BHANDARA	0.0	920.4	0	920.4		59.1		59.1		0.0		0.0		804.0		804.0		93.8		93.8		critical		critical	0.0	59.1	0.0	59.1	0.0	57.3	0.0	57.3
285	WG	WG-5	BHANDARA	426.2	2833.0	0	3259.2	34.5	23.6		58.2	0.0	0.0		0.0	150.9	686.9		837.8	43.5	25.1		27.5	safe	safe		safe	34.5	23.6	0.0	58.2	240.8	2122.5	0.0	2363.3
286	WG	WG-6	BHANDARA	187.7	2291.5	0	2479.2	11.4	30.1		41.5	0.0	0.0		0.0	87.2	709.8		797.1	52.5	32.3		33.8	safe	safe		safe	11.4	30.1	0.0	41.5	89.1	1551.5	0.0	1640.6
287	WG	WG-7 B	BHANDARA	0.0	1436.7	0	1436.7		77.0		77.0		0.0		0.0		726.6		726.6		55.9		55.9		safe		safe	0.0	77.0	0.0	77.0	0.0	633.1	0.0	633.1
288	WG	WG-8	BHANDARA	0.0	968.6	0	968.6		50.0		50.0		0.0		0.0		1234.2		1234.2		132.6		132.6		over_exploited		over_exploited	0.0	50.0	0.0	50.0	0.0	0.0	0.0	0.0
289	WG	WG-9	BHANDARA	468.6	2312.8	0	2781.5	32.0	40.2		72.2	0.0	0.0		0.0	230.9	606.3		837.2	56.1	28.0		32.7	safe	safe		safe	32.0	40.2	0.0	72.2	205.8	1666.3	0.0	1872.1
290	WGB	WGB'-0	BHANDARA	61.0	1450.8	0	1511.8	9.4	40.1		49.5	0.0	64.8		64.8	23.6	1125.4		1149.0	54.1	84.8		83.6	safe	semi_critical		semi_critical	9.4	40.1	0.0	49.5	28.0	220.6	0.0	248.6
291	WGB	WGB-3	BHANDARA	1471.2	2862.7	0	4333.9	32.0	44.1		76.1	0.0	0.0		0.0	672.7	581.4		1254.1	47.9	21.8		30.7	safe	safe		safe	32.0	44.1	0.0	76.1	766.5	2237.2	0.0	3003.7
292	WGB	WGB-4	BHANDARA	0.0	883.3	0	883.3		62.2		62.2		0.0		0.0		1119.2		1119.2		133.8		133.8		over_exploited		over_exploited	0.0	62.2	0.0	62.2	0.0	0.0	0.0	0.0
293	WGC	WGC-1	BHANDARA	60.7	2878.3	0	2939.0	23.9	78.3		102.2	0.0	0.0		0.0	10.2	359.8		370.0	56.2	15.2		16.1	safe	safe		safe	23.9	78.3	0.0	102.3	26.6	2440.2	0.0	2466.8
294	WGC	WGC-2 B	BHANDARA	1734.7	666.2	0	2400.9	63.9	16.2		80.1	0.0	0.0		0.0	2651.4	777.2		3428.6	156.5	119.1		146.1	over_exploited	over_exploited		over_exploited	63.9	16.2	0.0	80.1	0.0	0.0	0.0	0.0
295	WGC	WGC-3 B	BHANDARA	899.4	3343.4	0	4242.8	48.9	81.3		130.1	0.0	0.0		0.0	135.0	684.3		819.3	20.4	22.9		22.4	safe	safe		safe	48.9	81.3	0.0	130.1	715.6	2577.8	0.0	3293.4
296	WGC	WGC-4	BHANDARA	0.0	1633.6	0	1633.6		93.4		93.4		0.0		0.0		1758.1		1758.1		113.3		113.3		over_exploited		over_exploited	0.0	93.4	0.0	93.4	0.0	0.0	0.0	0.0
297	WGC	WGC-5	BHANDARA	0.0	2496.3	0	2496.3		34.8		34.8		0.0		0.0		327.7		327.7		14.5		14.5		safe		safe	0.0	34.8	0.0	34.8	0.0	2133.8	0.0	2133.8
298	WGC	WGC-6	BHANDARA	0.0	1488.9	0	1488.9		59.1		59.1		0.0		0.0		711.8		711.8		51.8		51.8		safe		safe	0.0	59.1	0.0	59.1	0.0	718.0	0.0	718.0
299	WGC	WGC-7	BHANDARA	269.5	1595.9	0	1865.5	20.3	64.4		84.7	0.0	0.0		0.0	199.2	453.1		652.3	81.4	32.4		39.5	semi_critical	safe		safe	20.3	64.4	0.0	84.7	50.1	1078.5	0.0	1128.5

S.No	BASIN	WATERSHED	District	Annual Extractable Ground water Resource (ham)				Ground Water Extraction for all uses (ha.m)												Stage of Ground Water Extraction (%)				Categorization of Assessment Unit				Allocation of Ground Water Resource for Domestic Utilisation for projected year 2025 (ham)				Net Annual Ground Water Availability for Future Use (ham)			
								Domestic				Industrial				Irrigation																			
				C	NC	PQ	Total	C	NC	PQ	Total	C	NC	PQ	Total	C	NC	PQ	Total	C	NC	PQ	Total	C	NC	PQ	Total	C	NC	PQ	Total	C	NC	PQ	Total
300	WGCK	WGCK-0B	BHANDARA	0.0	2027.0	0	2027.0		30.2		30.2		0.0		0.0		316.3		316.3		17.1		17.1		safe		safe	0.0	30.2	0.0	30.2	0.0	1680.5	0.0	1680.5
301	WGK	WGK-6	BHANDARA	7.0	507.6	0	514.7		35.1		35.1		0.0		0.0		315.3		315.3		69.0		68.1		safe		safe	0.0	35.2	0.0	35.2	7.0	157.2	0.0	164.2
302	WGM	WGM-2	BHANDARA	0.0	2641.5	0	2641.5		93.4		93.4		0.0		0.0		465.8		465.8		21.2		21.2		safe		safe	0.0	93.4	0.0	93.4	0.0	2082.3	0.0	2082.3
303	WGS	WGS-2	BHANDARA	0.0	1724.2	521	2245.0		46.4	0.0	46.4		0.0	0.0	0.0		548.0	56.4	604.4		34.5	10.8	34.5		safe	safe	safe	0.0	46.4	0.0	46.4	0.0	1129.9	464.4	1129.9
304	WGS	WGS-3	BHANDARA	1602.6	1001.8	0	2604.4	50.2	8.4		58.6	0.0	0.0		0.0	985.0	623.2		1608.2	64.6	63.0		64.0	safe	safe		safe	50.2	8.4	0.0	58.6	567.4	370.2	0.0	937.7
305	WGS	WGS-4	BHANDARA	2859.4	734.8	0	3594.2	69.5	92.3		161.8	0.0	0.0		0.0	1359.3	1168.9		2528.2	50.0	171.6		74.8	safe	over_exploited		semi_critical	69.5	92.3	0.0	161.8	1430.6	0.0	0.0	1430.6
306	WGSG	WGSG-0	BHANDARA	2314.9	0.0	0	2314.9	49.1			49.1	0.0			0.0	2723.5			2723.5	119.8			119.8	over_exploited			over_exploited	49.1	0.0	0.0	49.1	0.0	0.0	0.0	0.0
307	GP	GP-1	BULDHANA	20.3	3915.0	0	3935.3		47.4		47.4		4.2		4.2		834.9		834.9		22.6		22.5		safe		safe	0.0	47.4	0.0	47.4	20.3	3028.4	0.0	3048.8
308	GP	GP-2	BULDHANA	4471.4	2251.7	0	6723.1	108.8	64.6		173.5	0.0	0.0		0.0	4455.6	2426.9		6882.5	102.1	110.7		105.0	over_exploited	over_exploited		over_exploited	108.8	64.6	0.0	173.5	0.0	0.0	0.0	0.0
309	GP	GP-4	BULDHANA	611.1	599.8	0	1210.8	19.6	31.3		50.9	0.0	0.0		0.0	482.9	243.4		726.4	82.2	45.8		64.2	semi_critical	safe		safe	19.6	31.3	0.0	50.9	108.6	325.0	0.0	433.6
310	GP	GP-5	BULDHANA	2488.5	752.3	0	3240.7	113.0	47.0		160.0	0.0	0.0		0.0	2842.4	147.4		2989.8	118.8	25.8		97.2	over_exploited	safe		critical	113.0	47.0	0.0	160.0	0.0	557.9	0.0	557.9
311	GP	GP-6	BULDHANA	1637.9	943.6	0	2581.5	49.5	49.8		99.2	0.0	0.0		0.0	1384.2	1951.4		3335.6	87.5	212.1		133.1	semi_critical	over_exploited		over_exploited	49.5	49.8	0.0	99.3	204.2	0.0	0.0	204.2
312	GP	GP-7	BULDHANA	868.1	1366.8	0	2234.9	10.2	33.4		43.6	0.0	0.0		0.0	656.4	1362.1		2018.4	76.8	102.1		92.3	semi_critical	over_exploited		critical	10.2	33.4	0.0	43.6	201.5	0.0	0.0	201.5
313	GPA	GPA-1	BULDHANA	1399.7	656.6	68	2124.3	31.0	11.5	11.5	54.0	0.0	0.0	0.0	0.0	1872.4	760.3	286.1	2918.8	136.0	117.5	438.0	130.1	over_exploited	over_exploited	over_exploited	over_exploited	31.0	11.5	11.5	42.5	0.0	0.0	0.0	0.0
314	GPD	GPD-1	BULDHANA	4481.7	2113.0	0	6594.7	66.1	70.6		136.7	0.0	0.0		0.0	4310.1	2839.8		7149.8	97.6	137.7		110.5	critical	over_exploited		over_exploited	66.1	70.6	0.0	136.7	105.5	0.0	0.0	105.5
315	GPD	GPD-2	BULDHANA	1767.2	696.6	0	2463.8	57.7	43.4		101.1	0.0	0.0		0.0	909.2	857.3		1766.4	54.7	129.3		75.8	safe	over_exploited		semi_critical	57.7	43.4	0.0	101.1	800.4	0.0	0.0	800.4
316	GPD	GPD-3	BULDHANA	3761.9	605.8	0	4367.7	67.2	38.7		105.9	0.0	0.0		0.0	2740.2	918.7		3659.0	74.6	158.1		86.2	semi_critical	over_exploited		semi_critical	67.2	38.7	0.0	105.9	954.5	0.0	0.0	954.5
317	GPDG	GPDG-1	BULDHANA	2237.7	2359.9	0	4597.6	68.3	140.9		209.2	0.0	0.0		0.0	2378.4	3223.1		5601.5	109.3	142.5		126.4	over_exploited	over_exploited		over_exploited	68.3	140.9	0.0	209.2	0.0	0.0	0.0	0.0
318	GPP	GPP-1	BULDHANA	472.8	4815.8	0	5288.6	9.4	56.6		66.0	0.0	0.0		0.0	17.3	741.9		759.1	5.6	16.6		15.6	safe	safe		safe	9.4	56.6	0.0	66.0	446.2	4017.3	0.0	4463.5
319	PG	PG-1	BULDHANA	1166.5	2386.4	0	3553.0	42.6	92.9		135.5	0.0	0.0		0.0	763.6	818.9		1582.5	69.1	38.2		48.4	safe	safe		safe	42.6	92.9	0.0	135.5	360.4	1474.6	0.0	1835.0
320	PG	PG-2	BULDHANA	0.0	1323.9	0	1323.9		58.8		58.8		0.0		0.0		1396.2		1396.2		109.9		109.9		over_exploited		over_exploited	0.0	58.8	0.0	58.8	0.0	0.0	0.0	0.0
321	PG	PG-24	BULDHANA	0.0	1977.2	0	1977.2		72.5		72.5		0.0		0.0		1560.8		1560.8		82.6		82.6		semi_critical		semi_critical	0.0	72.5	0.0	72.5	0.0	343.9	0.0	343.9
322	PG	PG-25	BULDHANA	0.0	2139.2	0	2139.2		91.8		91.8		0.0		0.0		1159.4		1159.4		58.5		58.5		safe		safe	0.0	91.8	0.0	91.8	0.0	888.0	0.0	888.0
323	PG	PG-26	BULDHANA	0.0	1095.8	0	1095.8		62.1		62.1		0.0		0.0		634.4		634.4		63.6		63.6		safe		safe	0.0	62.1	0.0	62.1	0.0	399.4	0.0	399.4
324	PG	PG-3	BULDHANA	0.0	431.9	0	431.9		31.0		31.0		0.0		0.0		268.7		268.7		69.4		69.4		safe		safe	0.0	31.0	0.0	31.0	0.0	132.2	0.0	132.2

S.No	BASIN	WATERSHED	District	Annual Extractable Ground water Resource (ham)				Ground Water Extraction for all uses (ha.m)												Stage of Ground Water Extraction (%)				Categorization of Assessment Unit				Allocation of Ground Water Resource for Domestic Utilisation for projected year 2025 (ham)				Net Annual Ground Water Availability for Future Use (ham)			
								Domestic				Industrial				Irrigation																			
				C	NC	PQ	Total	C	NC	PQ	Total	C	NC	PQ	Total	C	NC	PQ	Total	C	NC	PQ	Total	C	NC	PQ	Total	C	NC	PQ	Total	C	NC	PQ	Total
325	PG	PG-4	BULDHANA	2267.7	966.7	0	3234.4	52.9	23.0		75.9	0.0	0.0		0.0	1984.8	203.1		2187.9	89.9	23.4		70.0	semi_critical	safe		safe	52.9	23.0	0.0	75.9	230.0	740.6	0.0	970.6
326	PG	PG-5	BULDHANA	683.5	1963.2	0	2646.7	22.8	28.8		51.5	0.0	30.6		30.6	701.1	1573.3		2274.4	105.9	83.2		89.0	over_exploited	semi_critical		semi_critical	22.8	28.8	0.0	51.5	0.0	330.6	0.0	330.6
327	PG	PG-6	BULDHANA	495.0	392.7	0	887.7	16.4	18.5		35.0	0.0	0.3		0.3	426.1	546.0		972.1	89.4	143.8		113.5	semi_critical	over_exploited		over_exploited	16.4	18.5	0.0	35.0	52.5	0.0	0.0	52.5
328	PGKA	PGKA-1	BULDHANA	902.2	2094.2	0	2996.4	5.4	39.0		44.4	0.0	123.4		123.4	57.9	2434.6		2492.5	7.0	124.0		88.8	safe	over_exploited		semi_critical	5.4	39.0	0.0	44.4	838.9	0.0	0.0	838.9
329	PGKO	PGKO-1	BULDHANA	230.7	1369.5	0	1600.2	4.4	18.7		23.1	0.0	0.1		0.1	33.4	1297.0		1330.4	16.4	96.1		84.6	safe	critical		semi_critical	4.4	18.7	0.0	23.1	192.9	53.7	0.0	246.5
330	PT	PT-10	BULDHANA	0.0	9.0	0	9.0		1.1		1.1		0.0		0.0		1.1		1.1		23.8		23.8		safe		safe	0.0	1.1	0.0	1.1	0.0	6.9	0.0	6.9
331	PT	PT-11	BULDHANA	323.7	4073.3	0	4397.0	0.3	33.6		33.9	0.0	0.0		0.0	14.0	1400.9		1414.9	4.4	35.2		33.0	safe	safe		safe	0.3	33.6	0.0	33.9	309.4	2638.8	0.0	2948.2
332	PT	PT-12	BULDHANA	1056.3	1038.2	0	2094.5	14.4	16.0		30.3	0.0	0.2		0.2	373.3	1237.4		1610.7	36.7	120.7		78.4	safe	over_exploited		semi_critical	14.4	16.0	0.0	30.4	668.7	0.0	0.0	668.7
333	PT	PT-13	BULDHANA	1000.4	2165.8	0	3166.2	26.4	40.8		67.1	0.0	31.7		31.7	480.2	1273.1		1753.3	50.6	62.1		58.5	safe	safe		safe	26.4	40.8	0.0	67.1	493.8	820.2	0.0	1314.0
334	PT	PT-14	BULDHANA	0.0	1976.1	0	1976.1		43.7		43.7		0.0		0.0		1017.2		1017.2		53.7		53.7		safe		safe	0.0	43.7	0.0	43.7	0.0	915.3	0.0	915.3
335	PT	PT-15	BULDHANA	315.3	2389.7	0	2704.9	9.0	28.7		37.8	0.0	0.0		0.0	203.0	2585.3		2788.3	67.3	109.4		104.5	safe	over_exploited		over_exploited	9.0	28.7	0.0	37.8	103.2	0.0	0.0	103.2
336	PT	PT-16	BULDHANA	150.2	4286.9	0	4437.1	0.0	81.1		81.1	0.0	185.7		185.7	77.2	4979.3		5056.5	51.4	122.4		120.0	safe	over_exploited		over_exploited	0.0	81.1	0.0	81.1	73.0	0.0	0.0	73.0
337	PT	PT-8	BULDHANA	91.4	1620.5	0	1711.9	4.4	23.1		27.5	0.0	0.0		0.0	35.1	822.6		857.7	43.2	52.2		51.7	safe	safe		safe	4.4	23.1	0.0	27.5	51.9	774.8	0.0	826.7
338	PT	PT-9	BULDHANA	0.0	957.4	0	957.4		174.7		174.7		0.0		0.0		1119.0		1119.0		135.1		135.1		over_exploited		over_exploited	0.0	174.7	0.0	174.7	0.0	0.0	0.0	0.0
339	PTB	PTB-1	BULDHANA	2537.4	2965.0	0	5502.5	32.8	77.6		110.4	0.0	30.7		30.7	1218.2	2152.2		3370.4	49.3	76.2		63.8	safe	semi_critical		safe	32.8	77.6	0.0	110.4	1286.4	704.6	0.0	1990.9
340	PTG	PTG-1	BULDHANA	202.4	512.3	0	714.6	3.2	24.6		27.8	0.0	0.0		0.0	45.5	755.5		800.9	24.1	152.3		116.0	safe	over_exploited		over_exploited	3.2	24.6	0.0	27.8	153.7	0.0	0.0	153.7
341	PTG	PTG-2	BULDHANA	893.2	1969.4	0	2862.6	24.6	41.3		66.0	0.0	0.3		0.3	80.9	2083.1		2164.0	11.8	107.9		77.9	safe	over_exploited		semi_critical	24.6	41.3	0.0	66.0	787.7	0.0	0.0	787.7
342	PTG	PTG-3	BULDHANA	0.0	285.6	0	285.6		14.7		14.7		0.0		0.0		183.2		183.2		69.3		69.3		safe		safe	0.0	14.8	0.0	14.8	0.0	87.7	0.0	87.7
343	PTG	PTG-4	BULDHANA	657.7	3468.2	0	4125.9	34.3	29.1		63.4	0.0	2.8		2.8	424.7	3113.7		3538.3	69.8	90.7		87.4	safe	critical		semi_critical	34.3	29.1	0.0	63.4	198.7	322.6	0.0	521.3
344	PTG	PTG-5	BULDHANA	699.5	1738.1	0	2437.5	18.7	62.5		81.2	13.3	0.0		13.3	390.7	2249.9		2640.6	60.4	133.0		112.2	safe	over_exploited		over_exploited	18.7	62.5	0.0	81.2	276.7	0.0	0.0	276.7
345	PTGB	PTGB-1	BULDHANA	254.9	69.0	0	323.9	22.6	13.6		36.2	0.0	0.0		0.0	136.2	83.2		219.4	62.3	140.3		78.9	safe	over_exploited		semi_critical	22.6	13.6	0.0	36.2	96.0	0.0	0.0	96.0
346	PTGI	PTGI-1	BULDHANA	648.2	892.2	0	1540.4	25.1	13.4		38.5	0.0	0.0		0.0	798.3	1114.6		1913.0	127.0	126.4		126.7	over_exploited	over_exploited		over_exploited	25.1	13.4	0.0	38.5	0.0	0.0	0.0	0.0
347	PTGID	PTGID-1	BULDHANA	353.1	1308.3	0	1661.4	5.3	22.9		28.1	0.0	0.3		0.3	154.3	1371.7		1526.0	45.2	106.6		93.6	safe	over_exploited		critical	5.3	22.9	0.0	28.1	193.6	0.0	0.0	193.6
348	PTGIM	PTGIM-1	BULDHANA	1299.9	548.9	0	1848.8	32.5	67.0		99.5	0.0	0.0		0.0	630.3	805.8		1436.1	51.0	159.0		83.1	safe	over_exploited		semi_critical	32.6	67.0	0.0	99.5	637.1	0.0	0.0	637.1
349	PTM	PTM-2	BULDHANA	96.9	1095.4	0	1192.4	0.0	10.8		10.8	0.0	0.4		0.4	7.2	1297.1		1304.3	7.4	119.4		110.3	safe	over_exploited		over_exploited	0.0	10.8	0.0	10.8	89.7	0.0	0.0	89.7

S.No	BASIN	WATER SHED	District	Annual Extractable Ground water Resource (ham)				Ground Water Extraction for all uses (ha.m)												Stage of Ground Water Extraction (%)				Categorization of Assessment Unit				Allocation of Ground Water Resource for Domestic Utilisation for projected year 2025 (ham)				Net Annual Ground Water Availability for Future Use (ham)			
								Domestic				Industrial				Irrigation																			
				C	NC	PQ	Total	C	NC	PQ	Total	C	NC	PQ	Total	C	NC	PQ	Total	C	NC	PQ	Total	C	NC	PQ	Total	C	NC	PQ	Total	C	NC	PQ	Total
350	PTM	PTM-3	BULDHANA	1023.5	1826.7	0	2850.2	52.0	49.1		101.1	0.0	0.0		0.0	941.6	878.4		1820.1	97.1	50.8		67.4	critical	safe		safe	52.0	49.1	0.0	101.1	29.9	899.2	0.0	929.1
351	PTMB	PTMB-1	BULDHANA	1463.8	1076.5	0	2540.3	26.1	15.3		41.5	0.0	0.2		0.2	1320.5	366.0		1686.5	92.0	35.4		68.0	critical	safe		safe	26.1	15.3	0.0	41.5	117.2	695.0	0.0	812.2
352	PTMM	PTMM-1	BULDHANA	917.8	2584.0	0	3501.8	40.7	43.8		84.5	0.0	1.1		1.1	734.5	1690.9		2425.4	84.5	67.2		71.7	semi_critical	safe		semi_critical	40.7	43.8	0.0	84.5	142.6	848.2	0.0	990.7
353	PTMN	PTMN-1	BULDHANA	838.3	2991.0	0	3829.3	29.7	54.6		84.3	0.0	22.5		22.5	584.3	2820.4		3404.7	73.2	96.9		91.7	semi_critical	critical		critical	29.7	54.6	0.0	84.3	224.3	93.5	0.0	317.8
354	PTMT	PTMT-1	BULDHANA	1291.6	781.8	0	2073.4	54.9	24.6		79.6	0.0	0.0		0.0	1637.5	875.6		2513.1	131.0	115.1		125.0	over_exploited	over_exploited		over_exploited	54.9	24.6	0.0	79.6	0.0	0.0	0.0	0.0
355	PTMU	PTMU-1	BULDHANA	1296.4	1698.4	0	2994.8	9.8	32.3		42.0	0.0	1.7		1.7	308.3	1820.4		2128.7	24.5	109.2		72.5	safe	over_exploited		semi_critical	9.8	32.3	0.0	42.0	978.4	0.0	0.0	978.4
356	PTN	PTN-1	BULDHANA	1184.5	666.2	0	1850.7	39.8	151.8		191.6	0.0	0.0		0.0	1104.8	480.9		1585.7	96.6	95.0		96.0	critical	critical		critical	39.8	151.8	0.0	191.6	39.9	33.5	0.0	73.4
357	PTN	PTN-2	BULDHANA	1329.4	1376.7	0	2706.1	47.2	102.4		149.6	0.0	0.0		0.0	1055.8	913.4		1969.2	83.0	73.8		78.3	semi_critical	semi_critical		semi_critical	47.2	102.4	0.0	149.6	226.5	360.9	0.0	587.3
358	PTN	PTN-3	BULDHANA	156.1	183.3	0	339.3	23.2	4.6		27.7	0.0	0.0		0.0	64.4	66.6		131.0	56.1	38.8		46.8	safe	safe		safe	23.2	4.6	0.0	27.7	68.5	112.1	0.0	180.6
359	PTV	PTV-1	BULDHANA	134.3	700.8	0	835.1	0.0	16.7		16.7	0.0	0.0		0.0	15.5	502.1		517.6	11.6	74.0		64.0	safe	semi_critical		safe	0.0	16.7	0.0	16.7	118.8	182.1	0.0	300.8
360	PTV	PTV-2	BULDHANA	2.0	572.6	0	574.6		18.1		18.1		0.8		0.8		482.0		482.0		87.5		87.2		semi_critical		semi_critical	0.0	18.1	0.0	18.1	2.0	71.6	0.0	73.6
361	PTW	PTW-1	BULDHANA	664.1	3458.4	0	4122.5	26.9	115.8		142.7	0.0	0.0		0.0	555.4	2642.8		3198.2	87.7	79.8		81.0	semi_critical	semi_critical		semi_critical	26.9	115.8	0.0	142.7	81.8	699.9	0.0	781.7
362	TE	TE-6	BULDHANA	599.2	3439.1	0	4038.3	21.4	56.0		77.4	0.0	0.0		0.0	463.3	2595.8		3059.1	80.9	77.1		77.7	semi_critical	semi_critical		semi_critical	21.4	56.0	0.0	77.4	114.4	787.4	0.0	901.8
363	TE	TE-7	BULDHANA	2056.1	695.2	0	2751.4	54.7	17.0		71.7	0.0	0.0		0.0	1414.7	576.6		1991.3	71.5	85.4		75.0	semi_critical	semi_critical		semi_critical	54.7	17.0	0.0	71.7	586.7	101.7	0.0	688.3
364	PG	PG-1	CHANDRAPUR	1566.9	232.7	0	1799.5	54.2	43.0		97.2	0.0	0.0		0.0	701.6	339.7		1041.4	48.2	164.5		63.3	safe	over_exploited		safe	54.2	43.0	0.0	97.2	811.0	0.0	0.0	811.0
365	PG	PG-2	CHANDRAPUR	392.2	1619.1	0	2011.3	11.3	73.6		84.9	0.0	0.0		0.0	328.7	1071.5		1400.2	86.7	70.7		73.8	semi_critical	semi_critical		semi_critical	11.3	73.6	0.0	84.9	52.2	473.9	0.0	526.2
366	PR	PR-5	CHANDRAPUR	1182.1	314.9	0	1497.0	36.7	52.1		88.8	0.0	0.0		0.0	736.5	322.9		1059.4	65.4	119.1		76.7	safe	over_exploited		semi_critical	36.7	52.1	0.0	88.8	408.9	0.0	0.0	408.9
367	PR	PR-6	CHANDRAPUR	619.7	3506.9	0	4126.5	16.6	148.5		165.1	0.0	0.0		0.0	429.3	2114.2		2543.5	72.0	64.5		65.6	semi_critical	safe		safe	16.6	148.5	0.0	165.1	173.7	1244.2	0.0	1417.9
368	PRJ	PRJ-0	CHANDRAPUR	0.0	402.5	0	402.5		12.7		12.7		1.3		1.3		298.4		298.4		77.6		77.6		semi_critical		semi_critical	0.0	12.7	0.0	12.7	0.0	90.0	0.0	90.0
369	WG	WG-14	CHANDRAPUR	206.3	956.9	0	1163.2	2.6	25.0		27.6	0.0	0.0		0.0	33.8	582.8		616.6	17.7	63.5		55.4	safe	safe		safe	2.6	25.0	0.0	27.6	169.9	349.1	0.0	519.0
370	WG	WG-15	CHANDRAPUR	438.9	3263.8	0	3702.6	6.8	105.2		112.0	0.0	0.0		0.0	157.5	1876.0		2033.5	37.4	60.7		57.9	safe	safe		safe	6.8	105.2	0.0	112.0	274.6	1282.6	0.0	1557.2
371	WG	WG-16	CHANDRAPUR	387.1	4483.7	0	4870.8	20.3	107.9		128.1	0.0	0.0		0.0	327.8	3085.8		3413.7	89.9	71.2		72.7	semi_critical	semi_critical		semi_critical	20.3	107.9	0.0	128.1	39.0	1290.0	0.0	1329.0
372	WG	WG-17	CHANDRAPUR	0.0	1541.3	0	1541.3		41.2		41.2		0.0		0.0		1087.6		1087.6		73.2		73.2		semi_critical		semi_critical	0.0	41.2	0.0	41.2	0.0	412.4	0.0	412.4
373	WG	WG-18	CHANDRAPUR	1241.7	72.9	0	1314.6	13.7	58.6		72.3	0.0	0.0		0.0	1013.6	0.0		1013.6	82.7	80.4		82.6	semi_critical	semi_critical		semi_critical	13.7	58.6	0.0	72.3	214.5	14.3	0.0	228.8
374	WG	WG-20	CHANDRAPUR	293.1	1249.9	0	1543.1	8.6	20.4		29.0	0.0	0.0		0.0	141.8	600.4		742.1	51.3	49.7		50.0	safe	safe		safe	8.6	20.4	0.0	29.0	142.8	629.2	0.0	771.9

S.No	BASIN	WATERSHED	District	Annual Extractable Ground water Resource (ham)				Ground Water Extraction for all uses (ha.m)												Stage of Ground Water Extraction (%)				Categorization of Assessment Unit				Allocation of Ground Water Resource for Domestic Utilisation for projected year 2025 (ham)				Net Annual Ground Water Availability for Future Use (ham)			
								Domestic				Industrial				Irrigation																			
				C	NC	PQ	Total	C	NC	PQ	Total	C	NC	PQ	Total	C	NC	PQ	Total	C	NC	PQ	Total	C	NC	PQ	Total	C	NC	PQ	Total	C	NC	PQ	Total
375	WGA	WGA-1	CHANDRAPUR	167.1	1154.0	0	1321.0	7.6	37.7		45.3	0.0	0.0		0.0	108.8	800.6		909.4	69.7	72.6		72.3	safe	semi_critical		semi_critical	7.6	37.7	0.0	45.3	50.7	315.6	0.0	366.3
376	WGA	WGA-2	CHANDRAPUR	239.2	2073.5	0	2312.8	39.0	112.8		151.8	0.0	0.0		0.0	181.6	1529.0		1710.6	92.2	79.2		80.5	critical	semi_critical		semi_critical	39.0	112.9	0.0	151.8	18.7	431.6	0.0	450.3
377	WGA	WGA-3	CHANDRAPUR	3.8	2201.3	0	2205.1		108.9		108.9		0.0		0.0		1393.6		1393.6		68.3		68.1		safe		safe	0.0	108.9	0.0	108.9	3.8	698.8	0.0	702.6
378	WGA	WGA-4	CHANDRAPUR	1892.1	9.6	0	1901.7	62.6			62.6	0.0			0.0	1034.3			1034.3	58.0			57.7	safe			safe	62.6	0.0	0.0	62.6	795.3	9.6	0.0	804.8
379	WGA	WGA-5	CHANDRAPUR	229.3	1656.9	0	1886.3	7.2	202.9		210.1	0.0	0.0		0.0	131.2	796.5		927.7	60.4	60.3		60.3	safe	safe		safe	7.2	202.9	0.0	210.1	90.9	657.6	0.0	748.5
380	WGA	WGA-6	CHANDRAPUR	3166.2	1603.3	0	4769.5	11.3	38.7		50.1	0.0	4.2		4.2	73.3	456.6		529.9	2.7	31.2		12.2	safe	safe		safe	11.3	38.7	0.0	50.1	3081.6	1103.8	0.0	4185.4
381	WGAM	WGAM-1	CHANDRAPUR	1301.7	1794.7	0	3096.4	9.6	57.3		66.9	0.0	0.0		0.0	758.8	955.2		1714.0	59.0	56.4		57.5	safe	safe		safe	9.6	57.3	0.0	66.9	533.3	782.2	0.0	1315.5
382	WGAM	WGAM-2	CHANDRAPUR	1731.7	2765.2	0	4497.0	31.0	106.0		137.0	0.0	0.0		0.0	1249.1	1829.0		3078.2	73.9	70.0		71.5	semi_critical	safe		semi_critical	31.0	106.0	0.0	137.0	451.6	830.2	0.0	1281.8
383	WGAM	WGAM-3	CHANDRAPUR	912.9	1018.5	0	1931.4	21.7	39.9		61.6	0.0	0.0		0.0	602.0	535.1		1137.1	68.3	56.5		62.1	safe	safe		safe	21.7	39.9	0.0	61.6	289.1	443.5	0.0	732.6
384	WGAM	WGAM-4	CHANDRAPUR	230.3	490.5	0	720.7	11.5	12.5		24.0	0.0	0.0		0.0	115.0	281.9		396.9	55.0	60.0		58.4	safe	safe		safe	11.5	12.5	0.0	24.0	103.7	196.1	0.0	299.8
385	WGAM	WGAM-5	CHANDRAPUR	2215.8	1726.0	0	3941.8	28.3	66.8		95.0	0.0	0.0		0.0	1896.5	1422.9		3319.5	86.9	86.3		86.6	semi_critical	semi_critical		semi_critical	28.3	66.8	0.0	95.0	291.0	236.3	0.0	527.3
386	WGAM	WGAM-6	CHANDRAPUR	0.0	449.7	0	449.7		18.9		18.9		0.0		0.0		293.5		293.5		69.5		69.5		safe		safe	0.0	18.9	0.0	18.9	0.0	137.3	0.0	137.3
387	WGAMA	WGAMA-0	CHANDRAPUR	1776.3	1542.7	0	3319.0	21.7	23.3		45.1	0.0	0.5		0.5	179.3	855.4		1034.6	11.3	57.0		32.5	safe	safe		safe	70.0	303.1	0.0	373.2	1527.0	383.7	0.0	1910.8
388	WGAMB	WGAMB-0	CHANDRAPUR	834.8	810.4	0	1645.2	10.9	7.3		18.1	0.0	0.0		0.0	555.4	492.0		1047.4	67.8	61.6		64.8	safe	safe		safe	10.9	7.3	0.0	18.2	268.5	311.1	0.0	579.6
389	WGAMG	WGAMG'-0	CHANDRAPUR	1659.4	929.3	0	2588.6	18.8	22.1		40.9	7.6	0.3		7.9	320.0	433.4		753.5	20.9	49.1		31.0	safe	safe		safe	117.3	61.7	0.0	179.0	1214.5	433.8	0.0	1648.3
390	WGAMG	WGAMG-0	CHANDRAPUR	564.2	885.7	0	1449.8	24.9	36.7		61.6	0.0	0.0		0.0	387.0	710.5		1097.5	73.0	84.4		79.9	semi_critical	semi_critical		semi_critical	24.9	36.7	0.0	61.6	152.2	138.5	0.0	290.7
391	WGAMH	WGAMH-1	CHANDRAPUR	155.0	844.0	0	999.0	6.4	37.8		44.2	0.0	0.0		0.0	167.4	654.5		821.9	112.1	82.0		86.7	over_exploited	semi_critical		semi_critical	6.4	37.8	0.0	44.2	0.0	151.7	0.0	151.7
392	WGAMH	WGAMH-2	CHANDRAPUR	358.4	805.4	0	1163.8	9.3	65.3		74.6	0.0	0.0		0.0	109.1	573.2		682.3	33.0	79.3		65.0	safe	semi_critical		safe	9.3	65.3	0.0	74.6	240.0	166.9	0.0	406.9
393	WGAMH	WGAMH-3	CHANDRAPUR	0.0	528.1	0	528.1		26.3		26.3		0.0		0.0		259.1		259.1		54.0		54.0		safe		safe	0.0	26.3	0.0	26.3	0.0	242.7	0.0	242.7
394	WGAMJ	WGAMJ-0	CHANDRAPUR	950.9	2025.7	0	2976.6	35.7	97.5		133.2	0.0	0.0		0.0	324.8	786.0		1110.8	37.9	43.6		41.8	safe	safe		safe	35.7	97.5	0.0	133.2	590.4	1142.2	0.0	1732.5
395	WGAMK	WGAMK-0	CHANDRAPUR	0.0	508.9	0	508.9		34.9		34.9		0.0		0.0		267.8		267.8		59.5		59.5		safe		safe	0.0	34.9	0.0	34.9	0.0	206.2	0.0	206.2
396	WGAMN	WGAMN'-0	CHANDRAPUR	0.0	1812.3	0	1812.3		84.0		84.0		0.0		0.0		1153.9		1153.9		68.3		68.3		safe		safe	0.0	84.0	0.0	84.0	0.0	574.4	0.0	574.4
397	WGAMN	WGAMN-0	CHANDRAPUR	667.1	1601.1	0	2268.1	16.1	42.2		58.3	0.0	0.0		0.0	28.6	1399.6		1428.2	6.7	90.1		65.5	safe	critical		safe	16.1	42.2	0.0	58.3	622.3	159.3	0.0	781.6
398	WGAMP	WGAMP-0	CHANDRAPUR	760.2	1436.8	0	2197.0	10.0	16.9		26.9	0.0	0.0		0.0	278.9	666.5		945.4	38.0	47.6		44.3	safe	safe		safe	28.5	107.9	0.0	136.4	452.8	662.4	0.0	1115.2
399	WGB	WGB-0	CHANDRAPUR	0.0	909.7	0	909.7		29.0		29.0		0.0		0.0		291.5		291.5		35.2		35.2		safe		safe	0.0	29.0	0.0	29.0	0.0	589.2	0.0	589.2

S.No	BASIN	WATER SHED	District	Annual Extractable Ground water Resource (ham)				Ground Water Extraction for all uses (ha.m)												Stage of Ground Water Extraction (%)				Categorization of Assessment Unit				Allocation of Ground Water Resource for Domestic Utilisation for projected year 2025 (ham)				Net Annual Ground Water Availability for Future Use (ham)			
								Domestic				Industrial				Irrigation																			
				C	NC	PQ	Total	C	NC	PQ	Total	C	NC	PQ	Total	C	NC	PQ	Total	C	NC	PQ	Total	C	NC	PQ	Total	C	NC	PQ	Total	C	NC	PQ	Total
400	WGL	WGL-0	CHANDRAPUR	1246.8	3038.0	0	4284.8	30.3	115.3		145.7	0.0	0.0		0.0	437.9	1973.2		2411.0	37.6	68.7		59.7	safe	safe		safe	30.3	115.3	0.0	145.7	778.6	949.5	0.0	1728.1
401	WGM	WGM-2	CHANDRAPUR	0.0	2635.4	0	2635.4		144.1		144.1		0.0		0.0		1880.3		1880.3		76.8		76.8		semi_critical		semi_critical	0.0	144.1	0.0	144.1	0.0	611.0	0.0	611.0
402	WR	WR-16	CHANDRAPUR	0.0	1954.2	0	1954.2		93.4		93.4		0.0		0.0		1432.6		1432.6		78.1		78.1		semi_critical		semi_critical	0.0	93.4	0.0	93.4	0.0	428.1	0.0	428.1
403	WR	WR-17	CHANDRAPUR	2913.0	3359.5	0	6272.5	15.8	21.1		36.8	0.0	0.0		0.1	2570.2	2194.5		4764.7	88.8	66.0		76.6	semi_critical	safe		semi_critical	100.2	104.8	0.0	205.0	242.5	1060.2	0.0	1302.8
404	WR	WR-18	CHANDRAPUR	1288.8	2003.7	0	3292.5	36.9	63.9		100.8	0.0	0.2		0.2	855.0	1655.0		2510.0	69.2	85.8		79.3	safe	semi_critical		semi_critical	36.9	63.9	0.0	100.8	396.9	284.6	0.0	681.5
405	WR	WR-19	CHANDRAPUR	0.0	3429.1	0	3429.1		175.8		175.8		0.4		0.4		2194.6		2194.6		69.1		69.1		safe		safe	0.0	175.8	0.0	175.8	0.0	1058.3	0.0	1058.3
406	WR	WR-20	CHANDRAPUR	2281.6	566.7	0	2848.4	8.3	6.0		14.4	0.5	0.0		0.5	158.8	190.4		349.2	7.3	34.7		12.8	safe	safe		safe	8.3	20.6	0.0	28.9	2114.0	355.7	0.0	2469.7
407	WR	WR-21	CHANDRAPUR	1428.5	979.3	0	2407.8	8.2	5.3		13.5	0.0	0.0		0.0	101.5	237.1		338.6	7.7	24.8		14.6	safe	safe		safe	32.7	18.5	0.0	51.2	1294.2	723.7	0.0	2017.9
408	WR	WR-22	CHANDRAPUR	896.6	1608.1	0	2504.7	36.4	41.1		77.5	0.0	0.0		0.0	573.2	1091.1		1664.3	68.0	70.4		69.5	safe	semi_critical		safe	36.4	41.1	0.0	77.5	287.0	475.9	0.0	763.0
409	WRD	WRD-0	CHANDRAPUR	0.0	2062.6	0	2062.6		123.8		123.8		0.0		0.0		1261.1		1261.1		67.1		67.1		safe		safe	0.0	123.8	0.0	123.8	0.0	677.8	0.0	677.8
410	WRE	WRE-1	CHANDRAPUR	514.2	1877.4	0	2391.5	19.7	96.0		115.7	0.0	4.5		4.5	331.1	1198.1		1529.2	68.2	69.2		69.0	safe	safe		safe	19.7	96.1	0.0	115.7	163.4	578.7	0.0	742.1
411	WRE	WRE-2	CHANDRAPUR	4126.2	852.2	0	4978.4	52.7	21.0		73.7	6.2	79.8		86.0	4639.0	882.3		5521.3	113.9	115.4		114.1	over_exploited	over_exploited		over_exploited	52.7	21.0	0.0	73.7	0.0	0.0	0.0	0.0
412	WRE	WRE-3	CHANDRAPUR	0.0	3067.2	0	3067.2		87.5		87.5		1.8		1.8		1838.2		1838.2		62.8		62.8		safe		safe	0.0	87.5	0.0	87.5	0.0	1139.8	0.0	1139.8
413	WRE	WRE-4	CHANDRAPUR	355.7	829.0	0	1184.6	13.1	5.0		18.2	0.0	0.2		0.2	88.3	358.6		446.9	28.5	43.9		39.3	safe	safe		safe	55.7	22.6	0.0	78.3	211.6	447.6	0.0	659.2
414	WREC	WREC-1	CHANDRAPUR	139.8	841.8	0	981.6	9.5	39.8		49.3	0.0	0.0		0.0	33.4	514.0		547.5	30.7	65.8		60.8	safe	safe		safe	9.5	39.8	0.0	49.3	96.9	288.0	0.0	384.9
415	WREC	WREC-2	CHANDRAPUR	1742.7	1042.0	0	2784.7	35.2	44.2		79.4	0.0	0.2		0.2	371.8	682.7		1054.5	23.4	69.8		40.7	safe	safe		safe	35.2	44.2	0.0	79.4	1335.7	314.9	0.0	1650.6
416	WREK	WREK-0	CHANDRAPUR	253.9	2622.4	0	2876.2	6.0	86.2		92.2	0.0	0.0		0.0	131.0	1501.1		1632.1	54.0	60.5		60.0	safe	safe		safe	6.1	86.2	0.0	92.2	116.8	1035.1	0.0	1151.8
417	WRH	WRH-0	CHANDRAPUR	3570.7	895.4	0	4466.1	82.0	15.1		97.1	0.0	0.0		0.0	1796.4	367.3		2163.7	52.6	42.7		50.6	safe	safe		safe	82.0	15.1	0.0	97.1	1692.3	513.0	0.0	2205.3
418	WRS	WRS-0	CHANDRAPUR	929.0	673.6	0	1602.6	13.5	21.4		34.9	0.0	0.0		0.0	628.8	436.7		1065.5	69.1	68.0		68.7	safe	safe		safe	13.5	21.4	0.0	34.9	286.6	215.6	0.0	502.2
419	WRW	WRW-1	CHANDRAPUR	0.0	2122.1	0	2122.1		141.6		141.6		0.7		0.7		1042.9		1042.9		55.9		55.9		safe		safe	0.0	141.6	0.0	141.6	0.0	936.9	0.0	936.9
420	WRWP	WRWP-2	CHANDRAPUR	405.3	2786.1	0	3191.3	6.3	160.8		167.1	0.0	0.0		0.0	175.4	1766.5		1941.9	44.9	69.2		66.1	safe	safe		safe	6.3	160.8	0.0	167.1	223.5	858.8	0.0	1082.3
421	WRWPL	WRWPL-0	CHANDRAPUR	9.3	3210.9	0	3220.1		139.6		139.6		0.0		0.0		1270.1		1270.1		43.9		43.8		safe		safe	0.0	139.6	0.0	139.6	9.3	1801.2	0.0	1810.5
422	TE	TE-100	DHULE	4769.3	1159.3	0	5928.6	87.3	39.7		127.1	0.0	0.0		0.0	2308.6	387.9		2696.5	50.2	36.9		47.6	safe	safe		safe	87.3	39.7	0.0	127.1	2373.4	731.7	0.0	3105.0
423	TE	TE-101	DHULE	2771.9	0.0	0	2771.9	28.6			28.6	0.3			0.3	1120.1			1120.1	41.5			41.5	safe			safe	28.6	0.0	0.0	28.6	1623.0	0.0	0.0	1623.0
424	TE	TE-102	DHULE	1239.0	1.4	0	1240.5	15.3			15.3	0.0			0.0	490.8			490.8	40.9			40.8	safe			safe	15.3	0.0	0.0	15.3	732.9	1.4	0.0	734.3

S.No	BASIN	WATER SHED	District	Annual Extractable Ground water Resource (ham)				Ground Water Extraction for all uses (ha.m)												Stage of Ground Water Extraction (%)				Categorization of Assessment Unit				Allocation of Ground Water Resource for Domestic Utilisation for projected year 2025 (ham)				Net Annual Ground Water Availability for Future Use (ham)			
								Domestic				Industrial				Irrigation																			
				C	NC	PQ	Total	C	NC	PQ	Total	C	NC	PQ	Total	C	NC	PQ	Total	C	NC	PQ	Total	C	NC	PQ	Total	C	NC	PQ	Total	C	NC	PQ	Total
425	TE	TE-103	DHULE	486.0	1276.1	0	1762.1	17.6	44.4		62.0	0.0	0.0		0.0	251.9	769.8		1021.8	55.5	63.8		61.5	safe	safe		safe	17.6	44.4	0.0	62.0	216.5	461.8	0.0	678.4
426	TE	TE-104	DHULE	413.4	2290.4	0	2703.8	21.6	67.8		89.4	0.0	0.2		0.2	79.6	1190.0		1269.7	24.5	54.9		50.3	safe	safe		safe	21.6	67.8	0.0	89.4	312.2	1032.4	0.0	1344.6
427	TE	TE-105 A	DHULE	1672.6	779.5	0	2452.1	64.8	20.5		85.3	0.0	0.0		0.0	917.7	394.7		1312.4	58.7	53.3		57.0	safe	safe		safe	64.8	20.5	0.0	85.3	690.1	364.3	0.0	1054.4
428	TE	TE-112 A	DHULE	35.0	2103.4	0	2138.4		72.5		72.5		0.0		0.0		960.9		960.9		49.1		48.3		safe		safe	0.0	72.5	0.0	72.5	35.0	1070.0	0.0	1105.0
429	TE	TE-113 A	DHULE	819.7	1305.6	0	2125.3	17.7	56.4		74.2	18.4	0.0		18.4	58.4	476.5		534.9	11.5	40.8		29.5	safe	safe		safe	17.7	56.5	0.0	74.2	725.2	772.7	0.0	1497.9
430	TE	TE-114	DHULE	1951.7	354.7	0	2306.4	48.1	36.9		84.9	0.0	0.0		0.0	1616.6	270.7		1887.3	85.3	86.7		85.5	semi_critical	semi_critical		semi_critical	48.1	36.9	0.0	84.9	287.0	47.2	0.0	334.2
431	TE	TE-114 A	DHULE	1469.8	1936.9	0	3406.8	24.4	60.0		84.4	0.0	0.0		0.0	220.5	1161.4		1381.9	16.7	63.1		43.0	safe	safe		safe	24.4	60.0	0.0	84.4	1224.9	715.5	0.0	1940.4
432	TE	TE-115	DHULE	0.0	2099.4	0	2099.4		44.6		44.6		0.2		0.2		1260.2		1260.2		62.2		62.2		safe		safe	0.0	44.6	0.0	44.6	0.0	794.3	0.0	794.3
433	TE	TE-122 B	DHULE	4324.0	161.7	0	4485.7	67.5	14.2		81.7	0.0	0.0		0.0	1758.5	84.0		1842.5	42.2	60.7		42.9	safe	safe		safe	67.5	14.2	0.0	81.7	2498.1	63.5	0.0	2561.6
434	TE	TE-123 A	DHULE	168.9	1011.0	0	1179.9	11.5	29.5		40.9	0.0	0.0		0.0	76.0	575.7		651.8	51.8	59.9		58.7	safe	safe		safe	11.5	29.5	0.0	40.9	81.4	405.8	0.0	487.2
435	TE	TE-124	DHULE	1156.5	621.6	0	1778.1	13.1	20.2		33.3	0.0	0.0		0.0	12.5	539.7		552.2	2.2	90.1		32.9	safe	critical		safe	13.1	20.2	0.0	33.3	1130.9	61.7	0.0	1192.6
436	TE	TE-124 A	DHULE	1300.1	335.0	0	1635.0	15.3	51.9		67.2	0.0	0.0		0.0	739.1	172.2		911.3	58.0	66.9		59.8	safe	safe		safe	15.3	51.9	0.0	67.2	545.7	110.8	0.0	656.5
437	TE	TE-135 A	DHULE	0.0	1486.7	0	1486.7		77.4		77.4		0.2		0.2		933.7		933.7		68.0		68.0		safe		safe	0.0	77.4	0.0	77.4	0.0	475.5	0.0	475.5
438	TE	TE-137 A	DHULE	878.3	2260.6	0	3138.9	43.8	24.1		67.9	0.0	0.4		0.4	322.9	1078.2		1401.1	41.7	48.8		46.8	safe	safe		safe	43.8	24.1	0.0	67.9	511.6	1157.8	0.0	1669.5
439	TE	TE-139 A	DHULE	4786.6	2118.3	0	6904.9	79.3	145.0		224.3	0.0	0.0		0.0	2893.8	884.8		3778.6	62.1	48.6		58.0	safe	safe		safe	79.3	145.0	0.0	224.3	1813.6	1088.4	0.0	2902.0
440	TE	TE-44 B	DHULE	75.7	52.4	0	128.1	5.9	15.7		21.5	0.0	0.0		0.0	41.9	10.8		52.7	63.1	50.6		58.0	safe	safe		safe	5.9	15.7	0.0	21.5	27.9	25.9	0.0	53.9
441	TE	TE-50 B	DHULE	14063.1	49.9	0	14113.1	116.8			116.8	1.0			1.0	3071.7			3071.7	22.7			22.6	safe			safe	116.8	0.0	0.0	116.8	10873.6	49.9	0.0	10923.5
442	TE	TE-53	DHULE	591.7	610.2	0	1201.9	142.5	170.4		312.9	0.0	0.0		0.0	189.7	147.4		337.1	56.2	52.1		54.1	safe	safe		safe	142.5	170.4	0.0	312.9	259.4	292.5	0.0	551.9
443	TE	TE-54	DHULE	2602.0	0.0	0	2602.0	43.1			43.1	0.0			0.0	258.2			258.2	11.6			11.6	safe			safe	43.1	0.0	0.0	43.1	2300.7	0.0	0.0	2300.7
444	TE	TE-56	DHULE	4335.3	17.1	0	4352.3	61.2			61.2	0.0			0.0	2370.3			2370.3	56.1			55.9	safe			safe	61.2	0.0	0.0	61.2	1903.8	17.1	0.0	1920.9
445	TE	TE-58 A	DHULE	1204.4	417.3	0	1621.6	37.6	29.4		67.0	0.0	0.0		0.0	477.6	179.8		657.4	42.8	50.1		44.7	safe	safe		safe	37.6	29.4	0.0	67.0	689.1	208.1	0.0	897.2
446	TE	TE-61	DHULE	5.8	1296.3	0	1302.1		27.4		27.4		0.0		0.0		500.2		500.2		40.7		40.5		safe		safe	0.0	27.4	0.0	27.4	5.8	768.8	0.0	774.6
447	TE	TE-61 A	DHULE	2043.3	3711.5	0	5754.8	27.7	102.5		130.3	0.0	0.0		0.0	564.3	2251.2		2815.5	29.0	63.4		51.2	safe	safe		safe	27.7	102.5	0.0	130.3	1451.3	1357.8	0.0	2809.0
448	TE	TE-62	DHULE	15.9	172.4	0	188.2	5.1	12.0		17.1	0.0	0.0		0.0	23.1	131.9		155.1	177.9	83.5		91.5	over_exploited	semi_critical		critical	5.1	12.0	0.0	17.1	0.0	28.4	0.0	28.4
449	TE	TE-63	DHULE	3596.9	1249.2	0	4846.0	90.2	92.3		182.5	0.0	0.0		0.0	852.4	727.8		1580.2	26.2	65.7		36.4	safe	safe		safe	90.2	92.3	0.0	182.5	2654.3	429.0	0.0	3083.3

S.No	BASIN	WATER SHED	District	Annual Extractable Ground water Resource (ham)				Ground Water Extraction for all uses (ha.m)												Stage of Ground Water Extraction (%)				Categorization of Assessment Unit				Allocation of Ground Water Resource for Domestic Utilisation for projected year 2025 (ham)				Net Annual Ground Water Availability for Future Use (ham)			
								Domestic				Industrial				Irrigation																			
				C	NC	PQ	Total	C	NC	PQ	Total	C	NC	PQ	Total	C	NC	PQ	Total	C	NC	PQ	Total	C	NC	PQ	Total	C	NC	PQ	Total	C	NC	PQ	Total
450	TE	TE-64	DHULE	0.0	567.3	0	567.3		29.1		29.1		0.2		0.2		349.4		349.4		66.7		66.7		safe		safe	0.0	29.1	0.0	29.1	0.0	188.7	0.0	188.7
451	TE	TE-65	DHULE	0.0	149.9	0	149.9		22.9		22.9		0.0		0.0		107.6		107.6		87.1		87.1		semi_critical		semi_critical	0.0	22.9	0.0	22.9	0.0	19.4	0.0	19.4
452	TE	TE-66	DHULE	4624.8	1768.5	0	6393.4	53.7	80.8		134.5	0.0	0.4		0.4	619.9	924.2		1544.0	14.6	56.8		26.3	safe	safe		safe	53.7	80.8	0.0	134.5	3951.3	763.2	0.0	4714.4
453	TE	TE-67	DHULE	1864.7	3013.2	0	4877.9	36.1	146.4		182.6	2.2	2.2		4.3	387.0	1795.1		2182.1	22.8	64.5		48.6	safe	safe		safe	36.1	146.4	0.0	182.6	1439.4	1069.6	0.0	2508.9
454	TE	TE-73 A	DHULE	0.0	448.4	0	448.4		30.4		30.4		0.0		0.0		20.1		20.1		11.3		11.3		safe		safe	0.0	30.4	0.0	30.4	0.0	397.9	0.0	397.9
455	TE	TE-74	DHULE	0.0	337.2	0	337.2		9.7		9.7		0.0		0.0		13.8		13.8		7.0		7.0		safe		safe	0.0	9.7	0.0	9.7	0.0	313.7	0.0	313.7
456	TE	TE-75	DHULE	0.0	28.3	0	28.3		3.4		3.4		0.0		0.0		12.4		12.4		56.0		56.0		safe		safe	0.0	3.4	0.0	3.4	0.0	12.4	0.0	12.4
457	TE	TE-76	DHULE	0.0	1034.3	0	1034.3		16.0		16.0		0.0		0.0		17.9		17.9		3.3		3.3		safe		safe	0.0	16.0	0.0	16.0	0.0	1000.4	0.0	1000.4
458	TE	TE-77	DHULE	0.0	205.3	0	205.3		6.9		6.9		0.0		0.0		18.7		18.7		12.5		12.5		safe		safe	0.0	6.9	0.0	6.9	0.0	179.6	0.0	179.6
459	TE	TE-78 A	DHULE	0.0	657.2	0	657.2		10.5		10.5		0.0		0.0		22.4		22.4		5.0		5.0		safe		safe	0.0	10.5	0.0	10.5	0.0	624.3	0.0	624.3
460	TE	TE-79 A	DHULE	0.0	974.7	0	974.7		12.5		12.5		0.0		0.0		35.7		35.7		5.0		5.0		safe		safe	0.0	12.5	0.0	12.5	0.0	926.4	0.0	926.4
461	TE	TE-86 B	DHULE	0.0	1447.9	0	1447.9		19.9		19.9		0.0		0.0		128.9		128.9		10.3		10.3		safe		safe	0.0	19.9	0.0	19.9	0.0	1299.0	0.0	1299.0
462	TE	TE-87	DHULE	0.0	264.8	0	264.8		14.0		14.0		0.0		0.0		68.2		68.2		31.0		31.0		safe		safe	0.0	14.0	0.0	14.0	0.0	182.6	0.0	182.6
463	TE	TE-88	DHULE	0.0	384.9	0	384.9		4.9		4.9		0.0		0.0		46.9		46.9		13.4		13.4		safe		safe	0.0	4.9	0.0	4.9	0.0	333.2	0.0	333.2
464	TE	TE-89	DHULE	0.0	1429.1	0	1429.1		51.8		51.8		0.0		0.0		189.6		189.6		16.9		16.9		safe		safe	0.0	51.8	0.0	51.8	0.0	1187.8	0.0	1187.8
465	TE	TE-90 A	DHULE	0.0	1043.3	0	1043.3		34.2		34.2		0.0		0.0		279.2		279.2		30.0		30.0		safe		safe	0.0	34.2	0.0	34.2	0.0	729.9	0.0	729.9
466	TE	TE-99	DHULE	0.0	1139.3	0	1139.3		66.0		66.0		0.0		0.0		231.2		231.2		26.1		26.1		safe		safe	0.0	66.0	0.0	66.0	0.0	842.1	0.0	842.1
467	GV	GV-1	GADCHIROLI	0.0	1075.2	0	1075.2		30.2		30.2		0.0		0.0		133.1		133.1		15.2		15.2		safe		safe	0.0	30.2	0.0	30.2	0.0	911.9	0.0	911.9
468	GV	GV-2	GADCHIROLI	0.0	651.3	0	651.3		18.8		18.8		0.0		0.0		91.6		91.6		16.9		16.9		safe		safe	0.0	18.8	0.0	18.8	0.0	541.0	0.0	541.0
469	I	I-1	GADCHIROLI	0.0	1247.5	0	1247.5		16.0		16.0		0.0		0.0		79.2		79.2		7.6		7.6		safe		safe	0.0	16.0	0.0	16.0	0.0	1152.4	0.0	1152.4
470	I	I-2	GADCHIROLI	0.0	725.8	0	725.8		20.6		20.6		0.0		0.0		131.4		131.4		20.9		20.9		safe		safe	0.0	20.6	0.0	20.6	0.0	573.8	0.0	573.8
471	I	I-3	GADCHIROLI	0.0	759.7	0	759.7		43.9		43.9		0.0		0.0		156.8		156.8		26.4		26.4		safe		safe	0.0	44.0	0.0	44.0	0.0	558.9	0.0	558.9
472	I	I-4	GADCHIROLI	0.0	728.2	0	728.2		21.2		21.2		0.0		0.0		103.2		103.2		17.1		17.1		safe		safe	0.0	21.2	0.0	21.2	0.0	603.8	0.0	603.8
473	I	I-5	GADCHIROLI	0.0	946.1	0	946.1		12.4		12.4		0.0		0.0		61.8		61.8		7.8		7.8		safe		safe	0.0	12.4	0.0	12.4	0.0	872.0	0.0	872.0
474	I	I-6	GADCHIROLI	0.0	1228.0	0	1228.0		33.4		33.4		0.0		0.0		164.9		164.9		16.1		16.1		safe		safe	0.0	33.5	0.0	33.5	0.0	1029.7	0.0	1029.7

S.No	BASIN	WATER SHED	District	Annual Extractable Ground water Resource (ham)				Ground Water Extraction for all uses (ha.m)												Stage of Ground Water Extraction (%)				Categorization of Assessment Unit				Allocation of Ground Water Resource for Domestic Utilisation for projected year 2025 (ham)				Net Annual Ground Water Availability for Future Use (ham)			
								Domestic				Industrial				Irrigation																			
				C	NC	PQ	Total	C	NC	PQ	Total	C	NC	PQ	Total	C	NC	PQ	Total	C	NC	PQ	Total	C	NC	PQ	Total	C	NC	PQ	Total	C	NC	PQ	Total
475	IB	IB-1	GADCHIROLI	0.0	609.3	0	609.3		15.0		15.0		0.0		0.0		53.2		53.2		11.2		11.2		safe		safe	0.0	15.0	0.0	15.0	0.0	541.1	0.0	541.1
476	IB	IB-2	GADCHIROLI	0.0	998.9	0	998.9		8.7		8.7		0.0		0.0		53.3		53.3		6.2		6.2		safe		safe	0.0	8.7	0.0	8.7	0.0	937.0	0.0	937.0
477	IB	IB-3	GADCHIROLI	0.0	206.0	0	206.0		1.5		1.5		0.0		0.0		4.9		4.9		3.1		3.1		safe		safe	0.0	1.5	0.0	1.5	0.0	199.6	0.0	199.6
478	IB	IB-4	GADCHIROLI	0.0	132.4	0	132.4		14.2		14.2		0.0		0.0		41.4		41.4		42.0		42.0		safe		safe	0.0	14.2	0.0	14.2	0.0	76.8	0.0	76.8
479	IB	IB-5	GADCHIROLI	0.0	54.3	0	54.3		4.4		4.4		0.0		0.0		25.2		25.2		54.7		54.7		safe		safe	0.0	4.5	0.0	4.5	0.0	24.6	0.0	24.6
480	IBA	IBA-0	GADCHIROLI	0.0	583.6	0	583.6		16.4		16.4		0.0		0.0		81.8		81.8		16.8		16.8		safe		safe	0.0	16.4	0.0	16.4	0.0	485.5	0.0	485.5
481	IBAD	IBAD-0	GADCHIROLI	0.0	12.8	0	12.8		3.0		3.0		0.0		0.0		4.5		4.5		58.5		58.5		safe		safe	0.0	3.0	0.0	3.0	0.0	5.3	0.0	5.3
482	IBJ	IBJ'-0	GADCHIROLI	0.0	502.9	0	502.9		19.7		19.7		0.0		0.0		76.3		76.3		19.1		19.1		safe		safe	0.0	19.7	0.0	19.7	0.0	406.9	0.0	406.9
483	IBJ	IBJ-1	GADCHIROLI	0.0	812.6	0	812.6		15.2		15.2		0.0		0.0		50.9		50.9		8.1		8.1		safe		safe	0.0	15.2	0.0	15.2	0.0	746.4	0.0	746.4
484	IBJ	IBJ-2	GADCHIROLI	0.0	1085.4	0	1085.4		31.7		31.7		0.0		0.0		93.0		93.0		11.5		11.5		safe		safe	0.0	31.7	0.0	31.7	0.0	960.7	0.0	960.7
485	IBK	IBK-0	GADCHIROLI	1084.7	1793.5	0	2878.2	35.5	125.5		161.0	0.0	0.0		0.0	338.5	1371.3		1709.8	34.5	83.5		65.0	safe	semi_critical		safe	35.5	125.5	0.0	161.0	710.7	296.6	0.0	1007.3
486	IBP	IBP'-0	GADCHIROLI	489.4	2621.9	0	3111.2	44.0	69.6		113.5	0.0	0.0		0.0	96.7	2061.2		2157.9	28.7	81.3		73.0	safe	semi_critical		semi_critical	44.0	69.6	0.0	113.6	348.7	491.1	0.0	839.8
487	IBPO	IBP'O-0	GADCHIROLI	277.7	1320.5	0	1598.1	33.6	54.2		87.7	0.0	0.0		0.0	104.5	1043.8		1148.3	49.7	83.2		77.3	safe	semi_critical		semi_critical	33.6	54.2	0.0	87.7	139.6	222.5	0.0	362.1
488	IBP	IBP-1	GADCHIROLI	3629.5	2057.1	0	5686.6	148.7	48.6		197.4	0.0	0.0		0.0	1425.3	1390.3		2815.7	43.4	70.0		53.0	safe	safe		safe	148.7	48.6	0.0	197.4	2055.4	618.1	0.0	2673.6
489	IBP	IBP-2	GADCHIROLI	2474.5	875.2	0	3349.8	113.4	50.6		164.0	0.0	0.0		0.0	828.8	327.5		1156.3	38.1	43.2		39.4	safe	safe		safe	113.4	50.6	0.0	164.0	1532.3	497.2	0.0	2029.5
490	IP	IP-1	GADCHIROLI	0.0	6146.9	0	6146.9		232.0		232.0		0.0		0.0		3013.8		3013.8		52.8		52.8		safe		safe	0.0	232.0	0.0	232.0	0.0	2901.1	0.0	2901.1
491	IP	IP-2	GADCHIROLI	0.0	157.7	0	157.7		33.6		33.6		0.0		0.0		41.0		41.0		47.3		47.3		safe		safe	0.0	33.6	0.0	33.6	0.0	83.1	0.0	83.1
492	IP	IP-3	GADCHIROLI	0.0	1393.1	0	1393.1		10.8		10.8		0.0		0.0		0.0		0.0		0.8		0.8		safe		safe	0.0	10.8	0.0	10.8	0.0	1382.4	0.0	1382.4
493	IP	IP-4	GADCHIROLI	0.0	311.5	0	311.5		46.6		46.6		0.0		0.0		133.5		133.5		57.8		57.8		safe		safe	0.0	46.7	0.0	46.7	0.0	131.3	0.0	131.3
494	IPN	IPN-0	GADCHIROLI	0.0	311.6	0	311.6		27.5		27.5		0.0		0.0		165.7		165.7		62.0		62.0		safe		safe	0.0	27.5	0.0	27.5	0.0	118.4	0.0	118.4
495	IPNL	IPNL-0	GADCHIROLI	0.0	955.6	0	955.6		65.7		65.7		0.0		0.0		600.0		600.0		69.7		69.7		safe		safe	0.0	65.7	0.0	65.7	0.0	289.9	0.0	289.9
496	IPNR	IPNR-0	GADCHIROLI	1234.3	374.0	0	1608.3	39.7	73.6		113.4	0.0	0.0		0.0	851.9	300.8		1152.7	72.2	100.1		78.7	semi_critical	over_exploited		semi_critical	39.8	73.6	0.0	113.4	342.7	0.0	0.0	342.7
497	IV	IV-1	GADCHIROLI	0.0	2426.9	0	2426.9		183.0		183.0		0.0		0.0		1180.8		1180.8		56.2		56.2		safe		safe	0.0	183.0	0.0	183.0	0.0	1063.1	0.0	1063.1
498	IV	IV-2	GADCHIROLI	1688.2	3226.2	0	4914.4	131.9	161.1		292.9	0.0	0.0		0.0	741.7	2130.3		2872.0	51.7	71.0		64.4	safe	semi_critical		safe	131.9	161.1	0.0	293.0	814.5	934.9	0.0	1749.4
499	IVP	IVP-0	GADCHIROLI	0.0	1833.1	0	1833.1		67.5		67.5		0.0		0.0		1392.0		1392.0		79.6		79.6		semi_critical		semi_critical	0.0	67.5	0.0	67.5	0.0	373.6	0.0	373.6

S.No	BASIN	WATER SHED	District	Annual Extractable Ground water Resource (ham)				Ground Water Extraction for all uses (ha.m)												Stage of Ground Water Extraction (%)				Categorization of Assessment Unit				Allocation of Ground Water Resource for Domestic Utilisation for projected year 2025 (ham)				Net Annual Ground Water Availability for Future Use (ham)			
								Domestic				Industrial				Irrigation																			
				C	NC	PQ	Total	C	NC	PQ	Total	C	NC	PQ	Total	C	NC	PQ	Total	C	NC	PQ	Total	C	NC	PQ	Total	C	NC	PQ	Total	C	NC	PQ	Total
500	PR	PR-1	GADCHIROLI	6087.5	186.9	0	6274.4	111.0	5.4		116.3	0.0	0.0		0.0	3865.9	120.3		3986.2	65.3	67.3		65.4	safe	safe		safe	111.0	5.4	0.0	116.3	2110.7	61.2	0.0	2171.9
501	PR	PR-2	GADCHIROLI	0.0	1433.6	0	1433.6		136.7		136.7		0.0		0.0		932.3		932.3		74.6		74.6		semi_critical		semi_critical	0.0	136.7	0.0	136.7	0.0	364.6	0.0	364.6
502	PR	PR-3	GADCHIROLI	0.0	2209.8	0	2209.8		73.3		73.3		0.0		0.0		1791.0		1791.0		84.4		84.4		semi_critical		semi_critical	0.0	73.4	0.0	73.4	0.0	345.5	0.0	345.5
503	PR	PR-4	GADCHIROLI	3743.9	212.7	0	3956.6	8.3	6.1		14.4	0.0	0.0		0.0	208.5	107.7		316.1	5.8	53.5		8.4	safe	safe		safe	8.3	6.1	0.0	14.4	3527.1	98.9	0.0	3626.0
504	PRD	PRD'-0	GADCHIROLI	5260.1	2345.6	0	7605.8	79.8	82.8		162.6	0.0	0.0		0.0	2269.9	558.9		2828.8	44.7	27.4		39.3	safe	safe		safe	79.8	82.8	0.0	162.6	2910.5	1703.9	0.0	4614.4
505	PRD	PRD-1	GADCHIROLI	0.0	153.4	0	153.4		7.9		7.9		0.0		0.0		91.1		91.1		64.5		64.5		safe		safe	0.0	7.9	0.0	7.9	0.0	54.5	0.0	54.5
506	PRD	PRD-2	GADCHIROLI	0.0	851.9	0	851.9		25.8		25.8		0.0		0.0		631.5		631.5		77.2		77.2		semi_critical		semi_critical	0.0	25.8	0.0	25.8	0.0	194.5	0.0	194.5
507	PRD	PRD-3	GADCHIROLI	0.0	284.4	0	284.4		67.0		67.0		0.0		0.0		154.1		154.1		77.7		77.7		semi_critical		semi_critical	0.0	67.0	0.0	67.0	0.0	63.4	0.0	63.4
508	PRDC	PRDC-0	GADCHIROLI	0.0	733.8	0	733.8		3.7		3.7		0.0		0.0		5.0		5.0		1.2		1.2		safe		safe	0.0	3.7	0.0	3.7	0.0	725.1	0.0	725.1
509	PRDP	PRDP-0	GADCHIROLI	0.0	18.3	0	18.3		1.6		1.6		0.0		0.0		0.0		0.0		8.9		8.9		safe		safe	0.0	1.6	0.0	1.6	0.0	16.7	0.0	16.7
510	PRDW	PRDW-0	GADCHIROLI	0.0	222.3	0	222.3		0.0		0.0		0.0		0.0		0.7		0.7		0.3		0.3		safe		safe	0.0	0.0	0.0	0.0	0.0	221.6	0.0	221.6
511	PRM	PRM-0	GADCHIROLI	0.0	489.8	0	489.8		2.2		2.2		0.0		0.0		17.5		17.5		4.0		4.0		safe		safe	0.0	2.2	0.0	2.2	0.0	470.2	0.0	470.2
512	PRT	PRT-0	GADCHIROLI	0.0	494.5	0	494.5		47.7		47.7		0.0		0.0		288.3		288.3		67.9		67.9		safe		safe	0.0	47.7	0.0	47.7	0.0	158.5	0.0	158.5
513	SE	SE-0	GADCHIROLI	0.0	1000.0	0	1000.0		115.3		115.3		0.0		0.0		579.8		579.8		69.5		69.5		safe		safe	0.0	115.3	0.0	115.3	0.0	305.0	0.0	305.0
514	WG	WG-13	GADCHIROLI	0.0	2572.2	0	2572.2		259.4		259.4		0.0		0.0		1682.4		1682.4		75.5		75.5		semi_critical		semi_critical	0.0	259.5	0.0	259.5	0.0	630.4	0.0	630.4
515	WG	WG-19	GADCHIROLI	5593.0	1644.2	478	7715.1	109.1	7.2	0.0	116.3	0.0	0.0	0.0	0.0	1822.6	75.0	0.0	1897.6	34.5	5.0	0.0	27.8	safe	safe	safe	safe	109.1	7.2	0.0	116.3	3661.3	1562.0	478.0	5223.3
516	WG	WG-21	GADCHIROLI	627.2	526.4	0	1153.6	31.1	17.8		49.0	0.0	0.0		0.0	215.2	117.1		332.3	39.3	25.6		33.1	safe	safe		safe	31.1	17.9	0.0	49.0	380.9	391.4	0.0	772.3
517	WGG	WGG-10	GADCHIROLI	5195.8	422.6	104	5722.0	70.9	11.4	0.0	82.2	0.0	0.0	0.0	0.0	3158.5	241.2	0.0	3399.7	62.2	59.8	0.0	62.0	safe	safe	safe	safe	70.9	11.4	0.0	82.2	1966.5	170.0	103.6	2136.4
518	WGG	WGG-3	GADCHIROLI	6173.8	283.9	0	6457.7	78.0	16.4		94.4	0.0	0.0		0.0	1571.4	227.0		1798.4	26.7	85.7		29.3	safe	semi_critical		safe	78.0	16.4	0.0	94.4	4524.5	40.5	0.0	4564.9
519	WGG	WGG-7	GADCHIROLI	6842.7	1029.2	102	7973.9	60.0	63.5	0.0	123.5	0.0	0.0	0.0	0.0	4053.1	325.4	0.0	4378.5	60.1	37.8	0.0	57.2	safe	safe	safe	safe	60.0	63.5	0.0	123.5	2729.6	640.3	102.0	3369.9
520	WGG	WGG-8	GADCHIROLI	3613.5	1753.0	0	5366.5	41.0	74.5		115.4	0.0	0.0		0.0	2117.2	1446.1		3563.3	59.7	86.7		68.5	safe	semi_critical		safe	41.0	74.5	0.0	115.5	1455.3	232.5	0.0	1687.8
521	WGG	WGG-9	GADCHIROLI	3661.2	118.5	0	3779.8	177.3	45.3		222.6	0.0	0.0		0.0	3339.8	112.4		3452.2	96.1	133.0		97.2	critical	over_exploited		critical	177.3	45.3	0.0	222.6	144.1	0.0	0.0	144.1
522	WGGC	WGGC-0	GADCHIROLI	4175.5	366.1	0	4541.6	100.8	33.7		134.5	0.0	0.0		0.0	2992.5	296.4		3288.9	74.1	90.2		75.4	semi_critical	critical		semi_critical	100.9	33.7	0.0	134.5	1082.2	36.0	0.0	1118.2
523	WGGD	WGGD-0	GADCHIROLI	3668.3	38.6	0	3707.0	58.1	12.2		70.3	0.0	0.0		0.0	2389.4	23.5		2412.9	66.7	92.5		67.0	safe	critical		safe	58.1	12.2	0.0	70.3	1220.8	2.9	0.0	1223.8
524	WGK	WGK'-1	GADCHIROLI	1696.7	3498.9	0	5195.6	94.4	135.1		229.5	0.0	0.0		0.0	179.3	510.0		689.2	16.1	18.4		17.7	safe	safe		safe	94.4	135.1	0.0	229.5	1423.1	2853.8	0.0	4276.9

S.No	BASIN	WATERSHED	District	Annual Extractable Ground water Resource (ham)				Ground Water Extraction for all uses (ha.m)												Stage of Ground Water Extraction (%)				Categorization of Assessment Unit				Allocation of Ground Water Resource for Domestic Utilisation for projected year 2025 (ham)				Net Annual Ground Water Availability for Future Use (ham)			
								Domestic				Industrial				Irrigation																			
				C	NC	PQ	Total	C	NC	PQ	Total	C	NC	PQ	Total	C	NC	PQ	Total	C	NC	PQ	Total	C	NC	PQ	Total	C	NC	PQ	Total	C	NC	PQ	Total
525	WGK	WGK'-2	GADCHIROLI	5004.2	1201.1	423	6628.4	46.7	18.7	24.8	90.2	0.0	0.0	0.0	0.0	3195.3	526.6	0.0	3721.9	64.8	45.4	5.9	61.0	safe	safe	safe	safe	46.7	18.7	24.8	65.4	1762.2	655.8	398.4	2418.0
526	WGK	WGK'-3	GADCHIROLI	715.9	2518.2	584	3818.1		65.0	0.0	65.0		0.0	0.0	0.0		1739.9	0.0	1739.9		71.7	0.0	55.8		semi_critical	safe	safe	0.0	65.0	0.0	65.0	715.9	713.4	584.0	1429.2
527	WGK	WGK'-4	GADCHIROLI	1653.8	2082.7	499	4235.6	22.7	127.1	1.3	151.0	0.0	0.0	0.0	0.0	44.1	1504.0	0.0	1548.1	4.0	78.3	0.3	45.4	safe	semi_critical	safe	safe	22.7	127.1	1.3	149.7	1587.1	451.7	497.7	2038.8
528	WGKK	WGK'K-0	GADCHIROLI	0.0	82.9	0	82.9		6.6		6.6		0.0		0.0		56.6		56.6		76.2		76.2		semi_critical		semi_critical	0.0	6.6	0.0	6.6	0.0	19.7	0.0	19.7
529	WGK	WGK-1	GADCHIROLI	282.5	2350.8	8	2641.7	64.7	81.9	0.0	146.6	0.0	0.0	0.0	0.0	24.8	1206.7	0.0	1231.5	31.7	54.8	0.0	52.3	safe	safe	safe	safe	64.7	81.9	0.0	146.6	193.0	1062.2	8.3	1255.2
530	WGK	WGK-2	GADCHIROLI	0.0	17.0	0	17.0		5.5		5.5		0.0		0.0		6.1		6.1		68.1		68.1		safe		safe	0.0	5.5	0.0	5.5	0.0	5.4	0.0	5.4
531	WGK	WGK-3	GADCHIROLI	0.0	18.1	0	18.1		0.5		0.5		0.0		0.0		10.7		10.7		61.6		61.6		safe		safe	0.0	0.5	0.0	0.5	0.0	7.0	0.0	7.0
532	WGK	WGK-4	GADCHIROLI	0.0	1234.1	0	1234.1		98.3		98.3		0.0		0.0		264.9		264.9		29.4		29.4		safe		safe	0.0	98.3	0.0	98.3	0.0	870.8	0.0	870.8
533	WGKB	WGKB-0	GADCHIROLI	800.2	705.7	0	1505.9	12.4	30.4		42.8	0.0	0.0		0.0	174.5	169.7		344.2	23.4	28.4		25.7	safe	safe		safe	12.4	30.4	0.0	42.8	613.3	505.6	0.0	1118.9
534	WGKD	WGKD'-0	GADCHIROLI	0.0	2798.1	0	2798.1		79.6		79.6		0.0		0.0		1140.0		1140.0		43.6		43.6		safe		safe	0.0	79.6	0.0	79.6	0.0	1578.5	0.0	1578.5
535	WGKD	WGKD-0	GADCHIROLI	0.0	5139.8	0	5139.8		102.2		102.2		0.0		0.0		3138.1		3138.1		63.0		63.0		safe		safe	0.0	102.2	0.0	102.2	0.0	1899.5	0.0	1899.5
536	WGKS	WGKS-1	GADCHIROLI	1987.4	2242.9	727	4957.3	0.0	141.8	0.0	141.8	0.0	0.0	0.0	0.0	20.2	1890.9	0.0	1911.1	1.0	90.6	0.0	48.5	safe	critical	safe	safe	0.0	141.8	0.0	141.8	1967.2	210.2	727.1	2177.4
537	WGKS	WGKS-2	GADCHIROLI	0.0	3609.2	0	3609.2		41.9		41.9		0.0		0.0		1891.6		1891.6		53.6		53.6		safe		safe	0.0	41.9	0.0	41.9	0.0	1675.7	0.0	1675.7
538	WGKS	WGKS-3	GADCHIROLI	3276.3	431.9	0	3708.2	78.8	123.5		202.3	0.0	0.0		0.0	1508.5	177.9		1686.5	48.4	69.8		50.9	safe	safe		safe	78.8	123.5	0.0	202.3	1689.0	130.5	0.0	1819.4
539	WGKST	WGKST-0	GADCHIROLI	5775.4	317.1	315	6407.9	83.2	13.3	12.8	109.3	0.0	0.0	0.0	0.0	2647.9	20.9	0.0	2668.9	47.3	10.8	4.0	45.4	safe	safe	safe	safe	83.2	13.3	12.8	96.5	3044.3	282.9	302.7	3327.1
540	WGKT	WGKT-0	GADCHIROLI	3161.1	259.4	0	3420.5	48.4	23.6		72.0	0.0	0.0		0.0	1897.8	142.6		2040.4	61.6	64.1		61.8	safe	safe		safe	48.4	23.7	0.0	72.0	1214.9	93.1	0.0	1308.0
541	WGP	WGP'-1	GADCHIROLI	616.4	1330.5	0	1946.9	25.4	69.7		95.1	0.0	0.0		0.0	811.0	1169.8		1980.8	135.7	93.2		106.6	over_exploited	critical		over_exploited	25.4	69.7	0.0	95.1	0.0	91.0	0.0	91.0
542	WGP	WGP'-2	GADCHIROLI	0.0	1039.8	0	1039.8		36.7		36.7		0.0		0.0		875.2		875.2		87.7		87.7		semi_critical		semi_critical	0.0	36.7	0.0	36.7	0.0	127.9	0.0	127.9
543	WGPK	WGP'K-0	GADCHIROLI	0.0	3000.8	0	3000.8		57.8		57.8		0.0		0.0		1003.1		1003.1		35.4		35.4		safe		safe	0.0	57.8	0.0	57.8	0.0	1939.9	0.0	1939.9
544	WGP	WGP-0	GADCHIROLI	0.0	2860.3	0	2860.3		100.1		100.1		0.0		0.0		1801.7		1801.7		66.5		66.5		safe		safe	0.0	100.1	0.0	100.1	0.0	958.6	0.0	958.6
545	WGPA	WGPA-0	GADCHIROLI	0.0	3885.8	0	3885.8		76.1		76.1		0.0		0.0		1981.0		1981.0		52.9		52.9		safe		safe	0.0	76.1	0.0	76.1	0.0	1828.7	0.0	1828.7
546	WGPM	WGPM-1	GADCHIROLI	0.0	4251.0	0	4251.0		103.0		103.0		0.0		0.0		1750.1		1750.1		43.6		43.6		safe		safe	0.0	103.0	0.0	103.0	0.0	2397.9	0.0	2397.9
547	WGPM	WGPM-2	GADCHIROLI	0.0	3062.6	0	3062.6		58.1		58.1		0.0		0.0		1454.1		1454.1		49.4		49.4		safe		safe	0.0	58.1	0.0	58.1	0.0	1550.3	0.0	1550.3
548	WGPM	WGPM-3	GADCHIROLI	0.0	4057.8	0	4057.8		66.8		66.8		0.0		0.0		313.3		313.3		9.4		9.4		safe		safe	0.0	66.8	0.0	66.8	0.0	3677.7	0.0	3677.7
549	WGPS	WGPS-0	GADCHIROLI	4443.4	1783.4	0	6226.8	116.4	101.6		218.1	0.0	0.0		0.0	2211.2	1423.5		3634.7	52.4	85.5		61.9	safe	semi_critical		safe	116.4	101.6	0.0	218.1	2115.8	258.3	0.0	2374.0

S.No	BASIN	WATER SHED	District	Annual Extractable Ground water Resource (ham)				Ground Water Extraction for all uses (ha.m)												Stage of Ground Water Extraction (%)				Categorization of Assessment Unit				Allocation of Ground Water Resource for Domestic Utilisation for projected year 2025 (ham)				Net Annual Ground Water Availability for Future Use (ham)			
								Domestic				Industrial				Irrigation																			
				C	NC	PQ	Total	C	NC	PQ	Total	C	NC	PQ	Total	C	NC	PQ	Total	C	NC	PQ	Total	C	NC	PQ	Total	C	NC	PQ	Total	C	NC	PQ	Total
550	WG	WG-1	GONDIA	0.0	3719.7	0	3719.7		66.1		66.1		0.0		0.0		584.2		584.2		17.5		17.5		safe		safe	0.0	66.1	0.0	66.1	0.0	3069.4	0.0	3069.4
551	WG	WG-2	GONDIA	0.0	2614.1	0	2614.1		89.8		89.8		0.0		0.0		703.4		703.4		30.3		30.3		safe		safe	0.0	89.8	0.0	89.8	0.0	1820.9	0.0	1820.9
552	WG	WG-3	GONDIA	0.0	5449.0	0	5449.0		102.4		102.4		0.0		0.0		2892.6		2892.6		55.0		55.0		safe		safe	0.0	102.4	0.0	102.4	0.0	2453.9	0.0	2453.9
553	WG	WG-4	GONDIA	0.0	1500.0	0	1500.0		23.6		23.6		0.0		0.0		640.0		640.0		44.2		44.2		safe		safe	0.0	23.6	0.0	23.6	0.0	836.4	0.0	836.4
554	WG	WG-7 A	GONDIA	0.0	1639.1	0	1639.1		9.4		9.4		0.0		0.0		250.0		250.0		15.8		15.8		safe		safe	0.0	9.4	0.0	9.4	0.0	1379.8	0.0	1379.8
555	WGC	WGC-2 A	GONDIA	0.0	1388.4	0	1388.4		12.1		12.1		0.0		0.0		263.0		263.0		19.8		19.8		safe		safe	0.0	12.1	0.0	12.1	0.0	1113.3	0.0	1113.3
556	WGC	WGC-3 A	GONDIA	0.0	757.1	0	757.1		15.5		15.5		0.0		0.0		289.9		289.9		40.3		40.3		safe		safe	0.0	15.5	0.0	15.5	0.0	451.7	0.0	451.7
557	WGC	WGC-8	GONDIA	2775.5	6216.5	0	8992.1	25.2	64.8		90.0	0.0	0.0		0.0	738.8	4169.7		4908.5	27.5	68.1		55.6	safe	safe		safe	25.2	64.8	0.0	90.0	2011.6	1982.0	0.0	3993.6
558	WGCB	WGCB-0	GONDIA	4794.3	5069.2	0	9863.6	14.9	50.0		65.0	0.0	0.0		0.0	582.1	1660.7		2242.8	12.5	33.7		23.4	safe	safe		safe	14.9	50.0	0.0	65.0	4197.3	3358.5	0.0	7555.7
559	WGCK	WGCK-A	GONDIA	0.0	3681.1	0	3681.1		35.1		35.1		0.0		0.0		491.9		491.9		14.3		14.3		safe		safe	0.0	35.1	0.0	35.1	0.0	3154.1	0.0	3154.1
560	WGCS	WGCS-0	GONDIA	0.0	5896.2	0	5896.2		49.1		49.1		0.0		0.0		1132.3		1132.3		20.0		20.0		safe		safe	0.0	49.1	0.0	49.1	0.0	4714.8	0.0	4714.8
561	WGCU	WGCU-0	GONDIA	2425.6	1096.8	0	3522.4	27.4	29.5		56.9	0.0	0.0		0.0	967.2	724.9		1692.1	41.0	68.8		49.7	safe	safe		safe	27.4	29.5	0.0	56.9	1431.0	342.3	0.0	1773.4
562	WGG	WGG-1	GONDIA	1690.5	2722.0	0	4412.5	57.0	81.2		138.2	0.0	0.0		0.0	679.7	1852.4		2532.0	43.6	71.0		60.5	safe	semi_critical		safe	57.0	81.2	0.0	138.2	953.8	788.4	0.0	1742.2
563	WGG	WGG-2	GONDIA	0.0	1682.9	0	1682.9		43.4		43.4		0.0		0.0		829.6		829.6		51.9		51.9		safe		safe	0.0	43.4	0.0	43.4	0.0	809.9	0.0	809.9
564	WGG	WGG-3	GONDIA	0.0	2148.0	0	2148.0		54.7		54.7		0.0		0.0		753.8		753.8		37.6		37.6		safe		safe	0.0	54.7	0.0	54.7	0.0	1339.5	0.0	1339.5
565	WGG	WGG-4	GONDIA	0.0	1170.0	0	1170.0		19.8		19.8		0.0		0.0		231.0		231.0		21.4		21.4		safe		safe	0.0	19.8	0.0	19.8	0.0	919.2	0.0	919.2
566	WGG	WGG-5	GONDIA	0.0	3262.2	0	3262.2		79.0		79.0		0.0		0.0		691.2		691.2		23.6		23.6		safe		safe	0.0	79.0	0.0	79.0	0.0	2492.0	0.0	2492.0
567	WGG	WGG-6	GONDIA	0.0	3548.1	0	3548.1		67.0		67.0		0.0		0.0		1965.0		1965.0		57.3		57.3		safe		safe	0.0	67.0	0.0	67.0	0.0	1516.2	0.0	1516.2
568	WGGD	WGGD-0	GONDIA	0.0	5792.7	0	5792.7		82.6		82.6		0.0		0.0		3839.8		3839.8		67.7		67.7		safe		safe	0.0	82.6	0.0	82.6	0.0	1870.3	0.0	1870.3
569	WGGS	WGGS-0	GONDIA	0.0	2646.1	0	2646.1		47.5		47.5		0.0		0.0		1726.3		1726.3		67.0		67.0		safe		safe	0.0	47.5	0.0	47.5	0.0	872.3	0.0	872.3
570	WGW	WGW-1	GONDIA	0.0	2206.4	0	2206.4		32.9		32.9		0.0		0.0		1352.1		1352.1		62.8		62.8		safe		safe	0.0	32.9	0.0	32.9	0.0	821.4	0.0	821.4
571	WGW	WGW-2	GONDIA	0.0	4916.4	0	4916.4		60.7		60.7		0.0		0.0		2381.0		2381.0		49.7		49.7		safe		safe	0.0	60.7	0.0	60.7	0.0	2474.8	0.0	2474.8
572	WGW	WGW-3	GONDIA	0.0	1800.4	0	1800.4		33.8		33.8		0.0		0.0		568.0		568.0		33.4		33.4		safe		safe	0.0	33.8	0.0	33.8	0.0	1198.6	0.0	1198.6
573	WGW	WGW-3'	GONDIA	1298.0	1873.6	0	3171.6	46.2	59.6		105.8	0.0	0.0		0.0	378.6	1241.1		1619.7	32.7	69.4		54.4	safe	safe		safe	46.2	59.6	0.0	105.8	873.2	572.8	0.0	1446.1
574	WGW	WGW-4	GONDIA	0.0	1406.5	0	1406.5		35.1		35.1		0.0		0.0		465.5		465.5		35.6		35.6		safe		safe	0.0	35.1	0.0	35.1	0.0	905.9	0.0	905.9

S.No	BASIN	WATER SHED	District	Annual Extractable Ground water Resource (ham)				Ground Water Extraction for all uses (ha.m)												Stage of Ground Water Extraction (%)				Categorization of Assessment Unit				Allocation of Ground Water Resource for Domestic Utilisation for projected year 2025 (ham)				Net Annual Ground Water Availability for Future Use (ham)			
								Domestic				Industrial				Irrigation																			
				C	NC	PQ	Total	C	NC	PQ	Total	C	NC	PQ	Total	C	NC	PQ	Total	C	NC	PQ	Total	C	NC	PQ	Total	C	NC	PQ	Total	C	NC	PQ	Total
575	WGW	WGW-5	GONDIA	0.0	1457.6	0	1457.6		34.9		34.9		0.0		0.0		811.6		811.6		58.1		58.1		safe		safe	0.0	34.9	0.0	34.9	0.0	611.1	0.0	611.1
576	WGW	WGW-6	GONDIA	0.0	4121.9	0	4121.9		59.6		59.6		0.0		0.0		2248.4		2248.4		56.0		56.0		safe		safe	0.0	59.6	0.0	59.6	0.0	1813.9	0.0	1813.9
577	WGW	WGW-7	GONDIA	0.0	4432.6	0	4432.6		44.3		44.3		0.0		0.0		2109.6		2109.6		48.6		48.6		safe		safe	0.0	44.3	0.0	44.3	0.0	2278.8	0.0	2278.8
578	WGWK	WGWK-0	GONDIA	0.0	999.1	0	999.1		17.6		17.6		0.0		0.0		617.6		617.6		63.6		63.6		safe		safe	0.0	17.6	0.0	17.6	0.0	363.9	0.0	363.9
579	WGWP	WGWP-1	GONDIA	0.0	697.1	0	697.1		6.5		6.5		0.0		0.0		348.7		348.7		50.9		50.9		safe		safe	0.0	6.5	0.0	6.5	0.0	341.9	0.0	341.9
580	WGWP	WGWP-2	GONDIA	0.0	1233.8	0	1233.8		64.0		64.0		0.0		0.0		958.6		958.6		82.9		82.9		semi_critical		semi_critical	0.0	64.0	0.0	64.0	0.0	211.2	0.0	211.2
581	WGWP	WGWP-3	GONDIA	178.6	1737.4	0	1916.0	11.8	63.6		75.4	0.0	0.0		0.0	137.5	1080.4		1217.9	83.6	65.8		67.5	semi_critical	safe		safe	11.8	63.6	0.0	75.4	29.3	593.4	0.0	622.7
582	WGWS	WGWS-0	GONDIA	831.6	2116.6	0	2948.2	37.9	77.5		115.5	0.0	0.0		0.0	189.6	1715.0		1904.6	27.4	84.7		68.5	safe	semi_critical		safe	37.9	77.5	0.0	115.5	604.0	324.2	0.0	928.2
583	GP	GP-40	HINGOLI	0.0	1552.9	0	1552.9		71.1		71.1		0.0		0.0		1013.7		1013.7		69.9		69.9		safe		safe	0.0	71.1	0.0	71.1	0.0	468.2	0.0	468.2
584	GP	GP-44	HINGOLI	109.0	1631.2	0	1740.2	11.1	59.1		70.2	0.0	0.1		0.1	62.0	1190.7		1252.7	67.1	76.6		76.0	safe	semi_critical		semi_critical	11.1	59.1	0.0	70.2	35.9	381.3	0.0	417.2
585	GP	GP-47	HINGOLI	274.7	2282.2	0	2556.9	15.3	55.7		71.0	0.0	0.0		0.0	421.6	1616.3		2037.9	159.0	73.3		82.5	over_exploited	semi_critical		semi_critical	15.3	55.7	0.0	71.0	0.0	610.2	0.0	610.2
586	GP	GP-52	HINGOLI	0.0	1845.5	0	1845.5		44.2		44.2		0.0		0.0		1585.7		1585.7		88.3		88.3		semi_critical		semi_critical	0.0	44.2	0.0	44.2	0.0	215.6	0.0	215.6
587	GP	GP-53 B	HINGOLI	0.0	419.8	0	419.8		12.3		12.3		0.0		0.0		169.2		169.2		43.2		43.2		safe		safe	0.0	12.3	0.0	12.3	0.0	238.3	0.0	238.3
588	GP	GP-55 B	HINGOLI	0.0	3203.4	0	3203.4		111.2		111.2		0.6		0.6		1357.9		1357.9		45.9		45.9		safe		safe	0.0	111.2	0.0	111.2	0.0	1733.8	0.0	1733.8
589	GP	GP-60 A	HINGOLI	134.4	480.6	0	615.0	19.3	51.1		70.4	0.0	0.0		0.0	80.1	390.1		470.2	74.0	91.8		87.9	semi_critical	critical		semi_critical	19.3	51.1	0.0	70.4	34.9	39.4	0.0	74.4
590	GP	GP-63 A	HINGOLI	439.3	1139.4	0	1578.7	21.2	27.7		48.9	0.0	0.0		0.0	564.1	830.3		1394.3	133.2	75.3		91.4	over_exploited	semi_critical		critical	21.2	27.7	0.0	48.9	0.0	281.4	0.0	281.4
591	GV	GV-100 A	HINGOLI	30.3	1504.9	0	1535.1	10.2	29.4		39.7	0.0	0.0		0.0	19.8	976.1		995.9	99.1	66.8		67.5	critical	safe		safe	10.2	29.4	0.0	39.7	0.3	499.3	0.0	499.5
592	GV	GV-92	HINGOLI	142.3	1513.8	0	1656.1	28.5	37.6		66.2	0.0	0.0		0.0	251.3	993.3		1244.6	196.7	68.1		79.2	over_exploited	safe		semi_critical	28.5	37.6	0.0	66.2	0.0	482.9	0.0	482.9
593	GV	GV-93 A	HINGOLI	121.7	1875.4	0	1997.1	8.0	50.0		58.0	0.0	0.0		0.0	95.6	1408.9		1504.4	85.1	77.8		78.2	semi_critical	semi_critical		semi_critical	8.0	50.0	0.0	58.0	18.1	416.6	0.0	434.7
594	GV	GV-94 A	HINGOLI	150.8	1631.6	0	1782.4	4.0	35.7		39.8	0.0	0.0		0.0	130.2	1040.1		1170.3	89.0	65.9		67.9	semi_critical	safe		safe	4.0	35.7	0.0	39.8	16.5	555.7	0.0	572.3
595	PPG	PPG-1	HINGOLI	385.0	1398.2	0	1783.2	21.5	29.6		51.2	0.0	0.0		0.0	534.2	949.6		1483.8	144.4	70.0		86.1	over_exploited	semi_critical		semi_critical	21.5	29.6	0.0	51.2	0.0	419.0	0.0	419.0
596	PPG	PPG-10	HINGOLI	0.0	2437.3	0	2437.3		114.1		114.1		0.0		0.0		1762.1		1762.1		77.0		77.0		semi_critical		semi_critical	0.0	114.1	0.0	114.1	0.0	561.1	0.0	561.1
597	PPG	PPG-11	HINGOLI	643.0	2654.6	0	3297.5	11.1	72.4		83.5	0.0	0.0		0.0	317.7	1196.6		1514.4	51.1	47.8		48.5	safe	safe		safe	11.1	72.4	0.0	83.5	314.1	1385.5	0.0	1699.7
598	PPG	PPG-2	HINGOLI	0.0	254.4	0	254.4		14.1		14.1		0.0		0.0		152.5		152.5		65.5		65.5		safe		safe	0.0	14.2	0.0	14.2	0.0	87.7	0.0	87.7
599	PPG	PPG-3	HINGOLI	54.3	827.8	0	882.1	15.1	35.6		50.7	0.0	0.0		0.0	32.3	517.5		549.8	87.3	66.8		68.1	semi_critical	safe		safe	15.1	35.6	0.0	50.7	6.9	274.7	0.0	281.6

S.No	BASIN	WATER SHED	District	Annual Extractable Ground water Resource (ham)				Ground Water Extraction for all uses (ha.m)												Stage of Ground Water Extraction (%)				Categorization of Assessment Unit				Allocation of Ground Water Resource for Domestic Utilisation for projected year 2025 (ham)				Net Annual Ground Water Availability for Future Use (ham)			
								Domestic				Industrial				Irrigation																			
				C	NC	PQ	Total	C	NC	PQ	Total	C	NC	PQ	Total	C	NC	PQ	Total	C	NC	PQ	Total	C	NC	PQ	Total	C	NC	PQ	Total	C	NC	PQ	Total
600	PPG	PPG-4	HINGOLI	143.5	2971.7	0	3115.2	3.9	73.8		77.7	3.0	0.0		3.0	199.2	1354.5		1553.7	143.6	48.1		52.5	over_exploited	safe		safe	3.9	73.8	0.0	77.7	0.0	1543.4	0.0	1543.4
601	PPG	PPG-5	HINGOLI	236.4	2758.3	0	2994.7	13.5	61.1		74.6	0.0	0.0		0.0	199.8	2020.8		2220.5	90.2	75.5		76.6	critical	semi_critical		semi_critical	13.5	61.1	0.0	74.6	23.1	676.5	0.0	699.6
602	PPG	PPG-6	HINGOLI	44.1	2215.6	0	2259.8	6.6	52.5		59.0	0.0	0.0		0.0	45.2	1675.6		1720.8	117.3	78.0		78.8	over_exploited	semi_critical		semi_critical	6.6	52.5	0.0	59.0	0.0	487.6	0.0	487.6
603	PPG	PPG-7	HINGOLI	105.5	1141.9	0	1247.4	4.1	25.6		29.6	1.9	0.0		1.9	93.0	673.2		766.2	93.8	61.2		63.9	critical	safe		safe	4.1	25.6	0.0	29.6	6.6	443.1	0.0	449.7
604	PPG	PPG-8	HINGOLI	37.0	496.9	0	533.9	7.4	20.8		28.3	0.5	0.0		0.5	60.0	175.5		235.5	183.6	39.5		49.5	over_exploited	safe		safe	7.4	20.8	0.0	28.3	0.0	300.6	0.0	300.6
605	PPG	PPG-9	HINGOLI	121.6	1574.6	0	1696.3	15.7	135.1		150.7	41.6	0.0		41.6	95.7	1214.1		1309.8	125.8	85.7		88.6	over_exploited	semi_critical		semi_critical	15.7	135.1	0.0	150.8	0.0	225.5	0.0	225.5
606	PT	PT'--	JALGAON	181.6	1080.9	0	1262.5	18.3	26.3		44.5	7.0	0.0		7.0	95.7	483.9		579.6	66.6	47.2		50.0	safe	safe		safe	18.3	26.3	0.0	44.5	60.6	570.7	0.0	631.3
607	PT	PT--	JALGAON	384.9	1410.6	0	1795.5	9.3	52.6		61.9	8.0	0.0		8.0	118.5	858.4		976.9	35.3	64.6		58.3	safe	safe		safe	9.3	52.6	0.0	61.9	249.1	499.6	0.0	748.7
608	PT	PT-13	JALGAON	279.0	3578.6	0	3857.6	9.1	72.3		81.4	1.5	0.0		1.5	99.0	1340.8		1439.8	39.3	39.5		39.5	safe	safe		safe	9.1	72.3	0.0	81.4	169.4	2165.5	0.0	2334.9
609	PTW	PTW-1	JALGAON	257.1	3616.5	0	3873.6	19.1	91.7		110.8	0.0	0.0		0.0	154.3	2027.0		2181.3	67.4	58.6		59.2	safe	safe		safe	19.1	91.7	0.0	110.8	83.8	1497.8	0.0	1581.5
610	TE	TE-07	JALGAON	290.2	2477.5	0	2767.7	6.0	39.1		45.1	0.3	0.0		0.3	189.7	1099.8		1289.5	67.5	46.0		48.2	safe	safe		safe	6.0	39.1	0.0	45.1	94.2	1338.6	0.0	1432.8
611	TE	TE-1	JALGAON	0.0	694.7	0	694.7		25.0		25.0		0.0		0.0		448.2		448.2		68.1		68.1		safe		safe	0.0	25.0	0.0	25.0	0.0	221.6	0.0	221.6
612	TE	TE-10A	JALGAON	71.3	1306.4	0	1377.7	3.2	47.7		50.9	0.2	0.0		0.2	65.6	412.2		477.8	96.8	35.2		38.4	critical	safe		safe	3.2	47.7	0.0	50.9	2.3	846.5	0.0	848.8
613	TE	TE-11	JALGAON	0.0	894.0	0	894.0		31.4		31.4		0.0		0.0		475.0		475.0		56.7		56.7		safe		safe	0.0	31.4	0.0	31.4	0.0	387.5	0.0	387.5
614	TE	TE-12	JALGAON	0.0	592.5	0	592.5		12.9		12.9		0.0		0.0		63.8		63.8		13.0		13.0		safe		safe	0.0	12.9	0.0	12.9	0.0	515.8	0.0	515.8
615	TE	TE-13	JALGAON	30.7	888.2	0	918.9	4.7	29.0		33.7	0.0	0.0		0.0	17.6	719.4		737.0	72.4	84.3		83.9	semi_critical	semi_critical		semi_critical	4.7	29.0	0.0	33.7	8.5	139.8	0.0	148.3
616	TE	TE-13'	JALGAON	237.3	3076.7	0	3314.0	9.3	54.6		63.9	0.0	0.0		0.0	134.6	1501.5		1636.1	60.6	50.6		51.3	safe	safe		safe	9.3	54.6	0.0	63.9	93.5	1520.6	0.0	1614.0
617	TE	TE-14	JALGAON	108.5	2082.9	0	2191.4	9.9	57.0		66.9	0.0	0.0		0.0	52.5	810.0		862.5	57.5	41.6		42.4	safe	safe		safe	9.9	57.0	0.0	66.9	46.1	1215.8	0.0	1261.9
618	TE	TE-15 A	JALGAON	74.8	916.4	0	991.2	12.3	36.8		49.0	0.0	0.0		0.0	47.1	791.8		838.9	79.4	90.4		89.6	semi_critical	critical		semi_critical	12.3	36.8	0.0	49.0	15.4	87.8	0.0	103.3
619	TE	TE-16	JALGAON	0.0	1195.1	0	1195.1		36.8		36.8		0.0		0.0		607.4		607.4		53.9		53.9		safe		safe	0.0	36.8	0.0	36.8	0.0	550.9	0.0	550.9
620	TE	TE-17	JALGAON	0.0	1230.6	0	1230.6		37.0		37.0		0.0		0.0		517.9		517.9		45.1		45.1		safe		safe	0.0	37.1	0.0	37.1	0.0	675.6	0.0	675.6
621	TE	TE-18	JALGAON	0.1	1726.7	0	1726.9		38.0		38.0		0.0		0.0		372.2		372.2		23.8		23.8		safe		safe	0.0	38.0	0.0	38.0	0.1	1316.5	0.0	1316.7
622	TE	TE-19	JALGAON	105.2	2583.6	0	2688.8	33.9	92.1		126.0	116.4	0.0		116.4	37.7	1199.6		1237.3	178.7	50.0		55.0	over_exploited	safe		safe	33.9	92.1	0.0	126.0	0.0	1291.9	0.0	1291.9
623	TE	TE-19'	JALGAON	0.6	1444.8	0	1445.5		79.4		79.4		0.0		0.0		1189.6		1189.6		87.8		87.8		semi_critical		semi_critical	0.0	79.4	0.0	79.4	0.6	175.8	0.0	176.5
624	TE	TE-2	JALGAON	0.0	4175.0	0	4175.0		152.0		152.0		0.8		0.8		2736.2		2736.2		69.2		69.2		safe		safe	0.0	152.0	0.0	152.0	0.0	1286.1	0.0	1286.1

S.No	BASIN	WATER SHED	District	Annual Extractable Ground water Resource (ham)				Ground Water Extraction for all uses (ha.m)												Stage of Ground Water Extraction (%)				Categorization of Assessment Unit				Allocation of Ground Water Resource for Domestic Utilisation for projected year 2025 (ham)				Net Annual Ground Water Availability for Future Use (ham)			
								Domestic				Industrial				Irrigation																			
				C	NC	PQ	Total	C	NC	PQ	Total	C	NC	PQ	Total	C	NC	PQ	Total	C	NC	PQ	Total	C	NC	PQ	Total	C	NC	PQ	Total	C	NC	PQ	Total
625	TE	TE-2'	JALGAON	104.8	1273.9	0	1378.8	14.2	20.3		34.6	0.1	0.0		0.1	87.3	438.0		525.3	97.0	36.0		40.6	critical	safe		safe	14.2	20.3	0.0	34.6	3.2	815.6	0.0	818.8
626	TE	TE-20	JALGAON	207.5	1436.0	0	1643.5	11.5	60.8		72.3	0.0	0.0		0.0	91.4	814.1		905.5	49.6	60.9		59.5	safe	safe		safe	11.5	60.8	0.0	72.3	104.7	561.1	0.0	665.8
627	TE	TE-21	JALGAON	126.7	1210.3	0	1337.0	5.3	33.4		38.7	0.0	0.0		0.0	23.2	653.4		676.6	22.5	56.7		53.5	safe	safe		safe	5.3	33.4	0.0	38.7	98.2	523.5	0.0	621.7
628	TE	TE-22	JALGAON	0.0	1056.7	0	1056.7		38.8		38.8		0.0		0.0		808.9		808.9		80.2		80.2		semi_critical		semi_critical	0.0	38.8	0.0	38.8	0.0	209.0	0.0	209.0
629	TE	TE-23	JALGAON	111.5	1298.3	0	1409.8	2.8	0.0		2.8	2.6	0.0		2.6	169.1	891.6		1060.6	156.4	68.7		75.6	over_exploited	safe		semi_critical	2.8	0.0	0.0	2.8	0.0	406.8	0.0	406.8
630	TE	TE-24	JALGAON	117.1	3016.9	0	3134.0	12.8	137.4		150.2	2.4	0.0		2.4	71.0	1375.6		1446.6	73.6	50.2		51.0	semi_critical	safe		safe	12.8	137.4	0.0	150.2	30.9	1503.9	0.0	1534.7
631	TE	TE-25	JALGAON	354.1	2875.0	0	3229.1	20.9	27.3		48.1	0.0	0.0		0.0	169.4	351.9		521.2	53.7	13.2		17.6	safe	safe		safe	20.9	27.3	0.0	48.1	163.8	2495.9	0.0	2659.7
632	TE	TE-26	JALGAON	49.0	1651.5	0	1700.6	8.9	48.4		57.3	2.0	0.0		2.0	71.0	476.8		547.8	166.9	31.8		35.7	over_exploited	safe		safe	8.9	48.4	0.0	57.3	0.0	1126.4	0.0	1126.4
633	TE	TE-27	JALGAON	460.8	2441.9	0	2902.7	31.0	43.6		74.6	0.0	0.0		0.0	315.1	1030.0		1345.1	75.1	44.0		48.9	semi_critical	safe		safe	31.0	43.6	0.0	74.6	114.7	1368.4	0.0	1483.0
634	TE	TE-28 A	JALGAON	64.6	2031.8	0	2096.3	7.1	112.5		119.7	0.0	0.0		0.0	8.9	745.8		754.7	24.8	42.2		41.7	safe	safe		safe	7.1	112.5	0.0	119.7	48.6	1173.4	0.0	1222.0
635	TE	TE-29	JALGAON	473.9	3295.9	0	3769.9	35.3	34.8		70.1	0.0	0.0		0.0	202.9	555.1		758.0	50.3	17.9		22.0	safe	safe		safe	35.3	34.8	0.0	70.1	235.8	2706.1	0.0	2941.8
636	TE	TE-3	JALGAON	194.2	1312.0	0	1506.2	11.1	34.7		45.8	0.0	0.0		0.0	77.6	829.0		906.6	45.6	65.8		63.2	safe	safe		safe	11.1	34.7	0.0	45.8	105.6	448.2	0.0	553.9
637	TE	TE-30	JALGAON	362.0	2716.2	0	3078.2	22.1	51.9		74.0	0.0	0.0		0.0	230.9	751.2		982.1	69.9	29.6		34.3	safe	safe		safe	22.1	51.9	0.0	74.0	109.1	1913.0	0.0	2022.1
638	TE	TE-31	JALGAON	0.0	308.9	0	308.9		20.2		20.2		0.0		0.0		152.1		152.1		55.7		55.7		safe		safe	0.0	20.2	0.0	20.2	0.0	136.7	0.0	136.7
639	TE	TE-32	JALGAON	182.7	1897.6	0	2080.3	13.8	38.3		52.1	1.2	0.0		1.2	81.0	629.2		710.2	52.6	35.2		36.7	safe	safe		safe	13.8	38.3	0.0	52.1	86.6	1230.1	0.0	1316.7
640	TE	TE-33	JALGAON	0.0	176.7	0	176.7		16.3		16.3		0.0		0.0		48.2		48.2		36.5		36.5		safe		safe	0.0	16.3	0.0	16.3	0.0	112.3	0.0	112.3
641	TE	TE-34	JALGAON	28.0	609.7	0	637.6	4.8	51.7		56.5	0.0	0.0		0.0	10.1	218.4		228.5	53.3	44.3		44.7	safe	safe		safe	4.8	51.7	0.0	56.5	13.1	339.6	0.0	352.6
642	TE	TE-35	JALGAON	0.0	347.0	0	347.0		15.4		15.4		0.0		0.0		165.3		165.3		52.1		52.1		safe		safe	0.0	15.4	0.0	15.4	0.0	166.3	0.0	166.3
643	TE	TE-36	JALGAON	111.9	1710.9	0	1822.8	8.6	25.1		33.7	1.8	0.0		1.8	28.1	773.5		801.6	34.3	46.7		45.9	safe	safe		safe	8.6	25.1	0.0	33.7	73.5	912.3	0.0	985.7
644	TE	TE-37 A	JALGAON	0.0	1095.1	0	1095.1		35.5		35.5		0.0		0.0		634.9		634.9		61.2		61.2		safe		safe	0.0	35.5	0.0	35.5	0.0	424.7	0.0	424.7
645	TE	TE-38	JALGAON	57.8	1870.7	0	1928.5	9.2	57.6		66.8	2.0	0.0		2.0	85.1	810.7		895.7	166.6	46.4		50.0	over_exploited	safe		safe	9.2	57.6	0.0	66.8	0.0	1002.4	0.0	1002.4
646	TE	TE-39	JALGAON	10.1	717.1	0	727.2		19.0		19.0		0.0		0.0		278.1		278.1		41.4		40.9		safe		safe	0.0	19.0	0.0	19.0	10.1	420.0	0.0	430.1
647	TE	TE-4	JALGAON	232.8	748.0	0	980.9	11.2	22.4		33.7	0.0	0.0		0.0	61.9	245.9		307.8	31.4	35.9		34.8	safe	safe		safe	11.2	22.5	0.0	33.7	159.7	479.7	0.0	639.4
648	TE	TE-4'	JALGAON	1134.2	1232.1	0	2366.3	50.9	24.0		74.9	0.0	0.0		0.0	212.7	215.1		427.8	23.2	19.4		21.2	safe	safe		safe	50.9	24.0	0.0	75.0	870.6	993.0	0.0	1863.6
649	TE	TE-40	JALGAON	0.0	5938.0	0	5938.0		136.5		136.5		1.5		1.5		3648.2		3648.2		63.8		63.8		safe		safe	0.0	136.5	0.0	136.5	0.0	2151.7	0.0	2151.7

S.No	BASIN	WATER SHED	District	Annual Extractable Ground water Resource (ham)				Ground Water Extraction for all uses (ha.m)												Stage of Ground Water Extraction (%)				Categorization of Assessment Unit				Allocation of Ground Water Resource for Domestic Utilisation for projected year 2025 (ham)				Net Annual Ground Water Availability for Future Use (ham)			
								Domestic				Industrial				Irrigation																			
				C	NC	PQ	Total	C	NC	PQ	Total	C	NC	PQ	Total	C	NC	PQ	Total	C	NC	PQ	Total	C	NC	PQ	Total	C	NC	PQ	Total	C	NC	PQ	Total
650	TE	TE-41	JALGAON	364.2	2143.0	0	2507.1	14.9	47.1		62.0	0.0	0.0		0.0	74.3	182.4		256.7	24.5	10.7		12.7	safe	safe		safe	14.9	47.1	0.0	62.0	274.9	1913.6	0.0	2188.4
651	TE	TE-42	JALGAON	0.0	2928.8	0	2928.8		66.0		66.0		1.2		1.2		513.3		513.3		19.8		19.8		safe		safe	0.0	66.0	0.0	66.0	0.0	2348.3	0.0	2348.3
652	TE	TE-43	JALGAON	28.7	696.9	0	725.6	30.1	39.5		69.7	0.0	0.0		0.0	21.8	82.5		104.3	181.0	17.5		24.0	over_exploited	safe		safe	30.1	39.5	0.0	69.7	0.0	574.9	0.0	574.9
653	TE	TE-44	JALGAON	74.8	1870.4	0	1945.1	25.0	75.2		100.2	0.0	0.0		0.0	11.3	279.6		290.9	48.5	19.0		20.1	safe	safe		safe	25.0	75.2	0.0	100.2	38.5	1515.5	0.0	1554.0
654	TE	TE-45	JALGAON	0.3	1162.5	0	1162.8		101.3		101.3		0.0		0.0		274.2		274.2		32.3		32.3		safe		safe	0.0	101.3	0.0	101.3	0.3	787.0	0.0	787.3
655	TE	TE-46	JALGAON	249.8	1939.9	0	2189.7	51.5	172.3		223.8	0.0	0.0		0.0	82.4	466.7		549.1	53.6	32.9		35.3	safe	safe		safe	51.5	172.3	0.0	223.8	116.0	1300.9	0.0	1416.8
656	TE	TE-47	JALGAON	144.3	1736.8	0	1881.1	57.9	113.4		171.2	0.0	0.0		0.0	55.8	744.1		799.9	78.8	49.4		51.6	semi_critical	safe		safe	57.9	113.4	0.0	171.2	30.6	879.3	0.0	909.9
657	TE	TE-48	JALGAON	41.6	3678.4	0	3720.0	9.1	83.7		92.8	0.0	0.2		0.2	28.1	2452.6		2480.7	89.3	69.0		69.2	semi_critical	safe		safe	9.1	83.7	0.0	92.8	4.4	1141.8	0.0	1146.3
658	TE	TE-49	JALGAON	1519.1	4752.4	0	6271.5	104.3	71.4		175.8	0.6	0.0		0.6	687.1	2992.1		3679.2	52.1	64.5		61.5	safe	safe		safe	104.3	71.4	0.0	175.8	727.1	1688.8	0.0	2415.9
659	TE	TE-5 A	JALGAON	0.0	2914.6	0	2914.6		129.0		129.0		0.0		0.0		2072.9		2072.9		75.5		75.5		semi_critical		semi_critical	0.0	129.0	0.0	129.0	0.0	712.7	0.0	712.7
660	TE	TE-50	JALGAON	615.6	1035.0	0	1650.5	11.1	10.0		21.1	0.0	0.0		0.0	159.7	277.1		436.8	27.8	27.7		27.7	safe	safe		safe	11.1	10.0	0.0	21.1	444.7	747.9	0.0	1192.6
661	TE	TE-51	JALGAON	360.7	1817.1	0	2177.8	8.7	44.8		53.5	0.0	0.0		0.0	157.7	275.6		433.3	46.1	17.6		22.4	safe	safe		safe	8.7	44.8	0.0	53.5	194.3	1496.7	0.0	1691.0
662	TE	TE-52	JALGAON	0.0	1313.7	0	1313.7		48.5		48.5		0.0		0.0		452.5		452.5		38.1		38.1		safe		safe	0.0	48.5	0.0	48.5	0.0	812.6	0.0	812.6
663	TE	TE-55	JALGAON	760.1	2068.7	0	2828.8	38.6	16.1		54.7	0.0	0.0		0.0	211.2	341.9		553.0	32.9	17.3		21.5	safe	safe		safe	38.6	16.1	0.0	54.7	510.3	1710.8	0.0	2221.1
664	TE	TE-56	JALGAON	34.6	2564.8	0	2599.3	16.3	24.4		40.7	0.0	0.0		0.0	5.7	513.1		518.8	63.7	21.0		21.5	safe	safe		safe	16.3	24.4	0.0	40.7	12.6	2027.3	0.0	2039.8
665	TE	TE-59	JALGAON	128.1	3678.2	0	3806.2	1.5	78.4		79.8	0.0	0.0		0.0	54.0	1753.6		1807.6	43.3	49.8		49.6	safe	safe		safe	1.5	78.4	0.0	79.8	72.6	1846.2	0.0	1918.8
666	TE	TE-6 A	JALGAON	203.6	3564.0	0	3767.5	1.5	49.3		50.7	0.0	0.0		0.0	91.2	852.2		943.4	45.5	25.3		26.4	safe	safe		safe	1.5	49.3	0.0	50.7	110.9	2662.5	0.0	2773.4
667	TE	TE-60	JALGAON	607.2	1201.6	0	1808.8	25.7	9.4		35.1	0.0	0.0		0.0	114.3	294.3		408.6	23.1	25.3		24.5	safe	safe		safe	25.7	9.4	0.0	35.1	467.2	897.9	0.0	1365.1
668	TE	TE-8	JALGAON	475.2	1533.2	0	2008.4	46.1	14.1		60.1	0.0	0.0		0.0	254.1	688.2		942.3	63.2	45.8		49.9	safe	safe		safe	46.1	14.1	0.0	60.1	175.0	830.9	0.0	1005.9
669	TE	TE-8'	JALGAON	219.0	1516.6	0	1735.5	15.4	54.7		70.1	0.0	0.0		0.0	116.3	520.5		636.8	60.1	37.9		40.7	safe	safe		safe	15.4	54.7	0.0	70.1	87.3	941.4	0.0	1028.7
670	TE	TE-9	JALGAON	876.1	3257.2	0	4133.3	38.5	19.0		57.5	0.0	0.0		0.0	334.2	1231.2		1565.4	42.5	38.4		39.3	safe	safe		safe	38.6	19.0	0.0	57.5	503.3	2007.0	0.0	2510.3
671	TE	TE-9'	JALGAON	0.0	452.3	0	452.3		8.7		8.7		0.0		0.0		117.3		117.3		27.9		27.9		safe		safe	0.0	8.7	0.0	8.7	0.0	326.3	0.0	326.3
672	GP	GP-11	JALNA	87.7	1612.5	0	1700.2	6.4	48.9		55.3	0.0	0.0		0.0	59.1	600.7		659.8	74.7	40.3		42.1	semi_critical	safe		safe	6.4	48.9	0.0	55.3	22.2	963.0	0.0	985.1
673	GP	GP-12 B	JALNA	226.0	2892.2	0	3118.2	11.0	38.8		49.8	0.0	0.0		0.0	123.4	1284.7		1408.1	59.5	45.8		46.8	safe	safe		safe	11.0	38.8	0.0	49.8	91.5	1568.8	0.0	1660.3
674	GP	GP-13	JALNA	374.0	3343.1	0	3717.2	30.1	31.7		61.9	0.0	0.0		0.0	113.4	591.1		704.4	38.4	18.6		20.6	safe	safe		safe	30.1	31.7	0.0	61.9	230.5	2720.3	0.0	2950.9

S.No	BASIN	WATER SHED	District	Annual Extractable Ground water Resource (ham)				Ground Water Extraction for all uses (ha.m)												Stage of Ground Water Extraction (%)				Categorization of Assessment Unit				Allocation of Ground Water Resource for Domestic Utilisation for projected year 2025 (ham)				Net Annual Ground Water Availability for Future Use (ham)			
								Domestic				Industrial				Irrigation																			
				C	NC	PQ	Total	C	NC	PQ	Total	C	NC	PQ	Total	C	NC	PQ	Total	C	NC	PQ	Total	C	NC	PQ	Total	C	NC	PQ	Total	C	NC	PQ	Total
675	GP	GP-14 B	JALNA	0.0	1035.3	0	1035.3		52.2		52.2		0.0		0.0		74.1		74.1		12.2		12.2		safe		safe	0.0	52.2	0.0	52.2	0.0	908.9	0.0	908.9
676	GP	GP-15	JALNA	0.0	136.6	0	136.6		2.9		2.9		0.0		0.0		1.5		1.5		3.2		3.2		safe		safe	0.0	2.9	0.0	2.9	0.0	132.2	0.0	132.2
677	GP	GP-16	JALNA	3.3	231.1	0	234.4		53.3		53.3		0.0		0.0		57.6		57.6		48.0		47.3		safe		safe	0.0	53.3	0.0	53.3	3.3	120.2	0.0	123.5
678	GP	GP-17	JALNA	0.0	870.7	0	870.7		137.0		137.0		0.0		0.0		139.9		139.9		31.8		31.8		safe		safe	0.0	137.0	0.0	137.0	0.0	593.8	0.0	593.8
679	GP	GP-17 B	JALNA	0.0	844.7	0	844.7		46.5		46.5		0.0		0.0		14.6		14.6		7.2		7.2		safe		safe	0.0	46.5	0.0	46.5	0.0	783.7	0.0	783.7
680	GP	GP-18 A	JALNA	0.0	1139.4	0	1139.4		151.2		151.2		0.0		0.0		275.7		275.7		37.5		37.5		safe		safe	0.0	151.2	0.0	151.2	0.0	712.5	0.0	712.5
681	GP	GP-19	JALNA	0.0	974.5	0	974.5		54.5		54.5		0.0		0.0		157.5		157.5		21.8		21.8		safe		safe	0.0	54.5	0.0	54.5	0.0	762.5	0.0	762.5
682	GP	GP-20	JALNA	0.0	501.5	0	501.5		6.1		6.1		0.0		0.0		8.3		8.3		2.9		2.9		safe		safe	0.0	6.1	0.0	6.1	0.0	487.1	0.0	487.1
683	GP	GP-21	JALNA	0.0	564.4	0	564.4		18.5		18.5		0.4		0.4		275.4		275.4		52.2		52.2		safe		safe	0.0	43.2	0.0	43.2	0.0	245.3	0.0	245.3
684	GP	GP-22	JALNA	141.1	2330.7	0	2471.8	24.7	76.9		101.6	0.0	0.0		0.0	64.4	1919.0		1983.4	63.1	85.6		84.3	safe	semi_critical		semi_critical	24.7	76.9	0.0	101.6	52.0	334.9	0.0	386.8
685	GP	GP-23	JALNA	348.7	1299.3	0	1648.0	65.4	222.4		287.9	0.0	0.0		0.0	57.4	330.5		387.9	35.2	42.6		41.0	safe	safe		safe	65.5	222.4	0.0	287.9	225.9	746.4	0.0	972.3
686	GP	GP-24	JALNA	778.5	3856.3	0	4634.8	28.7	104.3		133.0	0.2	2.1		2.2	114.4	734.9		849.3	18.4	21.8		21.2	safe	safe		safe	28.8	104.3	0.0	133.1	635.3	3015.0	0.0	3650.3
687	GP	GP-25	JALNA	0.0	1270.5	0	1270.5		30.5		30.5		0.0		0.0		66.4		66.4		7.6		7.6		safe		safe	0.0	30.5	0.0	30.5	0.0	1173.6	0.0	1173.6
688	GP	GP-26	JALNA	17.5	2362.7	0	2380.3	16.3	94.4		110.8	0.0	0.1		0.1	3.2	531.1		534.3	111.2	26.5		27.1	over_exploited	safe		safe	16.3	94.4	0.0	110.8	0.0	1737.1	0.0	1737.1
689	GP	GP-27	JALNA	0.0	1193.2	0	1193.2		130.5		130.5		0.2		0.2		162.5		162.5		24.6		24.6		safe		safe	0.0	130.5	0.0	130.5	0.0	900.1	0.0	900.1
690	GP	GP-28	JALNA	204.4	2572.4	0	2776.8	11.7	108.0		119.7	0.0	0.0		0.0	124.1	2172.5		2296.6	66.4	88.7		87.0	safe	semi_critical		semi_critical	11.7	108.0	0.0	119.7	68.6	291.9	0.0	360.5
691	GP	GP-29	JALNA	207.0	1117.1	0	1324.1	10.8	172.0		182.8	0.1	3.2		3.3	31.7	68.4		100.1	20.6	21.8		21.6	safe	safe		safe	10.8	172.0	0.0	182.8	164.4	873.5	0.0	1037.9
692	GP	GP-30	JALNA	2710.8	2959.5	0	5670.4	46.9	44.8		91.7	1.9	0.0		1.9	259.9	674.7		934.7	11.4	24.3		18.1	safe	safe		safe	46.9	44.8	0.0	91.7	2402.1	2240.0	0.0	4642.1
693	GP	GP-31	JALNA	413.2	2249.9	0	2663.1	19.5	20.5		40.0	0.0	0.0		0.0	146.8	899.9		1046.7	40.3	40.9		40.8	safe	safe		safe	19.5	20.5	0.0	40.0	246.9	1329.5	0.0	1576.4
694	GP	GP-32 A	JALNA	573.7	1626.9	0	2200.6	66.7	12.7		79.5	0.2	0.0		0.2	389.5	1234.9		1624.4	79.6	76.7		77.4	semi_critical	semi_critical		semi_critical	66.7	12.7	0.0	79.5	117.2	379.3	0.0	496.5
695	GP	GP-32 A'	JALNA	146.3	757.2	0	903.5	10.6	13.7		24.4	0.0	0.0		0.0	28.9	415.9		444.8	27.0	56.7		51.9	safe	safe		safe	10.6	13.8	0.0	24.4	106.7	327.6	0.0	434.4
696	GP	GP-33	JALNA	369.5	873.8	0	1243.3	0.0	32.8		32.8	0.0	0.0		0.0	55.9	570.3		626.2	15.1	69.0		53.0	safe	safe		safe	0.0	32.8	0.0	32.8	313.6	270.7	0.0	584.3
697	GP	GP-34	JALNA	584.8	1218.1	0	1802.8	10.7	56.4		67.1	0.0	0.0		0.0	157.6	1024.1		1181.7	28.8	88.7		69.3	safe	semi_critical		safe	10.7	56.4	0.0	67.1	416.4	137.6	0.0	554.0
698	GP	GP-35 A	JALNA	0.0	1371.7	0	1371.7		80.9		80.9		0.0		0.0		1100.2		1100.2		86.1		86.1		semi_critical		semi_critical	0.0	80.9	0.0	80.9	0.0	190.7	0.0	190.7
699	GP	GP-35 B	JALNA	245.3	2070.8	0	2316.0	48.1	109.0		157.1	0.0	0.2		0.2	59.9	685.6		745.5	44.0	38.4		39.0	safe	safe		safe	48.1	109.0	0.0	157.1	137.3	1276.0	0.0	1413.3

S.No	BASIN	WATER SHED	District	Annual Extractable Ground water Resource (ham)				Ground Water Extraction for all uses (ha.m)												Stage of Ground Water Extraction (%)				Categorization of Assessment Unit				Allocation of Ground Water Resource for Domestic Utilisation for projected year 2025 (ham)				Net Annual Ground Water Availability for Future Use (ham)			
								Domestic				Industrial				Irrigation																			
				C	NC	PQ	Total	C	NC	PQ	Total	C	NC	PQ	Total	C	NC	PQ	Total	C	NC	PQ	Total	C	NC	PQ	Total	C	NC	PQ	Total	C	NC	PQ	Total
700	GP	GP-36 A	JALNA	16.6	1722.3	0	1738.9	4.4	42.1		46.5	0.0	0.0		0.0	3.8	1553.6		1557.5	49.9	92.7		92.2	safe	critical		critical	4.5	42.1	0.0	46.5	8.3	126.5	0.0	134.9
701	GP	GP-36 B	JALNA	96.6	2157.4	0	2253.9	25.7	103.6		129.3	0.0	0.2		0.2	54.1	820.5		874.6	82.7	42.8		44.6	semi_critical	safe		safe	25.7	103.6	0.0	129.3	16.8	1233.1	0.0	1249.8
702	GP	GP-37 A	JALNA	530.1	2159.8	0	2689.9	56.8	52.4		109.2	0.0	0.0		0.0	227.5	1519.4		1746.8	53.6	72.8		69.0	safe	semi_critical		safe	56.8	52.4	0.0	109.2	245.8	588.0	0.0	833.9
703	GP	GP-37 B	JALNA	0.0	151.3	0	151.3		4.9		4.9		0.0		0.0		53.8		53.8		38.8		38.8		safe		safe	0.0	4.9	0.0	4.9	0.0	92.6	0.0	92.6
704	GP	GP-38	JALNA	556.6	1979.6	0	2536.3	23.4	83.9		107.3	0.2	0.0		0.2	398.5	829.6		1228.1	75.8	46.1		52.7	semi_critical	safe		safe	23.4	83.9	0.0	107.3	134.5	1066.1	0.0	1200.6
705	GP	GP-39 A	JALNA	226.3	1665.3	0	1891.6	11.0	66.3		77.3	0.0	0.0		0.0	166.7	1431.4		1598.1	78.5	89.9		88.6	semi_critical	semi_critical		semi_critical	11.0	66.3	0.0	77.3	48.6	167.6	0.0	216.2
706	GP	GP-39 B	JALNA	20.8	1584.8	0	1605.6	3.3	60.6		63.9	0.0	0.1		0.1	7.4	1029.9		1037.4	51.5	68.8		68.6	safe	safe		safe	3.3	60.6	0.0	63.9	10.1	494.1	0.0	504.2
707	GP	GP-40	JALNA	221.6	2029.2	0	2250.8	36.7	26.6		63.3	0.0	0.0		0.0	85.6	616.8		702.3	55.2	31.7		34.0	safe	safe		safe	36.7	26.6	0.0	63.3	99.3	1385.8	0.0	1485.1
708	GP	GP-41	JALNA	0.0	160.8	0	160.8		6.6		6.6		0.0		0.0		132.2		132.2		86.3		86.3		semi_critical		semi_critical	0.0	6.6	0.0	6.6	0.0	22.0	0.0	22.0
709	GP	GP-42	JALNA	0.0	240.7	0	240.7		7.9		7.9		0.0		0.0		143.7		143.7		63.0		63.0		safe		safe	0.0	7.9	0.0	7.9	0.0	89.2	0.0	89.2
710	GP	GP-43	JALNA	0.0	1677.9	0	1677.9		50.5		50.5		0.0		0.0		201.1		201.1		15.0		15.0		safe		safe	0.0	50.5	0.0	50.5	0.0	1426.3	0.0	1426.3
711	GP	GP-46 A	JALNA	238.3	3104.9	0	3343.2	14.4	71.6		86.0	0.0	0.3		0.3	133.3	1449.6		1583.0	62.0	49.0		49.9	safe	safe		safe	14.4	71.6	0.0	86.0	90.5	1583.4	0.0	1673.9
712	GP	GP-49 A	JALNA	0.0	1899.1	0	1899.1		93.8		93.8		0.2		0.2		665.5		665.5		40.0		40.0		safe		safe	0.0	93.8	0.0	93.8	0.0	1139.7	0.0	1139.7
713	GP	GP-5	JALNA	0.0	424.3	0	424.3		34.0		34.0		0.0		0.0		64.3		64.3		23.2		23.2		safe		safe	0.0	34.0	0.0	34.0	0.0	326.0	0.0	326.0
714	GP	GP-6 B	JALNA	71.1	455.3	0	526.4	14.0	12.9		26.9	0.0	0.0		0.0	27.6	368.1		395.8	58.6	83.7		80.3	safe	semi_critical		semi_critical	14.0	12.9	0.0	26.9	29.5	74.3	0.0	103.7
715	GV	GV-54	JALNA	253.6	1738.0	0	1991.6	20.2	188.2		208.4	0.0	0.0		0.0	70.7	827.1		897.8	35.9	58.4		55.5	safe	safe		safe	20.2	188.2	0.0	208.4	162.7	722.7	0.0	885.4
716	GV	GV-55	JALNA	740.6	3399.2	0	4139.7	61.7	55.4		117.1	0.0	0.0		0.0	137.4	2167.9		2305.3	26.9	65.4		58.5	safe	safe		safe	61.7	55.4	0.0	117.1	541.5	1175.8	0.0	1717.3
717	GV	GV-60	JALNA	358.0	2106.6	0	2464.6	39.0	128.9		167.9	0.0	0.0		0.0	112.8	983.2		1096.0	42.4	52.8		51.3	safe	safe		safe	39.0	128.9	0.0	167.9	206.3	994.5	0.0	1200.8
718	GV	GV-63	JALNA	55.7	1172.6	0	1228.2	13.7	68.4		82.1	0.0	0.0		0.0	5.8	684.3		690.1	35.2	64.2		62.9	safe	safe		safe	13.7	68.4	0.0	82.1	36.1	419.9	0.0	456.0
719	GV	GV-66 A	JALNA	233.3	2514.4	0	2747.7	12.7	169.3		182.1	0.0	0.2		0.2	133.7	562.9		696.5	62.8	29.1		32.0	safe	safe		safe	12.7	169.3	0.0	182.1	86.9	1782.0	0.0	1868.9
720	GV	GV-66 B	JALNA	688.1	4070.7	0	4758.8	73.7	111.6		185.2	0.0	0.2		0.2	165.6	2592.3		2757.9	34.8	66.4		61.9	safe	safe		safe	73.7	111.6	0.0	185.2	448.8	1366.6	0.0	1815.4
721	GV	GV-71 A	JALNA	332.4	2286.0	0	2618.4	36.4	158.3		194.7	0.0	0.0		0.0	109.3	965.5		1074.7	43.8	49.2		48.5	safe	safe		safe	36.4	158.3	0.0	194.7	186.8	1162.3	0.0	1349.0
722	PA	PA-1	JALNA	128.7	1132.7	0	1261.4	15.5	30.5		45.9	0.0	0.3		0.3	50.3	536.3		586.6	51.1	50.1		50.2	safe	safe		safe	15.5	30.5	0.0	46.0	62.9	565.7	0.0	628.6
723	TE	TE-6 B	JALNA	771.1	1763.8	0	2534.9	50.2	67.6		117.8	0.0	1.2		1.2	177.5	462.2		639.7	29.5	30.1		29.9	safe	safe		safe	50.2	67.6	0.0	117.8	543.4	1232.8	0.0	1776.3
724	KR	KR-29	KOLHAPUR	800.3	1855.3	0	2655.7	53.2	94.3		147.4	0.0	0.2		0.2	301.5	457.9		759.3	44.3	29.8		34.2	safe	safe		safe	53.2	94.3	0.0	147.4	445.7	1303.0	0.0	1748.7

S.No	BASIN	WATER SHED	District	Annual Extractable Ground water Resource (ham)				Ground Water Extraction for all uses (ha.m)												Stage of Ground Water Extraction (%)				Categorization of Assessment Unit				Allocation of Ground Water Resource for Domestic Utilisation for projected year 2025 (ham)				Net Annual Ground Water Availability for Future Use (ham)			
								Domestic				Industrial				Irrigation																			
				C	NC	PQ	Total	C	NC	PQ	Total	C	NC	PQ	Total	C	NC	PQ	Total	C	NC	PQ	Total	C	NC	PQ	Total	C	NC	PQ	Total	C	NC	PQ	Total
725	KR	KR-45	KOLHAPUR	708.3	1480.7	0	2189.0	28.3	83.7		112.0	0.0	0.0		0.0	107.0	302.9		410.0	19.1	26.1		23.8	safe	safe		safe	28.3	83.7	0.0	112.0	572.9	1094.2	0.0	1667.1
726	KR	KR-46	KOLHAPUR	377.1	3126.4	0	3503.5	16.0	86.0		101.9	0.0	0.0		0.0	42.5	217.8		260.3	15.5	9.7		10.3	safe	safe		safe	16.0	86.0	0.0	101.9	318.6	2822.6	0.0	3141.2
727	KR	KR-47	KOLHAPUR	183.1	1450.6	0	1633.7	0.0	66.2		66.2	0.0	0.0		0.0	46.1	292.0		338.0	25.2	24.7		24.7	safe	safe		safe	0.0	66.2	0.0	66.2	137.0	1092.5	0.0	1229.5
728	KR	KR-49	KOLHAPUR	190.2	968.1	0	1158.3	28.8	24.4		53.1	0.2	0.2		0.4	45.6	546.8		592.5	39.2	59.0		55.8	safe	safe		safe	28.8	24.4	0.0	53.2	115.6	396.7	0.0	512.4
729	KR	KR-54	KOLHAPUR	0.0	1018.6	0	1018.6		82.5		82.5		0.0		0.0		506.3		506.3		57.8		57.8		safe		safe	0.0	82.5	0.0	82.5	0.0	429.8	0.0	429.8
730	KR	KR-55	KOLHAPUR	241.1	787.9	0	1029.1	24.7	18.3		43.0	0.0	0.0		0.0	60.1	465.5		525.7	35.2	61.4		55.3	safe	safe		safe	24.7	18.3	0.0	43.0	156.3	304.1	0.0	460.4
731	KR	KR-56	KOLHAPUR	868.4	1005.0	0	1873.4	52.8	69.5		122.2	0.0	0.0		0.0	135.2	570.9		706.1	21.6	63.7		44.2	safe	safe		safe	52.8	69.5	0.0	122.2	680.4	364.6	0.0	1045.0
732	KR	KR-57	KOLHAPUR	808.4	2681.1	0	3489.5	56.9	45.7		102.6	0.2	0.1		0.3	177.1	1521.6		1698.7	29.0	58.5		51.6	safe	safe		safe	56.9	45.7	0.0	102.6	574.2	1113.7	0.0	1687.9
733	KR	KR-58	KOLHAPUR	809.9	1475.7	0	2285.6	30.2	88.4		118.7	0.0	0.2		0.2	77.7	525.0		602.7	13.3	41.6		31.6	safe	safe		safe	30.3	88.4	0.0	118.7	702.0	862.1	0.0	1564.0
734	KR	KR-59	KOLHAPUR	165.4	1148.1	0	1313.5	37.7	36.2		73.8	0.0	0.0		0.0	42.6	617.4		660.0	48.5	56.9		55.9	safe	safe		safe	37.7	36.2	0.0	73.8	85.1	494.6	0.0	579.7
735	KR	KR-60	KOLHAPUR	1167.5	1734.2	0	2901.8	65.0	74.1		139.1	0.0	0.0		0.0	223.5	652.1		875.6	24.7	41.9		35.0	safe	safe		safe	65.0	74.1	0.0	139.1	879.1	1008.0	0.0	1887.1
736	KR	KR-61	KOLHAPUR	696.8	867.9	0	1564.7	26.5	53.6		80.1	0.0	0.0		0.0	150.8	322.0		472.8	25.4	43.3		35.3	safe	safe		safe	26.5	53.6	0.0	80.1	519.5	492.3	0.0	1011.8
737	KR	KR-62	KOLHAPUR	158.6	233.5	0	392.2	16.2	9.9		26.1	0.2	0.0		0.2	19.5	120.7		140.2	22.6	55.9		42.4	safe	safe		safe	16.2	9.9	0.0	26.1	122.8	102.9	0.0	225.7
738	KR	KR-63	KOLHAPUR	170.6	1602.4	0	1773.0	20.3	67.3		87.7	0.2	0.0		0.2	27.0	715.2		742.2	27.8	48.8		46.8	safe	safe		safe	20.3	67.3	0.0	87.7	123.1	819.8	0.0	943.0
739	KR	KR-64 A	KOLHAPUR	306.8	2544.6	0	2851.5	29.0	61.1		90.1	0.0	0.0		0.0	157.0	2036.3		2193.3	60.6	82.4		80.1	safe	semi_critical		semi_critical	29.0	61.1	0.0	90.1	120.8	447.2	0.0	568.1
740	KR	KR-64 B	KOLHAPUR	349.2	1567.9	0	1917.1	16.6	103.6		120.3	0.0	0.0		0.0	85.4	512.9		598.3	29.2	39.3		37.5	safe	safe		safe	16.6	103.6	0.0	120.3	247.1	951.4	0.0	1198.5
741	KR	KR-64 C	KOLHAPUR	79.1	946.6	0	1025.7	12.4	44.8		57.2	0.0	0.0		0.0	24.5	81.6		106.1	46.7	13.4		15.9	safe	safe		safe	12.5	44.8	0.0	57.2	42.2	820.2	0.0	862.3
742	KR	KR-65	KOLHAPUR	1439.1	4449.6	0	5888.7	41.0	70.0		111.0	0.0	0.2		0.2	175.5	197.4		372.9	15.0	6.0		8.2	safe	safe		safe	41.0	70.0	0.0	111.0	1222.5	4182.0	0.0	5404.6
743	KR	KR-66	KOLHAPUR	669.2	1825.5	0	2494.6	32.2	78.8		111.0	0.0	0.5		0.5	274.9	371.6		646.5	45.9	24.7		30.4	safe	safe		safe	32.2	78.8	0.0	111.0	362.1	1374.6	0.0	1736.7
744	KR	KR-67	KOLHAPUR	154.3	2052.5	0	2206.8	7.5	52.9		60.4	0.0	0.0		0.0	19.5	230.4		249.8	17.5	13.8		14.1	safe	safe		safe	7.5	52.9	0.0	60.4	127.3	1769.3	0.0	1896.6
745	KR	KR-68	KOLHAPUR	48.9	1709.7	0	1758.6	5.4	64.7		70.1	0.0	0.2		0.2	29.5	394.9		424.4	71.3	26.9		28.1	semi_critical	safe		safe	5.4	64.7	0.0	70.1	14.1	1249.9	0.0	1264.0
746	KR	KR-69	KOLHAPUR	61.3	2837.9	0	2899.2	0.1	326.8		326.9	0.0	0.0		0.0	12.9	199.0		211.8	21.3	18.5		18.6	safe	safe		safe	0.1	326.8	0.0	326.9	48.3	2312.1	0.0	2360.4
747	KR	KR-70	KOLHAPUR	0.0	1688.4	0	1688.4		65.1		65.1		0.0		0.0		1294.0		1294.0		80.5		80.5		semi_critical		semi_critical	0.0	65.1	0.0	65.1	0.0	329.2	0.0	329.2
748	KR	KR-71	KOLHAPUR	86.4	2633.9	0	2720.2	2.2	42.3		44.6	0.2	0.2		0.4	49.1	2109.3		2158.4	59.7	81.7		81.0	safe	semi_critical		semi_critical	2.3	42.3	0.0	44.6	34.8	482.1	0.0	516.9
749	KR	KR-72	KOLHAPUR	230.0	3717.6	0	3947.6	22.2	100.3		122.5	0.0	0.0		0.0	140.7	2154.3		2295.0	70.8	60.6		61.2	semi_critical	safe		safe	22.2	100.3	0.0	122.5	67.1	1463.0	0.0	1530.1

S.No	BASIN	WATER SHED	District	Annual Extractable Ground water Resource (ham)				Ground Water Extraction for all uses (ha.m)												Stage of Ground Water Extraction (%)				Categorization of Assessment Unit				Allocation of Ground Water Resource for Domestic Utilisation for projected year 2025 (ham)				Net Annual Ground Water Availability for Future Use (ham)			
								Domestic				Industrial				Irrigation																			
				C	NC	PQ	Total	C	NC	PQ	Total	C	NC	PQ	Total	C	NC	PQ	Total	C	NC	PQ	Total	C	NC	PQ	Total	C	NC	PQ	Total	C	NC	PQ	Total
750	KR	KR-73	KOLHAPUR	0.0	1021.4	0	1021.4		39.6		39.6		0.0		0.0		670.4		670.4		69.5		69.5		safe		safe	0.0	39.6	0.0	39.6	0.0	311.4	0.0	311.4
751	KR	KR-74	KOLHAPUR	478.0	3097.8	0	3575.8	32.5	71.4		104.0	0.8	0.0		0.8	44.5	2129.2		2173.8	16.3	71.0		63.7	safe	semi_critical		safe	32.5	71.4	0.0	104.0	400.2	897.1	0.0	1297.3
752	KR	KR-75	KOLHAPUR	1739.6	2141.7	0	3881.3	79.0	79.2		158.2	0.0	0.0		0.0	618.0	632.4		1250.4	40.1	33.2		36.3	safe	safe		safe	79.0	79.2	0.0	158.2	1042.7	1430.1	0.0	2472.7
753	KR	KR-76	KOLHAPUR	208.4	2011.0	0	2219.4	10.2	46.8		57.0	0.0	0.0		0.0	41.1	656.4		697.5	24.6	35.0		34.0	safe	safe		safe	10.2	46.8	0.0	57.0	157.1	1307.8	0.0	1464.9
754	KR	KR-77	KOLHAPUR	1177.6	2479.0	0	3656.6	68.1	130.0		198.1	0.0	0.0		0.0	444.1	1009.5		1453.5	43.5	46.0		45.2	safe	safe		safe	68.1	130.0	0.0	198.1	665.4	1339.5	0.0	2004.9
755	KR	KR-78	KOLHAPUR	676.1	993.4	0	1669.4	38.6	106.9		145.5	0.0	0.0		0.0	297.0	617.1		914.0	49.6	72.9		63.5	safe	semi_critical		safe	38.6	106.9	0.0	145.6	340.5	269.3	0.0	609.8
756	KR	KR-79	KOLHAPUR	506.3	1845.4	0	2351.7	28.5	119.5		148.0	0.0	0.0		0.0	442.8	778.3		1221.2	93.1	48.7		58.2	critical	safe		safe	28.5	119.5	0.0	148.0	35.0	947.6	0.0	982.5
757	KR	KR-80	KOLHAPUR	302.1	549.9	0	852.0	24.8	48.2		73.1	0.0	0.0		0.0	181.8	400.3		582.1	68.4	81.6		76.9	safe	semi_critical		semi_critical	24.8	48.2	0.0	73.1	95.4	101.4	0.0	196.8
758	KR	KR-81	KOLHAPUR	0.0	497.6	0	497.6		43.1		43.1		0.2		0.2		77.8		77.8		24.3		24.3		safe		safe	0.0	43.1	0.0	43.1	0.0	376.5	0.0	376.5
759	KR	KR-82	KOLHAPUR	167.9	2155.1	0	2323.0	10.4	74.2		84.6	0.0	0.4		0.4	15.2	150.3		165.5	15.2	10.4		10.8	safe	safe		safe	10.4	74.2	0.0	84.6	142.3	1930.3	0.0	2072.6
760	KR	KR-83	KOLHAPUR	416.7	1316.0	0	1732.7	14.2	122.5		136.7	0.0	0.1		0.1	62.8	239.1		302.0	18.5	27.5		25.3	safe	safe		safe	14.2	122.5	0.0	136.7	339.7	954.3	0.0	1293.9
761	KR	KR-84	KOLHAPUR	259.5	984.9	0	1244.4	20.2	80.1		100.3	0.0	0.0		0.0	190.7	532.8		723.5	81.3	62.2		66.2	semi_critical	safe		safe	20.2	80.1	0.0	100.3	48.6	372.0	0.0	420.6
762	KR	KR-85	KOLHAPUR	30.4	1090.0	0	1120.3	0.0	91.2		91.2	0.0	0.0		0.0	5.4	258.7		264.1	17.9	32.1		31.7	safe	safe		safe	0.0	91.2	0.0	91.2	24.9	740.1	0.0	765.0
763	WF	WF-80	KOLHAPUR	0.0	1163.5	0	1163.5		70.6		70.6		0.0		0.0		179.1		179.1		21.5		21.5		safe		safe	0.0	70.7	0.0	70.7	0.0	913.7	0.0	913.7
764	GV	GV-96 B	LATUR	663.7	1207.0	0	1870.7	53.1	46.6		99.7	0.0	0.0		0.0	197.0	195.3		392.3	37.7	20.0		26.3	safe	safe		safe	53.1	46.6	0.0	99.8	413.6	965.0	0.0	1378.7
765	GV	GV-97 C	LATUR	0.0	5431.3	0	5431.3		94.7		94.7		0.0		0.0		3101.9		3101.9		58.9		58.9		safe		safe	0.0	94.7	0.0	94.7	0.0	2234.8	0.0	2234.8
766	MR	MR-14	LATUR	574.9	205.2	0	780.0	3.6	9.2		12.8	0.0	0.0		0.0	330.2	99.5		429.7	58.1	53.0		56.7	safe	safe		safe	3.6	9.2	0.0	12.8	241.1	96.5	0.0	337.6
767	MR	MR-15	LATUR	2954.1	1933.7	0	4887.8	30.2	97.1		127.3	0.0	0.0		0.0	1516.2	1396.5		2912.7	52.3	77.2		62.2	safe	semi_critical		safe	30.2	97.1	0.0	127.3	1407.8	440.1	0.0	1847.9
768	MR	MR-16 B	LATUR	0.0	422.6	0	422.6		4.3		4.3		0.0		0.0		148.2		148.2		36.1		36.1		safe		safe	0.0	4.3	0.0	4.3	0.0	270.1	0.0	270.1
769	MR	MR-19	LATUR	886.8	3258.4	0	4145.2	5.1	45.6		50.7	0.0	0.0		0.0	275.2	1476.8		1751.9	31.6	46.7		43.5	safe	safe		safe	5.1	45.6	0.0	50.7	606.5	1736.1	0.0	2342.6
770	MR	MR-20	LATUR	1339.2	2118.8	0	3458.0	10.4	43.4		53.7	0.0	0.0		0.0	206.0	609.7		815.7	16.2	30.8		25.1	safe	safe		safe	10.4	43.4	0.0	53.7	1122.8	1465.7	0.0	2588.5
771	MR	MR-21 B	LATUR	1426.9	1631.9	0	3058.8	7.4	36.5		43.8	0.0	0.0		0.0	506.9	548.4		1055.3	36.0	35.8		35.9	safe	safe		safe	7.4	36.5	0.0	43.8	912.6	1047.1	0.0	1959.7
772	MR	MR-24	LATUR	790.3	5541.8	0	6332.1	24.8	141.3		166.1	0.0	1.5		1.5	215.0	2056.8		2271.8	30.3	39.7		38.5	safe	safe		safe	24.8	141.3	0.0	166.1	550.6	3342.2	0.0	3892.7
773	MR	MR-25	LATUR	1229.5	5327.2	0	6556.7	92.6	265.2		357.7	0.0	0.0		0.0	598.1	2046.3		2644.3	56.2	43.4		45.8	safe	safe		safe	92.6	265.2	0.0	357.7	538.9	3015.7	0.0	3554.6
774	MR	MR-26	LATUR	631.7	3667.3	0	4299.0	30.3	114.3		144.6	0.0	0.0		0.0	150.2	1734.2		1884.5	28.6	50.4		47.2	safe	safe		safe	30.3	114.3	0.0	144.6	451.2	1818.8	0.0	2269.9

S.No	BASIN	WATER SHED	District	Annual Extractable Ground water Resource (ham)				Ground Water Extraction for all uses (ha.m)												Stage of Ground Water Extraction (%)				Categorization of Assessment Unit				Allocation of Ground Water Resource for Domestic Utilisation for projected year 2025 (ham)				Net Annual Ground Water Availability for Future Use (ham)			
								Domestic				Industrial				Irrigation																			
				C	NC	PQ	Total	C	NC	PQ	Total	C	NC	PQ	Total	C	NC	PQ	Total	C	NC	PQ	Total	C	NC	PQ	Total	C	NC	PQ	Total	C	NC	PQ	Total
775	MR	MR-27	LATUR	1399.0	3576.3	0	4975.3	18.2	53.5		71.6	0.0	0.0		0.0	217.0	816.1		1033.1	16.8	24.3		22.2	safe	safe		safe	18.2	53.5	0.0	71.6	1163.9	2706.8	0.0	3870.6
776	MR	MR-28	LATUR	0.0	2054.3	0	2054.3		198.4		198.4		0.0		0.0		579.6		579.6		37.9		37.9		safe		safe	0.0	198.4	0.0	198.4	0.0	1276.3	0.0	1276.3
777	MR	MR-29	LATUR	0.0	1758.8	0	1758.8		25.1		25.1		0.0		0.0		499.0		499.0		29.8		29.8		safe		safe	0.0	25.1	0.0	25.1	0.0	1234.7	0.0	1234.7
778	MR	MR-31 A	LATUR	0.0	1381.6	0	1381.6		5.0		5.0		0.0		0.0		29.4		29.4		2.5		2.5		safe		safe	0.0	5.0	0.0	5.0	0.0	1347.2	0.0	1347.2
779	MR	MR-32 A	LATUR	0.0	2183.1	0	2183.1		30.4		30.4		0.0		0.0		145.9		145.9		8.1		8.1		safe		safe	0.0	30.4	0.0	30.4	0.0	2006.8	0.0	2006.8
780	MR	MR-32 B	LATUR	0.0	248.1	0	248.1		69.2		69.2		0.1		0.1		56.3		56.3		50.6		50.6		safe		safe	0.0	69.2	0.0	69.2	0.0	122.6	0.0	122.6
781	MR	MR-33	LATUR	0.0	323.4	0	323.4		53.6		53.6		0.0		0.0		36.8		36.8		28.0		28.0		safe		safe	0.0	53.6	0.0	53.6	0.0	232.9	0.0	232.9
782	MR	MR-34	LATUR	0.0	1451.6	0	1451.6		166.3		166.3		0.0		0.0		248.6		248.6		28.6		28.6		safe		safe	0.0	166.3	0.0	166.3	0.0	1036.7	0.0	1036.7
783	MR	MR-35	LATUR	182.0	1627.5	0	1809.5	1.1	37.0		38.2	0.0	0.0		0.0	72.1	391.5		463.6	40.2	26.3		27.7	safe	safe		safe	1.1	37.0	0.0	38.2	108.8	1199.0	0.0	1307.8
784	MR	MR-36 B	LATUR	0.0	610.2	0	610.2		21.3		21.3		0.0		0.0		146.7		146.7		27.5		27.5		safe		safe	0.0	21.3	0.0	21.3	0.0	442.2	0.0	442.2
785	MR	MR-37	LATUR	0.0	2414.3	0	2414.3		13.0		13.0		0.0		0.0		179.4		179.4		8.0		8.0		safe		safe	0.0	13.1	0.0	13.1	0.0	2221.8	0.0	2221.8
786	MR	MR-38	LATUR	0.0	1122.7	0	1122.7		24.1		24.1		0.0		0.0		229.9		229.9		22.6		22.6		safe		safe	0.0	24.1	0.0	24.1	0.0	868.7	0.0	868.7
787	MR	MR-39	LATUR	0.0	1210.2	0	1210.2		50.5		50.5		0.0		0.0		295.7		295.7		28.6		28.6		safe		safe	0.0	50.5	0.0	50.5	0.0	864.0	0.0	864.0
788	MR	MR-40	LATUR	0.0	1333.1	0	1333.1		26.9		26.9		0.0		0.0		330.6		330.6		26.8		26.8		safe		safe	0.0	26.9	0.0	26.9	0.0	975.6	0.0	975.6
789	MR	MR-41	LATUR	0.0	964.1	0	964.1		230.2		230.2		0.4		0.4		184.5		184.5		43.1		43.1		safe		safe	0.0	230.2	0.0	230.2	0.0	549.0	0.0	549.0
790	MR	MR-42	LATUR	0.0	2591.0	0	2591.0		64.3		64.3		0.0		0.0		516.2		516.2		22.4		22.4		safe		safe	0.0	64.3	0.0	64.3	0.0	2010.6	0.0	2010.6
791	MR	MR-43	LATUR	0.0	1995.0	0	1995.0		41.7		41.7		0.0		0.0		295.2		295.2		16.9		16.9		safe		safe	0.0	41.7	0.0	41.7	0.0	1658.2	0.0	1658.2
792	MR	MR-44	LATUR	0.0	658.4	0	658.4		31.5		31.5		0.0		0.0		338.7		338.7		56.2		56.2		safe		safe	0.0	31.5	0.0	31.5	0.0	288.2	0.0	288.2
793	MR	MR-45	LATUR	98.4	1829.9	0	1928.2	6.6	107.1		113.7	0.0	2.5		2.5	57.9	1391.8		1449.7	65.6	82.0		81.2	safe	semi_critical		semi_critical	6.6	107.1	0.0	113.7	33.9	328.5	0.0	362.4
794	MR	MR-46 B	LATUR	0.0	30.4	0	30.4		6.3		6.3		0.0		0.0		9.0		9.0		50.5		50.5		safe		safe	0.0	6.3	0.0	6.3	0.0	15.0	0.0	15.0
795	MR	MR-47	LATUR	0.0	1767.7	444	2211.9		79.7	8.7	88.4		0.0	0.0	0.0		3484.3	23.7	3508.0		201.6	7.3	201.6		over_exploited	safe	over_exploited	0.0	79.7	8.7	79.7	0.0	0.0	411.9	0.0
796	MR	MR-48	LATUR	43.4	2885.6	271	3200.2	19.9	71.1	12.4	103.5	0.0	0.0	0.0	0.0	7.1	3881.4	25.0	3913.4	62.2	137.0	13.8	135.9	safe	over_exploited	safe	over_exploited	19.9	71.1	12.4	91.0	16.4	0.0	233.8	16.4
797	MR	MR-51 A	LATUR	130.2	1859.3	0	1989.5	6.1	60.5		66.5	0.0	0.0		0.0	45.9	1391.0		1436.9	39.9	78.1		75.6	safe	semi_critical		semi_critical	6.1	60.5	0.0	66.5	78.2	407.8	0.0	486.0
798	MR	MR-52 B	LATUR	5.5	573.1	0	578.6		14.6		14.6		0.0		0.0		385.6		385.6		69.8		69.2		safe		safe	0.0	14.6	0.0	14.6	5.5	173.0	0.0	178.5
799	MR	MR-53 B	LATUR	0.0	1723.3	0	1723.3		84.9		84.9		3.3		3.3		1148.3		1148.3		71.8		71.8		semi_critical		semi_critical	0.0	85.0	0.0	85.0	0.0	486.8	0.0	486.8

S.No	BASIN	WATERSHED	District	Annual Extractable Ground water Resource (ham)				Ground Water Extraction for all uses (ha.m)												Stage of Ground Water Extraction (%)				Categorization of Assessment Unit				Allocation of Ground Water Resource for Domestic Utilisation for projected year 2025 (ham)				Net Annual Ground Water Availability for Future Use (ham)			
								Domestic				Industrial				Irrigation																			
				C	NC	PQ	Total	C	NC	PQ	Total	C	NC	PQ	Total	C	NC	PQ	Total	C	NC	PQ	Total	C	NC	PQ	Total	C	NC	PQ	Total	C	NC	PQ	Total
800	MR	MR-54	LATUR	506.7	954.9	0	1461.6	13.3	13.4		26.7	0.0	0.0		0.0	209.7	692.2		901.9	44.0	73.9		63.5	safe	semi_critical		safe	13.3	13.4	0.0	26.7	283.7	249.3	0.0	533.0
801	MR	MR-55	LATUR	33.8	1926.6	116	2076.3	3.3	37.7	3.1	44.2	0.0	0.0	0.0	0.0	7.2	1677.3	17.8	1702.3	31.2	89.0	18.1	88.0	safe	semi_critical	safe	semi_critical	3.3	37.7	3.1	41.0	23.2	211.6	94.9	234.8
802	MR	MR-56 B	LATUR	0.0	357.3	33	390.1		9.5	6.9	16.3		0.0	0.0	0.0		239.8	56.0	295.8		69.8	191.4	69.8		safe	over_exploited	safe	0.0	9.5	6.9	9.5	0.0	108.0	0.0	108.0
803	WG	WG-0	NAGPUR	0.0	833.3	0	833.3		34.4		34.4		0.0		0.0		188.9		188.9		26.8		26.8		safe		safe	0.0	34.5	0.0	34.5	0.0	609.9	0.0	609.9
804	WG	WG-9	NAGPUR	136.6	1084.8	484	1705.2	40.5	87.8	7.0	135.3	0.2	0.0	0.0	0.2	75.2	391.2	1.6	468.0	84.9	44.2	1.8	48.7	semi_critical	safe	safe	safe	40.5	87.8	7.0	128.3	20.7	605.7	475.3	626.4
805	WGA	WGA-1	NAGPUR	365.9	581.2	502	1448.8	38.6	23.2	5.7	67.5	0.0	0.0	0.0	0.0	16.4	86.5	0.0	102.9	15.0	18.9	1.1	17.4	safe	safe	safe	safe	38.6	23.2	5.7	61.8	310.9	471.4	496.1	782.3
806	WGA	WGA-2	NAGPUR	0.4	1516.0	538	2054.7		22.3	0.0	22.3		0.0	0.0	0.0		4297.0	162.9	4459.8		284.9	30.3	284.8		over_exploited	safe	over_exploited	0.0	22.3	0.0	22.3	0.4	0.0	375.3	0.4
807	WGA	WGA-3	NAGPUR	49.3	1466.6	0	1515.9	9.2	149.5		158.7	0.0	0.0		0.0	13.3	994.6		1007.9	45.8	78.0		77.0	safe	semi_critical		semi_critical	9.2	149.5	0.0	158.7	26.7	322.5	0.0	349.2
808	WGA	WGA-4	NAGPUR	0.0	1258.7	68	1326.9		8.3	27.5	35.9		0.0	0.0	0.0		1130.6	208.1	1338.7		90.5	345.5	90.5		critical	over_exploited	critical	0.0	8.3	27.5	8.3	0.0	119.8	0.0	119.8
809	WGB	WGB-1	NAGPUR	0.0	0.0	1534	1533.9			6.8	6.8			0.0	0.0			21.1	21.1			1.8	0.0			salinity	salinity	0.0	0.0	6.8	0.0	0.0	0.0	1506.0	0.0
810	WGB	WGB-2	NAGPUR	0.0	11.3	0	11.3		3.1		3.1		0.0		0.0		4.6		4.6		67.5		67.5		safe		safe	0.0	3.1	0.0	3.1	0.0	3.7	0.0	3.7
811	WGB	WGB-3	NAGPUR	0.0	5.9	0	5.9		0.6		0.6		0.0		0.0		2.6		2.6		54.2		54.2		safe		safe	0.0	0.6	0.0	0.6	0.0	2.7	0.0	2.7
812	WGK	WGK-1	NAGPUR	35.9	1721.2	151	1907.7	9.6	47.0	3.2	59.9	0.0	0.0	0.0	0.0	13.0	951.8	14.2	979.0	63.0	58.0	11.5	58.1	safe	safe	safe	safe	9.6	47.1	3.2	56.7	13.3	722.3	133.2	735.6
813	WGK	WGK-2	NAGPUR	0.0	10.4	0	10.4		0.9		0.9		0.0		0.0		5.4		5.4		60.8		60.8		safe		safe	0.0	0.9	0.0	0.9	0.0	4.1	0.0	4.1
814	WGK	WGK-3	NAGPUR	0.0	1222.4	54	1275.9		27.3	3.0	30.2		0.0	0.0	0.0		796.4	7.1	803.5		67.4	18.7	67.4		safe	safe	safe	0.0	27.3	3.0	27.3	0.0	398.7	43.5	398.7
815	WGK	WGK-4	NAGPUR	2082.8	3242.3	201	5525.9	38.9	68.1	6.4	113.4	0.0	0.0	0.0	0.0	1036.3	2480.8	25.7	3542.8	51.6	78.6	16.0	68.1	safe	semi_critical	safe	safe	38.9	68.1	6.4	107.0	1007.6	693.4	168.7	1701.0
816	WGK	WGK-5	NAGPUR	79.2	224.3	0	303.5	4.1	1.9		6.1	0.0	0.0		0.0	35.6	166.8		202.4	50.2	75.2		68.7	safe	semi_critical		safe	4.1	1.9	0.0	6.1	39.5	55.5	0.0	95.0
817	WGK	WGK-6	NAGPUR	1164.0	176.4	0	1340.3	17.0	8.1		25.1	0.0	0.0		0.0	532.7	203.3		736.0	47.2	119.9		56.8	safe	over_exploited		safe	17.0	8.1	0.0	25.1	614.3	0.0	0.0	614.3
818	WGK	WGK-7	NAGPUR	0.4	151.5	6	157.4		5.8	1.9	7.7		0.0	0.0	0.0		68.0	1.6	69.7		48.7	63.6	48.6		safe	safe	safe	0.0	5.8	1.9	5.8	0.4	77.7	2.0	78.0
819	WGK	WGK-8	NAGPUR	354.6	14.8	0	369.4	2.6	1.7		4.3	0.0	0.0		0.0	137.2	12.8		150.0	39.4	97.9		41.8	safe	critical		safe	2.6	1.7	0.0	4.3	214.7	0.3	0.0	215.1
820	WGKK	WGKK-1	NAGPUR	0.0	6.9	0	6.9		0.1		0.1		0.0		0.0		0.0		0.0		2.2		2.2		safe		safe	0.0	0.2	0.0	0.2	0.0	6.7	0.0	6.7
821	WGKK	WGKK-2	NAGPUR	463.2	1628.3	0	2091.5	15.9	47.5		63.4	0.0	0.0		0.0	249.3	1128.7		1377.9	57.2	72.2		68.9	safe	semi_critical		safe	15.9	47.5	0.0	63.4	198.1	452.1	0.0	650.2
822	WGKK	WGKK-3	NAGPUR	0.0	99.6	0	99.6		7.1		7.1		0.0		0.0		7.7		7.7		14.8		14.8		safe		safe	0.0	7.1	0.0	7.1	0.0	84.9	0.0	84.9
823	WGKKC	WGKKC-1	NAGPUR	910.8	1734.5	517	3161.8	39.8	81.6	6.4	127.8	0.0	0.0	0.0	0.0	221.1	1679.0	112.5	2012.7	28.7	101.5	23.0	76.4	safe	over_exploited	safe	semi_critical	39.8	81.6	6.4	121.4	649.8	0.0	397.6	649.8
824	WGKKC	WGKKC-2	NAGPUR	1846.7	1962.8	167	3976.9	47.1	68.9	7.5	123.5	0.0	0.0	0.0	0.0	1041.9	2052.6	401.2	3495.7	59.0	108.1	244.2	84.3	safe	over_exploited	over_exploited	semi_critical	47.1	68.9	7.5	116.1	757.7	0.0	0.0	757.7

S.No	BASIN	WATER SHED	District	Annual Extractable Ground water Resource (ham)				Ground Water Extraction for all uses (ha.m)												Stage of Ground Water Extraction (%)				Categorization of Assessment Unit				Allocation of Ground Water Resource for Domestic Utilisation for projected year 2025 (ham)				Net Annual Ground Water Availability for Future Use (ham)			
								Domestic				Industrial				Irrigation																			
				C	NC	PQ	Total	C	NC	PQ	Total	C	NC	PQ	Total	C	NC	PQ	Total	C	NC	PQ	Total	C	NC	PQ	Total	C	NC	PQ	Total	C	NC	PQ	Total
825	WGKN	WGKN-1	NAGPUR	0.0	0.0	273	272.8			1.4	1.4			0.0	0.0			75.4	75.4			28.2	0.0			salinity	salinity	0.0	0.0	1.4	0.0	0.0	0.0	196.0	0.0
826	WGKN	WGKN-2	NAGPUR	521.8	1657.3	0	2179.1	42.4	54.6		97.0	0.0	0.0		0.0	203.3	2148.3		2351.6	47.1	132.9		112.4	safe	over_exploited		over_exploited	42.4	54.6	0.0	97.0	276.1	0.0	0.0	276.1
827	WGKN	WGKN-3	NAGPUR	5.9	1753.9	244	2003.5		350.2	3.4	353.6		0.0	0.0	0.0		2836.4	92.4	2928.8		181.7	39.3	181.1		over_exploited	safe	over_exploited	0.0	350.2	3.4	350.2	5.9	0.0	147.9	5.9
828	WGKN	WGKN-4	NAGPUR	0.0	509.7	377	886.5		25.8	5.5	31.3		0.0	0.0	0.0		125.8	121.0	246.9		29.8	33.6	29.8		safe	safe	safe	0.0	25.8	5.5	25.8	0.0	358.1	250.3	358.1
829	WGKN	WGKN-5	NAGPUR	144.2	1650.3	0	1794.5	9.8	58.9		68.6	0.0	0.0		0.0	81.5	1244.3		1325.7	63.3	79.0		77.7	safe	semi_critical		semi_critical	9.8	58.9	0.0	68.6	52.9	347.2	0.0	400.1
830	WGKP	WGKP-1	NAGPUR	32.2	689.5	0	721.7	4.8	16.6		21.4	0.0	0.0		0.0	4.7	609.6		614.3	29.5	90.8		88.1	safe	critical		semi_critical	4.8	16.6	0.0	21.4	22.7	63.2	0.0	86.0
831	WGKP	WGKP-2	NAGPUR	0.0	1500.0	0	1500.0		38.2		38.2		0.0		0.0		1278.8		1278.8		87.8		87.8		semi_critical		semi_critical	0.0	38.2	0.0	38.2	0.0	183.0	0.0	183.0
832	WGKP	WGKP-3	NAGPUR	30.7	564.3	0	595.0		19.0		19.0		0.0		0.0		474.2		474.2		87.4		82.9		semi_critical		semi_critical	0.0	19.0	0.0	19.0	30.7	71.1	0.0	101.8
833	WGKP	WGKP-4	NAGPUR	653.8	910.8	0	1564.6	38.8	13.2		52.0	0.0	0.0		0.0	463.4	945.4		1408.8	76.8	105.3		93.4	semi_critical	over_exploited		critical	38.8	13.2	0.0	52.0	151.6	0.0	0.0	151.6
834	WGM	WGM-1	NAGPUR	223.4	2059.3	0	2282.7	6.2	144.6		150.7	0.0	0.0		0.0	89.1	1220.3		1309.4	42.7	66.3		64.0	safe	safe		safe	6.2	144.6	0.0	150.8	128.1	694.4	0.0	822.5
835	WGM	WGM-2	NAGPUR	0.0	436.4	175	611.2		89.2	6.1	95.3		0.0	0.0	0.0		167.9	23.8	191.7		58.9	17.1	58.9		safe	safe	safe	0.0	89.2	6.1	89.2	0.0	179.3	145.0	179.3
836	WGM	WGM-3	NAGPUR	0.0	423.6	109	532.1		13.3	4.3	17.6		0.0	0.0	0.0		138.4	0.8	139.2		35.8	4.7	35.8		safe	safe	safe	0.0	13.3	4.3	13.3	0.0	271.9	103.5	271.9
837	WGS	WGS-1	NAGPUR	0.0	1117.6	0	1117.6		43.6		43.6		0.0		0.0		636.2		636.2		60.8		60.8		safe		safe	0.0	43.7	0.0	43.7	0.0	437.8	0.0	437.8
838	WGS	WGS-2	NAGPUR	285.5	1513.3	0	1798.8	14.4	53.0		67.3	0.0	0.0		0.0	68.1	897.4		965.5	28.9	62.8		57.4	safe	safe		safe	14.4	53.0	0.0	67.4	203.0	563.0	0.0	766.0
839	WGS	WGS-3	NAGPUR	0.0	383.1	0	383.1		35.5		35.5		0.0		0.0		220.4		220.4		66.8		66.8		safe		safe	0.0	35.5	0.0	35.5	0.0	127.2	0.0	127.2
840	WR	WR-29	NAGPUR	224.3	1152.6	0	1377.0	24.2	68.9		93.2	3.2	0.0		3.2	48.9	847.3		896.1	34.0	79.5		72.1	safe	semi_critical		semi_critical	24.2	68.9	0.0	93.2	148.1	236.4	0.0	384.5
841	WRJ	WRJ-1	NAGPUR	13.7	201.0	0	214.6	0.6	6.1		6.7	0.0	0.0		0.0	10.7	134.0		144.7	82.5	69.8		70.6	semi_critical	safe		semi_critical	0.6	6.1	0.0	6.7	2.4	60.8	0.0	63.2
842	WRJ	WRJ-2	NAGPUR	381.5	2070.3	0	2451.8	10.8	59.0		69.8	0.0	0.2		0.3	71.0	988.0		1059.0	21.4	50.6		46.0	safe	safe		safe	10.8	59.0	0.0	69.8	299.7	1023.0	0.0	1322.8
843	WRJ	WRJ-3	NAGPUR	0.0	27.1	0	27.1		3.8		3.8		0.0		0.0		19.2		19.2		84.9		84.9		semi_critical		semi_critical	0.0	3.8	0.0	3.8	0.0	4.1	0.0	4.1
844	WRJ	WRJ-4	NAGPUR	218.5	777.6	0	996.0	10.0	22.9		32.8	0.0	0.0		0.0	75.4	503.7		579.1	39.1	67.7		61.4	safe	safe		safe	10.0	22.9	0.0	32.9	133.1	251.0	0.0	384.1
845	WRK	WRK--	NAGPUR	256.2	1590.0	0	1846.1	15.7	37.2		52.9	0.0	0.0		0.0	157.5	1075.9		1233.3	67.6	70.0		69.7	safe	semi_critical		safe	15.7	37.2	0.0	52.9	83.0	477.0	0.0	559.9
846	WRW	WRW-4	NAGPUR	137.0	677.5	0	814.5	15.3	42.5		57.8	0.0	0.0		0.0	33.6	489.7		523.2	35.7	78.5		71.3	safe	semi_critical		semi_critical	15.3	42.5	0.0	57.8	88.2	145.4	0.0	233.5
847	WRW	WRW-5	NAGPUR	25.0	383.4	0	408.4	1.6	10.1		11.7	0.0	0.0		0.0	19.0	236.9		256.0	82.6	64.4		65.5	semi_critical	safe		safe	1.6	10.1	0.0	11.7	4.4	136.4	0.0	140.7
848	WRW	WRW-6	NAGPUR	0.0	390.8	0	390.8		15.1		15.1		0.0		0.0		176.7		176.7		49.1		49.1		safe		safe	0.0	15.1	0.0	15.1	0.0	199.0	0.0	199.0
849	WRW	WRW-7	NAGPUR	128.9	1006.1	0	1135.0	9.5	3.6		13.1	0.0	0.0		0.0	89.1	313.3		402.4	76.5	31.5		36.6	semi_critical	safe		safe	9.5	3.6	0.0	13.1	30.2	689.2	0.0	719.5

S.No	BASIN	WATER SHED	District	Annual Extractable Ground water Resource (ham)				Ground Water Extraction for all uses (ha.m)												Stage of Ground Water Extraction (%)				Categorization of Assessment Unit				Allocation of Ground Water Resource for Domestic Utilisation for projected year 2025 (ham)				Net Annual Ground Water Availability for Future Use (ham)			
								Domestic				Industrial				Irrigation																			
				C	NC	PQ	Total	C	NC	PQ	Total	C	NC	PQ	Total	C	NC	PQ	Total	C	NC	PQ	Total	C	NC	PQ	Total	C	NC	PQ	Total	C	NC	PQ	Total
850	WRW	WRW-8	NAGPUR	69.5	2458.7	0	2528.2	12.3	73.6		85.9	0.0	0.0		0.0	5.9	1271.8		1277.7	26.2	54.7		53.9	safe	safe		safe	12.3	73.6	0.0	85.9	51.3	1113.3	0.0	1164.6
851	WRWB	WRWB-1	NAGPUR	0.0	66.0	0	66.0		1.0		1.0		0.0		0.0		19.2		19.2		30.7		30.7		safe		safe	0.0	1.0	0.0	1.0	0.0	45.8	0.0	45.8
852	WRWB	WRWB-2	NAGPUR	93.1	276.5	0	369.7	7.1	8.0		15.2	0.0	0.0		0.0	48.7	179.3		228.0	59.9	67.8		65.8	safe	safe		safe	7.1	8.1	0.0	15.2	37.4	89.2	0.0	126.5
853	WRWB	WRWB-3	NAGPUR	0.0	29.7	0	29.7		0.6		0.6		0.0		0.0		7.0		7.0		25.7		25.7		safe		safe	0.0	0.6	0.0	0.6	0.0	22.0	0.0	22.0
854	WRWN	WRWN-1	NAGPUR	262.4	1308.7	532	2102.6	18.1	43.2	27.9	89.2	0.0	0.0	0.0	0.0	49.1	750.4	62.3	861.8	25.6	60.6	17.0	54.8	safe	safe	safe	safe	18.1	43.2	27.9	61.3	195.3	515.1	441.3	710.3
855	WRWN	WRWN-2	NAGPUR	678.9	2039.6	0	2718.5	25.7	42.9		68.6	0.0	0.0		0.0	344.5	1195.6		1540.1	54.5	60.7		59.2	safe	safe		safe	25.7	42.9	0.0	68.6	308.6	801.2	0.0	1109.8
856	WRWN	WRWN-3	NAGPUR	0.0	183.6	0	183.6		3.7		3.7		0.0		0.0		51.9		51.9		30.3		30.3		safe		safe	0.0	3.7	0.0	3.7	0.0	128.0	0.0	128.0
857	GV	GV-100B	NANDED	0.0	405.7	0	405.7		10.9		10.9		0.0		0.0		125.9		125.9		33.7		33.7		safe		safe	0.0	10.9	0.0	10.9	0.0	268.8	0.0	268.8
858	GV	GV-101	NANDED	0.0	258.4	0	258.4		6.7		6.7		0.0		0.0		184.9		184.9		74.1		74.1		semi_critical		semi_critical	0.0	6.7	0.0	6.7	0.0	66.9	0.0	66.9
859	GV	GV-102	NANDED	0.0	586.7	0	586.7		18.5		18.5		0.4		0.4		358.0		358.0		64.2		64.2		safe		safe	0.0	18.5	0.0	18.5	0.0	209.8	0.0	209.8
860	GV	GV-103	NANDED	465.2	1335.0	0	1800.2	15.0	9.2		24.2	0.0	0.0		0.0	173.0	1115.1		1288.1	40.4	84.2		72.9	safe	semi_critical		semi_critical	15.0	9.2	0.0	24.2	277.2	210.6	0.0	487.8
861	GV	GV-104	NANDED	297.7	2371.1	0	2668.8	22.3	15.9		38.2	0.0	0.0		0.0	253.6	1520.4		1774.0	92.7	64.8		67.9	critical	safe		safe	22.3	15.9	0.0	38.2	21.8	834.8	0.0	856.5
862	GV	GV-105	NANDED	0.4	135.8	0	136.2		6.7		6.7		0.0		0.0		146.5		146.5		112.8		112.5		over_exploited		over_exploited	0.0	6.7	0.0	6.7	0.4	0.0	0.0	0.4
863	GV	GV-106	NANDED	492.0	1181.9	0	1673.9	34.9	36.1		71.0	0.0	0.0		0.0	294.5	627.4		921.9	66.9	56.1		59.3	safe	safe		safe	34.9	36.1	0.0	71.0	162.6	518.4	0.0	681.1
864	GV	GV-107	NANDED	0.0	355.8	0	355.8		4.3		4.3		0.0		0.0		259.3		259.3		74.1		74.1		semi_critical		semi_critical	0.0	4.3	0.0	4.3	0.0	92.2	0.0	92.2
865	GV	GV-108	NANDED	350.4	1606.2	0	1956.6	28.5	45.2		73.7	0.0	0.0		0.0	131.2	576.9		708.1	45.6	38.7		40.0	safe	safe		safe	28.5	45.2	0.0	73.7	190.7	984.2	0.0	1174.8
866	GV	GV-109	NANDED	50.7	1328.0	0	1378.7	1.7	67.4		69.1	0.0	0.0		0.0	17.6	1091.5		1109.0	38.0	87.3		85.5	safe	semi_critical		semi_critical	1.7	67.4	0.0	69.1	31.4	169.1	0.0	200.6
867	GV	GV-110	NANDED	435.8	1230.7	0	1666.5	37.3	70.5		107.8	0.0	0.0		0.0	226.2	928.9		1155.2	60.5	81.2		75.8	safe	semi_critical		semi_critical	37.3	70.5	0.0	107.8	172.3	231.3	0.0	403.6
868	GV	GV-111	NANDED	0.0	901.2	0	901.2		42.2		42.2		0.0		0.0		742.3		742.3		87.1		87.1		semi_critical		semi_critical	0.0	42.2	0.0	42.2	0.0	116.6	0.0	116.6
869	GV	GV-112	NANDED	748.3	2542.2	274	3564.6	34.3	111.3	0.0	145.6	0.0	0.0	0.0	0.0	388.6	1866.4	417.6	2672.6	56.5	77.8	152.3	73.0	safe	semi_critical	over_exploited	semi_critical	34.3	111.3	0.0	145.6	325.4	564.5	0.0	889.9
870	GV	GV-113	NANDED	2.7	2083.3	240	2326.5		17.3	30.4	47.7		0.0	0.0	0.0		480.5	92.0	572.5		23.9	50.9	23.9		safe	safe	safe	0.0	17.3	30.4	17.3	2.7	1585.5	118.1	1588.2
871	GV	GV-114	NANDED	0.0	73.6	0	73.6		3.0		3.0		0.0		0.0		4.6		4.6		10.3		10.3		safe		safe	0.0	3.0	0.0	3.0	0.0	66.0	0.0	66.0
872	GV	GV-92 B	NANDED	0.0	153.0	0	153.0		3.6		3.6		0.0		0.0		34.6		34.6		24.9		24.9		safe		safe	0.0	3.6	0.0	3.6	0.0	114.8	0.0	114.8
873	GV	GV-93 B	NANDED	0.0	72.8	1395	1468.1		4.7	29.1	33.8		0.0	0.0	0.0		5.2	201.2	206.4		13.6	16.5	13.6		safe	safe	safe	0.0	4.7	29.1	4.7	0.0	62.8	1165.0	62.8
874	GV	GV-94 B	NANDED	11.5	2133.0	6	2150.7		188.3	5.8	194.0		0.0	0.0	0.0		1165.7	27.2	1192.9		63.5	539.4	63.1		safe	over_exploited	safe	0.0	188.3	5.8	188.3	11.5	779.1	0.0	790.6

S.No	BASIN	WATER SHED	District	Annual Extractable Ground water Resource (ham)				Ground Water Extraction for all uses (ha.m)												Stage of Ground Water Extraction (%)				Categorization of Assessment Unit				Allocation of Ground Water Resource for Domestic Utilisation for projected year 2025 (ham)				Net Annual Ground Water Availability for Future Use (ham)			
								Domestic				Industrial				Irrigation																			
				C	NC	PQ	Total	C	NC	PQ	Total	C	NC	PQ	Total	C	NC	PQ	Total	C	NC	PQ	Total	C	NC	PQ	Total	C	NC	PQ	Total	C	NC	PQ	Total
875	MR	MR-37 B	NANDED	0.0	206.1	0	206.1		0.7		0.7		0.0		0.0		142.2		142.2		69.3		69.3		safe		safe	0.0	0.7	0.0	0.7	0.0	63.2	0.0	63.2
876	MR	MR-46 B	NANDED	0.0	335.9	20	355.6		4.0	12.1	16.1		0.0	0.0	0.0		31.1	87.8	118.9		10.5	505.7	10.5		safe	over_exploited	safe	0.0	4.0	12.1	4.0	0.0	300.8	0.0	300.8
877	MR	MR-49	NANDED	144.3	4224.5	133	4501.5	12.0	253.5	4.1	269.6	0.0	0.0	0.0	0.0	63.1	3750.0	70.6	3883.8	52.1	94.8	56.3	93.4	safe	critical	safe	critical	12.0	253.5	4.1	265.5	69.1	221.0	58.0	290.1
878	MR	MR-50	NANDED	0.0	694.3	323	1017.8		22.0	2.6	24.5		0.3	0.0	0.3		437.5	2.3	439.8		66.2	1.5	66.2		safe	safe	safe	0.0	22.0	2.6	22.0	0.0	234.5	318.6	234.5
879	MR	MR-51 A	NANDED	96.6	1612.6	0	1709.2	9.4	366.8		376.2	0.0	0.0		0.0	50.1	1079.4		1129.5	61.5	89.7		88.1	safe	semi_critical		semi_critical	9.4	366.8	0.0	376.2	37.2	166.4	0.0	203.6
880	MR	MR-52 A	NANDED	231.0	929.9	0	1160.9	26.3	54.9		81.2	0.0	0.5		0.5	40.1	576.0		616.2	28.8	67.9		60.1	safe	safe		safe	26.3	54.9	0.0	81.2	164.6	298.5	0.0	463.1
881	MR	MR-53 A	NANDED	309.3	1118.3	0	1427.5	14.5	377.6		392.0	0.0	0.0		0.0	190.5	629.8		820.3	66.3	90.1		84.9	safe	critical		semi_critical	14.5	377.6	0.0	392.0	104.3	110.9	0.0	215.2
882	MR	MR-57	NANDED	0.0	1848.0	284	2131.7		473.2	0.7	474.0		0.0	0.0	0.0		1045.6	33.3	1078.9		82.2	12.0	82.2		semi_critical	safe	semi_critical	0.0	473.2	0.7	473.2	0.0	329.1	249.7	329.1
883	MR	MR-59	NANDED	0.0	0.0	430	429.9			11.5	11.5			0.0	0.0			13.0	13.0			5.7	0.0			salinity	salinity	0.0	0.0	11.5	0.0	0.0	0.0	405.4	0.0
884	MR	MR-60	NANDED	1352.0	1144.4	935	3431.6	4.7	46.7	24.0	75.5	0.0	0.0	0.0	0.0	455.2	629.5	213.1	1297.8	34.0	59.1	25.4	45.5	safe	safe	safe	safe	4.7	46.8	24.0	51.5	892.1	468.2	698.1	1360.3
885	MR	MR-61	NANDED	886.3	1381.5	182	2449.6	6.9	15.9	56.0	78.8	0.0	0.0	0.0	0.0	577.5	1284.7	101.5	1963.7	65.9	94.1	86.7	83.1	safe	critical	semi_critical	semi_critical	6.9	15.9	56.0	22.8	301.8	81.0	24.2	382.8
886	MR	MR-62	NANDED	164.0	612.5	8	784.6	3.9	21.9	2.5	28.3	0.0	0.0	0.0	0.0	125.1	487.9	0.0	613.0	78.7	83.2	30.9	82.3	semi_critical	semi_critical	safe	semi_critical	3.9	21.9	2.5	25.8	34.9	102.7	5.6	137.7
887	MR	MR-63	NANDED	0.0	0.0	72	71.8			0.0	0.0			0.0	0.0			7.1	7.1			9.8	0.0			salinity	salinity	0.0	0.0	0.0	0.0	0.0	0.0	64.7	0.0
888	MR	MR-64	NANDED	292.4	1179.1	469	1940.0	9.2	15.4	9.7	34.2	0.0	0.0	0.0	0.0	77.0	732.9	80.3	890.2	29.5	63.5	19.2	56.7	safe	safe	safe	safe	9.2	15.4	9.7	24.6	206.1	430.8	378.7	636.9
889	MR	MR-65	NANDED	202.6	835.5	15	1052.8	15.8	16.0	0.5	32.3	0.0	0.0	0.0	0.0	151.8	620.0	3.7	775.5	82.7	76.1	28.9	77.4	semi_critical	semi_critical	safe	semi_critical	15.8	16.0	0.6	31.8	35.0	199.4	10.5	234.5
890	MR	MR-66	NANDED	166.6	799.0	0	965.5	2.7	41.0		43.6	0.0	0.2		0.2	36.6	553.7		590.3	23.6	74.5		65.7	safe	semi_critical		safe	2.7	41.0	0.0	43.6	127.3	204.1	0.0	331.3
891	NPG	NPG-1	NANDED	0.0	5.9	0	5.9		0.0		0.0		0.0		0.0		0.0		0.0		0.0		0.0		safe		safe	0.0	0.0	0.0	0.0	0.0	5.9	0.0	5.9
892	NPG	NPG-11	NANDED	68.7	1626.7	14	1709.0	2.0	50.2	0.8	53.0	0.0	0.1	0.0	0.1	48.8	1078.5	33.2	1160.6	74.0	69.4	251.7	69.6	semi_critical	safe	over_exploited	safe	2.0	50.2	0.8	52.2	17.9	498.0	0.0	515.8
893	NPG	NPG-12	NANDED	11.6	503.2	0	514.8	0.0	31.2		31.2	0.0	0.0		0.0	5.2	396.7		401.9	44.5	85.0		84.1	safe	semi_critical		semi_critical	0.0	31.2	0.0	31.2	6.5	75.3	0.0	81.8
894	NPG	NPG-13	NANDED	843.1	1368.7	0	2211.8	36.2	32.3		68.5	0.0	0.0		0.0	525.8	915.6		1441.3	66.7	69.2		68.3	safe	safe		safe	36.2	32.3	0.0	68.5	281.1	420.9	0.0	702.0
895	NPG	NPG-14	NANDED	77.0	1023.5	0	1100.5	2.4	19.6		22.0	0.0	0.0		0.0	25.2	703.7		728.9	35.9	70.7		68.2	safe	semi_critical		safe	2.4	19.6	0.0	22.0	49.4	300.2	0.0	349.6
896	NPG	NPG-15	NANDED	0.0	2105.8	0	2105.8		128.4		128.4		0.6		0.6		1731.5		1731.5		88.4		88.4		semi_critical		semi_critical	0.0	128.4	0.0	128.4	0.0	245.2	0.0	245.2
897	NPG	NPG-16	NANDED	314.5	1869.2	0	2183.7	16.5	50.3		66.8	0.0	0.0		0.0	199.4	1672.0		1871.4	68.7	92.1		88.8	safe	critical		semi_critical	16.5	50.3	0.0	66.8	98.6	146.9	0.0	245.4
898	NPG	NPG-2	NANDED	0.0	1435.1	302	1737.0		78.3	0.0	78.3		0.0	0.0	0.0		925.2	0.0	925.2		69.9	0.0	69.9		safe	safe	safe	0.0	78.3	0.0	78.3	0.0	431.6	301.9	431.6
899	NPG	NPG-3	NANDED	0.0	919.1	0	919.1		33.2		33.2		0.0		0.0		486.8		486.8		56.6		56.6		safe		safe	0.0	33.2	0.0	33.2	0.0	399.1	0.0	399.1

S.No	BASIN	WATER SHED	District	Annual Extractable Ground water Resource (ham)				Ground Water Extraction for all uses (ha.m)												Stage of Ground Water Extraction (%)				Categorization of Assessment Unit				Allocation of Ground Water Resource for Domestic Utilisation for projected year 2025 (ham)				Net Annual Ground Water Availability for Future Use (ham)			
								Domestic				Industrial				Irrigation																			
				C	NC	PQ	Total	C	NC	PQ	Total	C	NC	PQ	Total	C	NC	PQ	Total	C	NC	PQ	Total	C	NC	PQ	Total	C	NC	PQ	Total	C	NC	PQ	Total
900	NPG	NPG-4	NANDED	446.7	1965.7	0	2412.4	32.8	77.9		110.7	0.0	0.0		0.0	128.8	1067.6		1196.4	36.2	58.3		54.2	safe	safe		safe	32.8	77.9	0.0	110.7	285.1	820.2	0.0	1105.3
901	NPG	NPG-5	NANDED	342.3	963.1	0	1305.4	21.1	53.7		74.8	0.0	0.0		0.0	128.5	628.3		756.8	43.7	70.8		63.7	safe	semi_critical		safe	21.1	53.7	0.0	74.8	192.7	281.1	0.0	473.8
902	NPG	NPG-6	NANDED	0.0	1262.5	0	1262.5		50.2		50.2		0.0		0.0		725.1		725.1		61.4		61.4		safe		safe	0.0	50.2	0.0	50.2	0.0	487.2	0.0	487.2
903	NPG	NPG-7	NANDED	0.0	3032.8	0	3032.8		50.0		50.0		0.0		0.0		1984.7		1984.7		67.1		67.1		safe		safe	0.0	50.0	0.0	50.0	0.0	998.2	0.0	998.2
904	NPG	NPG-8	NANDED	336.0	1907.7	0	2243.7	38.8	99.8		138.7	0.0	0.4		0.4	248.5	1192.2		1440.7	85.5	67.7		70.4	semi_critical	safe		semi_critical	38.8	99.8	0.0	138.7	48.7	615.3	0.0	664.0
905	NPG	NPG-9	NANDED	367.1	1547.1	0	1914.2	30.1	95.4		125.5	0.0	0.0		0.0	220.2	1264.1		1484.3	68.2	87.9		84.1	safe	semi_critical		semi_critical	30.1	95.4	0.0	125.5	116.9	187.6	0.0	304.5
906	NR	NR-110	NANDURBAR	335.2	1497.2	0	1832.4	25.1	73.4		98.5	0.0	0.0		0.0	184.0	1013.6		1197.6	62.4	72.6		70.7	safe	semi_critical		semi_critical	25.1	73.4	0.0	98.5	126.2	410.1	0.0	536.3
907	NR	NR-118	NANDURBAR	0.0	580.3	0	580.3		23.9		23.9		0.0		0.0		314.2		314.2		58.3		58.3		safe		safe	0.0	23.9	0.0	23.9	0.0	242.2	0.0	242.2
908	NR	NR-119	NANDURBAR	145.3	2188.2	0	2333.4	8.5	47.7		56.2	0.0	0.0		0.0	38.1	1281.3		1319.4	32.1	60.7		59.0	safe	safe		safe	8.5	47.7	0.0	56.2	98.6	859.2	0.0	957.8
909	NR	NR-120	NANDURBAR	14.4	564.7	0	579.1		21.9		21.9		0.0		0.0		446.9		446.9		83.0		81.0		semi_critical		semi_critical	0.0	21.9	0.0	21.9	14.4	95.9	0.0	110.3
910	NR	NR-131	NANDURBAR	0.0	1759.4	0	1759.4		43.3		43.3		0.0		0.0		718.6		718.6		43.3		43.3		safe		safe	0.0	43.3	0.0	43.3	0.0	997.5	0.0	997.5
911	NR	NR-132	NANDURBAR	933.4	1247.6	0	2181.0	22.3	43.3		65.5	0.0	0.0		0.0	177.2	734.7		911.9	21.4	62.4		44.8	safe	safe		safe	22.3	43.3	0.0	65.5	733.9	469.6	0.0	1203.6
912	NR	NR-141	NANDURBAR	13.7	900.6	0	914.3		46.8		46.8		0.0		0.0		985.8		985.8		114.7		112.9		over_exploited		over_exploited	0.0	46.8	0.0	46.8	13.7	0.0	0.0	13.7
913	NR	NR-97	NANDURBAR	0.4	2412.4	0	2412.7		87.1		87.1		0.0		0.0		1411.2		1411.2		62.1		62.1		safe		safe	0.0	87.1	0.0	87.1	0.4	914.1	0.0	914.5
914	TE	TE-111	NANDURBAR	1.4	1015.7	0	1017.1		50.2		50.2		0.0		0.0		552.4		552.4		59.3		59.2		safe		safe	0.0	50.2	0.0	50.2	1.4	413.1	0.0	414.5
915	TE	TE-112 B	NANDURBAR	0.0	2226.5	0	2226.5		125.7		125.7		0.0		0.0		1313.2		1313.2		64.6		64.6		safe		safe	0.0	125.7	0.0	125.7	0.0	787.5	0.0	787.5
916	TE	TE-113 B	NANDURBAR	0.0	2621.1	0	2621.1		99.9		99.9		0.0		0.0		1578.6		1578.6		64.0		64.0		safe		safe	0.0	99.9	0.0	99.9	0.0	942.7	0.0	942.7
917	TE	TE-121	NANDURBAR	24.2	1185.3	0	1209.5		53.3		53.3		0.0		0.0		1000.6		1000.6		88.9		87.1		semi_critical		semi_critical	0.0	53.3	0.0	53.3	24.2	131.4	0.0	155.6
918	TE	TE-122 A	NANDURBAR	2.2	374.2	0	376.5		15.5		15.5		0.0		0.0		316.1		316.1		88.6		88.1		semi_critical		semi_critical	0.0	15.5	0.0	15.5	2.2	42.7	0.0	44.9
919	TE	TE-123 B	NANDURBAR	0.0	1083.2	0	1083.2		35.7		35.7		0.0		0.0		508.4		508.4		50.2		50.2		safe		safe	0.0	35.7	0.0	35.7	0.0	539.1	0.0	539.1
920	TE	TE-133	NANDURBAR	0.0	1282.1	0	1282.1		37.2		37.2		0.0		0.0		1087.5		1087.5		87.7		87.7		semi_critical		semi_critical	0.0	37.2	0.0	37.2	0.0	157.4	0.0	157.4
921	TE	TE-134	NANDURBAR	252.1	2092.2	0	2344.4	9.0	54.5		63.5	0.0	0.0		0.0	183.0	1315.3		1498.3	76.1	65.5		66.6	semi_critical	safe		safe	9.0	54.5	0.0	63.5	60.2	722.4	0.0	782.6
922	TE	TE-134 A	NANDURBAR	170.3	3210.3	0	3380.6	9.4	54.8		64.2	0.0	0.0		0.0	100.8	2018.4		2119.1	64.7	64.6		64.6	safe	safe		safe	9.4	54.8	0.0	64.2	60.1	1137.1	0.0	1197.2
923	TE	TE-135 B	NANDURBAR	184.2	2209.2	0	2393.4	11.1	60.8		71.9	0.0	0.1		0.1	107.9	1392.4		1500.2	64.6	65.8		65.7	safe	safe		safe	11.1	60.8	0.0	71.9	65.2	755.9	0.0	821.2
924	TE	TE-137 B	NANDURBAR	7.6	1424.8	0	1432.3		71.1		71.1		0.0		0.0		1144.8		1144.8		85.3		84.9		semi_critical		semi_critical	0.0	71.1	0.0	71.1	7.6	208.9	0.0	216.5

S.No	BASIN	WATER SHED	District	Annual Extractable Ground water Resource (ham)				Ground Water Extraction for all uses (ha.m)												Stage of Ground Water Extraction (%)				Categorization of Assessment Unit				Allocation of Ground Water Resource for Domestic Utilisation for projected year 2025 (ham)				Net Annual Ground Water Availability for Future Use (ham)			
								Domestic				Industrial				Irrigation																			
				C	NC	PQ	Total	C	NC	PQ	Total	C	NC	PQ	Total	C	NC	PQ	Total	C	NC	PQ	Total	C	NC	PQ	Total	C	NC	PQ	Total	C	NC	PQ	Total
925	TE	TE-138	NANDURBAR	0.0	1737.8	0	1737.8		73.7		73.7		0.0		0.0		1458.9		1458.9		88.2		88.2		semi_critical		semi_critical	0.0	73.7	0.0	73.7	0.0	205.1	0.0	205.1
926	TE	TE-138 A	NANDURBAR	83.9	1111.4	0	1195.3	8.1	33.4		41.5	0.0	0.0		0.0	48.8	729.1		777.9	67.7	68.6		68.5	safe	safe		safe	8.1	33.4	0.0	41.5	27.1	349.0	0.0	376.0
927	TE	TE-139 B	NANDURBAR	0.0	4820.0	0	4820.0		160.1		160.1		0.0		0.0		2413.4		2413.4		53.4		53.4		safe		safe	0.0	160.1	0.0	160.1	0.0	2246.5	0.0	2246.5
928	TE	TE-141	NANDURBAR	0.0	2404.5	0	2404.5		44.4		44.4		0.0		0.0		1076.1		1076.1		46.6		46.6		safe		safe	0.0	44.4	0.0	44.4	0.0	1284.0	0.0	1284.0
929	TE	TE-142	NANDURBAR	2.3	2944.1	0	2946.4		206.4		206.4		0.0		0.0		3139.1		3139.1		113.6		113.5		over_exploited		over_exploited	0.0	206.4	0.0	206.4	2.3	0.0	0.0	2.3
930	TE	TE-73 B	NANDURBAR	214.1	1030.3	0	1244.4	6.4	18.3		24.7	0.0	0.0		0.0	160.3	289.9		450.2	77.8	29.9		38.2	semi_critical	safe		safe	6.4	18.3	0.0	24.7	47.4	722.1	0.0	769.5
931	TE	TE-84	NANDURBAR	0.0	1196.8	0	1196.8		50.7		50.7		0.0		0.0		766.6		766.6		68.3		68.3		safe		safe	0.0	50.7	0.0	50.7	0.0	379.4	0.0	379.4
932	TE	TE-85	NANDURBAR	6.3	1714.8	0	1721.0		44.8		44.8		0.0		0.0		1087.3		1087.3		66.0		65.8		safe		safe	0.0	44.8	0.0	44.8	6.3	582.7	0.0	588.9
933	TE	TE-86 A	NANDURBAR	0.0	1806.9	0	1806.9		59.2		59.2		0.2		0.2		1432.6		1432.6		82.6		82.6		semi_critical		semi_critical	0.0	59.2	0.0	59.2	0.0	314.9	0.0	314.9
934	TE	TE-98	NANDURBAR	12.8	2041.6	0	2054.4		86.0		86.0		0.0		0.0		1296.0		1296.0		67.7		67.3		safe		safe	0.0	86.0	0.0	86.0	12.8	659.6	0.0	672.4
935	GV	GV-1	NASHIK	6.0	1588.9	0	1594.9		95.4		95.4		0.0		0.0		1267.4		1267.4		85.8		85.4		semi_critical		semi_critical	0.0	95.4	0.0	95.4	6.0	226.1	0.0	232.1
936	GV	GV-10	NASHIK	0.0	379.8	0	379.8		15.9		15.9		0.0		0.0		196.4		196.4		55.9		55.9		safe		safe	0.0	15.9	0.0	15.9	0.0	167.6	0.0	167.6
937	GV	GV-11	NASHIK	17.2	1697.0	0	1714.2		90.9		90.9		0.0		0.0		1245.0		1245.0		78.7		77.9		semi_critical		semi_critical	0.0	90.9	0.0	90.9	17.2	361.1	0.0	378.3
938	GV	GV-12	NASHIK	1.2	1726.7	0	1728.0		36.7		36.7		0.0		0.0		971.7		971.7		58.4		58.4		safe		safe	0.0	36.7	0.0	36.7	1.2	718.3	0.0	719.6
939	GV	GV-13	NASHIK	645.8	847.9	0	1493.7	28.0	26.7		54.7	0.0	0.0		0.0	264.4	479.5		743.9	45.3	59.7		53.5	safe	safe		safe	28.0	26.7	0.0	54.7	353.4	341.7	0.0	695.1
940	GV	GV-14	NASHIK	761.5	1387.8	0	2149.3	56.1	55.2		111.3	0.3	0.0		0.3	485.9	1160.5		1646.4	71.2	87.6		81.8	semi_critical	semi_critical		semi_critical	56.1	55.3	0.0	111.3	219.2	172.0	0.0	391.2
941	GV	GV-15	NASHIK	85.0	2000.2	0	2085.1	8.5	32.9		41.4	0.0	0.0		0.0	49.0	1128.7		1177.6	67.6	58.1		58.5	safe	safe		safe	8.5	32.9	0.0	41.4	27.5	838.6	0.0	866.1
942	GV	GV-16	NASHIK	1205.4	5089.0	0	6294.4	68.4	121.3		189.7	1.6	0.0		1.6	1166.1	2668.3		3834.4	102.5	54.8		64.0	over_exploited	safe		safe	68.4	121.3	0.0	189.7	0.0	2299.4	0.0	2299.4
943	GV	GV-17	NASHIK	76.6	1464.2	0	1540.8	10.5	32.0		42.5	0.0	0.0		0.0	55.1	973.2		1028.3	85.6	68.7		69.5	semi_critical	safe		safe	10.5	32.0	0.0	42.5	11.0	459.0	0.0	470.0
944	GV	GV-18	NASHIK	1242.4	1872.0	0	3114.4	49.0	49.2		98.3	0.0	0.0		0.0	1058.1	1243.5		2301.6	89.1	69.1		77.1	semi_critical	safe		semi_critical	49.0	49.3	0.0	98.3	135.2	579.2	0.0	714.4
945	GV	GV-19	NASHIK	21.9	861.9	0	883.8	7.8	25.0		32.8	0.0	0.0		0.0	9.2	413.8		423.0	77.7	50.9		51.6	semi_critical	safe		safe	7.8	25.0	0.0	32.8	4.9	423.1	0.0	428.0
946	GV	GV-2	NASHIK	0.0	1961.7	0	1961.7		45.8		45.8		0.0		0.0		1247.0		1247.0		65.9		65.9		safe		safe	0.0	45.8	0.0	45.8	0.0	668.9	0.0	668.9
947	GV	GV-20	NASHIK	8.8	1114.0	0	1122.8		24.5		24.5		0.0		0.0		559.6		559.6		52.4		52.0		safe		safe	0.0	24.5	0.0	24.5	8.8	530.0	0.0	538.7
948	GV	GV-21	NASHIK	0.0	463.2	0	463.2		9.1		9.1		0.0		0.0		151.6		151.6		34.7		34.7		safe		safe	0.0	9.1	0.0	9.1	0.0	302.5	0.0	302.5
949	GV	GV-22 A	NASHIK	0.0	2540.8	0	2540.8		77.5		77.5		0.0		0.0		1448.0		1448.0		60.0		60.0		safe		safe	0.0	77.5	0.0	77.5	0.0	1015.3	0.0	1015.3

S.No	BASIN	WATER SHED	District	Annual Extractable Ground water Resource (ham)				Ground Water Extraction for all uses (ha.m)												Stage of Ground Water Extraction (%)				Categorization of Assessment Unit				Allocation of Ground Water Resource for Domestic Utilisation for projected year 2025 (ham)				Net Annual Ground Water Availability for Future Use (ham)			
								Domestic				Industrial				Irrigation																			
				C	NC	PQ	Total	C	NC	PQ	Total	C	NC	PQ	Total	C	NC	PQ	Total	C	NC	PQ	Total	C	NC	PQ	Total	C	NC	PQ	Total	C	NC	PQ	Total
950	GV	GV-23	NASHIK	78.0	3110.1	0	3188.1	7.1	69.4		76.5	0.0	0.3		0.3	54.8	1234.3		1289.1	79.3	41.9		42.8	semi_critical	safe		safe	7.1	69.4	0.0	76.5	16.1	1806.1	0.0	1822.3
951	GV	GV-24	NASHIK	0.0	1854.2	0	1854.2		52.0		52.0		0.0		0.0		1131.1		1131.1		63.8		63.8		safe		safe	0.0	52.0	0.0	52.0	0.0	671.1	0.0	671.1
952	GV	GV-25	NASHIK	609.1	1881.6	0	2490.7	24.3	110.7		134.9	0.0	0.0		0.0	195.7	995.5		1191.2	36.1	58.8		53.2	safe	safe		safe	24.3	110.7	0.0	134.9	389.1	775.5	0.0	1164.6
953	GV	GV-26 A	NASHIK	0.0	1052.2	0	1052.2		41.1		41.1		0.0		0.0		566.0		566.0		57.7		57.7		safe		safe	0.0	41.1	0.0	41.1	0.0	445.1	0.0	445.1
954	GV	GV-26 A'	NASHIK	0.0	456.4	0	456.4		16.0		16.0		0.0		0.0		280.8		280.8		65.0		65.0		safe		safe	0.0	16.0	0.0	16.0	0.0	159.6	0.0	159.6
955	GV	GV-27	NASHIK	0.0	963.2	0	963.2		47.1		47.1		0.0		0.0		480.8		480.8		54.8		54.8		safe		safe	0.0	47.1	0.0	47.1	0.0	435.3	0.0	435.3
956	GV	GV-28 A	NASHIK	488.3	1654.9	0	2143.2	41.3	96.4		137.8	0.0	3.8		3.8	284.3	982.4		1266.7	66.7	65.4		65.7	safe	safe		safe	41.3	96.4	0.0	137.8	162.7	572.2	0.0	734.9
957	GV	GV-29 A	NASHIK	0.0	1114.2	0	1114.2		24.1		24.1		0.0		0.0		149.2		149.2		15.6		15.6		safe		safe	0.0	24.1	0.0	24.1	0.0	940.9	0.0	940.9
958	GV	GV-3	NASHIK	567.6	3485.2	0	4052.9	23.9	121.5		145.4	0.0	1.7		1.7	389.7	4547.4		4937.1	72.9	134.0		125.4	semi_critical	over_exploited		over_exploited	23.9	121.5	0.0	145.4	154.0	0.0	0.0	154.0
959	GV	GV-30	NASHIK	0.0	889.5	0	889.5		37.5		37.5		0.0		0.0		624.5		624.5		74.4		74.4		semi_critical		semi_critical	0.0	37.5	0.0	37.5	0.0	227.4	0.0	227.4
960	GV	GV-31 A	NASHIK	33.5	411.7	0	445.2	11.9	12.4		24.3	0.0	0.0		0.0	10.4	171.1		181.5	66.8	44.6		46.2	safe	safe		safe	11.9	12.4	0.0	24.3	11.1	228.2	0.0	239.4
961	GV	GV-32 A	NASHIK	1613.1	223.7	0	1836.7	16.8	31.4		48.2	0.0	0.0		0.0	389.4	111.9		501.3	25.2	64.1		29.9	safe	safe		safe	16.9	31.4	0.0	48.2	1206.8	80.3	0.0	1287.2
962	GV	GV-33 A	NASHIK	974.6	859.2	0	1833.7	4.3	26.4		30.8	0.0	0.0		0.0	300.9	552.7		853.6	31.3	67.4		48.2	safe	safe		safe	4.3	26.5	0.0	30.8	669.4	280.0	0.0	949.4
963	GV	GV-34 A	NASHIK	311.1	2387.8	0	2698.8	17.4	27.8		45.2	0.0	2.7		2.7	185.3	1058.4		1243.7	65.2	45.6		47.9	safe	safe		safe	17.4	27.8	0.0	45.2	108.4	1298.8	0.0	1407.2
964	GV	GV-39 B	NASHIK	1186.3	1982.4	0	3168.6	34.8	97.3		132.1	0.0	0.8		0.8	446.5	1046.2		1492.7	40.6	57.7		51.3	safe	safe		safe	34.8	97.3	0.0	132.1	705.0	838.0	0.0	1543.0
965	GV	GV-4	NASHIK	97.8	1367.7	0	1465.5	11.7	19.9		31.7	0.0	0.0		0.0	55.6	742.6		798.2	68.9	55.8		56.6	safe	safe		safe	11.7	20.0	0.0	31.7	30.5	605.2	0.0	635.6
966	GV	GV-5	NASHIK	43.7	714.8	0	758.5	3.1	6.8		10.0	0.0	0.3		0.3	27.7	405.4		433.1	70.6	57.7		58.5	semi_critical	safe		safe	3.1	6.8	0.0	10.0	12.9	302.3	0.0	315.1
967	GV	GV-6	NASHIK	0.9	441.0	0	441.9		8.8		8.8		0.0		0.0		161.7		161.7		38.7		38.6		safe		safe	0.0	8.8	0.0	8.8	0.9	270.5	0.0	271.4
968	GV	GV-7	NASHIK	363.8	1961.5	0	2325.3	12.8	36.7		49.5	0.0	0.0		0.0	156.5	1207.5		1364.1	46.5	63.4		60.8	safe	safe		safe	12.8	36.7	0.0	49.5	194.4	717.3	0.0	911.7
969	GV	GV-8	NASHIK	460.8	2265.6	0	2726.4	26.9	50.8		77.7	0.0	0.2		0.2	510.7	2216.6		2727.3	116.7	100.1		102.9	over_exploited	over_exploited		over_exploited	26.9	50.8	0.0	77.7	0.0	0.0	0.0	0.0
970	GV	GV-8'	NASHIK	2.4	751.5	0	754.0		10.0		10.0		0.0		0.0		471.4		471.4		64.1		63.9		safe		safe	0.0	10.0	0.0	10.0	2.4	270.1	0.0	272.5
971	GV	GV-9	NASHIK	150.8	1393.1	0	1543.8	8.1	33.3		41.4	0.0	36.0		36.0	74.8	1560.4		1635.2	55.0	117.0		110.9	safe	over_exploited		over_exploited	8.1	33.3	0.0	41.4	67.9	0.0	0.0	67.9
972	TE	TE-105 B	NASHIK	139.2	2021.0	0	2160.2	32.8	72.8		105.6	0.0	0.0		0.0	111.4	1118.2		1229.6	103.6	58.9		61.8	over_exploited	safe		safe	32.8	72.8	0.0	105.6	0.0	830.0	0.0	830.0
973	TE	TE-106	NASHIK	551.7	196.4	0	748.2	0.9	9.6		10.5	0.0	0.0		0.0	216.0	122.5		338.5	39.3	67.3		46.6	safe	safe		safe	0.9	9.6	0.0	10.5	334.9	64.3	0.0	399.2
974	TE	TE-107	NASHIK	324.1	3481.2	0	3805.3	18.1	52.8		70.8	0.0	0.1		0.1	164.8	2510.9		2675.7	56.4	73.6		72.2	safe	semi_critical		semi_critical	18.1	52.8	0.0	70.8	141.3	917.5	0.0	1058.7

S.No	BASIN	WATER SHED	District	Annual Extractable Ground water Resource (ham)				Ground Water Extraction for all uses (ha.m)												Stage of Ground Water Extraction (%)				Categorization of Assessment Unit				Allocation of Ground Water Resource for Domestic Utilisation for projected year 2025 (ham)				Net Annual Ground Water Availability for Future Use (ham)			
								Domestic				Industrial				Irrigation																			
				C	NC	PQ	Total	C	NC	PQ	Total	C	NC	PQ	Total	C	NC	PQ	Total	C	NC	PQ	Total	C	NC	PQ	Total	C	NC	PQ	Total	C	NC	PQ	Total
975	TE	TE-108	NASHIK	137.4	3524.5	0	3661.9	36.9	171.4		208.4	0.0	0.0		0.0	61.1	1249.7		1310.8	71.3	40.3		41.5	semi_critical	safe		safe	36.9	171.5	0.0	208.4	39.4	2103.4	0.0	2142.8
976	TE	TE-109	NASHIK	0.0	42.3	0	42.3		2.3		2.3		0.0		0.0		1.8		1.8		9.6		9.6		safe		safe	0.0	2.3	0.0	2.3	0.0	38.2	0.0	38.2
977	TE	TE-116	NASHIK	1018.0	1905.5	0	2923.5	118.4	31.5		149.8	0.0	0.0		0.0	433.6	180.6		614.2	54.2	11.1		26.1	safe	safe		safe	118.4	31.5	0.0	149.8	466.0	1693.5	0.0	2159.5
978	TE	TE-117	NASHIK	322.8	2331.6	0	2654.4	6.5	39.5		46.0	0.0	18.7		18.7	184.1	781.7		965.7	59.0	36.0		38.8	safe	safe		safe	6.5	39.5	0.0	46.0	132.3	1491.7	0.0	1624.0
979	TE	TE-125	NASHIK	0.0	573.1	0	573.1		41.1		41.1		0.0		0.0		217.8		217.8		45.2		45.2		safe		safe	0.0	41.1	0.0	41.1	0.0	314.1	0.0	314.1
980	TE	TE-126	NASHIK	42.4	485.4	0	527.8	8.5	4.9		13.4	0.0	0.0		0.0	17.3	331.0		348.3	60.7	69.2		68.5	safe	safe		safe	8.5	4.9	0.0	13.4	16.7	149.5	0.0	166.2
981	TE	TE-127	NASHIK	32.3	1707.5	0	1739.7		73.8		73.8		0.0		0.0		710.3		710.3		45.9		45.1		safe		safe	0.0	73.8	0.0	73.8	32.3	923.4	0.0	955.6
982	TE	TE-128	NASHIK	3149.9	1125.7	0	4275.6	26.4	7.2		33.6	0.0	0.0		0.0	1407.1	418.2		1825.3	45.5	37.8		43.5	safe	safe		safe	26.4	7.2	0.0	33.6	1716.4	700.3	0.0	2416.7
983	TE	TE-129	NASHIK	0.0	3262.6	0	3262.6		53.6		53.6		0.0		0.0		1236.9		1236.9		39.6		39.6		safe		safe	0.0	53.6	0.0	53.6	0.0	1972.1	0.0	1972.1
984	TE	TE-130	NASHIK	587.9	2157.7	0	2745.6	15.3	41.1		56.4	0.0	0.2		0.2	299.5	1401.3		1700.8	53.6	66.9		64.0	safe	safe		safe	15.3	41.1	0.0	56.4	273.0	715.2	0.0	988.2
985	TE	TE-58 B	NASHIK	0.0	1874.0	0	1874.0		58.3		58.3		26.0		26.0		929.2		929.2		54.1		54.1		safe		safe	0.0	58.3	0.0	58.3	0.0	860.4	0.0	860.4
986	TE	TE-59 A	NASHIK	214.7	2294.4	0	2509.1	54.7	148.4		203.1	0.0	0.0		0.0	124.4	790.1		914.5	83.4	40.9		44.5	semi_critical	safe		safe	54.7	148.4	0.0	203.1	35.6	1355.9	0.0	1391.4
987	TE	TE-60 B	NASHIK	0.0	1847.3	0	1847.3		85.7		85.7		0.0		0.0		1150.1		1150.1		66.9		66.9		safe		safe	0.0	85.7	0.0	85.7	0.0	611.5	0.0	611.5
988	TE	TE-68 B	NASHIK	0.0	602.0	0	602.0		21.6		21.6		0.0		0.0		118.3		118.3		23.2		23.2		safe		safe	0.0	21.7	0.0	21.7	0.0	462.1	0.0	462.1
989	TE	TE-69	NASHIK	0.0	374.8	0	374.8		18.9		18.9		0.0		0.0		139.0		139.0		42.1		42.1		safe		safe	0.0	18.9	0.0	18.9	0.0	216.9	0.0	216.9
990	TE	TE-70	NASHIK	25.0	511.3	0	536.3		17.4		17.4		0.0		0.0		295.3		295.3		61.2		58.3		safe		safe	0.0	17.4	0.0	17.4	25.0	198.6	0.0	223.6
991	TE	TE-71 A	NASHIK	625.1	1237.2	0	1862.4	30.4	77.2		107.6	0.0	0.0		0.0	337.5	774.9		1112.4	58.9	68.9		65.5	safe	safe		safe	30.4	77.2	0.0	107.6	257.2	385.1	0.0	642.4
992	TE	TE-72 A	NASHIK	0.0	182.9	0	182.9		22.1		22.1		0.0		0.0		102.7		102.7		68.2		68.2		safe		safe	0.0	22.1	0.0	22.1	0.0	58.1	0.0	58.1
993	TE	TE-78 B	NASHIK	105.5	2935.1	0	3040.6	8.0	65.3		73.3	0.0	3.3		3.3	31.0	821.8		852.8	36.9	30.3		30.6	safe	safe		safe	8.0	65.3	0.0	73.3	66.6	2044.6	0.0	2111.2
994	TE	TE-79	NASHIK	53.1	1811.4	0	1864.5	7.0	53.2		60.2	0.0	0.0		0.0	26.5	1374.5		1401.0	63.0	78.8		78.4	safe	semi_critical		semi_critical	7.0	53.2	0.0	60.2	19.6	383.7	0.0	403.3
995	TE	TE-80	NASHIK	164.4	2008.2	0	2172.6	8.6	36.7		45.2	0.0	0.3		0.3	14.7	1867.1		1881.9	14.2	94.8		88.7	safe	critical		semi_critical	8.6	36.7	0.0	45.2	141.1	104.1	0.0	245.2
996	TE	TE-81	NASHIK	785.4	2135.7	0	2921.1	37.4	90.1		127.5	0.0	0.6		0.6	486.2	2576.2		3062.4	66.7	124.9		109.2	safe	over_exploited		over_exploited	37.4	90.1	0.0	127.5	261.8	0.0	0.0	261.8
997	TE	TE-82	NASHIK	651.0	948.7	0	1599.7	11.8	10.7		22.5	0.0	1.0		1.0	335.9	810.2		1146.1	53.4	86.6		73.1	safe	semi_critical		semi_critical	11.8	10.7	0.0	22.5	303.3	126.8	0.0	430.1
998	TE	TE-83	NASHIK	191.1	2709.7	0	2900.8	10.2	143.4		153.7	0.0	0.5		0.5	164.3	1816.0		1980.3	91.3	72.3		73.6	critical	semi_critical		semi_critical	10.3	143.4	0.0	153.7	16.6	749.8	0.0	766.4
999	TE	TE-91	NASHIK	214.2	95.8	0	310.1	13.4	1.9		15.2	0.0	0.0		0.0	155.3	53.5		208.7	78.7	57.8		72.2	semi_critical	safe		semi_critical	13.4	1.9	0.0	15.2	45.6	40.5	0.0	86.1

S.No	BASIN	WATER SHED	District	Annual Extractable Ground water Resource (ham)				Ground Water Extraction for all uses (ha.m)												Stage of Ground Water Extraction (%)				Categorization of Assessment Unit				Allocation of Ground Water Resource for Domestic Utilisation for projected year 2025 (ham)				Net Annual Ground Water Availability for Future Use (ham)			
								Domestic				Industrial				Irrigation																			
				C	NC	PQ	Total	C	NC	PQ	Total	C	NC	PQ	Total	C	NC	PQ	Total	C	NC	PQ	Total	C	NC	PQ	Total	C	NC	PQ	Total	C	NC	PQ	Total
1000	TE	TE-92	NASHIK	29.9	734.6	0	764.5	4.4	57.6		62.0	0.0	0.6		0.6	32.4	572.9		605.3	123.3	85.9		87.4	over_exploited	semi_critical		semi_critical	4.4	57.6	0.0	62.0	0.0	103.6	0.0	103.6
1001	TE	TE-93	NASHIK	1199.7	2497.1	0	3696.8	13.7	67.8		81.5	0.0	0.0		0.0	199.1	2016.9		2216.0	17.7	83.5		62.1	safe	semi_critical		safe	13.7	67.8	0.0	81.5	986.8	412.5	0.0	1399.3
1002	TE	TE-94	NASHIK	0.0	3036.4	0	3036.4		171.2		171.2		0.0		0.0		869.6		869.6		34.3		34.3		safe		safe	0.0	171.2	0.0	171.2	0.0	1995.6	0.0	1995.6
1003	TE	TE-95	NASHIK	0.0	1864.6	0	1864.6		118.4		118.4		0.0		0.0		1078.7		1078.7		64.2		64.2		safe		safe	0.0	118.4	0.0	118.4	0.0	667.5	0.0	667.5
1004	TE	TE-96	NASHIK	1010.0	1631.9	0	2641.9	44.6	46.7		91.3	0.0	0.0		0.0	332.9	652.7		985.6	37.4	42.9		40.8	safe	safe		safe	44.6	46.7	0.0	91.3	632.6	932.5	0.0	1565.0
1005	WF	WF-1	NASHIK	0.0	290.4	0	290.4		6.6		6.6		0.0		0.0		72.6		72.6		27.3		27.3		safe		safe	0.0	6.6	0.0	6.6	0.0	211.2	0.0	211.2
1006	WF	WF-2	NASHIK	550.9	3552.5	0	4103.4	34.4	83.3		117.6	0.0	0.0		0.0	212.4	1707.7		1920.1	44.8	50.4		49.7	safe	safe		safe	34.4	83.3	0.0	117.6	304.1	1761.5	0.0	2065.6
1007	WF	WF-3	NASHIK	0.0	159.2	0	159.2		3.0		3.0		0.0		0.0		0.0		0.0		1.9		1.9		safe		safe	0.0	3.0	0.0	3.0	0.0	156.2	0.0	156.2
1008	WF	WF-4	NASHIK	386.9	2621.5	0	3008.4	67.8	54.5		122.3	0.0	0.0		0.0	138.8	860.8		999.6	53.4	34.9		37.3	safe	safe		safe	67.8	54.6	0.0	122.4	180.3	1706.2	0.0	1886.4
1009	WF	WF-5	NASHIK	0.0	1304.4	0	1304.4		61.5		61.5		0.0		0.0		406.3		406.3		35.9		35.9		safe		safe	0.0	61.6	0.0	61.6	0.0	836.5	0.0	836.5
1010	WF	WF-6	NASHIK	167.3	2039.0	0	2206.3	104.3	70.1		174.4	0.0	0.0		0.0	62.8	1001.7		1064.5	99.9	52.6		56.2	critical	safe		safe	104.3	70.1	0.0	174.4	0.2	967.2	0.0	967.4
1011	WF	WF-7	NASHIK	0.0	300.1	0	300.1		3.9		3.9		0.0		0.0		26.0		26.0		10.0		10.0		safe		safe	0.0	3.9	0.0	3.9	0.0	270.2	0.0	270.2
1012	WF	WF-8	NASHIK	1623.1	2652.7	0	4275.8	58.5	75.2		133.7	0.0	0.0		0.0	109.5	520.9		630.4	10.4	22.5		17.9	safe	safe		safe	58.5	75.2	0.0	133.7	1455.1	2056.7	0.0	3511.7
1013	WF	WF-9	NASHIK	274.1	1273.7	0	1547.8	17.1	51.7		68.8	0.0	0.0		0.0	237.8	1055.3		1293.1	93.0	86.9		88.0	critical	semi_critical		semi_critical	17.1	51.7	0.0	68.8	19.2	166.7	0.0	185.9
1014	BM	BM-1	OSMANABAD	338.6	737.0	0	1075.6	95.2	79.9		175.1	0.0	0.0		0.0	262.2	136.3		398.5	105.6	29.3		53.3	over_exploited	safe		safe	95.2	79.9	0.0	175.1	0.0	520.8	0.0	520.8
1015	BM	BM-10	OSMANABAD	0.0	1133.2	0	1133.2		119.9		119.9		0.0		0.0		248.4		248.4		32.5		32.5		safe		safe	0.0	119.9	0.0	119.9	0.0	764.9	0.0	764.9
1016	BM	BM-11	OSMANABAD	48.8	1140.3	0	1189.1	5.9	77.2		83.1	0.0	0.0		0.0	38.0	940.0		978.0	90.0	89.2		89.2	semi_critical	semi_critical		semi_critical	5.9	77.2	0.0	83.1	4.9	123.1	0.0	128.0
1017	BM	BM-2	OSMANABAD	144.1	1369.4	0	1513.5	6.8	41.7		48.5	0.0	0.0		0.0	90.9	688.3		779.3	67.8	53.3		54.7	safe	safe		safe	6.8	41.7	0.0	48.5	46.4	639.3	0.0	685.7
1018	BM	BM-3	OSMANABAD	0.0	282.1	0	282.1		12.0		12.0		0.0		0.0		118.1		118.1		46.1		46.1		safe		safe	0.0	12.0	0.0	12.0	0.0	152.1	0.0	152.1
1019	BM	BM-4 A	OSMANABAD	584.0	1741.0	0	2325.0	22.6	42.5		65.1	9.2	0.0		9.2	720.0	2831.7		3551.7	128.7	165.1		156.0	over_exploited	over_exploited		over_exploited	22.6	42.5	0.0	65.2	0.0	0.0	0.0	0.0
1020	BM	BM-5	OSMANABAD	3.3	838.2	0	841.5		33.2		33.2		0.1		0.1		715.2		715.2		89.3		88.9		semi_critical		semi_critical	0.0	33.2	0.0	33.2	3.3	89.7	0.0	93.0
1021	BM	BM-6 A	OSMANABAD	503.5	2215.1	0	2718.6	9.9	48.1		58.0	0.0	4.9		5.0	201.0	765.8		966.8	41.9	37.0		37.9	safe	safe		safe	9.9	48.1	0.0	58.0	292.5	1396.3	0.0	1688.8
1022	BM	BM-7	OSMANABAD	184.8	1271.3	0	1456.1	14.2	29.6		43.8	0.2	0.1		0.3	151.4	950.8		1102.2	89.7	77.1		78.7	semi_critical	semi_critical		semi_critical	14.2	29.7	0.0	43.8	19.0	290.8	0.0	309.8
1023	BM	BM-8 A	OSMANABAD	0.7	82.0	0	82.7		10.3		10.3		0.0		0.0		37.6		37.6		58.4		57.9		safe		safe	0.0	10.3	0.0	10.3	0.7	34.2	0.0	34.9
1024	BM	BM-9	OSMANABAD	443.7	2340.5	0	2784.2	33.1	35.0		68.1	0.0	0.1		0.1	357.3	2816.1		3173.4	88.0	121.8		116.4	semi_critical	over_exploited		over_exploited	33.1	35.0	0.0	68.1	53.3	0.0	0.0	53.3

S.No	BASIN	WATER SHED	District	Annual Extractable Ground water Resource (ham)				Ground Water Extraction for all uses (ha.m)												Stage of Ground Water Extraction (%)				Categorization of Assessment Unit				Allocation of Ground Water Resource for Domestic Utilisation for projected year 2025 (ham)				Net Annual Ground Water Availability for Future Use (ham)			
								Domestic				Industrial				Irrigation																			
				C	NC	PQ	Total	C	NC	PQ	Total	C	NC	PQ	Total	C	NC	PQ	Total	C	NC	PQ	Total	C	NC	PQ	Total	C	NC	PQ	Total	C	NC	PQ	Total
1025	MR	MR-03	OSMANABAD	2.2	2164.8	0	2166.9		63.1		63.1		1.0		1.0		3307.9		3307.9		155.8		155.6		over_exploited		over_exploited	0.0	63.1	0.0	63.1	2.2	0.0	0.0	2.2
1026	MR	MR-10	OSMANABAD	122.7	2672.7	0	2795.3	15.4	81.4		96.8	0.0	0.4		0.4	88.9	1032.4		1121.3	85.0	41.7		43.6	semi_critical	safe		safe	15.4	81.4	0.0	96.8	18.4	1558.5	0.0	1576.9
1027	MR	MR-11	OSMANABAD	189.4	1111.3	0	1300.7	14.3	35.7		50.0	0.0	0.0		0.0	305.0	637.1		942.1	168.5	60.5		76.3	over_exploited	safe		semi_critical	14.3	35.8	0.0	50.0	0.0	438.5	0.0	438.5
1028	MR	MR-12	OSMANABAD	512.4	1897.7	0	2410.0	8.7	91.1		99.8	0.0	0.0		0.0	362.7	1445.6		1808.3	72.5	81.0		79.2	semi_critical	semi_critical		semi_critical	8.7	91.1	0.0	99.8	140.9	361.0	0.0	501.9
1029	MR	MR-13	OSMANABAD	0.0	571.4	0	571.4		10.4		10.4		0.0		0.0		418.5		418.5		75.1		75.1		semi_critical		semi_critical	0.0	10.4	0.0	10.4	0.0	142.5	0.0	142.5
1030	MR	MR-16 A	OSMANABAD	0.0	200.4	0	200.4		9.9		9.9		0.0		0.0		84.6		84.6		47.1		47.1		safe		safe	0.0	9.9	0.0	9.9	0.0	105.9	0.0	105.9
1031	MR	MR-17	OSMANABAD	1140.0	2458.3	0	3598.3	45.8	40.8		86.6	0.0	0.0		0.0	917.3	2043.5		2960.8	84.5	84.8		84.7	semi_critical	semi_critical		semi_critical	45.8	40.8	0.0	86.6	176.9	374.0	0.0	550.9
1032	MR	MR-18	OSMANABAD	534.9	1168.8	0	1703.7	24.1	47.9		72.0	0.0	0.0		0.0	564.1	1841.8		2406.0	110.0	161.7		145.4	over_exploited	over_exploited		over_exploited	24.1	47.9	0.0	72.0	0.0	0.0	0.0	0.0
1033	MR	MR-20 A	OSMANABAD	1643.9	1841.0	0	3484.8	57.6	31.4		88.9	20.3	0.0		20.3	1248.3	728.9		1977.2	80.7	41.3		59.9	semi_critical	safe		safe	57.6	31.4	0.0	88.9	317.7	1080.7	0.0	1398.5
1034	MR	MR-21 A	OSMANABAD	3387.3	0.0	0	3387.3	65.1			65.1	5.3			5.3	2610.9			2610.9	79.2			79.2	semi_critical			semi_critical	65.1	0.0	0.0	65.1	706.1	0.0	0.0	706.1
1035	MR	MR-22	OSMANABAD	1433.0	484.6	0	1917.6	26.8	17.0		43.9	0.0	1.6		1.6	947.1	228.1		1175.2	68.0	50.9		63.7	safe	safe		safe	26.8	17.0	0.0	43.9	459.1	237.9	0.0	697.0
1036	MR	MR-23	OSMANABAD	228.0	926.3	0	1154.3	0.9	12.1		12.9	0.0	0.0		0.0	173.3	643.5		816.8	76.4	70.8		71.9	semi_critical	semi_critical		semi_critical	0.9	12.1	0.0	12.9	53.9	270.8	0.0	324.6
1037	MR	MR-30	OSMANABAD	324.1	868.5	0	1192.6	2.9	37.0		39.9	0.0	0.0		0.0	116.4	444.7		561.0	36.8	55.5		50.4	safe	safe		safe	2.9	37.0	0.0	39.9	204.8	386.9	0.0	591.7
1038	MR	MR-36 A	OSMANABAD	338.1	2268.6	0	2606.8	10.8	48.1		58.9	0.0	0.0		0.0	174.8	2699.5		2874.3	54.9	121.1		112.5	safe	over_exploited		over_exploited	10.8	48.1	0.0	58.9	152.5	0.0	0.0	152.5
1039	MR	MR-5	OSMANABAD	0.0	125.4	0	125.4		8.8		8.8		0.0		0.0		65.0		65.0		58.9		58.9		safe		safe	0.0	8.8	0.0	8.8	0.0	51.6	0.0	51.6
1040	MR	MR-7	OSMANABAD	1442.5	1550.2	0	2992.7	37.9	51.4		89.2	0.0	0.9		0.9	1206.1	1156.2		2362.3	86.2	78.0		81.9	semi_critical	semi_critical		semi_critical	37.9	51.4	0.0	89.2	198.5	341.7	0.0	540.2
1041	MR	MR-9	OSMANABAD	3137.5	1810.5	0	4947.9	39.5	34.2		73.6	3.3	0.0		3.3	997.5	907.4		1905.0	33.2	52.0		40.1	safe	safe		safe	39.5	34.2	0.0	73.6	2097.2	868.9	0.0	2966.0
1042	SA	SA-21	OSMANABAD	1667.4	1866.7	0	3534.1	98.8	20.6		119.4	0.0	20.0		20.0	1279.4	1478.8		2758.2	82.6	81.4		82.0	semi_critical	semi_critical		semi_critical	98.8	20.6	0.0	119.4	289.3	347.3	0.0	636.6
1043	SA	SA-23	OSMANABAD	3821.1	740.7	0	4561.8	71.9	4.4		76.3	21.1	0.0		21.1	2877.7	545.1		3422.8	77.7	74.2		77.2	semi_critical	semi_critical		semi_critical	71.9	4.4	0.0	76.3	850.4	191.2	0.0	1041.6
1044	SA	SA-24	OSMANABAD	1852.2	0.0	0	1852.2	42.4			42.4	0.0			0.0	1571.2			1571.2	87.1			87.1	semi_critical			semi_critical	42.4	0.0	0.0	42.4	238.6	0.0	0.0	238.6
1045	SA	SA-25	OSMANABAD	442.6	1077.7	0	1520.3	10.9	50.4		61.3	0.0	0.0		0.0	161.6	913.6		1075.1	39.0	89.4		74.7	safe	semi_critical		semi_critical	10.9	50.4	0.0	61.3	270.1	113.8	0.0	383.9
1046	SA	SA-27 A	OSMANABAD	689.8	1152.2	0	1842.0	2.0	31.2		33.1	0.0	0.1		0.1	569.7	971.2		1540.9	82.9	87.0		85.5	semi_critical	semi_critical		semi_critical	2.0	31.2	0.0	33.1	118.2	149.7	0.0	267.9
1047	SA	SA-28 A	OSMANABAD	0.0	133.1	0	133.1		3.0		3.0		0.0		0.0		114.7		114.7		88.4		88.4		semi_critical		semi_critical	0.0	3.0	0.0	3.0	0.0	15.4	0.0	15.4
1048	SA	SA-29 A	OSMANABAD	461.3	1363.2	0	1824.4	37.7	75.2		112.9	0.0	0.0		0.0	371.5	1068.0		1439.5	88.7	83.9		85.1	semi_critical	semi_critical		semi_critical	37.7	75.2	0.0	112.9	52.1	220.0	0.0	272.1
1049	SA	SA-33 B	OSMANABAD	303.7	847.0	0	1150.7	11.9	22.9		34.8	0.0	0.0		0.0	210.6	742.9		953.5	73.3	90.4		85.9	semi_critical	critical		semi_critical	11.9	22.9	0.0	34.8	81.2	81.2	0.0	162.4

S.No	BASIN	WATER SHED	District	Annual Extractable Ground water Resource (ham)				Ground Water Extraction for all uses (ha.m)												Stage of Ground Water Extraction (%)				Categorization of Assessment Unit				Allocation of Ground Water Resource for Domestic Utilisation for projected year 2025 (ham)				Net Annual Ground Water Availability for Future Use (ham)			
								Domestic				Industrial				Irrigation																			
				C	NC	PQ	Total	C	NC	PQ	Total	C	NC	PQ	Total	C	NC	PQ	Total	C	NC	PQ	Total	C	NC	PQ	Total	C	NC	PQ	Total	C	NC	PQ	Total
1050	SA	SA-37 A	OSMANABAD	1397.3	228.6	0	1625.9	36.7	20.6		57.3	0.0	0.0		0.0	817.0	34.6		851.6	61.1	24.1		55.9	safe	safe		safe	36.7	20.6	0.0	57.3	543.5	173.4	0.0	716.9
1051	SA	SA-38 A	OSMANABAD	0.0	1004.8	0	1004.8		28.2		28.2		0.0		0.0		283.1		283.1		31.0		31.0		safe		safe	0.0	28.2	0.0	28.2	0.0	693.5	0.0	693.5
1052	SA	SA-39 A	OSMANABAD	0.0	302.4	0	302.4		16.3		16.3		0.0		0.0		120.7		120.7		45.3		45.3		safe		safe	0.0	16.3	0.0	16.3	0.0	165.3	0.0	165.3
1053	SA	SA-40 A	OSMANABAD	101.8	1009.8	0	1111.7	1.7	76.1		77.8	0.0	6.3		6.3	8.7	641.5		650.2	10.2	71.7		66.1	safe	semi_critical		safe	1.7	76.1	0.0	77.8	91.4	285.9	0.0	377.3
1054	SA	SA-43 A	OSMANABAD	119.9	2928.8	0	3048.7	4.2	118.6		122.8	0.0	0.2		0.2	16.1	2232.0		2248.1	16.9	80.3		77.8	safe	semi_critical		semi_critical	4.2	118.6	0.0	122.8	99.6	578.0	0.0	677.5
1055	WF	WF-10	PALGHAR	3417.7	1231.0	0	4648.7	60.3	63.4		123.7	0.0	0.0		0.0	2192.9	401.8		2594.7	65.9	37.8		58.5	safe	safe		safe	60.3	63.4	0.0	123.7	1164.6	765.8	0.0	1930.3
1056	WF	WF-11	PALGHAR	345.8	2560.6	0	2906.4	9.9	111.1		121.0	0.0	25.0		25.0	161.5	1976.4		2137.9	49.6	82.5		78.6	safe	semi_critical		semi_critical	9.9	111.1	0.0	121.0	174.4	448.1	0.0	622.5
1057	WF	WF-12	PALGHAR	376.9	1779.8	0	2156.6	33.7	94.6		128.3	0.0	0.0		0.0	199.2	1327.7		1526.9	61.8	79.9		76.7	safe	semi_critical		semi_critical	33.7	94.6	0.0	128.3	144.0	357.5	0.0	501.5
1058	WF	WF-13	PALGHAR	707.1	1113.3	0	1820.4	115.1	73.3		188.4	0.0	5.3		5.3	1142.4	539.9		1682.3	177.9	55.6		103.1	over_exploited	safe		over_exploited	115.1	73.3	0.0	188.4	0.0	494.8	0.0	494.8
1059	WF	WF-14	PALGHAR	582.8	950.6	0	1533.3	35.5	26.9		62.4	1.9	0.0		1.9	114.4	791.6		906.0	26.1	86.1		63.3	safe	semi_critical		safe	35.5	26.9	0.0	62.4	430.9	132.1	0.0	563.0
1060	WF	WF-15	PALGHAR	0.0	404.4	0	404.4		6.0		6.0		0.0		0.0		274.2		274.2		69.3		69.3		safe		safe	0.0	6.0	0.0	6.0	0.0	124.3	0.0	124.3
1061	WF	WF-16	PALGHAR	2373.9	1778.5	0	4152.4	49.7	12.4		62.1	0.0	0.0		0.0	1722.6	1294.0		3016.6	74.7	73.5		74.1	semi_critical	semi_critical		semi_critical	49.7	12.4	0.0	62.1	601.7	472.1	0.0	1073.8
1062	WF	WF-17	PALGHAR	0.0	2324.9	0	2324.9		24.5		24.5		0.0		0.0		1463.3		1463.3		64.0		64.0		safe		safe	0.0	24.5	0.0	24.5	0.0	837.1	0.0	837.1
1063	WF	WF-18	PALGHAR	0.0	1814.3	0	1814.3		128.5		128.5		2.5		2.5		1224.3		1224.3		74.7		74.7		semi_critical		semi_critical	0.0	128.5	0.0	128.5	0.0	459.1	0.0	459.1
1064	WF	WF-19	PALGHAR	0.0	2793.9	0	2793.9		201.8		201.8		3.3		3.3		2530.7		2530.7		97.9		97.9		critical		critical	0.0	201.8	0.0	201.8	0.0	58.1	0.0	58.1
1065	WF	WF-20	PALGHAR	238.9	1324.7	0	1563.6	26.4	70.5		96.9	0.0	0.0		0.0	62.0	1190.8		1252.8	37.0	95.2		86.3	safe	critical		semi_critical	26.4	70.5	0.0	96.9	150.5	63.5	0.0	213.9
1066	WF	WF-21	PALGHAR	215.9	481.7	0	697.5	16.1	18.7		34.9	0.0	0.0		0.0	128.8	135.4		264.1	67.1	32.0		42.9	safe	safe		safe	16.2	18.7	0.0	34.9	70.9	327.6	0.0	398.5
1067	WF	WF-22	PALGHAR	30.4	2169.0	0	2199.4	3.7	111.4		115.1	0.0	0.0		0.0	28.8	1384.9		1413.7	106.6	69.0		69.5	over_exploited	safe		safe	3.7	111.5	0.0	115.1	0.0	672.7	0.0	672.7
1068	WF	WF-23	PALGHAR	0.0	259.9	0	259.9		3.3		3.3		0.0		0.0		181.0		181.0		70.9		70.9		semi_critical		semi_critical	0.0	3.3	0.0	3.3	0.0	75.6	0.0	75.6
1069	WF	WF-24B	PALGHAR	166.6	374.5	0	541.1	13.1	16.7		29.8	0.9	0.0		0.9	111.3	318.8		430.1	75.2	89.6		85.2	semi_critical	semi_critical		semi_critical	13.1	16.7	0.0	29.8	41.3	38.9	0.0	80.2
1070	WF	WF-25	PALGHAR	54.3	541.4	0	595.7	0.0	3.2		3.2	3.3	0.0		3.3	24.5	372.5		397.0	51.1	69.4		67.7	safe	safe		safe	0.0	3.2	0.0	3.2	26.5	165.7	0.0	192.2
1071	WF	WF-26	PALGHAR	704.2	1264.2	0	1968.4	36.1	11.2		47.2	0.0	0.0		0.0	576.6	982.3		1558.9	87.0	78.6		81.6	semi_critical	semi_critical		semi_critical	36.1	11.2	0.0	47.2	91.6	270.7	0.0	362.3
1072	WF	WF-27B	PALGHAR	0.4	2397.4	0	2397.8		58.4		58.4		1.6		1.6		1842.4		1842.4		79.4		79.3		semi_critical		semi_critical	0.0	58.4	0.0	58.4	0.4	495.0	0.0	495.4
1073	WF	WF-28B	PALGHAR	0.0	1129.2	0	1129.2		48.4		48.4		0.0		0.0		290.1		290.1		30.0		30.0		safe		safe	0.0	48.4	0.0	48.4	0.0	790.6	0.0	790.6
1074	WF	WF-29B	PALGHAR	805.3	292.4	0	1097.8	7.1	5.1		12.2	0.0	0.0		0.0	468.5	145.1		613.7	59.1	51.4		57.0	safe	safe		safe	7.1	5.1	0.0	12.2	329.7	142.2	0.0	471.8

S.No	BASIN	WATER SHED	District	Annual Extractable Ground water Resource (ham)				Ground Water Extraction for all uses (ha.m)												Stage of Ground Water Extraction (%)				Categorization of Assessment Unit				Allocation of Ground Water Resource for Domestic Utilisation for projected year 2025 (ham)				Net Annual Ground Water Availability for Future Use (ham)			
								Domestic				Industrial				Irrigation																			
				C	NC	PQ	Total	C	NC	PQ	Total	C	NC	PQ	Total	C	NC	PQ	Total	C	NC	PQ	Total	C	NC	PQ	Total	C	NC	PQ	Total	C	NC	PQ	Total
1075	WF	WF-7	PALGHAR	0.0	1903.4	0	1903.4		92.9		92.9		0.0		0.0		1181.0		1181.0		66.9		66.9		safe		safe	0.0	92.9	0.0	92.9	0.0	629.6	0.0	629.6
1076	WF	WF-8	PALGHAR	0.0	174.1	0	174.1		8.2		8.2		0.0		0.0		103.7		103.7		64.3		64.3		safe		safe	0.0	8.2	0.0	8.2	0.0	62.1	0.0	62.1
1077	WF	WF-9	PALGHAR	0.0	2883.0	0	2883.0		48.6		48.6		0.8		0.8		1700.3		1700.3		60.7		60.7		safe		safe	0.0	48.6	0.0	48.6	0.0	1133.2	0.0	1133.2
1078	GP	GP-36 B	PARBHANI	502.4	488.5	0	990.8	6.2	2.7		8.9	0.0	0.0		0.0	132.8	294.9		427.8	27.7	60.9		44.1	safe	safe		safe	6.2	2.7	0.0	8.9	363.4	190.8	0.0	554.2
1079	GP	GP-37 B	PARBHANI	635.4	2092.3	0	2727.7	8.1	43.3		51.4	0.0	0.0		0.0	198.3	844.4		1042.7	32.5	42.4		40.1	safe	safe		safe	8.1	43.3	0.0	51.4	429.0	1204.6	0.0	1633.6
1080	GP	GP-41 B	PARBHANI	0.0	222.8	0	222.8		5.2		5.2		0.0		0.0		242.6		242.6		111.3		111.3		over_exploited		over_exploited	0.0	5.2	0.0	5.2	0.0	0.0	0.0	0.0
1081	GP	GP-43 B	PARBHANI	451.2	557.0	0	1008.2	7.6	9.0		16.6	0.0	0.0		0.0	146.2	192.5		338.6	34.1	36.2		35.2	safe	safe		safe	7.6	9.0	0.0	16.6	297.5	355.6	0.0	653.0
1082	GP	GP-45	PARBHANI	0.0	131.4	0	131.4		2.5		2.5		0.0		0.0		19.4		19.4		16.7		16.7		safe		safe	0.0	2.5	0.0	2.5	0.0	109.5	0.0	109.5
1083	GP	GP-46 B	PARBHANI	46.2	233.1	0	279.3	2.4	18.2		20.6	0.0	0.0		0.0	21.2	138.8		160.0	51.0	67.4		64.7	safe	safe		safe	2.4	18.2	0.0	20.6	22.6	76.1	0.0	98.7
1084	GP	GP-48	PARBHANI	117.2	1551.4	0	1668.5	24.3	50.0		74.4	0.0	0.0		0.0	90.8	800.6		891.4	98.3	54.8		57.9	critical	safe		safe	24.3	50.0	0.0	74.4	2.0	700.7	0.0	702.8
1085	GP	GP-49	PARBHANI	0.0	46.8	0	46.8		1.2		1.2		0.0		0.0		23.0		23.0		51.9		51.9		safe		safe	0.0	1.2	0.0	1.2	0.0	22.5	0.0	22.5
1086	GP	GP-50	PARBHANI	138.1	578.6	0	716.7	4.8	14.2		19.0	0.0	0.0		0.0	100.6	133.4		234.0	76.3	25.5		35.3	semi_critical	safe		safe	4.8	14.2	0.0	19.0	32.7	431.0	0.0	463.7
1087	GP	GP-51	PARBHANI	234.6	572.3	0	806.9	7.9	13.9		21.8	0.0	0.0		0.0	191.5	474.1		665.6	85.0	85.3		85.2	semi_critical	semi_critical		semi_critical	7.9	13.9	0.0	21.8	35.2	84.3	0.0	119.5
1088	GP	GP-53 A	PARBHANI	0.0	461.5	0	461.5		11.5		11.5		0.0		0.0		202.5		202.5		46.4		46.4		safe		safe	0.0	11.5	0.0	11.5	0.0	247.5	0.0	247.5
1089	GP	GP-54	PARBHANI	0.0	1648.2	0	1648.2		58.5		58.5		0.0		0.0		453.3		453.3		31.0		31.0		safe		safe	0.0	58.5	0.0	58.5	0.0	1136.5	0.0	1136.5
1090	GP	GP-55 A	PARBHANI	24.9	1220.1	0	1245.0		52.9		52.9		0.0		0.0		416.4		416.4		38.5		37.7		safe		safe	0.0	52.9	0.0	52.9	24.9	750.9	0.0	775.8
1091	GP	GP-56	PARBHANI	492.0	1870.4	0	2362.4	9.9	58.5		68.4	0.0	0.4		0.4	222.0	862.2		1084.2	47.1	49.3		48.8	safe	safe		safe	9.9	58.5	0.0	68.4	260.1	949.2	0.0	1209.3
1092	GP	GP-57	PARBHANI	716.3	1934.3	0	2650.6	16.0	43.4		59.4	2.6	30.6		33.2	241.0	665.4		906.4	36.2	38.2		37.7	safe	safe		safe	16.0	43.4	0.0	59.4	456.7	1194.9	0.0	1651.6
1093	GP	GP-58	PARBHANI	541.1	819.1	0	1360.2	23.8	12.0		35.8	0.0	0.0		0.0	253.8	452.1		705.9	51.3	56.7		54.5	safe	safe		safe	23.8	12.0	0.0	35.9	263.5	355.0	0.0	618.5
1094	GP	GP-59	PARBHANI	248.4	3158.9	0	3407.2	24.9	57.9		82.8	0.0	0.8		0.8	121.5	2118.7		2240.2	59.0	68.9		68.2	safe	safe		safe	24.9	57.9	0.0	82.8	101.9	981.6	0.0	1083.5
1095	GP	GP-60 B	PARBHANI	0.0	1903.8	0	1903.8		50.5		50.5		30.5		30.5		933.6		933.6		53.3		53.3		safe		safe	0.0	50.5	0.0	50.5	0.0	889.2	0.0	889.2
1096	GP	GP-61	PARBHANI	1227.8	1063.3	0	2291.1	13.4	20.1		33.6	0.0	0.5		0.5	821.2	418.6		1239.8	68.0	41.3		55.6	safe	safe		safe	13.4	20.1	0.0	33.6	393.1	624.0	0.0	1017.1
1097	GP	GP-62	PARBHANI	293.5	1115.0	0	1408.5	12.4	32.2		44.6	0.0	0.2		0.2	121.5	1225.6		1347.1	45.6	112.8		98.8	safe	over_exploited		critical	12.4	32.2	0.0	44.6	159.7	0.0	0.0	159.7
1098	GP	GP-63 B	PARBHANI	1264.3	1488.7	0	2753.0	13.5	22.9		36.4	0.0	73.8		73.8	483.8	864.4		1348.2	39.3	64.6		53.0	safe	safe		safe	13.5	22.9	0.0	36.4	767.0	527.5	0.0	1294.6
1099	GV	GV-71 B	PARBHANI	108.2	646.6	0	754.8	15.1	22.8		37.9	0.0	0.0		0.0	67.5	405.5		473.0	76.4	66.2		67.7	semi_critical	safe		safe	15.1	22.8	0.0	37.9	25.6	218.3	0.0	243.9

S.No	BASIN	WATER SHED	District	Annual Extractable Ground water Resource (ham)				Ground Water Extraction for all uses (ha.m)												Stage of Ground Water Extraction (%)				Categorization of Assessment Unit				Allocation of Ground Water Resource for Domestic Utilisation for projected year 2025 (ham)				Net Annual Ground Water Availability for Future Use (ham)			
								Domestic				Industrial				Irrigation																			
				C	NC	PQ	Total	C	NC	PQ	Total	C	NC	PQ	Total	C	NC	PQ	Total	C	NC	PQ	Total	C	NC	PQ	Total	C	NC	PQ	Total	C	NC	PQ	Total
1100	GV	GV-74	PARBHANI	0.0	654.4	0	654.4		15.3		15.3		0.0		0.0		269.3		269.3		43.5		43.5		safe		safe	0.0	15.3	0.0	15.3	0.0	369.8	0.0	369.8
1101	GV	GV-79	PARBHANI	81.5	769.8	0	851.3	2.7	8.7		11.4	0.0	0.0		0.0	47.7	368.2		415.9	61.8	49.0		50.2	safe	safe		safe	2.7	8.7	0.0	11.4	31.1	392.9	0.0	424.0
1102	GV	GV-82	PARBHANI	54.4	2736.1	0	2790.5	3.4	46.1		49.4	0.0	0.0		0.0	20.3	1783.7		1804.0	43.5	66.9		66.4	safe	safe		safe	3.4	46.1	0.0	49.4	30.7	906.3	0.0	937.0
1103	GV	GV-83	PARBHANI	0.0	420.9	0	420.9		6.8		6.8		0.0		0.0		276.8		276.8		67.4		67.4		safe		safe	0.0	6.8	0.0	6.8	0.0	137.3	0.0	137.3
1104	GV	GV-88	PARBHANI	69.4	291.8	0	361.2	2.6	11.1		13.7	0.0	0.0		0.0	40.0	59.0		99.0	61.3	24.0		31.2	safe	safe		safe	2.6	11.1	0.0	13.7	26.9	221.6	0.0	248.5
1105	GV	GV-89	PARBHANI	0.0	1115.4	0	1115.4		73.5		73.5		0.0		0.0		509.4		509.4		52.3		52.3		safe		safe	0.0	73.5	0.0	73.5	0.0	532.4	0.0	532.4
1106	GV	GV-90 A	PARBHANI	1238.6	1683.9	0	2922.5	15.7	43.3		59.0	0.0	0.0		0.0	786.2	898.3		1684.5	64.8	55.9		59.7	safe	safe		safe	15.7	43.3	0.0	59.0	436.6	742.4	0.0	1179.0
1107	GV	GV-94 B	PARBHANI	1904.0	208.4	0	2112.3	17.3	20.6		37.9	0.0	1.2		1.2	872.9	429.2		1302.0	46.8	216.4		63.5	safe	over_exploited		safe	17.4	20.6	0.0	37.9	1013.8	0.0	0.0	1013.8
1108	GV	GV-95	PARBHANI	0.0	868.3	0	868.3		39.3		39.3		0.1		0.1		349.3		349.3		44.8		44.8		safe		safe	0.0	39.3	0.0	39.3	0.0	479.7	0.0	479.7
1109	GV	GV-96	PARBHANI	0.0	1630.3	0	1630.3		23.9		23.9		6.0		6.0		896.9		896.9		56.8		56.8		safe		safe	0.0	23.9	0.0	23.9	0.0	703.5	0.0	703.5
1110	GV	GV-97 A	PARBHANI	735.4	952.2	0	1687.6	10.6	8.3		18.9	0.0	0.0		0.0	411.3	582.8		994.1	57.4	62.1		60.0	safe	safe		safe	10.6	8.3	0.0	18.9	313.5	361.1	0.0	674.6
1111	BM	BM-1	PUNE	0.0	349.7	0	349.7		6.0		6.0		0.0		0.0		133.6		133.6		39.9		39.9		safe		safe	0.0	6.0	0.0	6.0	0.0	210.1	0.0	210.1
1112	BM	BM-10	PUNE	571.2	1807.4	0	2378.6	7.3	26.9		34.1	0.0	1.0		1.0	23.8	881.9		905.7	5.4	50.3		39.6	safe	safe		safe	7.3	26.9	0.0	34.1	540.2	897.6	0.0	1437.8
1113	BM	BM-11	PUNE	0.0	303.2	0	303.2		52.7		52.7		0.1		0.1		120.0		120.0		57.0		57.0		safe		safe	0.0	52.7	0.0	52.7	0.0	130.4	0.0	130.4
1114	BM	BM-12	PUNE	177.2	1915.8	0	2093.0	7.7	76.3		84.1	4.2	0.0		4.2	345.7	1435.5		1781.2	201.8	78.9		89.3	over_exploited	semi_critical		semi_critical	7.8	76.3	0.0	84.1	0.0	404.1	0.0	404.1
1115	BM	BM-13	PUNE	0.6	991.6	0	992.2		58.5		58.5		0.0		0.0		417.5		417.5		48.0		48.0		safe		safe	0.0	58.5	0.0	58.5	0.6	515.7	0.0	516.3
1116	BM	BM-17	PUNE	227.6	732.1	0	959.7	9.8	10.5		20.4	0.0	8.2		8.2	109.4	1288.0		1397.5	52.4	178.5		148.6	safe	over_exploited		over_exploited	9.8	10.5	0.0	20.4	108.4	0.0	0.0	108.4
1117	BM	BM-18	PUNE	671.3	1454.5	0	2125.8	22.7	30.7		53.4	0.0	0.0		0.0	263.1	1225.4		1488.5	42.6	86.4		72.5	safe	semi_critical		semi_critical	22.7	30.7	0.0	53.4	385.5	198.5	0.0	584.0
1118	BM	BM-19	PUNE	0.0	684.8	0	684.8		14.4		14.4		0.0		0.0		368.7		368.7		55.9		55.9		safe		safe	0.0	14.4	0.0	14.4	0.0	301.7	0.0	301.7
1119	BM	BM-2	PUNE	87.1	1417.5	0	1504.7	4.4	37.4		41.8	0.0	159.8		159.8	14.7	188.1		202.8	21.8	27.2		26.9	safe	safe		safe	4.4	37.4	0.0	41.8	68.1	1032.2	0.0	1100.4
1120	BM	BM-20	PUNE	439.6	3135.4	0	3575.0	128.1	85.3		213.4	0.0	0.0		0.0	163.9	1051.9		1215.8	66.4	36.3		40.0	safe	safe		safe	128.1	85.3	0.0	213.4	147.6	1998.1	0.0	2145.8
1121	BM	BM-21	PUNE	48.3	1687.4	0	1735.7		41.5		41.5		0.0		0.0		292.8		292.8		19.8		19.3		safe		safe	0.0	41.5	0.0	41.5	48.3	1353.0	0.0	1401.3
1122	BM	BM-22	PUNE	57.6	983.9	0	1041.4	18.5	20.2		38.7	0.0	0.0		0.0	10.3	333.9		344.2	50.1	36.0		36.8	safe	safe		safe	18.5	20.2	0.0	38.7	28.7	629.7	0.0	658.5
1123	BM	BM-23	PUNE	0.0	840.5	0	840.5		26.3		26.3		0.0		0.0		447.7		447.7		56.4		56.4		safe		safe	0.0	26.3	0.0	26.3	0.0	366.4	0.0	366.4
1124	BM	BM-24	PUNE	0.0	1278.2	0	1278.2		65.7		65.7		0.0		0.0		631.3		631.3		54.5		54.5		safe		safe	0.0	65.7	0.0	65.7	0.0	581.2	0.0	581.2

S.No	BASIN	WATER SHED	District	Annual Extractable Ground water Resource (ham)				Ground Water Extraction for all uses (ha.m)												Stage of Ground Water Extraction (%)				Categorization of Assessment Unit				Allocation of Ground Water Resource for Domestic Utilisation for projected year 2025 (ham)				Net Annual Ground Water Availability for Future Use (ham)			
								Domestic				Industrial				Irrigation																			
				C	NC	PQ	Total	C	NC	PQ	Total	C	NC	PQ	Total	C	NC	PQ	Total	C	NC	PQ	Total	C	NC	PQ	Total	C	NC	PQ	Total	C	NC	PQ	Total
1125	BM	BM-25	PUNE	0.0	1748.8	0	1748.8		76.3		76.3		0.0		0.0		1208.3		1208.3		73.5		73.5		semi_critical		semi_critical	0.0	76.3	0.0	76.3	0.0	464.2	0.0	464.2
1126	BM	BM-26	PUNE	232.8	1551.1	0	1783.9	3.7	18.1		21.8	0.0	1.8		1.8	153.8	798.3		952.0	67.7	52.7		54.7	safe	safe		safe	3.7	18.1	0.0	21.8	75.3	733.0	0.0	808.3
1127	BM	BM-27	PUNE	53.1	866.7	0	919.8	2.0	20.7		22.7	0.0	0.0		0.0	37.4	442.8		480.2	74.2	53.5		54.7	semi_critical	safe		safe	2.0	20.7	0.0	22.7	13.7	403.2	0.0	416.9
1128	BM	BM-3	PUNE	23.9	726.8	0	750.7	2.7	36.3		39.0	0.0	0.0		0.0	27.3	391.7		419.0	125.6	58.9		61.0	over_exploited	safe		safe	2.7	36.3	0.0	39.0	0.0	298.8	0.0	298.8
1129	BM	BM-34	PUNE	399.7	606.8	0	1006.5	5.3	17.1		22.4	0.0	0.0		0.0	296.0	412.2		708.2	75.4	70.7		72.6	semi_critical	semi_critical		semi_critical	5.3	17.1	0.0	22.4	98.4	177.5	0.0	275.9
1130	BM	BM-35	PUNE	387.5	949.9	0	1337.3	7.9	18.9		26.7	0.0	0.0		0.0	318.2	735.7		1053.9	84.2	79.4		80.8	semi_critical	semi_critical		semi_critical	7.9	18.9	0.0	26.7	61.4	195.3	0.0	256.7
1131	BM	BM-36	PUNE	0.0	1827.2	0	1827.2		41.8		41.8		0.2		0.2		1232.5		1232.5		69.8		69.8		safe		safe	0.0	41.8	0.0	41.8	0.0	552.7	0.0	552.7
1132	BM	BM-37	PUNE	1114.4	1505.1	0	2619.5	14.4	14.4		28.8	0.0	0.8		0.8	365.7	1705.2		2070.9	34.1	114.3		80.2	safe	over_exploited		semi_critical	14.4	14.4	0.0	28.8	734.2	0.0	0.0	734.2
1133	BM	BM-38	PUNE	0.0	546.6	0	546.6		8.4		8.4		0.0		0.0		302.2		302.2		56.8		56.8		safe		safe	0.0	8.4	0.0	8.4	0.0	236.0	0.0	236.0
1134	BM	BM-39	PUNE	0.0	794.8	0	794.8		10.3		10.3		0.1		0.1		315.1		315.1		41.0		41.0		safe		safe	0.0	10.3	0.0	10.3	0.0	469.3	0.0	469.3
1135	BM	BM-4	PUNE	56.2	3854.2	0	3910.4	2.6	119.7		122.3	0.0	3.6		3.6	16.3	3299.9		3316.1	33.6	88.8		88.0	safe	semi_critical		semi_critical	2.6	119.7	0.0	122.3	37.3	431.0	0.0	468.3
1136	BM	BM-40	PUNE	489.2	2766.5	0	3255.7	60.7	75.9		136.6	0.0	0.0		0.0	228.4	805.4		1033.7	59.1	31.9		35.9	safe	safe		safe	60.7	75.9	0.0	136.6	200.1	1885.3	0.0	2085.4
1137	BM	BM-41	PUNE	172.9	3505.7	0	3678.6	11.7	66.7		78.4	0.0	0.0		0.0	108.1	1887.4		1995.5	69.3	55.7		56.4	safe	safe		safe	11.7	66.7	0.0	78.4	53.2	1551.6	0.0	1604.7
1138	BM	BM-42	PUNE	145.7	728.5	0	874.1	30.0	15.6		45.6	0.0	0.0		0.0	62.7	359.5		422.2	63.6	51.5		53.5	safe	safe		safe	30.0	15.6	0.0	45.6	53.0	353.3	0.0	406.3
1139	BM	BM-43	PUNE	249.4	545.6	0	795.0	13.9	16.2		30.1	0.0	0.0		0.0	151.5	209.5		361.0	66.3	41.4		49.2	safe	safe		safe	13.9	16.2	0.0	30.1	84.0	319.9	0.0	403.9
1140	BM	BM-44	PUNE	0.0	15.4	0	15.4		2.1		2.1		0.0		0.0		8.6		8.6		69.0		69.0		safe		safe	0.0	2.1	0.0	2.1	0.0	4.8	0.0	4.8
1141	BM	BM-45	PUNE	0.0	51.4	0	51.4		9.5		9.5		0.0		0.0		26.4		26.4		69.9		69.9		safe		safe	0.0	9.5	0.0	9.5	0.0	15.4	0.0	15.4
1142	BM	BM-46	PUNE	0.0	155.7	0	155.7		10.6		10.6		0.0		0.0		80.6		80.6		58.6		58.6		safe		safe	0.0	10.6	0.0	10.6	0.0	64.5	0.0	64.5
1143	BM	BM-48	PUNE	0.0	34.7	0	34.7		0.3		0.3		0.0		0.0		6.7		6.7		20.0		20.0		safe		safe	0.0	0.3	0.0	0.3	0.0	27.8	0.0	27.8
1144	BM	BM-49	PUNE	0.0	139.2	0	139.2		12.9		12.9		0.0		0.0		47.0		47.0		43.0		43.0		safe		safe	0.0	12.9	0.0	12.9	0.0	79.3	0.0	79.3
1145	BM	BM-5	PUNE	54.8	459.5	0	514.2	13.8	21.6		35.4	0.0	0.0		0.0	48.5	185.6		234.1	113.7	45.1		52.4	over_exploited	safe		safe	13.8	21.6	0.0	35.4	0.0	252.3	0.0	252.3
1146	BM	BM-50	PUNE	0.0	197.9	0	197.9		4.0		4.0		0.0		0.0		128.7		128.7		67.1		67.1		safe		safe	0.0	4.0	0.0	4.0	0.0	65.2	0.0	65.2
1147	BM	BM-51	PUNE	0.0	32.4	0	32.4		8.0		8.0		0.0		0.0		16.6		16.6		76.3		76.3		semi_critical		semi_critical	0.0	8.0	0.0	8.0	0.0	7.7	0.0	7.7
1148	BM	BM-52	PUNE	0.0	70.7	0	70.7		3.3		3.3		0.0		0.0		31.6		31.6		49.3		49.3		safe		safe	0.0	3.3	0.0	3.3	0.0	35.8	0.0	35.8
1149	BM	BM-53	PUNE	127.5	278.2	0	405.7	0.0	16.6		16.6	0.0	0.0		0.0	64.9	91.1		156.0	50.9	38.7		42.5	safe	safe		safe	0.0	16.6	0.0	16.6	62.7	170.5	0.0	233.1

S.No	BASIN	WATER SHED	District	Annual Extractable Ground water Resource (ham)				Ground Water Extraction for all uses (ha.m)												Stage of Ground Water Extraction (%)				Categorization of Assessment Unit				Allocation of Ground Water Resource for Domestic Utilisation for projected year 2025 (ham)				Net Annual Ground Water Availability for Future Use (ham)			
								Domestic				Industrial				Irrigation																			
				C	NC	PQ	Total	C	NC	PQ	Total	C	NC	PQ	Total	C	NC	PQ	Total	C	NC	PQ	Total	C	NC	PQ	Total	C	NC	PQ	Total	C	NC	PQ	Total
1150	BM	BM-54	PUNE	0.0	40.4	0	40.4		8.9		8.9		0.0		0.0		19.3		19.3		69.7		69.7		safe		safe	0.0	8.9	0.0	8.9	0.0	12.3	0.0	12.3
1151	BM	BM-55	PUNE	0.0	14.7	0	14.7		0.5		0.5		0.0		0.0		0.0		0.0		3.5		3.5		safe		safe	0.0	0.5	0.0	0.5	0.0	14.2	0.0	14.2
1152	BM	BM-56	PUNE	0.0	6.2	0	6.2		0.3		0.3		0.0		0.0		0.0		0.0		4.4		4.4		safe		safe	0.0	0.3	0.0	0.3	0.0	5.9	0.0	5.9
1153	BM	BM-57	PUNE	0.0	820.4	0	820.4		12.5		12.5		9.3		9.3		22.4		22.4		5.4		5.4		safe		safe	0.0	12.5	0.0	12.5	0.0	776.3	0.0	776.3
1154	BM	BM-58	PUNE	0.0	376.7	0	376.7		31.4		31.4		0.6		0.6		79.9		79.9		29.7		29.7		safe		safe	0.0	31.4	0.0	31.4	0.0	264.9	0.0	264.9
1155	BM	BM-59	PUNE	219.5	989.3	0	1208.8	10.7	79.4		90.1	0.0	4.2		4.2	26.6	216.7		243.2	17.0	30.4		27.9	safe	safe		safe	10.8	79.4	0.0	90.1	182.2	689.0	0.0	871.2
1156	BM	BM-6	PUNE	575.6	1818.8	0	2394.4	8.0	68.4		76.4	0.0	2.4		2.4	165.0	818.2		983.2	30.1	48.9		44.4	safe	safe		safe	8.0	68.4	0.0	76.4	402.6	929.8	0.0	1332.4
1157	BM	BM-60	PUNE	178.7	326.8	0	505.4	4.1	10.1		14.2	0.0	0.3		0.3	10.0	34.6		44.7	7.9	13.8		11.7	safe	safe		safe	4.1	10.1	0.0	14.2	164.5	281.8	0.0	446.3
1158	BM	BM-61	PUNE	416.4	1198.8	0	1615.1	31.0	52.2		83.3	0.3	0.3		0.6	23.7	100.3		123.9	13.2	12.7		12.9	safe	safe		safe	31.0	52.3	0.0	83.3	361.4	1046.0	0.0	1407.3
1159	BM	BM-66	PUNE	52.2	1263.2	0	1315.4	4.4	36.0		40.3	0.3	0.6		0.9	10.4	33.9		44.2	28.8	5.6		6.5	safe	safe		safe	4.4	36.0	0.0	40.3	37.2	1192.7	0.0	1229.9
1160	BM	BM-67	PUNE	166.6	3485.3	0	3651.9	12.9	105.5		118.4	0.0	3.0		3.0	81.6	339.6		421.2	56.7	12.9		14.9	safe	safe		safe	12.9	105.6	0.0	118.4	72.1	3037.2	0.0	3109.3
1161	BM	BM-68	PUNE	84.3	192.7	0	277.0	8.7	21.5		30.1	0.0	1.2		1.2	28.1	34.7		62.9	43.7	29.8		34.0	safe	safe		safe	8.7	21.5	0.0	30.1	47.5	135.3	0.0	182.8
1162	BM	BM-69	PUNE	108.7	148.6	0	257.3	6.9	12.0		18.9	0.0	0.6		0.6	15.6	19.1		34.7	20.7	21.4		21.1	safe	safe		safe	6.9	12.0	0.0	18.9	86.2	116.9	0.0	203.1
1163	BM	BM-7	PUNE	673.5	1251.5	0	1925.0	18.3	75.7		94.0	4.5	3.0		7.5	129.6	419.0		548.6	22.6	39.8		33.8	safe	safe		safe	18.3	75.7	0.0	94.0	521.1	753.7	0.0	1274.9
1164	BM	BM-70	PUNE	5.6	4946.8	0	4952.4		25.0		25.0		0.0		0.0		126.5		126.5		3.1		3.1		safe		safe	0.0	25.0	0.0	25.0	5.6	4795.3	0.0	4800.9
1165	BM	BM-71	PUNE	0.0	373.5	0	373.5		40.3		40.3		0.0		0.0		207.3		207.3		66.3		66.3		safe		safe	0.0	40.3	0.0	40.3	0.0	126.0	0.0	126.0
1166	BM	BM-72	PUNE	355.6	585.7	0	941.4	8.3	47.4		55.8	0.0	3.3		3.3	20.2	93.9		114.0	8.0	24.7		18.4	safe	safe		safe	8.4	47.4	0.0	55.8	327.1	441.2	0.0	768.3
1167	BM	BM-73	PUNE	0.4	661.0	0	661.4		50.2		50.2		3.0		3.0		74.5		74.5		19.3		19.3		safe		safe	0.0	50.2	0.0	50.2	0.4	533.3	0.0	533.7
1168	BM	BM-74	PUNE	0.0	493.0	0	493.0		32.6		32.6		0.3		0.3		51.0		51.0		17.0		17.0		safe		safe	0.0	32.6	0.0	32.6	0.0	409.1	0.0	409.1
1169	BM	BM-75	PUNE	0.0	278.4	0	278.4		10.2		10.2		0.0		0.0		45.4		45.4		20.0		20.0		safe		safe	0.0	10.2	0.0	10.2	0.0	222.9	0.0	222.9
1170	BM	BM-76	PUNE	0.0	553.2	0	553.2		21.3		21.3		5.4		5.4		55.3		55.3		14.8		14.8		safe		safe	0.0	21.3	0.0	21.3	0.0	471.2	0.0	471.2
1171	BM	BM-77	PUNE	0.0	388.3	0	388.3		11.4		11.4		5.4		5.4		168.2		168.2		47.6		47.6		safe		safe	0.0	11.4	0.0	11.4	0.0	203.3	0.0	203.3
1172	BM	BM-78	PUNE	253.4	509.5	0	762.9	7.1	31.5		38.6	0.0	0.0		0.0	28.8	62.9		91.7	14.2	18.5		17.1	safe	safe		safe	7.2	31.5	0.0	38.6	217.5	415.1	0.0	632.6
1173	BM	BM-8	PUNE	40.7	298.3	0	339.0	2.1	24.6		26.7	0.0	0.0		0.0	3.0	126.0		129.0	12.5	50.5		45.9	safe	safe		safe	2.1	24.6	0.0	26.7	35.6	147.6	0.0	183.2
1174	BM	BM-81	PUNE	0.0	267.6	0	267.6		17.5		17.5		0.0		0.0		45.0		45.0		23.4		23.4		safe		safe	0.0	17.5	0.0	17.5	0.0	205.0	0.0	205.0

S.No	BASIN	WATER SHED	District	Annual Extractable Ground water Resource (ham)				Ground Water Extraction for all uses (ha.m)												Stage of Ground Water Extraction (%)				Categorization of Assessment Unit				Allocation of Ground Water Resource for Domestic Utilisation for projected year 2025 (ham)				Net Annual Ground Water Availability for Future Use (ham)			
								Domestic				Industrial				Irrigation																			
				C	NC	PQ	Total	C	NC	PQ	Total	C	NC	PQ	Total	C	NC	PQ	Total	C	NC	PQ	Total	C	NC	PQ	Total	C	NC	PQ	Total	C	NC	PQ	Total
1175	BM	BM-9	PUNE	0.0	1469.4	0	1469.4		35.6		35.6		0.0		0.0		121.3		121.3		10.7		10.7		safe		safe	0.0	35.7	0.0	35.7	0.0	1312.4	0.0	1312.4
1176	GV	GV-114	PUNE	20.1	519.5	0	539.7	1.9	17.5		19.4	0.0	4.8		4.8	2.6	39.8		42.4	22.3	11.9		12.3	safe	safe		safe	1.9	17.5	0.0	19.4	15.6	457.5	0.0	473.1
1177	WF	WF-38	PUNE	0.2	1274.0	0	1274.1		51.9		51.9		0.0		0.0		606.0		606.0		51.6		51.6		safe		safe	0.0	52.0	0.0	52.0	0.2	616.0	0.0	616.2
1178	WF	WF-41	PUNE	0.0	783.7	0	783.7		35.5		35.5		0.3		0.3		322.1		322.1		45.7		45.7		safe		safe	0.0	35.5	0.0	35.5	0.0	425.8	0.0	425.8
1179	WF	WF-45	PUNE	0.0	2403.9	0	2403.9		68.7		68.7		0.0		0.0		112.7		112.7		7.5		7.5		safe		safe	0.0	68.7	0.0	68.7	0.0	2222.5	0.0	2222.5
1180	WF	WF-47	PUNE	1468.8	2091.1	0	3559.9	18.7	102.9		121.6	0.0	0.0		0.0	32.3	221.8		254.1	3.5	15.5		10.6	safe	safe		safe	18.7	102.9	0.0	121.6	1417.9	1766.4	0.0	3184.2
1181	WF	WF-51	PUNE	0.0	555.2	0	555.2		26.2		26.2		0.0		0.0		216.7		216.7		43.8		43.8		safe		safe	0.0	26.2	0.0	26.2	0.0	312.3	0.0	312.3
1182	WF	WF-37	RAIGAD	0.0	927.0	0	927.0		20.6		20.6		0.0		0.0		372.2		372.2		42.4		42.4		safe		safe	0.0	20.6	0.0	20.6	0.0	534.2	0.0	534.2
1183	WF	WF-39	RAIGAD	89.6	1001.4	0	1091.0	4.3	40.8		45.2	0.0	0.0		0.0	18.7	142.6		161.4	25.7	18.3		18.9	safe	safe		safe	4.3	40.8	0.0	45.2	66.6	817.9	0.0	884.5
1184	WF	WF-40	RAIGAD	56.0	1168.2	0	1224.2	3.6	46.6		50.2	0.0	0.0		0.0	3.1	45.7		48.7	11.9	7.9		8.1	safe	safe		safe	3.6	46.6	0.0	50.2	49.4	1075.9	0.0	1125.3
1185	WF	WF-41	RAIGAD	190.9	1330.5	0	1521.4	12.6	35.4		48.0	0.0	0.0		0.0	18.9	78.0		96.9	16.5	8.5		9.5	safe	safe		safe	12.6	35.4	0.0	48.0	159.4	1217.1	0.0	1376.4
1186	WF	WF-42	RAIGAD	0.0	503.1	0	503.1		142.2		142.2		0.0		0.0		64.2		64.2		41.0		41.0		safe		safe	0.0	142.2	0.0	142.2	0.0	296.7	0.0	296.7
1187	WF	WF-43	RAIGAD	0.0	569.6	0	569.6		4.6		4.6		0.0		0.0		52.8		52.8		10.1		10.1		safe		safe	0.0	4.6	0.0	4.6	0.0	512.2	0.0	512.2
1188	WF	WF-44	RAIGAD	0.0	191.3	0	191.3		27.2		27.2		0.0		0.0		26.3		26.3		28.0		28.0		safe		safe	0.0	27.2	0.0	27.2	0.0	137.8	0.0	137.8
1189	WF	WF-45	RAIGAD	85.3	624.6	0	709.9	2.1	52.4		54.5	0.0	0.0		0.0	6.1	84.2		90.3	9.6	21.9		20.4	safe	safe		safe	2.1	52.4	0.0	54.5	77.1	488.1	0.0	565.2
1190	WF	WF-46	RAIGAD	0.0	32.9	0	32.9		2.9		2.9		0.0		0.0		13.6		13.6		50.1		50.1		safe		safe	0.0	2.9	0.0	2.9	0.0	16.4	0.0	16.4
1191	WF	WF-47	RAIGAD	119.7	1262.2	0	1381.9	5.0	74.0		79.0	0.0	0.0		0.0	6.6	110.9		117.4	9.7	14.6		14.2	safe	safe		safe	5.0	74.0	0.0	79.0	108.2	1077.3	0.0	1185.5
1192	WF	WF-48	RAIGAD	0.0	951.8	0	951.8		4.1		4.1		0.0		0.0		21.2		21.2		2.7		2.7		safe		safe	0.0	4.1	0.0	4.1	0.0	926.5	0.0	926.5
1193	WF	WF-49	RAIGAD	267.3	782.4	0	1049.7	2.4	35.8		38.1	0.0	0.0		0.0	17.6	32.2		49.7	7.5	8.7		8.4	safe	safe		safe	2.4	35.8	0.0	38.1	247.4	714.4	0.0	961.8
1194	WF	WF-50	RAIGAD	13.3	1632.7	0	1646.0		50.2		50.2		0.0		0.0		53.5		53.5		6.4		6.3		safe		safe	0.0	50.2	0.0	50.2	13.3	1529.0	0.0	1542.3
1195	WF	WF-51	RAIGAD	75.6	2284.1	0	2359.7	8.4	349.3		357.7	0.0	0.0		0.0	19.9	463.3		483.2	37.4	35.6		35.6	safe	safe		safe	8.4	349.3	0.0	357.7	47.3	1471.5	0.0	1518.8
1196	WF	WF-52	RAIGAD	536.3	1773.7	0	2310.0	5.2	95.5		100.7	0.0	0.0		0.0	20.2	80.0		100.2	4.7	9.9		8.7	safe	safe		safe	5.2	95.5	0.0	100.7	510.9	1598.2	0.0	2109.1
1197	WF	WF-53	RAIGAD	0.0	526.8	0	526.8		33.6		33.6		0.0		0.0		20.3		20.3		10.2		10.2		safe		safe	0.0	33.6	0.0	33.6	0.0	472.8	0.0	472.8
1198	WF	WF-54	RAIGAD	0.0	1420.9	0	1420.9		42.7		42.7		0.0		0.0		96.5		96.5		9.8		9.8		safe		safe	0.0	42.7	0.0	42.7	0.0	1281.7	0.0	1281.7
1199	WF	WF-54	RATNAGIRI	291.0	4646.5	0	4937.4	22.6	169.0		191.6	0.0	0.0		0.0	25.5	150.5		176.0	16.5	6.9		7.4	safe	safe		safe	22.6	169.0	0.0	191.6	242.8	4327.0	0.0	4569.8

S.No	BASIN	WATER SHED	District	Annual Extractable Ground water Resource (ham)				Ground Water Extraction for all uses (ha.m)												Stage of Ground Water Extraction (%)				Categorization of Assessment Unit				Allocation of Ground Water Resource for Domestic Utilisation for projected year 2025 (ham)				Net Annual Ground Water Availability for Future Use (ham)			
								Domestic				Industrial				Irrigation																			
				C	NC	PQ	Total	C	NC	PQ	Total	C	NC	PQ	Total	C	NC	PQ	Total	C	NC	PQ	Total	C	NC	PQ	Total	C	NC	PQ	Total	C	NC	PQ	Total
1200	WF	WF-55	RATNAGIRI	24.6	1801.9	0	1826.5	0.5	51.1		51.6	0.0	0.0		0.0	9.9	79.2		89.1	42.5	7.2		7.7	safe	safe		safe	0.5	51.1	0.0	51.6	14.1	1671.6	0.0	1685.7
1201	WF	WF-56	RATNAGIRI	0.0	81.2	0	81.2		10.6		10.6		0.0		0.0		13.5		13.5		29.6		29.6		safe		safe	0.0	10.6	0.0	10.6	0.0	57.2	0.0	57.2
1202	WF	WF-57	RATNAGIRI	129.0	2887.2	0	3016.2	20.0	204.4		224.4	0.0	0.0		0.0	33.8	282.6		316.3	41.7	16.9		17.9	safe	safe		safe	20.0	204.4	0.0	224.4	75.2	2400.2	0.0	2475.4
1203	WF	WF-58	RATNAGIRI	0.0	1705.6	0	1705.6		196.6		196.6		0.0		0.0		934.9		934.9		66.3		66.3		safe		safe	0.0	196.6	0.0	196.6	0.0	574.0	0.0	574.0
1204	WF	WF-59	RATNAGIRI	2823.0	3672.8	0	6495.8	4.9	142.5		147.5	0.0	0.0		0.0	32.6	237.3		269.9	1.3	10.3		6.4	safe	safe		safe	5.0	142.5	0.0	147.5	2785.4	3293.0	0.0	6078.4
1205	WF	WF-60	RATNAGIRI	0.0	271.8	0	271.8		15.4		15.4		0.0		0.0		8.2		8.2		8.7		8.7		safe		safe	0.0	15.4	0.0	15.4	0.0	248.2	0.0	248.2
1206	WF	WF-61	RATNAGIRI	125.4	2527.0	0	2652.3	9.0	146.8		155.8	0.0	0.0		0.0	73.3	955.7		1028.9	65.6	43.6		44.7	safe	safe		safe	9.0	146.8	0.0	155.8	43.1	1424.5	0.0	1467.6
1207	WF	WF-62	RATNAGIRI	473.7	2957.3	0	3431.0	1.6	170.3		171.9	0.0	0.0		0.0	28.6	78.4		107.0	6.4	8.4		8.1	safe	safe		safe	1.7	170.3	0.0	171.9	443.5	2708.7	0.0	3152.1
1208	WF	WF-63	RATNAGIRI	321.2	3330.7	0	3651.9	3.2	86.0		89.2	0.0	0.0		0.0	8.0	74.5		82.4	3.5	4.8		4.7	safe	safe		safe	3.2	86.0	0.0	89.2	310.0	3170.3	0.0	3480.2
1209	WF	WF-64	RATNAGIRI	245.1	1091.4	0	1336.5	5.5	66.5		72.0	0.0	0.0		0.0	1.3	468.7		470.0	2.8	49.0		40.5	safe	safe		safe	5.6	66.5	0.0	72.0	238.3	556.3	0.0	794.6
1210	WF	WF-65	RATNAGIRI	48.0	571.9	0	619.9	5.4	39.4		44.9	0.0	0.0		0.0	9.4	27.5		36.9	30.9	11.7		13.2	safe	safe		safe	5.5	39.4	0.0	44.9	33.2	505.0	0.0	538.1
1211	WF	WF-66	RATNAGIRI	0.0	771.3	0	771.3		24.6		24.6		0.0		0.0		18.5		18.5		5.6		5.6		safe		safe	0.0	24.6	0.0	24.6	0.0	728.1	0.0	728.1
1212	WF	WF-67	RATNAGIRI	72.0	686.8	0	758.8	5.0	56.1		61.2	0.0	0.0		0.0	8.8	79.2		88.0	19.2	19.7		19.7	safe	safe		safe	5.1	56.1	0.0	61.2	58.1	551.5	0.0	609.6
1213	WF	WF-68	RATNAGIRI	42.6	1230.1	0	1272.6	3.9	132.3		136.2	0.0	0.0		0.0	10.8	48.6		59.4	34.5	14.7		15.4	safe	safe		safe	3.9	132.3	0.0	136.2	27.9	1049.2	0.0	1077.0
1214	WF	WF-69	RATNAGIRI	0.0	984.3	0	984.3		34.1		34.1		0.0		0.0		108.5		108.5		14.5		14.5		safe		safe	0.0	34.1	0.0	34.1	0.0	841.8	0.0	841.8
1215	WF	WF-69 A	RATNAGIRI	0.0	239.1	0	239.1		17.7		17.7		0.0		0.0		20.2		20.2		15.8		15.8		safe		safe	0.0	17.7	0.0	17.7	0.0	201.2	0.0	201.2
1216	WF	WF-70	RATNAGIRI	0.0	1250.0	0	1250.0		50.5		50.5		0.0		0.0		134.0		134.0		14.8		14.8		safe		safe	0.0	50.5	0.0	50.5	0.0	1065.6	0.0	1065.6
1217	WF	WF-71	RATNAGIRI	141.7	1264.4	0	1406.1	2.6	51.8		54.4	0.0	0.0		0.0	25.3	385.0		410.3	19.7	34.5		33.0	safe	safe		safe	2.6	51.8	0.0	54.4	113.9	827.6	0.0	941.4
1218	WF	WF-72	RATNAGIRI	35.3	1501.7	0	1536.9	1.3	52.3		53.6	0.0	0.0		0.0	16.5	207.0		223.5	50.4	17.3		18.0	safe	safe		safe	1.3	52.3	0.0	53.6	17.5	1242.3	0.0	1259.8
1219	BM	BM-103	SANGLI	188.0	2486.1	0	2674.1	8.2	50.5		58.7	0.0	0.0		0.0	48.3	144.1		192.4	30.1	7.8		9.4	safe	safe		safe	8.2	50.5	0.0	58.7	131.5	2291.5	0.0	2423.0
1220	BM	BM-104	SANGLI	0.4	1642.5	0	1642.9		61.2		61.2		0.0		0.0		333.9		333.9		24.1		24.0		safe		safe	0.0	61.2	0.0	61.2	0.4	1247.4	0.0	1247.8
1221	BM	BM-105	SANGLI	478.5	4459.0	0	4937.5	4.9	95.4		100.3	0.0	0.0		0.0	11.7	161.8		173.6	3.5	5.8		5.5	safe	safe		safe	4.9	95.4	0.0	100.3	461.9	4201.8	0.0	4663.7
1222	BM	BM-112	SANGLI	0.0	1701.1	0	1701.1		56.9		56.9		0.0		0.0		498.0		498.0		32.6		32.6		safe		safe	0.0	56.9	0.0	56.9	0.0	1146.1	0.0	1146.1
1223	BM	BM-113	SANGLI	272.5	3518.9	0	3791.4	23.0	76.3		99.3	0.0	0.0		0.0	39.5	135.7		175.2	22.9	6.0		7.2	safe	safe		safe	23.0	76.3	0.0	99.3	210.0	3306.9	0.0	3516.9
1224	BM	BM-114	SANGLI	0.0	2586.0	0	2586.0		79.1		79.1		0.0		0.0		404.0		404.0		18.7		18.7		safe		safe	0.0	79.1	0.0	79.1	0.0	2102.9	0.0	2102.9

S.No	BASIN	WATER SHED	District	Annual Extractable Ground water Resource (ham)				Ground Water Extraction for all uses (ha.m)												Stage of Ground Water Extraction (%)				Categorization of Assessment Unit				Allocation of Ground Water Resource for Domestic Utilisation for projected year 2025 (ham)				Net Annual Ground Water Availability for Future Use (ham)			
								Domestic				Industrial				Irrigation																			
				C	NC	PQ	Total	C	NC	PQ	Total	C	NC	PQ	Total	C	NC	PQ	Total	C	NC	PQ	Total	C	NC	PQ	Total	C	NC	PQ	Total	C	NC	PQ	Total
1225	BM	BM-115	SANGLI	0.0	1388.3	0	1388.3		55.8		55.8		0.0		0.0		475.0		475.0		38.2		38.2		safe		safe	0.0	55.8	0.0	55.8	0.0	857.4	0.0	857.4
1226	BM	BM-116	SANGLI	57.8	1648.2	0	1706.1	1.7	34.9		36.6	0.0	0.0		0.0	26.4	89.7		116.0	48.5	7.6		8.9	safe	safe		safe	1.7	34.9	0.0	36.6	29.8	1523.6	0.0	1553.4
1227	BM	BM-117	SANGLI	0.0	1306.2	0	1306.2		29.4		29.4		0.0		0.0		291.0		291.0		24.5		24.5		safe		safe	0.0	29.4	0.0	29.4	0.0	985.8	0.0	985.8
1228	BM	BM-118	SANGLI	0.0	1086.9	0	1086.9		69.5		69.5		0.0		0.0		560.9		560.9		58.0		58.0		safe		safe	0.0	69.5	0.0	69.5	0.0	456.5	0.0	456.5
1229	BM	BM-119	SANGLI	30.2	1409.5	0	1439.7	6.5	50.4		56.9	0.0	0.0		0.0	16.7	97.5		114.3	77.0	10.5		11.9	semi_critical	safe		safe	6.5	50.4	0.0	56.9	7.0	1261.6	0.0	1268.5
1230	BM	BM-120	SANGLI	63.8	1847.3	0	1911.1	2.2	80.9		83.1	0.0	0.0		0.0	15.4	244.5		259.9	27.6	17.6		17.9	safe	safe		safe	2.2	80.9	0.0	83.1	46.2	1521.9	0.0	1568.1
1231	BM	BM-121	SANGLI	20.4	2685.6	0	2706.1	1.7	76.5		78.2	0.0	0.0		0.0	11.9	109.9		121.8	66.4	6.9		7.4	safe	safe		safe	1.7	76.5	0.0	78.2	6.9	2499.2	0.0	2506.1
1232	BM	BM-122	SANGLI	0.0	54.7	0	54.7		0.6		0.6		0.0		0.0		0.0		0.0		1.1		1.1		safe		safe	0.0	0.6	0.0	0.6	0.0	54.1	0.0	54.1
1233	BM	BM-123	SANGLI	124.8	6589.6	0	6714.5	6.3	42.7		49.0	0.0	0.0		0.0	14.7	297.9		312.5	16.8	5.2		5.4	safe	safe		safe	6.3	42.7	0.0	49.0	103.9	6249.0	0.0	6352.9
1234	KR	KR-22	SANGLI	351.8	618.0	0	969.8	9.6	28.1		37.8	0.0	0.0		0.0	19.8	76.5		96.2	8.3	16.9		13.8	safe	safe		safe	9.6	28.1	0.0	37.8	322.5	513.4	0.0	835.9
1235	KR	KR-24	SANGLI	309.0	3321.9	0	3630.9	15.8	133.2		149.0	0.0	0.0		0.0	35.1	291.7		326.9	16.5	12.8		13.1	safe	safe		safe	15.8	133.2	0.0	149.0	258.1	2896.9	0.0	3155.0
1236	KR	KR-25	SANGLI	160.4	4133.9	0	4294.4	13.2	122.6		135.8	0.0	0.0		0.0	19.8	381.3		401.0	20.5	12.2		12.5	safe	safe		safe	13.2	122.6	0.0	135.8	127.5	3630.1	0.0	3757.5
1237	KR	KR-28	SANGLI	0.0	1630.0	0	1630.0		70.4		70.4		0.0		0.0		240.3		240.3		19.1		19.1		safe		safe	0.0	70.4	0.0	70.4	0.0	1319.3	0.0	1319.3
1238	KR	KR-29	SANGLI	0.0	1960.1	0	1960.1		280.5		280.5		0.0		0.0		709.8		709.8		50.5		50.5		safe		safe	0.0	280.5	0.0	280.5	0.0	969.8	0.0	969.8
1239	KR	KR-32	SANGLI	0.0	2231.3	0	2231.3		165.6		165.6		0.0		0.0		616.7		616.7		35.1		35.1		safe		safe	0.0	165.6	0.0	165.6	0.0	1449.0	0.0	1449.0
1240	KR	KR-33	SANGLI	0.0	1380.8	0	1380.8		154.8		154.8		0.0		0.0		356.6		356.6		37.0		37.0		safe		safe	0.0	154.9	0.0	154.9	0.0	869.4	0.0	869.4
1241	KR	KR-34	SANGLI	0.0	1095.2	0	1095.2		105.9		105.9		0.0		0.0		283.8		283.8		35.6		35.6		safe		safe	0.0	105.9	0.0	105.9	0.0	705.5	0.0	705.5
1242	KR	KR-35	SANGLI	68.1	5415.6	0	5483.7	18.4	460.6		479.0	0.0	0.0		0.0	23.8	1360.0		1383.9	62.0	33.6		34.0	safe	safe		safe	18.4	460.6	0.0	479.0	25.9	3595.0	0.0	3620.9
1243	KR	KR-36	SANGLI	352.8	4149.4	0	4502.2	27.2	342.2		369.4	0.0	0.0		0.0	180.2	1756.6		1936.7	58.8	50.6		51.2	safe	safe		safe	27.2	342.2	0.0	369.4	145.4	2050.6	0.0	2196.0
1244	KR	KR-37	SANGLI	0.0	2471.5	0	2471.5		231.3		231.3		0.0		0.0		992.1		992.1		49.5		49.5		safe		safe	0.0	231.3	0.0	231.3	0.0	1248.2	0.0	1248.2
1245	KR	KR-38	SANGLI	111.2	1553.9	0	1665.1	10.8	326.5		337.3	0.0	0.0		0.0	57.1	691.0		748.1	61.0	65.5		65.2	safe	safe		safe	10.8	326.5	0.0	337.3	43.4	536.3	0.0	579.7
1246	KR	KR-39	SANGLI	26.7	622.5	0	649.1	5.8	8.1		13.9	0.0	0.0		0.0	5.1	41.7		46.8	40.9	8.0		9.3	safe	safe		safe	5.8	8.1	0.0	13.9	15.8	572.7	0.0	588.4
1247	KR	KR-40	SANGLI	0.0	112.9	0	112.9		5.1		5.1		0.0		0.0		16.2		16.2		18.9		18.9		safe		safe	0.0	5.1	0.0	5.1	0.0	91.6	0.0	91.6
1248	KR	KR-41	SANGLI	69.5	3848.8	0	3918.2	3.2	52.6		55.7	0.0	0.0		0.0	8.4	180.8		189.1	16.6	6.1		6.2	safe	safe		safe	3.2	52.6	0.0	55.7	57.9	3615.5	0.0	3673.4
1249	KR	KR-42	SANGLI	0.0	1814.2	0	1814.2		14.6		14.6		0.0		0.0		303.0		303.0		17.5		17.5		safe		safe	0.0	14.6	0.0	14.6	0.0	1496.6	0.0	1496.6

S.No	BASIN	WATER SHED	District	Annual Extractable Ground water Resource (ham)				Ground Water Extraction for all uses (ha.m)												Stage of Ground Water Extraction (%)				Categorization of Assessment Unit				Allocation of Ground Water Resource for Domestic Utilisation for projected year 2025 (ham)				Net Annual Ground Water Availability for Future Use (ham)			
								Domestic				Industrial				Irrigation																			
				C	NC	PQ	Total	C	NC	PQ	Total	C	NC	PQ	Total	C	NC	PQ	Total	C	NC	PQ	Total	C	NC	PQ	Total	C	NC	PQ	Total	C	NC	PQ	Total
1250	KR	KR-43	SANGLI	0.0	497.5	0	497.5		68.8		68.8		0.0		0.0		224.8		224.8		59.0		59.0		safe		safe	0.0	68.8	0.0	68.8	0.0	204.0	0.0	204.0
1251	KR	KR-44	SANGLI	0.0	150.2	0	150.2		12.8		12.8		0.0		0.0		52.0		52.0		43.1		43.1		safe		safe	0.0	12.8	0.0	12.8	0.0	85.5	0.0	85.5
1252	KR	KR-48	SANGLI	0.0	183.5	0	183.5		10.6		10.6		0.0		0.0		16.1		16.1		14.6		14.6		safe		safe	0.0	10.6	0.0	10.6	0.0	156.8	0.0	156.8
1253	KR	KR-50	SANGLI	6.7	1839.2	0	1846.0		71.5		71.5		0.0		0.0		191.2		191.2		14.3		14.2		safe		safe	0.0	71.5	0.0	71.5	6.7	1576.6	0.0	1583.3
1254	KR	KR-51	SANGLI	0.0	1052.3	0	1052.3		97.8		97.8		0.0		0.0		548.4		548.4		61.4		61.4		safe		safe	0.0	97.8	0.0	97.8	0.0	406.1	0.0	406.1
1255	KR	KR-52	SANGLI	1838.1	2202.1	0	4040.2	183.8	135.7		319.6	5.9	17.5		23.4	573.1	111.2		684.3	41.5	12.0		25.4	safe	safe		safe	183.9	135.7	0.0	319.6	1075.2	1937.6	0.0	3012.9
1256	KR	KR-53	SANGLI	733.3	1746.7	0	2480.0	118.5	71.6		190.2	0.2	4.3		4.6	156.2	665.8		822.0	37.5	42.5		41.0	safe	safe		safe	118.6	71.6	0.0	190.2	458.3	1005.0	0.0	1463.3
1257	BM	BM-100	SATARA	2072.1	2368.1	0	4440.2	24.9	129.3		154.2	0.0	8.1		8.1	446.8	1847.1		2294.0	22.8	83.8		55.3	safe	semi_critical		safe	24.9	129.3	0.0	154.2	1600.3	383.6	0.0	1983.9
1258	BM	BM-101	SATARA	97.1	1997.2	0	2094.4	6.5	152.9		159.3	0.0	0.0		0.0	12.6	730.2		742.8	19.7	44.2		43.1	safe	safe		safe	6.5	152.9	0.0	159.3	78.0	1114.2	0.0	1192.2
1259	BM	BM-102	SATARA	3097.8	0.0	0	3097.8	230.5			230.5	0.0			0.0	318.2			318.2	17.7			17.7	safe			safe	230.5	0.0	0.0	230.5	2549.0	0.0	0.0	2549.0
1260	BM	BM-103	SATARA	0.0	1120.4	0	1120.4		285.1		285.1		0.0		0.0		388.4		388.4		60.1		60.1		safe		safe	0.0	285.1	0.0	285.1	0.0	446.9	0.0	446.9
1261	BM	BM-104	SATARA	0.0	2500.2	0	2500.2		584.9		584.9		0.0		0.0		407.1		407.1		39.7		39.7		safe		safe	0.0	584.9	0.0	584.9	0.0	1508.1	0.0	1508.1
1262	BM	BM-81	SATARA	0.0	2757.5	0	2757.5		817.7		817.7		0.1		0.1		258.4		258.4		39.0		39.0		safe		safe	0.0	817.7	0.0	817.7	0.0	1681.4	0.0	1681.4
1263	BM	BM-82	SATARA	4259.8	749.5	0	5009.3	351.6	217.8		569.4	0.3	0.0		0.3	151.2	75.3		226.4	11.8	39.1		15.9	safe	safe		safe	351.7	217.8	0.0	569.4	3756.7	456.4	0.0	4213.1
1264	BM	BM-83	SATARA	501.2	58.0	0	559.1	125.1	30.6		155.7	0.0	0.0		0.0	52.8	10.1		62.9	35.5	70.2		39.1	safe	semi_critical		safe	125.1	30.6	0.0	155.7	323.2	17.3	0.0	340.5
1265	BM	BM-84	SATARA	460.4	2033.6	0	2494.0	46.8	89.6		136.5	0.0	0.0		0.0	90.6	324.5		415.2	29.9	20.4		22.1	safe	safe		safe	46.8	89.6	0.0	136.5	322.9	1619.5	0.0	1942.4
1266	BM	BM-85	SATARA	1926.5	913.4	0	2840.0	297.5	39.3		336.7	11.8	0.5		12.2	173.9	52.0		225.8	25.1	10.0		20.2	safe	safe		safe	297.5	39.3	0.0	336.8	1443.5	821.7	0.0	2265.2
1267	BM	BM-86	SATARA	0.0	833.1	0	833.1		386.8		386.8		0.1		0.1		145.0		145.0		63.8		63.8		safe		safe	0.0	386.8	0.0	386.8	0.0	301.2	0.0	301.2
1268	BM	BM-87	SATARA	0.0	3228.6	0	3228.6		324.9		324.9		1.1		1.1		752.2		752.2		33.4		33.4		safe		safe	0.0	324.9	0.0	324.9	0.0	2150.4	0.0	2150.4
1269	BM	BM-88	SATARA	1627.9	1578.0	0	3205.9	402.4	180.2		582.7	6.2	5.6		11.8	372.8	175.8		548.5	48.0	22.9		35.7	safe	safe		safe	402.5	180.3	0.0	582.7	846.5	1216.3	0.0	2062.9
1270	BM	BM-89	SATARA	268.3	286.2	0	554.5	16.9	3.7		20.7	0.0	0.0		0.0	14.9	9.9		24.8	11.9	4.8		8.2	safe	safe		safe	16.9	3.7	0.0	20.7	236.5	272.5	0.0	509.0
1271	KR	KR-1	SATARA	3342.9	708.0	0	4051.0	281.2	108.7		389.9	0.3	2.5		2.8	1180.9	370.1		1551.0	43.7	68.0		48.0	safe	safe		safe	281.2	108.8	0.0	389.9	1880.6	226.7	0.0	2107.3
1272	KR	KR-10	SATARA	470.7	803.4	0	1274.2	8.3	95.8		104.1	0.0	0.0		0.0	143.0	431.0		574.0	32.1	65.6		53.2	safe	safe		safe	8.3	95.8	0.0	104.1	319.5	276.6	0.0	596.1
1273	KR	KR-11	SATARA	695.6	56.0	0	751.6	69.3	0.0		69.3	1.2	0.0		1.2	144.7	0.0		144.7	30.9	0.0		28.6	safe	safe		safe	69.3	0.0	0.0	69.3	480.4	56.0	0.0	536.4
1274	KR	KR-12	SATARA	557.7	710.1	0	1267.8	36.7	68.1		104.8	0.0	3.7		3.7	173.7	376.5		550.1	37.7	63.1		51.9	safe	safe		safe	36.7	68.1	0.0	104.8	347.4	261.9	0.0	609.3

S.No	BASIN	WATER SHED	District	Annual Extractable Ground water Resource (ham)				Ground Water Extraction for all uses (ha.m)												Stage of Ground Water Extraction (%)				Categorization of Assessment Unit				Allocation of Ground Water Resource for Domestic Utilisation for projected year 2025 (ham)				Net Annual Ground Water Availability for Future Use (ham)			
								Domestic				Industrial				Irrigation																			
				C	NC	PQ	Total	C	NC	PQ	Total	C	NC	PQ	Total	C	NC	PQ	Total	C	NC	PQ	Total	C	NC	PQ	Total	C	NC	PQ	Total	C	NC	PQ	Total
1275	KR	KR-13	SATARA	325.6	1982.7	0	2308.3	160.9	86.4		247.3	0.7	2.6		3.3	73.4	1110.8		1184.2	72.2	60.5		62.2	semi_critical	safe		safe	160.9	86.4	0.0	247.3	90.6	783.0	0.0	873.6
1276	KR	KR-14	SATARA	2314.8	771.6	0	3086.4	112.5	33.8		146.4	2.6	0.1		2.7	173.3	250.6		423.9	12.5	36.9		18.6	safe	safe		safe	112.5	33.8	0.0	146.4	2026.4	487.1	0.0	2513.5
1277	KR	KR-15	SATARA	1708.2	0.0	0	1708.2	174.2			174.2	0.0			0.0	280.1			280.1	26.6			26.6	safe			safe	174.2	0.0	0.0	174.2	1253.9	0.0	0.0	1253.9
1278	KR	KR-16	SATARA	0.0	2309.6	0	2309.6		363.9		363.9		1.4		1.4		368.1		368.1		31.8		31.8		safe		safe	0.0	363.9	0.0	363.9	0.0	1576.1	0.0	1576.1
1279	KR	KR-17	SATARA	514.6	3648.6	0	4163.2	101.1	445.1		546.2	0.0	0.0		0.0	202.9	1728.5		1931.4	59.1	59.6		59.5	safe	safe		safe	101.1	445.1	0.0	546.2	210.6	1475.0	0.0	1685.6
1280	KR	KR-18	SATARA	0.0	4736.5	0	4736.5		485.8		485.8		0.3		0.3		386.0		386.0		18.4		18.4		safe		safe	0.0	485.8	0.0	485.8	0.0	3864.4	0.0	3864.4
1281	KR	KR-19	SATARA	272.7	615.2	0	887.9	18.0	43.6		61.6	0.6	0.0		0.6	103.4	111.5		214.9	44.7	25.2		31.2	safe	safe		safe	18.0	43.6	0.0	61.6	150.7	460.1	0.0	610.8
1282	KR	KR-2	SATARA	106.6	256.0	0	362.6	8.5	26.5		34.9	0.0	0.0		0.0	25.5	122.1		147.6	31.9	58.0		50.3	safe	safe		safe	8.5	26.5	0.0	35.0	72.6	107.4	0.0	180.0
1283	KR	KR-20	SATARA	317.2	979.9	0	1297.1	41.2	108.7		149.9	0.0	0.0		0.0	36.8	150.6		187.4	24.6	26.5		26.0	safe	safe		safe	41.2	108.8	0.0	149.9	239.2	720.6	0.0	959.8
1284	KR	KR-21	SATARA	0.0	2022.8	0	2022.8		196.8		196.8		0.1		0.1		168.5		168.5		18.1		18.1		safe		safe	0.0	196.8	0.0	196.8	0.0	1657.4	0.0	1657.4
1285	KR	KR-22	SATARA	136.9	806.9	0	943.9	69.6	322.9		392.6	0.0	0.0		0.0	18.4	241.8		260.2	64.3	70.0		69.2	safe	safe		safe	69.6	322.9	0.0	392.6	48.9	242.2	0.0	291.1
1286	KR	KR-23	SATARA	0.0	1486.9	0	1486.9		121.3		121.3		0.0		0.0		60.6		60.6		12.2		12.2		safe		safe	0.0	121.3	0.0	121.3	0.0	1305.0	0.0	1305.0
1287	KR	KR-24	SATARA	0.0	1039.5	0	1039.5		28.8		28.8		0.0		0.0		12.2		12.2		3.9		3.9		safe		safe	0.0	28.8	0.0	28.8	0.0	998.5	0.0	998.5
1288	KR	KR-25	SATARA	435.5	204.1	0	639.6	166.1	55.1		221.2	0.0	0.0		0.0	55.4	36.3		91.6	50.9	44.8		48.9	safe	safe		safe	166.1	55.1	0.0	221.2	214.0	112.8	0.0	326.8
1289	KR	KR-26	SATARA	0.0	634.0	0	634.0		111.9		111.9		0.0		0.0		95.5		95.5		32.7		32.7		safe		safe	0.0	111.9	0.0	111.9	0.0	426.6	0.0	426.6
1290	KR	KR-27	SATARA	0.0	1325.0	0	1325.0		244.0		244.0		0.0		0.0		238.2		238.2		36.4		36.4		safe		safe	0.0	244.0	0.0	244.0	0.0	842.8	0.0	842.8
1291	KR	KR-28	SATARA	0.0	616.2	0	616.2		264.0		264.0		0.0		0.0		158.8		158.8		68.6		68.6		safe		safe	0.0	264.0	0.0	264.0	0.0	193.4	0.0	193.4
1292	KR	KR-3	SATARA	2438.0	1159.3	0	3597.3	363.7	188.3		552.0	0.0	0.0		0.0	96.6	197.8		294.4	18.9	33.3		23.5	safe	safe		safe	363.7	188.3	0.0	552.0	1977.6	773.2	0.0	2750.8
1293	KR	KR-30	SATARA	1576.9	1615.7	0	3192.6	268.0	317.4		585.4	0.0	0.0		0.0	207.5	106.5		314.0	30.2	26.2		28.2	safe	safe		safe	268.0	317.4	0.0	585.4	1101.4	1191.9	0.0	2293.3
1294	KR	KR-31	SATARA	0.0	843.5	0	843.5		104.4		104.4		0.0		0.0		40.9		40.9		17.2		17.2		safe		safe	0.0	104.4	0.0	104.4	0.0	698.2	0.0	698.2
1295	KR	KR-32	SATARA	2038.7	2400.4	0	4439.1	204.2	241.1		445.3	0.0	0.0		0.0	165.9	361.2		527.2	18.2	25.1		21.9	safe	safe		safe	204.2	241.1	0.0	445.3	1668.5	1798.1	0.0	3466.6
1296	KR	KR-4	SATARA	0.0	1593.8	0	1593.8		260.7		260.7		0.0		0.0		110.2		110.2		23.3		23.3		safe		safe	0.0	260.7	0.0	260.7	0.0	1222.9	0.0	1222.9
1297	KR	KR-42	SATARA	0.0	2984.6	0	2984.6		661.1		661.1		0.1		0.1		615.5		615.5		42.8		42.8		safe		safe	0.0	661.1	0.0	661.1	0.0	1707.9	0.0	1707.9
1298	KR	KR-43	SATARA	0.0	490.7	0	490.7		193.2		193.2		0.0		0.0		94.1		94.1		58.5		58.5		safe		safe	0.0	193.2	0.0	193.2	0.0	203.4	0.0	203.4
1299	KR	KR-44	SATARA	794.3	724.6	0	1518.9	316.2	93.8		410.0	0.0	0.0		0.0	97.7	65.6		163.3	52.1	22.0		37.7	safe	safe		safe	316.2	93.8	0.0	410.0	380.5	565.1	0.0	945.5

S.No	BASIN	WATERSHED	District	Annual Extractable Ground water Resource (ham)				Ground Water Extraction for all uses (ha.m)												Stage of Ground Water Extraction (%)				Categorization of Assessment Unit				Allocation of Ground Water Resource for Domestic Utilisation for projected year 2025 (ham)				Net Annual Ground Water Availability for Future Use (ham)			
								Domestic				Industrial				Irrigation																			
				C	NC	PQ	Total	C	NC	PQ	Total	C	NC	PQ	Total	C	NC	PQ	Total	C	NC	PQ	Total	C	NC	PQ	Total	C	NC	PQ	Total	C	NC	PQ	Total
1300	KR	KR-5	SATARA	0.0	565.9	0	565.9		167.8		167.8		0.0		0.0		141.4		141.4		54.6		54.6		safe		safe	0.0	167.8	0.0	167.8	0.0	256.8	0.0	256.8
1301	KR	KR-6	SATARA	0.0	2502.3	0	2502.3		261.0		261.0		0.0		0.0		190.5		190.5		18.0		18.0		safe		safe	0.0	261.0	0.0	261.0	0.0	2050.8	0.0	2050.8
1302	KR	KR-7	SATARA	0.0	694.3	0	694.3		230.8		230.8		0.3		0.3		251.7		251.7		69.5		69.5		safe		safe	0.0	230.8	0.0	230.8	0.0	211.5	0.0	211.5
1303	KR	KR-8	SATARA	0.0	371.9	0	371.9		119.8		119.8		0.0		0.0		70.4		70.4		51.2		51.2		safe		safe	0.0	119.8	0.0	119.8	0.0	181.6	0.0	181.6
1304	KR	KR-9	SATARA	0.0	238.1	0	238.1		96.1		96.1		0.1		0.1		65.5		65.5		67.9		67.9		safe		safe	0.0	96.1	0.0	96.1	0.0	76.4	0.0	76.4
1305	WF	WF-(A)	SATARA	412.0	1609.0	0	2021.0	158.0	240.5		398.5	0.8	0.6		1.4	96.4	154.7		251.1	61.9	24.6		32.2	safe	safe		safe	158.0	240.5	0.0	398.5	156.8	1213.2	0.0	1370.0
1306	WF	WF-(B)	SATARA	0.0	81.9	0	81.9		6.8		6.8		0.0		0.0		13.0		13.0		24.1		24.1		safe		safe	0.0	6.8	0.0	6.8	0.0	62.1	0.0	62.1
1307	WF	WF-72	SINDHUDURG	0.0	5125.0	0	5125.0		807.7		807.7		5.9		5.9		1807.4		1807.4		51.1		51.1		safe		safe	0.0	807.7	0.0	807.7	0.0	2504.0	0.0	2504.0
1308	WF	WF-73	SINDHUDURG	32.0	674.4	0	706.4	2.4	15.8		18.2	0.0	0.0		0.0	15.0	85.6		100.5	54.3	15.0		16.8	safe	safe		safe	2.4	15.8	0.0	18.2	14.6	573.1	0.0	587.7
1309	WF	WF-74	SINDHUDURG	161.8	1121.5	0	1283.3	56.0	220.6		276.6	0.0	0.0		0.0	51.8	280.6		332.4	66.7	44.7		47.5	safe	safe		safe	56.0	220.6	0.0	276.6	54.0	620.4	0.0	674.3
1310	WF	WF-75	SINDHUDURG	0.0	1124.4	0	1124.4		58.9		58.9		0.0		0.0		409.8		409.8		41.7		41.7		safe		safe	0.0	58.9	0.0	58.9	0.0	655.7	0.0	655.7
1311	WF	WF-76	SINDHUDURG	0.0	726.5	0	726.5		42.1		42.1		0.0		0.0		82.4		82.4		17.1		17.1		safe		safe	0.0	42.1	0.0	42.1	0.0	602.1	0.0	602.1
1312	WF	WF-77	SINDHUDURG	820.4	708.8	0	1529.1	45.3	52.1		97.4	0.0	0.2		0.2	250.7	351.6		602.3	36.1	57.0		45.8	safe	safe		safe	45.3	52.1	0.0	97.5	524.4	304.8	0.0	829.2
1313	WF	WF-78	SINDHUDURG	518.1	2018.3	0	2536.4	16.5	134.5		151.0	0.0	0.4		0.4	79.8	707.9		787.8	18.6	41.8		37.0	safe	safe		safe	16.5	134.5	0.0	151.0	421.8	1175.5	0.0	1597.3
1314	WF	WF-79	SINDHUDURG	1062.7	562.8	0	1625.5	20.1	27.1		47.2	0.5	1.7		2.3	117.8	130.7		248.4	13.0	28.3		18.3	safe	safe		safe	20.1	27.1	0.0	47.2	924.3	403.2	0.0	1327.6
1315	WF	WF-79 A	SINDHUDURG	1569.1	477.8	0	2047.0	123.8	37.2		161.0	0.0	1.3		1.3	555.8	281.7		837.5	43.3	67.0		48.8	safe	safe		safe	123.8	37.2	0.0	161.0	889.5	157.6	0.0	1047.1
1316	WF	WF-80	SINDHUDURG	1703.7	847.7	0	2551.5	129.1	40.4		169.5	0.0	0.0		0.0	372.4	172.6		545.0	29.4	25.1		28.0	safe	safe		safe	129.1	40.4	0.0	169.5	1202.3	634.7	0.0	1837.0
1317	WF	WF-81	SINDHUDURG	73.3	450.8	0	524.1	1.9	113.7		115.6	0.0	0.8		0.8	46.0	203.5		249.5	65.3	70.5		69.8	safe	semi_critical		safe	1.9	113.7	0.0	115.6	25.4	132.8	0.0	158.2
1318	BM	BM-105	SOLAPUR	438.5	1423.4	0	1861.9	17.1	115.2		132.3	0.0	1.4		1.4	196.2	803.3		999.5	48.7	64.6		60.9	safe	safe		safe	17.1	115.2	0.0	132.3	225.2	503.6	0.0	728.7
1319	BM	BM-106	SOLAPUR	1245.7	3037.1	0	4282.8	53.6	277.1		330.7	0.0	30.2		30.3	311.3	1686.5		1997.8	29.3	65.7		55.1	safe	safe		safe	53.6	277.1	0.0	330.7	880.8	1043.2	0.0	1924.0
1320	BM	BM-107	SOLAPUR	32708.6	5538.5	0	38247.1	88.7	200.0		288.7	0.0	36.9		36.9	54.1	3151.6		3205.7	0.4	61.2		9.2	safe	safe		safe	88.8	200.0	0.0	288.7	32565.8	2150.1	0.0	34715.9
1321	BM	BM-108	SOLAPUR	3874.9	1276.4	0	5151.3	65.8	91.5		157.3	1.0	1.2		2.2	238.8	330.6		569.4	7.9	33.2		14.2	safe	safe		safe	65.8	91.5	0.0	157.3	3569.3	853.0	0.0	4422.4
1322	BM	BM-109	SOLAPUR	1511.7	1352.6	0	2864.3	70.1	115.6		185.7	5.1	0.8		5.9	492.9	197.6		690.5	37.6	23.2		30.8	safe	safe		safe	70.1	115.6	0.0	185.7	943.5	1038.6	0.0	1982.2
1323	BM	BM-110	SOLAPUR	363.8	1215.6	0	1579.3	52.0	148.4		200.5	2.1	0.3		2.4	87.1	209.9		297.0	38.8	29.5		31.6	safe	safe		safe	52.0	148.5	0.0	200.5	222.6	856.9	0.0	1079.5
1324	BM	BM-111	SOLAPUR	391.4	1348.9	0	1740.3	21.1	116.6		137.7	0.0	14.2		14.2	172.8	856.6		1029.3	49.5	73.2		67.9	safe	semi_critical		safe	21.1	116.6	0.0	137.8	197.5	361.6	0.0	559.1

S.No	BASIN	WATER SHED	District	Annual Extractable Ground water Resource (ham)				Ground Water Extraction for all uses (ha.m)												Stage of Ground Water Extraction (%)				Categorization of Assessment Unit				Allocation of Ground Water Resource for Domestic Utilisation for projected year 2025 (ham)				Net Annual Ground Water Availability for Future Use (ham)			
								Domestic				Industrial				Irrigation																			
				C	NC	PQ	Total	C	NC	PQ	Total	C	NC	PQ	Total	C	NC	PQ	Total	C	NC	PQ	Total	C	NC	PQ	Total	C	NC	PQ	Total	C	NC	PQ	Total
1325	BM	BM-112	SOLAPUR	524.5	479.4	0	1003.9	33.4	4.5		37.9	0.6	0.0		0.6	155.5	31.6		187.2	36.1	7.5		22.5	safe	safe		safe	33.4	4.5	0.0	37.9	335.0	443.2	0.0	778.3
1326	BM	BM-115	SOLAPUR	7.4	1986.0	0	1993.4		174.5		174.5		8.6		8.6		880.2		880.2		53.5		53.3		safe		safe	0.0	174.5	0.0	174.5	7.4	922.7	0.0	930.1
1327	BM	BM-116	SOLAPUR	193.7	1100.5	0	1294.2	23.8	68.1		91.9	1.0	4.9		5.8	54.7	312.7		367.3	41.0	35.0		35.9	safe	safe		safe	23.8	68.1	0.0	91.9	114.2	714.9	0.0	829.1
1328	BM	BM-117	SOLAPUR	1.9	740.0	0	741.8		28.1		28.1		0.3		0.3		78.7		78.7		14.5		14.4		safe		safe	0.0	28.1	0.0	28.1	1.9	632.9	0.0	634.8
1329	BM	BM-119	SOLAPUR	1317.5	1746.8	0	3064.3	106.6	14.8		121.5	0.0	0.0		0.0	80.3	277.1		357.4	14.2	16.7		15.6	safe	safe		safe	106.7	14.8	0.0	121.5	1130.6	1454.9	0.0	2585.5
1330	BM	BM-129	SOLAPUR	0.0	449.3	0	449.3		21.9		21.9		1.4		1.4		32.3		32.3		12.4		12.4		safe		safe	0.0	21.9	0.0	21.9	0.0	393.7	0.0	393.7
1331	BM	BM-130	SOLAPUR	0.0	17.2	0	17.2		0.8		0.8		0.0		0.0		8.9		8.9		56.5		56.5		safe		safe	0.0	0.8	0.0	0.8	0.0	7.5	0.0	7.5
1332	BM	BM-131	SOLAPUR	70.9	837.3	0	908.2	18.1	14.1		32.2	0.0	2.2		2.2	22.8	52.2		75.0	57.7	8.2		12.0	safe	safe		safe	18.1	14.1	0.0	32.2	30.0	768.9	0.0	798.8
1333	BM	BM-132	SOLAPUR	0.0	2086.7	0	2086.7		42.5		42.5		0.0		0.0		234.3		234.3		13.3		13.3		safe		safe	0.0	42.5	0.0	42.5	0.0	1809.9	0.0	1809.9
1334	BM	BM-133	SOLAPUR	1565.5	1274.5	0	2840.0	35.5	27.8		63.3	5.9	1.4		7.4	115.0	192.8		307.8	10.0	17.4		13.3	safe	safe		safe	35.5	27.8	0.0	63.3	1409.0	1052.4	0.0	2461.5
1335	BM	BM-134	SOLAPUR	2657.1	1179.5	0	3836.6	292.7	44.4		337.0	10.0	3.8		13.8	185.4	90.4		275.8	18.4	11.7		16.3	safe	safe		safe	292.7	44.4	0.0	337.0	2169.0	1041.0	0.0	3210.0
1336	BM	BM-135	SOLAPUR	0.0	638.5	0	638.5		19.7		19.7		0.0		0.0		258.1		258.1		43.5		43.5		safe		safe	0.0	19.7	0.0	19.7	0.0	360.7	0.0	360.7
1337	BM	BM-136	SOLAPUR	1.9	965.5	0	967.3		44.4		44.4		0.0		0.0		420.3		420.3		48.1		48.0		safe		safe	0.0	44.4	0.0	44.4	1.9	500.8	0.0	502.7
1338	BM	BM-137	SOLAPUR	0.0	1924.2	0	1924.2		212.5		212.5		0.0		0.0		742.1		742.1		49.6		49.6		safe		safe	0.0	212.5	0.0	212.5	0.0	969.5	0.0	969.5
1339	BM	BM-138	SOLAPUR	0.0	44.0	0	44.0		6.6		6.6		0.0		0.0		10.4		10.4		38.7		38.7		safe		safe	0.0	6.6	0.0	6.6	0.0	27.0	0.0	27.0
1340	BM	BM-139	SOLAPUR	0.0	1493.8	0	1493.8		46.6		46.6		1.4		1.4		52.9		52.9		6.8		6.8		safe		safe	0.0	46.6	0.0	46.6	0.0	1392.8	0.0	1392.8
1341	BM	BM-47	SOLAPUR	0.0	15.6	0	15.6		2.6		2.6		0.0		0.0		5.3		5.3		51.3		51.3		safe		safe	0.0	2.6	0.0	2.6	0.0	7.6	0.0	7.6
1342	BM	BM-62	SOLAPUR	0.0	286.9	0	286.9		20.4		20.4		0.0		0.0		10.9		10.9		10.9		10.9		safe		safe	0.0	20.4	0.0	20.4	0.0	255.6	0.0	255.6
1343	BM	BM-63	SOLAPUR	0.0	2409.8	0	2409.8		55.6		55.6		0.0		0.0		370.7		370.7		17.7		17.7		safe		safe	0.0	55.6	0.0	55.6	0.0	1983.5	0.0	1983.5
1344	BM	BM-64	SOLAPUR	0.0	2710.9	0	2710.9		60.8		60.8		0.0		0.0		844.0		844.0		33.4		33.4		safe		safe	0.0	60.8	0.0	60.8	0.0	1806.0	0.0	1806.0
1345	BM	BM-65	SOLAPUR	0.0	731.6	0	731.6		34.5		34.5		0.0		0.0		202.1		202.1		32.3		32.3		safe		safe	0.0	34.5	0.0	34.5	0.0	495.0	0.0	495.0
1346	BM	BM-79	SOLAPUR	0.0	77.0	0	77.0		8.1		8.1		0.0		0.0		36.1		36.1		57.3		57.3		safe		safe	0.0	8.1	0.0	8.1	0.0	32.9	0.0	32.9
1347	BM	BM-80	SOLAPUR	0.0	175.2	0	175.2		7.5		7.5		0.0		0.0		34.5		34.5		24.0		24.0		safe		safe	0.0	7.5	0.0	7.5	0.0	133.1	0.0	133.1
1348	BM	BM-87	SOLAPUR	0.2	3978.9	0	3979.2		145.9		145.9		0.2		0.2		1023.9		1023.9		29.4		29.4		safe		safe	0.0	145.9	0.0	145.9	0.2	2809.0	0.0	2809.2
1349	BM	BM-88	SOLAPUR	243.5	964.7	0	1208.3	28.2	75.2		103.4	0.0	0.0		0.0	161.1	508.1		669.2	77.7	60.5		63.9	semi_critical	safe		safe	28.2	75.2	0.0	103.4	54.3	381.4	0.0	435.7

S.No	BASIN	WATER SHED	District	Annual Extractable Ground water Resource (ham)				Ground Water Extraction for all uses (ha.m)												Stage of Ground Water Extraction (%)				Categorization of Assessment Unit				Allocation of Ground Water Resource for Domestic Utilisation for projected year 2025 (ham)				Net Annual Ground Water Availability for Future Use (ham)			
								Domestic				Industrial				Irrigation																			
				C	NC	PQ	Total	C	NC	PQ	Total	C	NC	PQ	Total	C	NC	PQ	Total	C	NC	PQ	Total	C	NC	PQ	Total	C	NC	PQ	Total	C	NC	PQ	Total
1350	BM	BM-89	SOLAPUR	0.0	1215.0	0	1215.0		62.9		62.9		0.0		0.0		428.9		428.9		40.5		40.5		safe		safe	0.0	62.9	0.0	62.9	0.0	723.3	0.0	723.3
1351	BM	BM-90	SOLAPUR	911.5	769.6	0	1681.0	92.1	90.2		182.2	2.6	0.0		2.6	320.3	475.9		796.2	45.5	73.5		58.4	safe	semi_critical		safe	92.1	90.2	0.0	182.2	496.4	203.6	0.0	700.0
1352	BM	BM-91	SOLAPUR	2497.7	0.0	0	2497.7	123.5			123.5	0.7			0.7	357.6			357.6	19.3			19.3	safe			safe	123.5	0.0	0.0	123.5	2016.0	0.0	0.0	2016.0
1353	BM	BM-92	SOLAPUR	0.0	1071.4	0	1071.4		28.1		28.1		0.0		0.0		155.8		155.8		17.2		17.2		safe		safe	0.0	28.1	0.0	28.1	0.0	887.5	0.0	887.5
1354	BM	BM-93	SOLAPUR	5742.1	0.0	0	5742.1	644.7			644.7	7.1			7.1	804.5			804.5	25.4			25.4	safe			safe	644.7	0.0	0.0	644.7	4285.9	0.0	0.0	4285.9
1355	BM	BM-94	SOLAPUR	0.0	2467.7	0	2467.7		127.6		127.6		0.0		0.0		669.4		669.4		32.3		32.3		safe		safe	0.0	127.6	0.0	127.6	0.0	1670.8	0.0	1670.8
1356	BM	BM-95	SOLAPUR	1182.2	476.8	0	1658.9	113.4	130.9		244.4	0.0	43.2		43.2	586.2	235.4		821.6	59.2	85.9		66.9	safe	semi_critical		safe	113.4	130.9	0.0	244.4	482.5	67.2	0.0	549.7
1357	BM	BM-96	SOLAPUR	0.0	193.8	0	193.8		48.3		48.3		0.7		0.7		118.8		118.8		86.6		86.6		semi_critical		semi_critical	0.0	48.3	0.0	48.3	0.0	26.0	0.0	26.0
1358	BM	BM-97	SOLAPUR	2199.7	0.0	0	2199.7	90.6			90.6	0.0			0.0	563.0			563.0	29.7			29.7	safe			safe	90.6	0.0	0.0	90.6	1546.2	0.0	0.0	1546.2
1359	BM	BM-98	SOLAPUR	1211.5	0.0	0	1211.5	268.5			268.5	6.4			6.4	351.2			351.2	51.7			51.7	safe			safe	268.5	0.0	0.0	268.5	585.5	0.0	0.0	585.5
1360	BM	BM-99	SOLAPUR	0.0	155.5	0	155.5		10.8		10.8		0.0		0.0		69.9		69.9		51.9		51.9		safe		safe	0.0	10.8	0.0	10.8	0.0	74.8	0.0	74.8
1361	SA	SA-15	SOLAPUR	0.0	450.0	0	450.0		21.8		21.8		0.0		0.0		209.1		209.1		51.3		51.3		safe		safe	0.0	21.8	0.0	21.8	0.0	219.2	0.0	219.2
1362	SA	SA-16	SOLAPUR	0.0	875.5	0	875.5		17.6		17.6		0.0		0.0		312.2		312.2		37.7		37.7		safe		safe	0.0	17.6	0.0	17.6	0.0	545.8	0.0	545.8
1363	SA	SA-20	SOLAPUR	0.0	1465.5	0	1465.5		33.6		33.6		0.0		0.0		294.9		294.9		22.4		22.4		safe		safe	0.0	33.6	0.0	33.6	0.0	1136.9	0.0	1136.9
1364	SA	SA-21	SOLAPUR	696.4	984.6	0	1681.0	89.2	228.0		317.2	0.0	0.8		0.8	388.6	674.1		1062.7	68.6	91.7		82.1	safe	critical		semi_critical	89.2	228.0	0.0	317.2	218.6	81.7	0.0	300.3
1365	SA	SA-22	SOLAPUR	123.3	1140.7	0	1264.0	6.8	78.7		85.5	0.0	0.0		0.0	78.3	639.4		717.7	69.0	63.0		63.5	safe	safe		safe	6.8	78.8	0.0	85.5	38.3	422.5	0.0	460.8
1366	SA	SA-26	SOLAPUR	546.4	854.4	0	1400.7	110.2	236.2		346.4	0.8	0.9		1.7	217.6	379.8		597.4	60.1	72.2		67.5	safe	semi_critical		safe	110.2	236.2	0.0	346.4	217.7	237.6	0.0	455.3
1367	SA	SA-27	SOLAPUR	245.1	1721.6	0	1966.7	20.3	101.3		121.5	0.0	0.0		0.0	62.2	985.7		1047.9	33.6	63.1		59.5	safe	safe		safe	20.3	101.3	0.0	121.6	162.7	634.6	0.0	797.3
1368	SA	SA-28	SOLAPUR	605.3	4730.9	0	5336.2	104.2	279.5		383.7	0.0	5.9		5.9	223.2	2714.7		2937.9	54.1	63.4		62.4	safe	safe		safe	104.2	279.5	0.0	383.7	277.9	1730.8	0.0	2008.7
1369	SA	SA-29	SOLAPUR	0.0	544.4	0	544.4		65.3		65.3		2.8		2.8		210.1		210.1		51.1		51.1		safe		safe	0.0	65.3	0.0	65.3	0.0	266.2	0.0	266.2
1370	SA	SA-30	SOLAPUR	67.1	1611.5	0	1678.6	14.1	116.4		130.6	0.0	2.7		2.7	52.5	777.8		830.3	99.3	55.7		57.4	critical	safe		safe	14.1	116.4	0.0	130.6	0.5	714.5	0.0	715.0
1371	SA	SA-31	SOLAPUR	206.2	1223.2	0	1429.4	23.8	99.3		123.1	0.0	0.6		0.6	106.5	576.4		683.0	63.2	55.3		56.4	safe	safe		safe	23.8	99.3	0.0	123.1	75.8	546.9	0.0	622.7
1372	SA	SA-32	SOLAPUR	1885.0	0.0	0	1885.0	176.0			176.0	85.2			85.2	255.9			255.9	27.4			27.4	safe			safe	176.0	0.0	0.0	176.0	1367.8	0.0	0.0	1367.8
1373	SA	SA-33	SOLAPUR	1358.7	0.0	0	1358.7	66.7			66.7	18.8			18.8	836.4			836.4	67.9			67.9	safe			safe	66.7	0.0	0.0	66.7	436.8	0.0	0.0	436.8
1374	SA	SA-34	SOLAPUR	0.0	108.7	0	108.7		31.6		31.6		0.0		0.0		26.1		26.1		53.1		53.1		safe		safe	0.0	31.6	0.0	31.6	0.0	50.9	0.0	50.9

S.No	BASIN	WATER SHED	District	Annual Extractable Ground water Resource (ham)				Ground Water Extraction for all uses (ha.m)												Stage of Ground Water Extraction (%)				Categorization of Assessment Unit				Allocation of Ground Water Resource for Domestic Utilisation for projected year 2025 (ham)				Net Annual Ground Water Availability for Future Use (ham)			
								Domestic				Industrial				Irrigation																			
				C	NC	PQ	Total	C	NC	PQ	Total	C	NC	PQ	Total	C	NC	PQ	Total	C	NC	PQ	Total	C	NC	PQ	Total	C	NC	PQ	Total	C	NC	PQ	Total
1375	SA	SA-35	SOLAPUR	1369.9	0.0	0	1369.9	159.0			159.0	0.9			0.9	447.1			447.1	44.3			44.3	safe			safe	159.1	0.0	0.0	159.1	762.9	0.0	0.0	762.9
1376	SA	SA-36	SOLAPUR	898.6	375.1	0	1273.6	122.2	140.8		263.0	0.0	0.0		0.0	119.8	80.5		200.2	26.9	59.0		36.4	safe	safe		safe	122.2	140.8	0.0	263.0	656.7	153.8	0.0	810.5
1377	SA	SA-37	SOLAPUR	0.0	147.9	0	147.9		7.3		7.3		0.0		0.0		32.3		32.3		26.8		26.8		safe		safe	0.0	7.3	0.0	7.3	0.0	108.3	0.0	108.3
1378	SA	SA-38	SOLAPUR	0.0	2370.6	0	2370.6		58.8		58.8		0.0		0.0		884.6		884.6		39.8		39.8		safe		safe	0.0	58.8	0.0	58.8	0.0	1427.3	0.0	1427.3
1379	SA	SA-39	SOLAPUR	0.0	2554.9	0	2554.9		81.8		81.8		0.0		0.0		846.0		846.0		36.3		36.3		safe		safe	0.0	81.8	0.0	81.8	0.0	1627.2	0.0	1627.2
1380	SA	SA-40	SOLAPUR	0.0	838.6	0	838.6		13.9		13.9		0.0		0.0		183.9		183.9		23.6		23.6		safe		safe	0.0	13.9	0.0	13.9	0.0	640.9	0.0	640.9
1381	SA	SA-41	SOLAPUR	0.0	903.0	0	903.0		11.6		11.6		0.0		0.0		118.2		118.2		14.4		14.4		safe		safe	0.0	11.6	0.0	11.6	0.0	773.1	0.0	773.1
1382	WF	WF-24A	THANE	0.0	452.8	0	452.8		14.4		14.4		0.0		0.0		154.6		154.6		37.3		37.3		safe		safe	0.0	14.4	0.0	14.4	0.0	283.8	0.0	283.8
1383	WF	WF-27A	THANE	1293.9	172.1	0	1466.0	248.0	66.2		314.3	0.0	0.0		0.0	277.1	57.8		334.9	40.6	72.1		44.3	safe	semi_critical		safe	248.0	66.2	0.0	314.3	768.8	48.1	0.0	816.8
1384	WF	WF-28A	THANE	57.3	860.5	0	917.8	16.2	67.8		84.0	0.0	0.0		0.0	35.6	393.9		429.5	90.3	53.7		55.9	critical	safe		safe	16.2	67.8	0.0	84.0	5.6	398.8	0.0	404.3
1385	WF	WF-29A	THANE	198.8	1323.6	0	1522.5	45.0	154.6		199.5	0.0	0.9		0.9	64.4	810.1		874.5	55.0	72.9		70.6	safe	semi_critical		semi_critical	45.0	154.6	0.0	199.5	89.4	358.1	0.0	447.5
1386	WF	WF-30	THANE	0.4	838.5	0	838.9		47.0		47.0		0.3		0.3		517.2		517.2		67.3		67.3		safe		safe	0.0	47.0	0.0	47.0	0.4	274.0	0.0	274.4
1387	WF	WF-31	THANE	0.0	867.4	0	867.4		162.1		162.1		0.0		0.0		280.0		280.0		51.0		51.0		safe		safe	0.0	162.1	0.0	162.1	0.0	425.3	0.0	425.3
1388	WF	WF-32	THANE	0.0	417.7	0	417.7		28.5		28.5		0.0		0.0		235.9		235.9		63.3		63.3		safe		safe	0.0	28.5	0.0	28.5	0.0	153.3	0.0	153.3
1389	WF	WF-33	THANE	0.0	1873.4	0	1873.4		67.7		67.7		0.0		0.0		379.2		379.2		23.9		23.9		safe		safe	0.0	67.7	0.0	67.7	0.0	1426.5	0.0	1426.5
1390	WF	WF-34	THANE	0.0	1259.7	0	1259.7		180.8		180.8		0.0		0.0		432.8		432.8		48.7		48.7		safe		safe	0.0	180.8	0.0	180.8	0.0	646.1	0.0	646.1
1391	WF	WF-35	THANE	0.0	460.4	0	460.4		19.5		19.5		0.0		0.0		105.3		105.3		27.1		27.1		safe		safe	0.0	19.5	0.0	19.5	0.0	335.6	0.0	335.6
1392	WF	WF-36	THANE	575.6	832.4	0	1408.0	55.6	28.9		84.5	0.0	0.0		0.0	79.7	237.8		317.4	23.5	32.0		28.5	safe	safe		safe	55.6	28.9	0.0	84.5	440.4	565.7	0.0	1006.0
1393	WF	WF-36 A	THANE	0.0	3416.4	0	3416.4		110.8		110.8		0.0		0.0		858.7		858.7		28.4		28.4		safe		safe	0.0	110.8	0.0	110.8	0.0	2446.9	0.0	2446.9
1394	WF	WF-37	THANE	0.0	836.2	0	836.2		29.3		29.3		0.0		0.0		112.1		112.1		16.9		16.9		safe		safe	0.0	29.3	0.0	29.3	0.0	694.7	0.0	694.7
1395	WF	WF-38	THANE	0.0	1304.3	0	1304.3		36.2		36.2		0.0		0.0		200.9		200.9		18.2		18.2		safe		safe	0.0	36.2	0.0	36.2	0.0	1067.2	0.0	1067.2
1396	WF	WF-39	THANE	0.0	1248.3	0	1248.3		4.1		4.1		0.0		0.0		20.9		20.9		2.0		2.0		safe		safe	0.0	4.1	0.0	4.1	0.0	1223.3	0.0	1223.3
1397	WR	WR-23	WARDHA	152.9	1646.5	0	1799.4	22.2	46.5		68.7	0.2	0.0		0.2	45.7	296.5		342.2	44.5	20.8		22.8	safe	safe		safe	22.2	46.5	0.0	68.7	84.8	1303.5	0.0	1388.3
1398	WR	WR-24	WARDHA	175.0	961.7	0	1136.8	62.7	100.2		162.9	0.0	0.0		0.0	63.0	380.2		443.2	71.8	49.9		53.3	semi_critical	safe		safe	62.7	100.2	0.0	162.9	49.3	481.4	0.0	530.7
1399	WR	WR-25	WARDHA	455.9	649.7	0	1105.7	179.6	240.8		420.4	0.0	0.4		0.4	125.6	276.0		401.5	66.9	79.6		74.4	safe	semi_critical		semi_critical	179.6	240.8	0.0	420.4	150.8	132.5	0.0	283.3

S.No	BASIN	WATERSHED	District	Annual Extractable Ground water Resource (ham)				Ground Water Extraction for all uses (ha.m)												Stage of Ground Water Extraction (%)				Categorization of Assessment Unit				Allocation of Ground Water Resource for Domestic Utilisation for projected year 2025 (ham)				Net Annual Ground Water Availability for Future Use (ham)			
								Domestic				Industrial				Irrigation																			
				C	NC	PQ	Total	C	NC	PQ	Total	C	NC	PQ	Total	C	NC	PQ	Total	C	NC	PQ	Total	C	NC	PQ	Total	C	NC	PQ	Total	C	NC	PQ	Total
1400	WR	WR-26	WARDHA	1103.6	24.2	0	1127.8	70.4			70.4	0.3			0.3	494.3			494.3	51.2			50.1	safe			safe	70.4	0.0	0.0	70.4	538.7	24.2	0.0	562.9
1401	WR	WR-27	WARDHA	1222.5	0.0	0	1222.5	106.7			106.7	19.4			19.4	661.0			661.0	64.4			64.4	safe			safe	106.7	0.0	0.0	106.7	435.4	0.0	0.0	435.4
1402	WR	WR-28	WARDHA	2150.9	0.0	0	2150.9	106.3			106.3	0.0			0.0	249.4			249.4	16.5			16.5	safe			safe	106.3	0.0	0.0	106.3	1795.2	0.0	0.0	1795.2
1403	WRJ	WRJ-1	WARDHA	113.5	1188.2	0	1301.6	15.8	103.8		119.6	0.0	38.3		38.3	71.5	637.4		709.0	76.9	65.6		66.6	semi_critical	safe		safe	15.8	103.9	0.0	119.6	26.2	408.6	0.0	434.8
1404	WRJ	WRJ-4	WARDHA	970.9	1061.6	0	2032.5	39.2	84.3		123.5	0.0	0.1		0.1	414.1	656.5		1070.6	46.7	69.8		58.8	safe	safe		safe	39.2	84.3	0.0	123.5	517.6	320.7	0.0	838.3
1405	WRK	WRK-1	WARDHA	990.9	645.5	0	1636.4	174.1	91.8		265.9	9.4	2.2		11.6	182.3	213.0		395.3	36.9	47.6		41.1	safe	safe		safe	174.1	91.8	0.0	265.9	625.1	338.5	0.0	963.6
1406	WRK	WRK-2	WARDHA	703.9	1529.9	0	2233.8	334.0	158.1		492.1	10.4	6.2		16.6	95.2	105.6		200.8	62.4	17.6		31.8	safe	safe		safe	334.0	158.1	0.0	492.1	264.4	1259.9	0.0	1524.3
1407	WRV	WRV-1	WARDHA	1003.0	1222.0	0	2225.1	173.4	65.8		239.1	8.6	3.8		12.4	202.0	156.4		358.4	38.3	18.5		27.4	safe	safe		safe	173.4	65.8	0.0	239.1	619.0	996.1	0.0	1615.2
1408	WRV	WRV-2	WARDHA	1131.5	1281.7	0	2413.2	111.8	30.6		142.4	2.9	0.0		2.9	185.2	75.2		260.4	26.5	8.3		16.8	safe	safe		safe	111.8	30.6	0.0	142.4	831.6	1176.0	0.0	2007.5
1409	WRV	WRV-3	WARDHA	909.5	1130.0	0	2039.5	120.2	53.8		174.0	3.7	1.4		5.1	126.4	135.9		262.3	27.5	16.9		21.6	safe	safe		safe	120.2	53.8	0.0	174.0	659.3	938.8	0.0	1598.1
1410	WRW	WRW-1	WARDHA	36.1	1723.4	0	1759.5	13.1	85.0		98.2	0.0	0.2		0.2	4.1	202.1		206.2	47.5	16.7		17.3	safe	safe		safe	13.1	85.0	0.0	98.2	18.9	1436.1	0.0	1455.0
1411	WRW	WRW-2	WARDHA	70.2	1900.4	0	1970.6	13.5	38.1		51.6	0.8	0.0		0.8	12.2	12.1		24.3	37.8	2.6		3.9	safe	safe		safe	13.5	38.1	0.0	51.6	43.7	1850.2	0.0	1893.9
1412	WRW	WRW-3	WARDHA	173.7	1002.1	0	1175.8	60.6	21.0		81.5	2.5	0.4		2.9	57.6	85.2		142.9	69.5	10.6		19.3	safe	safe		safe	60.6	21.0	0.0	81.5	52.9	895.6	0.0	948.5
1413	WRW	WRW-4	WARDHA	429.1	759.4	0	1188.4	91.2	64.2		155.4	3.5	1.1		4.6	137.4	88.3		225.8	54.1	20.2		32.5	safe	safe		safe	91.2	64.2	0.0	155.5	196.9	605.7	0.0	802.6
1414	WRW	WRW-5	WARDHA	1933.7	1195.4	0	3129.1	441.1	134.0		575.1	11.6	3.8		15.4	323.3	114.8		438.1	40.1	21.1		32.9	safe	safe		safe	441.1	134.0	0.0	575.1	1157.7	942.7	0.0	2100.4
1415	WRW	WRW-6	WARDHA	541.6	1660.4	0	2202.0	169.0	223.3		392.3	4.6	125.6		130.2	54.0	697.0		751.0	42.0	63.0		57.8	safe	safe		safe	169.0	223.3	0.0	392.3	314.0	614.6	0.0	928.6
1416	WRWB	WRWB-1	WARDHA	0.0	1999.8	0	1999.8		311.7		311.7		9.8		9.8		631.4		631.4		47.6		47.6		safe		safe	0.0	311.7	0.0	311.7	0.0	1046.9	0.0	1046.9
1417	WRWB	WRWB-2	WARDHA	66.2	1389.5	0	1455.7	20.1	109.0		129.1	0.3	5.1		5.4	16.7	328.6		345.3	56.0	31.9		33.0	safe	safe		safe	20.1	109.0	0.0	129.1	29.1	946.7	0.0	975.8
1418	WRWB	WRWB-3	WARDHA	0.0	351.0	0	351.0		54.1		54.1		0.0		0.0		87.1		87.1		40.2		40.2		safe		safe	0.0	54.1	0.0	54.1	0.0	209.8	0.0	209.8
1419	WRWBD	WRWBD-1	WARDHA	243.8	2599.1	0	2842.8	41.9	96.8		138.7	0.0	0.0		0.0	193.0	3042.3		3235.2	96.4	120.8		118.7	critical	over_exploited		over_exploited	41.9	96.8	0.0	138.7	8.9	0.0	0.0	8.9
1420	WRWBD	WRWBD-2	WARDHA	397.5	2056.2	0	2453.7	85.8	513.7		599.5	0.0	0.6		0.6	41.9	257.0		298.9	32.1	37.5		36.6	safe	safe		safe	85.8	513.7	0.0	599.5	269.9	1284.8	0.0	1554.7
1421	WRWBD	WRWBD-3	WARDHA	219.3	3408.6	0	3627.9	47.3	421.9		469.2	0.0	1.3		1.3	17.9	250.2		268.1	29.8	19.8		20.4	safe	safe		safe	47.3	421.9	0.0	469.2	154.0	2735.3	0.0	2889.3
1422	WRWBD	WRWBD-4	WARDHA	1.0	2511.9	0	2512.9		376.8		376.8		0.0		0.0		181.3		181.3		22.2		22.2		safe		safe	0.0	376.8	0.0	376.8	1.0	1953.8	0.0	1954.8
1423	WRWBD	WRWBD-5	WARDHA	0.0	2065.5	0	2065.5		254.8		254.8		0.1		0.1		195.5		195.5		21.8		21.8		safe		safe	0.0	254.8	0.0	254.8	0.0	1615.1	0.0	1615.1
1424	WRWBD	WRWBD-6	WARDHA	155.9	1703.8	0	1859.7	26.9	145.2		172.1	0.0	0.0		0.0	104.9	695.1		800.0	84.5	49.3		52.3	semi_critical	safe		safe	26.9	145.2	0.0	172.1	24.1	863.5	0.0	887.6

S.No	BASIN	WATERSHED	District	Annual Extractable Ground water Resource (ham)				Ground Water Extraction for all uses (ha.m)												Stage of Ground Water Extraction (%)				Categorization of Assessment Unit				Allocation of Ground Water Resource for Domestic Utilisation for projected year 2025 (ham)				Net Annual Ground Water Availability for Future Use (ham)			
								Domestic				Industrial				Irrigation																			
				C	NC	PQ	Total	C	NC	PQ	Total	C	NC	PQ	Total	C	NC	PQ	Total	C	NC	PQ	Total	C	NC	PQ	Total	C	NC	PQ	Total	C	NC	PQ	Total
1425	WRWBD	WRWBD-7	WARDHA	1056.8	6630.6	0	7687.4	102.8	110.7		213.5	0.0	0.0		0.0	2630.9	9623.3		12254.1	258.7	146.8		162.2	over_exploited	over_exploited		over_exploited	102.8	110.7	0.0	213.5	0.0	0.0	0.0	0.0
1426	WRWN	WRWN-3	WARDHA	0.0	3114.0	0	3114.0		170.4		170.4		0.0		0.0		88.1		88.1		8.3		8.3		safe		safe	0.0	170.4	0.0	170.4	0.0	2855.4	0.0	2855.4
1427	WRWP	WRWP-1	WARDHA	0.0	2800.9	0	2800.9		368.1		368.1		0.1		0.1		331.4		331.4		25.0		25.0		safe		safe	0.0	368.1	0.0	368.1	0.0	2101.3	0.0	2101.3
1428	WRWP	WRWP-2	WARDHA	0.0	2613.5	0	2613.5		145.6		145.6		0.0		0.0		288.7		288.7		16.6		16.6		safe		safe	0.0	145.6	0.0	145.6	0.0	2179.2	0.0	2179.2
1429	WRWPL	WRWPL-1	WARDHA	0.0	1421.0	0	1421.0		0.0		0.0		0.2		0.2		675.6		675.6		47.6		47.6		safe		safe	0.0	0.0	0.0	0.0	0.0	745.1	0.0	745.1
1430	WRY	WRY-1	WARDHA	0.0	814.1	0	814.1		52.4		52.4		0.3		0.3		448.9		448.9		61.6		61.6		safe		safe	0.0	52.4	0.0	52.4	0.0	312.4	0.0	312.4
1431	WRY	WRY-2	WARDHA	2300.2	812.8	0	3113.0	90.9	39.5		130.4	2.8	2.8		5.6	737.5	402.4		1139.9	36.1	54.7		41.0	safe	safe		safe	90.9	39.5	0.0	130.4	1469.0	368.1	0.0	1837.1
1432	WRY	WRY-3	WARDHA	2031.9	784.7	0	2816.7	86.9	91.2		178.1	0.0	30.5		30.5	381.2	317.1		698.3	23.0	55.9		32.2	safe	safe		safe	86.9	91.2	0.0	178.1	1563.8	346.0	0.0	1909.8
1433	WRY	WRY-4	WARDHA	686.1	923.0	0	1609.2	14.3	91.3		105.7	1.3	0.9		2.1	239.9	448.4		688.3	37.2	58.6		49.5	safe	safe		safe	14.3	91.3	0.0	105.7	430.6	382.5	0.0	813.1
1434	WRY	WRY-5	WARDHA	1452.9	150.7	0	1603.6	57.5	47.1		104.5	0.0	0.0		0.0	645.2	95.4		740.6	48.4	94.6		52.7	safe	critical		safe	57.5	47.1	0.0	104.5	750.2	8.2	0.0	758.4
1435	WRY	WRY-6	WARDHA	746.3	836.3	0	1582.6	27.4	107.5		134.9	0.0	0.0		0.0	417.4	419.0		836.4	59.6	63.0		61.4	safe	safe		safe	27.4	107.5	0.0	134.9	301.6	309.8	0.0	611.3
1436	GP	GP-3	WASHIM	186.0	3678.5	0	3864.5	28.5	99.1		127.6	0.0	0.0		0.0	56.9	3778.8		3835.7	45.9	105.4		102.6	safe	over_exploited		over_exploited	28.5	99.1	0.0	127.6	100.6	0.0	0.0	100.6
1437	GP	GP-4	WASHIM	222.4	2117.9	0	2340.3	46.5	67.0		113.5	0.0	0.7		0.7	95.2	653.0		748.2	63.7	34.0		36.9	safe	safe		safe	46.5	67.0	0.0	113.5	80.7	1397.1	0.0	1477.9
1438	PG	PG-22	WASHIM	1490.4	1095.4	0	2585.8	24.1	13.6		37.7	0.0	0.0		0.0	692.8	1564.2		2257.0	48.1	144.0		88.7	safe	over_exploited		semi_critical	24.1	13.7	0.0	37.7	773.5	0.0	0.0	773.5
1439	PG	PG-23	WASHIM	499.1	2131.1	0	2630.2	33.6	162.4		196.0	7.5	0.0		7.5	318.2	495.9		814.1	72.0	30.9		38.7	semi_critical	safe		safe	33.6	162.4	0.0	196.0	139.8	1472.8	0.0	1612.6
1440	PG	PG-24	WASHIM	2886.9	2926.2	0	5813.1	89.6	60.9		150.5	0.0	0.0		0.0	1666.9	2018.0		3684.9	60.8	71.0		66.0	safe	semi_critical		safe	89.6	60.9	0.0	150.5	1130.3	847.3	0.0	1977.7
1441	PG	PG-5	WASHIM	364.6	2238.0	0	2602.6	41.6	155.0		196.7	0.2	0.0		0.2	62.9	635.5		698.4	28.7	35.3		34.4	safe	safe		safe	41.6	155.0	0.0	196.7	259.9	1447.5	0.0	1707.4
1442	PG	PG-6	WASHIM	1021.6	3306.3	0	4328.0	71.8	70.9		142.7	0.0	0.0		0.0	261.9	2192.1		2454.0	32.7	68.4		60.0	safe	safe		safe	71.8	70.9	0.0	142.7	687.9	1043.4	0.0	1731.3
1443	PG	PG-7	WASHIM	548.6	991.5	0	1540.1	0.0	134.0		134.0	0.7	0.0		0.7	136.9	224.1		361.0	25.1	36.1		32.2	safe	safe		safe	0.0	134.0	0.0	134.0	411.0	633.4	0.0	1044.4
1444	PG	PG-8	WASHIM	8.3	1750.4	0	1758.7		243.2		243.2		0.0		0.0		1301.5		1301.5		88.3		87.8		semi_critical		semi_critical	0.0	243.2	0.0	243.2	8.3	205.6	0.0	214.0
1445	PG	PG-9	WASHIM	58.3	1330.0	0	1388.2	12.0	21.8		33.8	0.1	0.5		0.6	47.5	477.8		525.2	102.3	37.6		40.3	over_exploited	safe		safe	12.0	21.8	0.0	33.8	0.0	829.9	0.0	829.9
1446	PGA	PGA-1	WASHIM	0.0	1831.2	0	1831.2		131.0		131.0		0.0		0.0		1128.8		1128.8		68.8		68.8		safe		safe	0.0	131.0	0.0	131.0	0.0	571.4	0.0	571.4
1447	PGA	PGA-2	WASHIM	0.0	1211.5	0	1211.5		33.7		33.7		1.3		1.3		108.6		108.6		11.8		11.8		safe		safe	0.0	33.7	0.0	33.7	0.0	1068.0	0.0	1068.0
1448	PGA	PGA-3	WASHIM	363.3	125.3	0	488.6	6.4	25.7		32.1	0.0	0.0		0.0	60.1	80.3		140.5	18.3	84.6		35.3	safe	semi_critical		safe	6.4	25.7	0.0	32.1	296.8	19.3	0.0	316.0
1449	PGA	PGA-4	WASHIM	4.3	1956.9	0	1961.2		148.1		148.1		0.0		0.0		1648.7		1648.7		91.8		91.6		critical		critical	0.0	148.1	0.0	148.1	4.3	160.2	0.0	164.5

S.No	BASIN	WATER SHED	District	Annual Extractable Ground water Resource (ham)				Ground Water Extraction for all uses (ha.m)												Stage of Ground Water Extraction (%)				Categorization of Assessment Unit				Allocation of Ground Water Resource for Domestic Utilisation for projected year 2025 (ham)				Net Annual Ground Water Availability for Future Use (ham)			
								Domestic				Industrial				Irrigation																			
				C	NC	PQ	Total	C	NC	PQ	Total	C	NC	PQ	Total	C	NC	PQ	Total	C	NC	PQ	Total	C	NC	PQ	Total	C	NC	PQ	Total	C	NC	PQ	Total
1450	PGAA	PGAA-1	WASHIM	129.2	1783.4	0	1912.6	15.5	177.1		192.6	0.0	0.3		0.3	31.7	366.5		398.2	36.6	30.5		30.9	safe	safe		safe	15.5	177.1	0.0	192.6	82.0	1239.4	0.0	1321.3
1451	PGAA	PGAA-2	WASHIM	5.7	1455.7	0	1461.4		118.6		118.6		0.0		0.0		1103.8		1103.8		84.0		83.6		semi_critical		semi_critical	0.0	118.6	0.0	118.6	5.7	233.3	0.0	239.0
1452	PGAA	PGAA-3	WASHIM	0.0	1146.3	0	1146.3		41.1		41.1		0.0		0.0		744.6		744.6		68.5		68.5		safe		safe	0.0	41.1	0.0	41.1	0.0	360.6	0.0	360.6
1453	PGAA	PGAA-4	WASHIM	0.0	99.8	0	99.8		10.5		10.5		0.0		0.0		46.3		46.3		56.9		56.9		safe		safe	0.0	10.5	0.0	10.5	0.0	43.0	0.0	43.0
1454	PGAK	PGAK-1	WASHIM	0.0	357.3	0	357.3		57.9		57.9		0.0		0.0		499.3		499.3		155.9		155.9		over_exploited		over_exploited	0.0	57.9	0.0	57.9	0.0	0.0	0.0	0.0
1455	PGD	PGD-1	WASHIM	240.7	965.1	0	1205.7	2.5	34.6		37.2	0.0	0.2		0.2	83.6	608.4		692.0	35.8	66.7		60.5	safe	safe		safe	2.5	34.6	0.0	37.2	154.6	321.8	0.0	476.3
1456	PGKA	PGKA-1	WASHIM	0.0	338.1	0	338.1		32.5		32.5		0.0		0.0		244.9		244.9		82.1		82.1		semi_critical		semi_critical	0.0	32.5	0.0	32.5	0.0	60.7	0.0	60.7
1457	PGP	PGP-1	WASHIM	0.0	784.1	0	784.1		30.1		30.1		0.0		0.0		517.0		517.0		69.8		69.8		safe		safe	0.0	30.1	0.0	30.1	0.0	237.0	0.0	237.0
1458	PGP	PGP-2	WASHIM	215.5	2398.1	0	2613.6	15.6	173.4		189.0	0.0	0.5		0.5	69.1	1649.7		1718.8	39.3	76.0		73.0	safe	semi_critical		semi_critical	15.6	173.4	0.0	189.0	130.7	574.6	0.0	705.3
1459	PTK	PTK-2 B	WASHIM	0.0	375.2	0	375.2		6.1		6.1		0.0		0.0		186.0		186.0		51.2		51.2		safe		safe	0.0	6.1	0.0	6.1	0.0	183.0	0.0	183.0
1460	PTK	PTK-3 B	WASHIM	1.0	2026.1	0	2027.1		119.1		119.1		0.0		0.0		583.1		583.1		34.7		34.6		safe		safe	0.0	119.1	0.0	119.1	1.0	1323.9	0.0	1324.9
1461	PTK	PTK-4 B	WASHIM	1.3	1632.7	0	1634.0		0.0		0.0		0.0		0.0		1280.5		1280.5		78.4		78.4		semi_critical		semi_critical	0.0	0.0	0.0	0.0	1.3	352.2	0.0	353.5
1462	PTKP	PTKP-1 B	WASHIM	0.0	528.7	0	528.7		12.5		12.5		0.0		0.0		340.7		340.7		66.8		66.8		safe		safe	0.0	12.5	0.0	12.5	0.0	175.5	0.0	175.5
1463	PTMN	PTMN-1 B	WASHIM	274.2	2153.9	0	2428.1	120.2	354.2		474.4	1.0	0.0		1.0	131.6	502.3		633.9	92.2	39.8		45.7	critical	safe		safe	120.2	354.2	0.0	474.4	21.4	1297.4	0.0	1318.8
1464	PTR	PTR-3 B	WASHIM	248.6	586.0	0	834.5	25.5	27.6		53.2	0.0	0.0		0.0	142.5	384.7		527.2	67.6	70.4		69.5	safe	semi_critical		safe	25.5	27.6	0.0	53.2	80.5	173.6	0.0	254.2
1465	PTU	PTU-1 B	WASHIM	0.0	252.9	0	252.9		37.5		37.5		0.0		0.0		109.9		109.9		58.3		58.3		safe		safe	0.0	37.5	0.0	37.5	0.0	105.5	0.0	105.5
1466	PTU	PTU-2 B	WASHIM	365.1	756.9	0	1122.0	76.9	52.8		129.7	0.5	0.0		0.5	76.5	245.0		321.5	42.2	39.3		40.3	safe	safe		safe	76.9	52.8	0.0	129.7	211.2	459.2	0.0	670.3
1467	WRB	WRB-2	WASHIM	357.9	1878.6	0	2236.6	109.0	210.0		319.0	0.0	0.0		0.0	304.3	870.7		1175.0	115.5	57.5		66.8	over_exploited	safe		safe	109.1	210.0	0.0	319.0	0.0	797.9	0.0	797.9
1468	WRB	WRB-3	WASHIM	49.1	2295.8	0	2344.9	141.5	156.2		297.7	0.0	0.0		0.0	17.8	909.9		927.7	324.3	46.4		52.3	over_exploited	safe		safe	141.5	156.2	0.0	297.7	0.0	1229.7	0.0	1229.7
1469	WRB	WRB-4	WASHIM	133.3	1512.2	0	1645.5	47.7	150.3		198.0	0.0	0.0		0.0	40.1	1025.5		1065.6	65.9	77.8		76.8	safe	semi_critical		semi_critical	47.7	150.3	0.0	198.0	45.5	336.4	0.0	381.9
1470	WRB	WRB-5	WASHIM	948.7	3653.2	0	4601.9	24.1	237.9		262.0	0.0	0.0		0.0	303.7	4353.2		4656.9	34.6	125.7		106.9	safe	over_exploited		over_exploited	24.1	237.9	0.0	262.0	620.9	0.0	0.0	620.9
1471	PG	PG-1	YAWATMAL	0.0	2542.9	0	2542.9		478.1		478.1		0.1		0.1		451.7		451.7		36.6		36.6		safe		safe	0.0	478.1	0.0	478.1	0.0	1613.0	0.0	1613.0
1472	PG	PG-10	YAWATMAL	0.0	2258.1	0	2258.1		202.7		202.7		0.0		0.0		167.5		167.5		16.4		16.4		safe		safe	0.0	202.7	0.0	202.7	0.0	1887.8	0.0	1887.8
1473	PG	PG-11	YAWATMAL	0.0	866.3	0	866.3		298.6		298.6		5.8		5.8		277.7		277.7		67.2		67.2		safe		safe	0.0	298.6	0.0	298.6	0.0	284.2	0.0	284.2
1474	PG	PG-12	YAWATMAL	0.0	1925.8	0	1925.8		88.3		88.3		0.0		0.0		84.5		84.5		9.0		9.0		safe		safe	0.0	88.3	0.0	88.3	0.0	1753.1	0.0	1753.1

S.No	BASIN	WATERSHED	District	Annual Extractable Ground water Resource (ham)				Ground Water Extraction for all uses (ha.m)												Stage of Ground Water Extraction (%)				Categorization of Assessment Unit				Allocation of Ground Water Resource for Domestic Utilisation for projected year 2025 (ham)				Net Annual Ground Water Availability for Future Use (ham)			
								Domestic				Industrial				Irrigation																			
				C	NC	PQ	Total	C	NC	PQ	Total	C	NC	PQ	Total	C	NC	PQ	Total	C	NC	PQ	Total	C	NC	PQ	Total	C	NC	PQ	Total	C	NC	PQ	Total
1475	PG	PG-2	YAWATMAL	0.0	320.5	0	320.5		66.8		66.8		0.0		0.0		76.2		76.2		44.6		44.6		safe		safe	0.0	66.8	0.0	66.8	0.0	177.5	0.0	177.5
1476	PG	PG-3	YAWATMAL	624.4	2100.5	0	2724.9	121.2	218.6		339.8	0.0	0.6		0.6	106.5	177.6		284.1	36.5	18.9		22.9	safe	safe		safe	121.2	218.6	0.0	339.8	396.8	1703.7	0.0	2100.4
1477	PG	PG-4	YAWATMAL	472.9	2107.6	0	2580.5	62.3	310.3		372.5	0.0	0.0		0.0	96.5	420.0		516.4	33.6	34.6		34.5	safe	safe		safe	62.3	310.3	0.0	372.5	314.1	1377.3	0.0	1691.5
1478	PG	PG-5	YAWATMAL	0.0	704.6	0	704.6		200.7		200.7		0.1		0.1		155.9		155.9		50.6		50.6		safe		safe	0.0	200.7	0.0	200.7	0.0	347.9	0.0	347.9
1479	PG	PG-6	YAWATMAL	0.0	4944.6	0	4944.6		461.2		461.2		1.2		1.2		474.6		474.6		18.9		18.9		safe		safe	0.0	461.2	0.0	461.2	0.0	4007.6	0.0	4007.6
1480	PG	PG-7	YAWATMAL	0.0	2933.8	0	2933.8		292.9		292.9		0.0		0.0		1481.3		1481.3		60.5		60.5		safe		safe	0.0	292.9	0.0	292.9	0.0	1159.6	0.0	1159.6
1481	PG	PG-8	YAWATMAL	0.0	2906.4	0	2906.4		112.2		112.2		0.9		0.9		1773.9		1773.9		64.9		64.9		safe		safe	0.0	112.3	0.0	112.3	0.0	1019.4	0.0	1019.4
1482	PG	PG-9	YAWATMAL	442.6	1695.8	0	2138.4	56.9	199.0		256.0	0.0	0.0		0.0	322.0	1066.6		1388.6	85.6	74.6		76.9	semi_critical	semi_critical		semi_critical	56.9	199.0	0.0	256.0	63.6	430.2	0.0	493.8
1483	PGA	PGA-1	YAWATMAL	646.0	1237.6	0	1883.6	20.6	108.3		128.9	0.0	0.0		0.0	210.8	878.3		1089.1	35.8	79.7		64.7	safe	semi_critical		safe	20.6	108.3	0.0	128.9	414.6	250.9	0.0	665.5
1484	PGA	PGA-2	YAWATMAL	1039.5	3981.5	0	5021.0	80.5	423.5		504.0	0.0	2.3		2.3	510.5	2828.7		3339.2	56.9	81.7		76.6	safe	semi_critical		semi_critical	80.5	423.5	0.0	504.0	448.5	727.1	0.0	1175.5
1485	PGA	PGA-3	YAWATMAL	0.0	457.9	0	457.9		14.0		14.0		0.0		0.0		361.9		361.9		82.1		82.1		semi_critical		semi_critical	0.0	14.0	0.0	14.0	0.0	82.1	0.0	82.1
1486	PGA	PGA-4	YAWATMAL	0.0	1575.9	0	1575.9		97.9		97.9		0.0		0.0		802.4		802.4		57.1		57.1		safe		safe	0.0	97.9	0.0	97.9	0.0	675.7	0.0	675.7
1487	PGA	PGA-5	YAWATMAL	664.6	2646.2	0	3310.8	24.5	127.2		151.6	0.0	6.5		6.5	307.3	1968.2		2275.5	49.9	79.4		73.5	safe	semi_critical		semi_critical	24.5	127.2	0.0	151.6	332.8	544.4	0.0	877.1
1488	PGA	PGA-6	YAWATMAL	192.6	1589.1	0	1781.7	5.0	59.2		64.3	0.0	1.3		1.3	137.9	1057.7		1195.6	74.2	70.4		70.8	semi_critical	semi_critical		semi_critical	5.0	59.3	0.0	64.3	49.7	470.8	0.0	520.5
1489	PGA	PGA-7	YAWATMAL	1.9	2437.7	0	2439.6		34.9		34.9		1.1		1.1		534.7		534.7		23.4		23.4		safe		safe	0.0	34.9	0.0	34.9	1.9	1867.0	0.0	1868.9
1490	PGA	PGA-8	YAWATMAL	475.1	2374.6	0	2849.7	39.9	136.8		176.6	0.0	0.7		0.7	71.6	912.5		984.1	23.5	44.2		40.8	safe	safe		safe	39.9	136.8	0.0	176.6	363.6	1324.7	0.0	1688.3
1491	PGA	PGA-9	YAWATMAL	0.0	4488.0	0	4488.0		502.1		502.1		0.1		0.1		484.7		484.7		22.0		22.0		safe		safe	0.0	502.1	0.0	502.1	0.0	3501.2	0.0	3501.2
1492	PGAA	PGAA-1	YAWATMAL	2030.2	675.4	0	2705.5	109.1	70.7		179.8	3.9	2.8		6.6	983.1	483.4		1466.6	54.0	82.5		61.1	safe	semi_critical		safe	109.1	70.7	0.0	179.8	934.0	118.5	0.0	1052.5
1493	PGAA	PGAA-2	YAWATMAL	590.8	130.9	0	721.7	26.1	17.6		43.7	0.1	0.0		0.1	280.9	97.5		378.4	52.0	87.9		58.5	safe	semi_critical		safe	26.1	17.6	0.0	43.7	283.7	15.8	0.0	299.5
1494	PGAA	PGAA-3	YAWATMAL	640.0	2360.9	0	3001.0	14.3	148.1		162.4	0.0	2.8		2.8	296.6	798.1		1094.7	48.6	40.2		42.0	safe	safe		safe	14.3	148.1	0.0	162.4	329.1	1412.0	0.0	1741.0
1495	PGAA	PGAA-4	YAWATMAL	0.0	561.2	0	561.2		153.7		153.7		0.0		0.0		217.1		217.1		66.1		66.1		safe		safe	0.0	153.7	0.0	153.7	0.0	190.3	0.0	190.3
1496	PGAA	PGAA-5	YAWATMAL	3.1	1132.1	0	1135.3		63.6		63.6		0.3		0.3		603.6		603.6		59.0		58.8		safe		safe	0.0	63.6	0.0	63.6	3.1	464.7	0.0	467.8
1497	PGD	PGD--	YAWATMAL	0.0	3416.7	0	3416.7		178.7		178.7		2.5		2.5		1976.0		1976.0		63.1		63.1		safe		safe	0.0	178.7	0.0	178.7	0.0	1259.6	0.0	1259.6
1498	PGK	PGK-1	YAWATMAL	1543.5	1.8	0	1545.3	41.6			41.6	0.0			0.0	557.5			557.5	38.8			38.8	safe			safe	41.6	0.0	0.0	41.6	944.4	1.8	0.0	946.2
1499	PGK	PGK-2	YAWATMAL	1958.2	155.4	0	2113.6	78.9	5.5		84.4	2.3	0.0		2.3	1001.1	108.5		1109.6	55.3	73.4		56.6	safe	semi_critical		safe	78.9	5.5	0.0	84.4	875.9	41.4	0.0	917.3

S.No	BASIN	WATERSHED	District	Annual Extractable Ground water Resource (ham)				Ground Water Extraction for all uses (ha.m)												Stage of Ground Water Extraction (%)				Categorization of Assessment Unit				Allocation of Ground Water Resource for Domestic Utilisation for projected year 2025 (ham)				Net Annual Ground Water Availability for Future Use (ham)			
								Domestic				Industrial				Irrigation																			
				C	NC	PQ	Total	C	NC	PQ	Total	C	NC	PQ	Total	C	NC	PQ	Total	C	NC	PQ	Total	C	NC	PQ	Total	C	NC	PQ	Total	C	NC	PQ	Total
1500	PGK	PGK-3	YAWATMAL	140.1	780.4	0	920.5	33.1	90.2		123.3	0.0	0.0		0.0	54.6	359.1		413.6	62.6	57.6		58.3	safe	safe		safe	33.1	90.2	0.0	123.3	52.4	331.1	0.0	383.5
1501	PGK	PGK-4	YAWATMAL	1898.1	606.3	0	2504.4	54.9	33.0		87.9	0.0	2.7		2.7	506.8	450.5		957.3	29.6	80.2		41.8	safe	semi_critical		safe	54.9	33.0	0.0	87.9	1336.4	120.1	0.0	1456.5
1502	PGK	PGK-5	YAWATMAL	256.9	2767.3	0	3024.2	64.7	281.2		345.9	0.8	7.3		8.1	82.9	1584.1		1666.9	57.8	67.7		66.8	safe	safe		safe	64.7	281.2	0.0	345.9	108.5	894.7	0.0	1003.2
1503	PGK	PGK-6	YAWATMAL	621.0	5842.2	0	6463.3	127.8	382.2		510.0	19.0	2.4		21.4	56.3	1187.5		1243.8	32.7	26.9		27.5	safe	safe		safe	127.8	382.2	0.0	510.0	417.9	4270.1	0.0	4688.0
1504	PGK	PGK-7	YAWATMAL	1776.7	1310.9	0	3087.6	58.8	65.2		124.0	16.7	0.9		17.6	603.8	802.0		1405.8	38.2	66.2		50.1	safe	safe		safe	58.8	65.2	0.0	124.0	1097.4	442.7	0.0	1540.1
1505	PGP	PGP-1	YAWATMAL	0.0	953.1	0	953.1		130.8		130.8		0.0		0.0		172.8		172.8		31.9		31.9		safe		safe	0.0	130.8	0.0	130.8	0.0	649.5	0.0	649.5
1506	PGP	PGP-2	YAWATMAL	387.6	1630.8	0	2018.3	113.8	160.3		274.1	6.3	0.0		6.3	144.4	440.6		585.0	68.2	36.8		42.9	safe	safe		safe	113.8	160.3	0.0	274.1	123.1	1029.9	0.0	1153.0
1507	PGP	PGP-3	YAWATMAL	47.6	232.2	0	279.8	6.9	32.2		39.1	0.0	0.0		0.0	38.8	91.6		130.4	96.1	53.3		60.6	critical	safe		safe	6.9	32.2	0.0	39.2	1.9	108.4	0.0	110.3
1508	PGP	PGP-4	YAWATMAL	0.0	244.2	0	244.2		34.9		34.9		0.0		0.0		120.1		120.1		63.4		63.4		safe		safe	0.0	34.9	0.0	34.9	0.0	89.3	0.0	89.3
1509	PGP	PGP-5	YAWATMAL	0.0	1281.5	0	1281.5		240.1		240.1		1.0		1.0		438.4		438.4		53.0		53.0		safe		safe	0.0	240.1	0.0	240.1	0.0	602.0	0.0	602.0
1510	PGV	PGV-1	YAWATMAL	1349.8	684.7	0	2034.5	65.2	36.9		102.1	1.3	6.1		7.4	719.7	286.9		1006.6	58.2	48.2		54.9	safe	safe		safe	65.2	36.9	0.0	102.1	563.7	354.8	0.0	918.5
1511	PGV	PGV-2	YAWATMAL	1251.9	178.3	0	1430.1	45.4	3.7		49.2	0.0	0.0		0.0	666.4	57.2		723.6	56.9	34.2		54.0	safe	safe		safe	45.4	3.8	0.0	49.2	540.1	117.3	0.0	657.4
1512	PGV	PGV-3	YAWATMAL	0.0	51.1	0	51.1		3.3		3.3		0.0		0.0		9.8		9.8		25.6		25.6		safe		safe	0.0	3.3	0.0	3.3	0.0	38.0	0.0	38.0
1513	PGW	PGW-1	YAWATMAL	1602.9	872.3	0	2475.2	71.1	75.6		146.8	7.1	2.7		9.8	755.2	604.8		1360.0	52.0	78.3		61.3	safe	semi_critical		safe	71.1	75.6	0.0	146.8	769.5	189.2	0.0	958.7
1514	PGW	PGW-2	YAWATMAL	1655.6	2579.8	0	4235.4	49.2	143.4		192.6	4.0	0.0		4.0	940.6	1223.7		2164.2	60.0	53.0		55.7	safe	safe		safe	49.2	143.4	0.0	192.6	661.9	1212.7	0.0	1874.6
1515	PGW	PGW-3	YAWATMAL	2.3	1355.2	0	1357.5		70.1		70.1		0.0		0.0		771.6		771.6		62.1		62.0		safe		safe	0.0	70.1	0.0	70.1	2.3	513.4	0.0	515.7
1516	PGW	PGW-4	YAWATMAL	412.8	1262.6	0	1675.4	6.8	59.7		66.5	0.0	0.0		0.0	120.2	582.4		702.7	30.8	50.9		45.9	safe	safe		safe	6.8	59.7	0.0	66.5	285.8	620.5	0.0	906.2
1517	PGW	PGW-5	YAWATMAL	289.8	835.1	0	1124.9	16.7	27.7		44.5	0.0	0.0		0.0	147.2	511.5		658.6	56.6	64.6		62.5	safe	safe		safe	16.7	27.7	0.0	44.5	125.9	295.9	0.0	421.8
1518	WR	WR-1	YAWATMAL	1638.7	362.6	0	2001.3	63.6	32.7		96.4	0.2	0.0		0.2	940.5	208.8		1149.3	61.3	66.6		62.2	safe	safe		safe	63.6	32.7	0.0	96.4	634.4	121.1	0.0	755.5
1519	WR	WR-2	YAWATMAL	155.4	527.8	0	683.2	3.7	22.2		25.9	0.0	0.0		0.0	45.5	324.3		369.7	31.6	65.6		57.9	safe	safe		safe	3.7	22.2	0.0	25.9	106.2	181.3	0.0	287.6
1520	WR	WR-3	YAWATMAL	0.0	2289.8	0	2289.8		88.0		88.0		0.0		0.0		209.6		209.6		13.0		13.0		safe		safe	0.0	88.0	0.0	88.0	0.0	1992.3	0.0	1992.3
1521	WR	WR-4	YAWATMAL	275.0	1294.8	0	1569.8	67.8	31.5		99.3	0.0	0.0		0.0	123.9	324.1		448.1	69.7	27.5		34.9	safe	safe		safe	67.8	31.5	0.0	99.3	83.3	939.2	0.0	1022.5
1522	WR	WR-5	YAWATMAL	920.7	831.1	0	1751.8	27.1	20.6		47.7	0.0	0.0		0.0	328.6	257.7		586.3	38.6	33.5		36.2	safe	safe		safe	27.1	20.6	0.0	47.7	565.0	552.8	0.0	1117.8
1523	WR	WR-6	YAWATMAL	0.0	553.8	0	553.8		43.0		43.0		0.0		0.0		134.4		134.4		32.0		32.0		safe		safe	0.0	43.0	0.0	43.0	0.0	376.4	0.0	376.4
1524	WR	WR-7	YAWATMAL	821.4	3782.9	0	4604.3	18.1	108.4		126.5	0.0	4.8		4.8	280.6	1640.0		1920.7	36.4	46.3		44.6	safe	safe		safe	18.1	108.4	0.0	126.5	522.7	2029.7	0.0	2552.4

S.No	BASIN	WATER SHED	District	Annual Extractable Ground water Resource (ham)				Ground Water Extraction for all uses (ha.m)												Stage of Ground Water Extraction (%)				Categorization of Assessment Unit				Allocation of Ground Water Resource for Domestic Utilisation for projected year 2025 (ham)				Net Annual Ground Water Availability for Future Use (ham)			
								Domestic				Industrial				Irrigation																			
				C	NC	PQ	Total	C	NC	PQ	Total	C	NC	PQ	Total	C	NC	PQ	Total	C	NC	PQ	Total	C	NC	PQ	Total	C	NC	PQ	Total	C	NC	PQ	Total
1525	WR	WR-8	YAWATMAL	910.7	554.6	0	1465.3	9.8	9.2		19.0	0.2	0.2		0.4	179.3	216.8		396.1	20.8	40.8		28.4	safe	safe		safe	9.8	9.2	0.0	19.0	721.3	328.4	0.0	1049.8
1526	WRB	WRB-1	YAWATMAL	376.5	614.3	0	990.7	124.6	99.3		223.9	0.1	0.0		0.1	112.9	183.1		296.0	63.1	46.0		52.5	safe	safe		safe	124.6	99.3	0.0	223.9	138.9	331.9	0.0	470.8
1527	WRB	WRB-2	YAWATMAL	162.6	738.0	0	900.6	58.8	150.8		209.7	0.0	0.0		0.0	32.9	188.2		221.1	56.4	45.9		47.8	safe	safe		safe	58.8	150.8	0.0	209.7	70.9	399.0	0.0	469.9
1528	WRB	WRB-3	YAWATMAL	39.8	1786.4	0	1826.2		29.2		29.2		0.3		0.3		995.5		995.5		57.4		56.1		safe		safe	0.0	29.2	0.0	29.2	39.8	761.4	0.0	801.2
1529	WRB	WRB-4	YAWATMAL	1390.2	1647.7	0	3038.0	24.2	71.5		95.7	2.3	0.1		2.5	623.9	823.1		1446.9	46.8	54.3		50.9	safe	safe		safe	24.2	71.5	0.0	95.7	739.8	753.1	0.0	1492.9
1530	WRB	WRB-5	YAWATMAL	1399.6	1907.8	0	3307.4	79.8	121.2		201.0	2.9	2.7		5.6	617.4	1232.6		1850.0	50.0	71.1		62.2	safe	semi_critical		safe	79.8	121.2	0.0	201.0	699.5	551.2	0.0	1250.8
1531	WRB	WRB-6	YAWATMAL	0.0	649.3	0	649.3		18.7		18.7		0.0		0.0		430.7		430.7		69.2		69.2		safe		safe	0.0	18.7	0.0	18.7	0.0	199.9	0.0	199.9
1532	WRBM	WRBM--	YAWATMAL	0.0	2329.6	0	2329.6		83.9		83.9		1.5		1.5		1208.0		1208.0		55.5		55.5		safe		safe	0.0	83.9	0.0	83.9	0.0	1036.2	0.0	1036.2
1533	WRN	WRN-1	YAWATMAL	0.0	938.1	0	938.1		36.6		36.6		0.0		0.0		477.3		477.3		54.8		54.8		safe		safe	0.0	36.6	0.0	36.6	0.0	424.2	0.0	424.2
1534	WRN	WRN-2	YAWATMAL	1553.5	625.2	0	2178.6	9.0	69.5		78.4	0.0	0.0		0.0	801.2	253.5		1054.8	52.2	51.7		52.0	safe	safe		safe	9.0	69.5	0.0	78.5	743.2	302.1	0.0	1045.4
Total				**862088**	**2244284**	**17837**	**3124209**	**34583**	**100941**	**540**	**136064**	**675**	**2043**	**0**	**2718**	**388492**	**1142776**	**6305**	**1537572**	**49**	**56**	**38**	**54**					**35727**	**104139**	**540**	**139867**	**453414**	**1036002**	**13301**	**1481051**

Annexure-B: ASSESSMENT OF DYNAMIC GROUND WATER RESOURCES OF MAHARASHTRA 2023

Sl.No	District	Assessment Unit Name	Total Recharge Worthy Area (Ham)	Recharge from Rainfall-MON (Ham)	Recharge from Other Sources-MON (Ham)	Recharge from Rainfall-NM (Ham)	Recharge from Other Sources-NM (Ham)	Total Annual Ground Water Recharge (Ham)	Total Natural Discharges (Ham)	Annual Extractable Ground Water Resource (Ham)
1	AHMEDNAGAR	SANGAMNER	164094.93	9056.62	884.70	949.08	3614.84	14505.25	725.27	13779.98
2	AHMEDNAGAR	PATHARDI	110910.00	7379.56	448.95	1197.26	2537.97	11563.74	578.19	10985.55
3	AHMEDNAGAR	NAGAR	131868.00	8043.12	918.66	1378.83	2300.59	12641.21	632.07	12009.15
4	AHMEDNAGAR	KOPARGAON	66643.39	3490.22	866.95	578.73	3199.01	8134.91	415.41	7719.50
5	AHMEDNAGAR	KARJAT	139398.00	7107.28	1021.96	1567.86	2659.68	12356.77	617.84	11738.93
6	AHMEDNAGAR	AKOLA	123350.00	5177.00	596.72	780.30	2235.75	8789.78	439.50	8350.28
7	AHMEDNAGAR	JAMKHED	68603.00	4394.57	387.80	684.94	1095.74	6563.05	328.15	6234.90
8	AHMEDNAGAR	NEWASA	132780.00	8245.51	1717.23	1185.05	6541.46	17689.25	884.47	16804.77
9	AHMEDNAGAR	PARNER	177332.00	9927.75	1528.74	1734.24	3715.08	16905.81	860.27	16045.54
10	AHMEDNAGAR	RHATA	65448.40	3440.71	904.79	532.24	3476.74	8354.48	417.73	7936.76
11	AHMEDNAGAR	SHEVGAON	94578.00	6298.59	359.02	755.82	1783.18	9196.61	506.72	8689.89
12	AHMEDNAGAR	SHRIGONDA	135667.00	6215.81	921.28	1608.93	3319.93	12065.95	603.32	11462.63
13	AHMEDNAGAR	SHRIRAMPUR	58316.28	3318.51	966.86	542.66	3545.29	8373.32	418.66	7954.66
14	AHMEDNAGAR	RAHURI	93486.00	4867.46	1802.31	897.52	5900.35	13467.65	673.40	12794.26
15	AKOLA	AKOT	80449.23	3641.42	132.73	53.20	818.76	4646.12	304.17	4341.94
16	AKOLA	AKOLA	99521.87	3645.32	213.43	54.43	766.60	4679.79	284.35	4395.44
17	AKOLA	BALAPUR	67013.08	3838.78	159.26	21.05	646.54	4665.63	314.69	4350.94
18	AKOLA	BARSI TAKLI	68347.37	4604.35	310.17	57.76	1022.76	5995.04	452.58	5542.46
19	AKOLA	MURTIZAPUR	76798.03	4121.26	214.27	7.16	1000.33	5343.01	283.16	5059.86
20	AKOLA	PATUR	59873.30	4701.79	275.49	9.02	1132.72	6119.01	362.58	5756.44
21	AKOLA	TELHARA	62161.99	4100.48	167.83	4.84	3305.36	7578.51	740.23	6838.28
22	AMRAVATI	ACHLAPUR	63812.00	4764.55	327.61	143.29	3043.75	8279.20	775.45	7503.75
23	AMRAVATI	AMRAVATI	80309.00	5773.47	288.61	116.56	1658.75	7837.39	598.93	7238.47
24	AMRAVATI	ANJANGAON SURJI	52089.00	2337.98	121.34	105.00	2957.87	5522.19	389.70	5132.49

Sl.No	District	Assessment Unit Name	Total Recharge Worthy Area (Ham)	Recharge from Rainfall-MON (Ham)	Recharge from Other Sources-MON (Ham)	Recharge from Rainfall-NM (Ham)	Recharge from Other Sources-NM (Ham)	Total Annual Ground Water Recharge (Ham)	Total Natural Discharges (Ham)	Annual Extractable Ground Water Resource (Ham)
25	AMRAVATI	BHATKULI	57991.00	352.08	13.21	10.14	41.68	417.11	20.86	396.26
26	AMRAVATI	CHANDUR BAZAR	66563.00	4710.80	257.93	32.49	1923.88	6925.10	503.08	6422.03
27	AMRAVATI	CHANDUR RAILWAY	47062.00	3930.95	236.95	134.71	1064.17	5366.77	326.66	5040.11
28	AMRAVATI	CHIKHALDARA	31728.00	2353.33	196.09	23.87	674.83	3248.11	251.12	2997.00
29	AMRAVATI	DARYAPUR	77689.00	0.00	0.00	0.00	0.00	0.00	0.00	0.00
30	AMRAVATI	DHAMANGAON RLY	59692.00	4744.51	179.50	187.12	1188.62	6299.75	464.38	5835.38
31	AMRAVATI	DHARNI	39180.00	2805.01	173.64	0.00	937.21	3915.85	246.61	3669.24
32	AMRAVATI	MORSHI	70106.00	5484.47	965.65	13.89	3604.37	10068.38	654.41	9413.97
33	AMRAVATI	NANDGAON	70595.00	5617.85	401.70	261.06	1419.05	7699.66	385.32	7314.35
34	AMRAVATI	TIWSA	53891.00	4461.21	369.55	115.54	4140.72	9087.03	489.25	8597.78
35	AMRAVATI	WARUD	68532.00	6339.36	1307.36	84.45	4189.97	11921.14	1167.53	10753.61
36	AURANGABAD	AURANGABAD	147407.25	7712.93	772.70	0.00	4337.18	12822.81	641.15	12181.66
37	AURANGABAD	FULAMBRE	39998.75	3307.43	241.22	0.00	1341.59	4890.24	244.51	4645.73
38	AURANGABAD	GANGAPUR	128019.00	9258.79	1000.35	0.00	3305.20	13564.35	678.22	12886.12
39	AURANGABAD	KANNAD	128047.00	11880.20	1310.47	0.00	3467.56	16658.23	832.92	15825.32
40	AURANGABAD	KHULDABAD	43724.00	3592.83	437.34	0.00	1871.46	5901.63	295.08	5606.55
41	AURANGABAD	PAITHAN	149988.00	10777.74	600.72	0.00	7448.14	18826.60	941.34	17885.26
42	AURANGABAD	SILLOD	117696.00	9411.40	590.64	0.00	3486.78	13488.82	680.50	12808.32
43	AURANGABAD	SOYEGAON	60928.00	3172.47	233.60	0.00	1715.93	5122.00	256.09	4865.91
44	AURANGABAD	VAIJAPUR	134366.00	8942.64	2128.53	0.00	4646.28	15717.45	785.88	14931.57
45	BEED	AMBEJOGAI	89860.00	7715.35	639.92	337.12	1905.52	10597.91	529.89	10068.03
46	BEED	ASHTI	143644.00	10554.37	1327.70	1064.39	4185.91	17132.38	856.64	16275.74
47	BEED	BEED	134779.00	10240.43	1286.59	846.80	3653.83	16027.66	801.38	15226.28
48	BEED	DHARUR	23576.00	2042.75	205.05	93.62	661.58	3003.00	150.15	2852.85

Sl.No	District	Assessment Unit Name	Total Recharge Worthy Area (Ham)	Recharge from Rainfall-MON (Ham)	Recharge from Other Sources-MON (Ham)	Recharge from Rainfall-NM (Ham)	Recharge from Other Sources-NM (Ham)	Total Annual Ground Water Recharge (Ham)	Total Natural Discharges (Ham)	Annual Extractable Ground Water Resource (Ham)
49	BEED	GEVRAI	147921.00	11157.71	1052.31	1255.84	4990.40	18456.26	922.81	17533.45
50	BEED	KAIJ	132030.00	11202.27	1068.78	596.10	2039.82	14906.96	745.35	14161.62
51	BEED	MAJALGAON	92096.00	7422.50	515.54	606.92	3810.24	12355.20	617.74	11737.45
52	BEED	PARLI	63526.00	5554.47	540.93	248.18	5552.33	11895.90	594.78	11301.12
53	BEED	PATODA	72377.00	5413.94	829.51	411.01	2213.24	8867.70	443.39	8424.31
54	BEED	SHIRUR KA	61407.00	4551.45	596.85	313.54	1783.85	7245.68	362.28	6883.40
55	BEED	WADVANI	73989.00	6098.77	531.76	385.75	2500.52	9516.81	475.83	9040.98
56	BHANDARA	BHANDARA	63776.00	4516.49	1208.69	80.73	2919.71	8725.63	436.28	8289.35
57	BHANDARA	LAKHANDUR	45038.00	4924.68	32438.20	27.81	3265.71	40656.41	3825.38	36831.02
58	BHANDARA	LAKHANI	46600.00	3992.97	527.49	11.72	1590.17	6122.35	306.13	5816.22
59	BHANDARA	MOHADI	51494.00	3137.82	1083.17	65.57	1837.88	6124.43	306.22	5818.21
60	BHANDARA	PAUNI	64046.00	6371.47	7819.27	123.35	1837.67	16151.75	1182.60	14969.16
61	BHANDARA	SAKOLI	53420.00	4586.70	631.67	13.54	2021.91	7253.82	373.12	6880.70
62	BHANDARA	TUMSAR	72123.00	4720.86	1367.06	95.09	2492.52	8675.53	459.89	8215.64
63	BULDHANA	BULDHANA	60748.00	5439.43	539.13	39.18	1955.77	7973.51	406.50	7567.00
64	BULDHANA	CHIKHALI	93581.00	8124.44	763.49	40.35	2543.84	11472.12	574.52	10897.60
65	BULDHANA	DEULGAON RAJA	44866.00	4103.51	406.28	1.11	1403.67	5914.56	295.73	5618.83
66	BULDHANA	JALGAON	54218.00	3758.74	211.56	52.16	1470.44	5492.91	292.72	5200.19
67	BULDHANA	KHAMGAON	96087.00	7269.00	610.51	30.04	2728.45	10638.00	539.90	10098.10
68	BULDHANA	LONAR	57912.00	5690.72	445.85	17.85	1586.63	7741.06	395.98	7345.08
69	BULDHANA	MALAKAPUR	44372.00	3458.95	217.08	0.09	1383.31	5059.44	252.97	4806.46
70	BULDHANA	MEHKAR	90285.00	8422.93	610.70	10.97	2282.62	11327.22	585.82	10741.40
71	BULDHANA	MOTALA	56018.00	3868.91	364.29	0.06	1432.45	5665.70	286.10	5379.60
72	BULDHANA	NANDURA	53625.00	3904.20	197.66	6.74	1150.61	5259.21	282.89	4976.32
73	BULDHANA	SANGRAMPUR	51627.00	3100.36	145.76	49.34	1176.35	4471.81	349.68	4122.13

Sl.No	District	Assessment Unit Name	Total Recharge Worthy Area (Ham)	Recharge from Rainfall-MON (Ham)	Recharge from Other Sources-MON (Ham)	Recharge from Rainfall-NM (Ham)	Recharge from Other Sources-NM (Ham)	Total Annual Ground Water Recharge (Ham)	Total Natural Discharges (Ham)	Annual Extractable Ground Water Resource (Ham)
74	BULDHANA	SHEGAON	50979.00	2688.63	134.41	3.78	517.68	3344.50	167.23	3177.27
75	BULDHANA	SINDKHEDRAJA	66297.00	5929.79	599.97	12.07	1917.66	8459.49	422.99	8036.51
76	CHANDRAPUR	BALLARPUR	43059.00	5869.63	25.46	35.52	121.55	6052.16	302.61	5749.55
77	CHANDRAPUR	BHADRAVATI	142621.00	12744.30	251.00	279.83	628.36	13903.49	695.17	13208.31
78	CHANDRAPUR	BRAHMAPURI	72363.00	7350.64	121.39	11.63	474.11	7957.77	460.14	7497.63
79	CHANDRAPUR	CHANDRAPUR	94061.00	9940.24	41.03	149.35	256.95	10387.56	519.38	9868.18
80	CHANDRAPUR	CHIMMUR	64777.00	5106.37	234.21	113.96	506.68	5961.22	300.67	5660.55
81	CHANDRAPUR	GONDPIPRI	73430.00	7151.10	64.02	122.86	200.42	7538.40	376.93	7161.48
82	CHANDRAPUR	JIWATI	43178.00	3139.09	71.69	57.59	163.75	3432.13	196.39	3235.74
83	CHANDRAPUR	KORPANA	43159.00	1996.43	230.64	39.13	461.03	2727.24	183.04	2544.19
84	CHANDRAPUR	MUL	40572.00	3944.22	403.86	43.65	1145.05	5536.78	286.55	5250.23
85	CHANDRAPUR	NAGBHIND	65337.00	6904.77	693.09	23.62	1541.91	9163.39	481.25	8682.14
86	CHANDRAPUR	POBHURNA	36463.00	4007.83	145.93	76.12	482.05	4711.92	244.85	4467.08
87	CHANDRAPUR	RAJURA	82548.00	7162.40	113.17	123.50	312.17	7711.24	389.98	7321.25
88	CHANDRAPUR	SAWALI	59050.00	5067.27	1281.88	96.54	2297.14	8742.83	439.11	8303.73
89	CHANDRAPUR	SINDEWALI	78649.00	8132.98	827.48	21.16	1955.69	10937.31	585.59	10351.72
90	CHANDRAPUR	WARORA	108390.00	10233.31	517.44	277.53	1183.17	12211.45	610.55	11600.90
91	DHULE	DHULE	182626.00	13646.97	1623.45	0.00	4747.58	20018.00	1041.76	18976.24
92	DHULE	SAKRI	196767.00	11198.58	3111.15	0.00	6459.96	20769.68	1279.39	19490.29
93	DHULE	SHIRPUR	130779.00	10428.39	1268.28	0.00	5572.46	17269.13	924.42	16344.71
94	DHULE	SINDKHEDA	131960.00	9595.29	1162.79	0.00	4090.14	14848.22	752.02	14096.20
95	GADCHIROLI	AHERI	114098.49	11156.93	134.17	0.00	439.70	11730.80	773.37	10957.43
96	GADCHIROLI	KORCHI	38658.66	4407.78	146.38	0.00	455.50	5009.66	251.45	4758.21
97	GADCHIROLI	GADCHIROLI	51743.80	6116.38	143.61	0.00	632.20	6892.19	379.69	6512.50
98	GADCHIROLI	WADSA	38873.00	3711.21	1142.52	0.00	1993.32	6847.05	391.42	6455.63

Sl.No	District	Assessment Unit Name	Total Recharge Worthy Area (Ham)	Recharge from Rainfall-MON (Ham)	Recharge from Other Sources-MON (Ham)	Recharge from Rainfall-NM (Ham)	Recharge from Other Sources-NM (Ham)	Total Annual Ground Water Recharge (Ham)	Total Natural Discharges (Ham)	Annual Extractable Ground Water Resource (Ham)
99	GADCHIROLI	ETAPALLI	114792.15	12226.02	140.75	0.00	605.40	12972.18	683.45	12288.72
100	GADCHIROLI	ARMORI	63493.87	7383.01	569.90	0.00	1412.28	9365.19	492.40	8872.79
101	GADCHIROLI	BHAMRAGAD	37688.20	3732.06	27.74	0.00	81.14	3840.94	318.87	3522.07
102	GADCHIROLI	CHAMORSHI	125583.70	12720.02	499.41	0.00	1248.20	14467.64	903.70	13563.93
103	GADCHIROLI	DHANORA	75416.25	8475.84	201.62	0.00	868.50	9545.95	499.40	9046.55
104	GADCHIROLI	KURKHEDA	76871.88	9056.82	250.64	0.00	1161.30	10468.75	523.45	9945.30
105	GADCHIROLI	MULCHERA	70866.10	7052.72	204.65	0.00	655.28	7912.65	405.74	7506.91
106	GADCHIROLI	SORONCHA	78563.00	8703.40	204.63	0.00	1064.60	9972.62	539.24	9433.38
107	GONDIA	TIRORA	52133.26	4023.24	1209.44	72.85	2590.15	7895.68	644.98	7250.70
108	GONDIA	AMGAON	35689.05	3233.82	687.94	93.59	1024.62	5039.97	252.04	4787.93
109	GONDIA	DEORI	80783.71	8189.03	457.96	1.80	496.25	9145.04	551.93	8593.11
110	GONDIA	GONDIA	62169.46	5034.74	1031.46	237.99	2416.77	8720.97	607.50	8113.47
111	GONDIA	GOREGAON	41385.44	3635.73	534.95	118.26	728.66	5017.60	250.88	4766.72
112	GONDIA	SALEKASA	39296.00	4050.05	680.48	89.28	2017.81	6837.62	513.93	6323.69
113	GONDIA	ARJUNI MOREGAON	87477.02	9235.19	1548.37	2.09	4400.13	15185.78	1125.01	14060.78
114	GONDIA	SADAK ARJUNI	60770.81	5742.59	552.52	29.71	2734.13	9058.95	588.41	8470.54
115	HINGOLI	AUNDHA	81961.00	9401.50	408.72	1258.13	12334.30	23402.65	1189.59	22213.06
116	HINGOLI	BASMATH	76436.00	10245.37	399.53	1250.62	24580.10	36475.62	1823.78	34651.84
117	HINGOLI	HINGOLI	94832.00	10694.82	779.46	1457.79	2827.85	15759.92	788.01	14971.91
118	HINGOLI	KALMNURI	94891.00	10889.61	702.32	1606.89	5301.47	18500.28	925.01	17575.27
119	HINGOLI	SENGAON	118121.00	11458.08	678.54	1735.00	3173.79	17045.40	852.27	16193.13
120	JALGAON	BHUSAWAL	53818.00	4475.53	335.29	0.00	1300.64	6111.46	311.23	5800.23
121	JALGAON	AMALNER	89266.00	7378.81	626.72	0.00	4604.96	12610.49	630.53	11979.96
122	JALGAON	BHADGAON	49142.00	3517.00	231.81	93.73	6966.02	10808.55	752.72	10055.83
123	JALGAON	BODWAD	35669.00	2841.10	306.01	0.00	971.64	4118.75	205.94	3912.81

Sl.No	District	Assessment Unit Name	Total Recharge Worthy Area (Ham)	Recharge from Rainfall-MON (Ham)	Recharge from Other Sources-MON (Ham)	Recharge from Rainfall-NM (Ham)	Recharge from Other Sources-NM (Ham)	Total Annual Ground Water Recharge (Ham)	Total Natural Discharges (Ham)	Annual Extractable Ground Water Resource (Ham)
124	JALGAON	CHALISGAON	103335.00	7416.50	1737.44	211.26	5529.45	14894.65	744.75	14149.90
125	JALGAON	CHOPDA	110180.00	8046.08	231.19	0.00	3493.42	11770.70	682.39	11088.31
126	JALGAON	DHARANGAON	45418.00	3978.98	187.70	0.00	4273.98	8440.67	435.48	8005.19
127	JALGAON	ERANDOL	49177.00	4070.40	116.63	4.97	3124.14	7316.13	366.77	6949.36
128	JALGAON	JALGAON	83198.00	7125.09	307.87	0.00	1555.73	8988.69	449.46	8539.23
129	JALGAON	JAMNER	126843.00	10469.31	584.17	0.00	2449.52	13503.01	677.85	12825.16
130	JALGAON	MUKTAINAGAR	63392.00	4225.83	346.88	0.00	1223.73	5796.45	295.28	5501.17
131	JALGAON	PACHORA	79609.00	6745.51	436.05	7.22	3749.22	10938.00	557.42	10380.59
132	JALGAON	PAROLA	71160.00	4712.89	622.52	0.00	2617.73	7953.14	402.46	7550.68
133	JALGAON	RAVER	93907.00	7259.66	323.07	236.37	2629.92	10449.03	522.44	9926.58
134	JALGAON	YAWAL	83769.00	6809.85	334.33	20.58	1627.38	8792.15	472.50	8319.65
135	JALNA	JALNA	123892.18	8495.64	490.36	0.00	2408.16	11394.16	569.72	10824.45
136	JALNA	AMBAD	110885.00	5485.23	398.33	0.00	4155.04	10038.60	501.93	9536.67
137	JALNA	BADNAPUR	53430.66	4463.92	280.97	1.38	1237.39	5983.66	312.99	5670.66
138	JALNA	BHOKARDAN	127316.26	10439.19	706.56	5.17	2745.40	13896.32	694.81	13201.50
139	JALNA	GHAT SAWANGI	108967.00	7959.69	253.97	0.00	6370.97	14584.63	729.24	13855.39
140	JALNA	JAFRABAD	69380.50	6189.97	434.21	108.91	1688.70	8421.79	421.08	8000.72
141	JALNA	MANTHA	80364.40	6835.74	297.14	0.00	1266.11	8398.99	422.93	7976.06
142	JALNA	PARTUR	97564.00	8428.66	206.03	0.00	2839.42	11474.12	573.71	10900.41
143	KOLHAPUR	AJARA	40265.21	4060.83	547.87	13.42	3691.37	8313.49	415.67	7897.82
144	KOLHAPUR	BHUDARGAD	50035.28	3065.74	582.82	8.53	3601.98	7259.08	405.84	6853.24
145	KOLHAPUR	CHANDGAD	75070.95	9745.87	889.14	0.00	6418.69	17053.70	852.70	16201.00
146	KOLHAPUR	GADHINGLAJ	47755.05	4928.94	963.22	94.64	6517.08	12503.88	625.20	11878.68
147	KOLHAPUR	GAGANBAWADA	12218.74	1796.59	269.61	0.00	1957.72	4023.93	201.20	3822.73
148	KOLHAPUR	HATKANANGALE	57309.00	4214.70	864.23	230.73	6408.39	11718.05	585.91	11132.14

Sl.No	District	Assessment Unit Name	Total Recharge Worthy Area (Ham)	Recharge from Rainfall-MON (Ham)	Recharge from Other Sources-MON (Ham)	Recharge from Rainfall-NM (Ham)	Recharge from Other Sources-NM (Ham)	Total Annual Ground Water Recharge (Ham)	Total Natural Discharges (Ham)	Annual Extractable Ground Water Resource (Ham)
149	KOLHAPUR	KAGAL	55651.71	5109.31	1050.80	11.52	7550.20	13721.83	988.70	12733.14
150	KOLHAPUR	KARVIR	49220.99	4545.32	1086.32	32.54	8317.16	13981.34	971.63	13009.71
151	KOLHAPUR	PANHALA	39428.57	3841.58	913.70	0.00	6036.73	10792.02	729.26	10062.76
152	KOLHAPUR	SHAHUWADI	34785.66	3219.15	745.17	0.00	4071.28	8035.60	551.25	7484.35
153	KOLHAPUR	SHIROL	53273.00	2079.87	1058.20	389.17	7952.68	11479.93	657.33	10822.59
154	KOLHAPUR	RADHANAGARI	47161.84	6973.10	1165.39	0.00	9138.74	17277.24	1389.63	15887.61
155	LATUR	AHMEDPUR	91041.00	5663.33	1146.95	0.00	1999.14	8809.41	450.03	8359.38
156	LATUR	ANANTPAL SH	17789.00	1482.09	126.70	0.00	297.46	1906.25	95.31	1810.94
157	LATUR	AUSA	116191.00	9964.08	1316.06	0.00	3444.54	14724.68	736.22	13988.46
158	LATUR	CHAKUR	47981.00	2735.22	653.03	0.00	1289.25	4677.49	233.86	4443.62
159	LATUR	DEVANI	25576.00	1589.86	313.37	0.00	498.93	2402.16	120.11	2282.05
160	LATUR	JALKOT	19867.00	1151.99	278.05	0.00	425.44	1855.48	92.77	1762.70
161	LATUR	LATUR	91073.00	7435.28	632.56	0.00	2270.55	10338.39	516.91	9821.48
162	LATUR	NILANGA	120705.00	7568.01	1409.15	0.00	3062.16	12039.32	601.95	11437.37
163	LATUR	RENAPUR	46992.00	3005.26	453.66	0.00	1040.43	4499.35	224.96	4274.39
164	LATUR	UDGIR	86333.00	5119.03	821.05	0.00	1812.25	7752.33	387.61	7364.72
165	NAGPUR	MOUDA	75358.00	4565.46	1819.86	190.73	4603.05	11179.09	558.95	10620.14
166	NAGPUR	BHIWAPUR	55765.00	3527.28	243.17	58.22	525.59	4354.26	324.80	4029.45
167	NAGPUR	HINGANA	63414.00	6632.34	313.53	335.27	703.67	7984.82	399.25	7585.57
168	NAGPUR	KALAMESHWAR	47112.00	5112.84	693.21	227.45	1164.16	7197.66	451.51	6746.15
169	NAGPUR	KAMTEE	53604.00	3405.00	1184.42	148.49	3347.15	8085.06	416.50	7668.56
170	NAGPUR	KATOL	55293.00	5915.01	732.65	300.94	2352.23	9300.83	525.44	8775.39
171	NAGPUR	KUHI	74997.00	5785.97	249.46	96.36	744.49	6876.28	343.82	6532.46
172	NAGPUR	NAGPUR	53525.00	5218.16	276.26	216.44	672.71	6383.57	341.19	6042.38
173	NAGPUR	NARKHED	64323.00	6631.71	727.64	352.29	2194.62	9906.25	548.33	9357.92

Sl.No	District	Assessment Unit Name	Total Recharge Worthy Area (Ham)	Recharge from Rainfall-MON (Ham)	Recharge from Other Sources-MON (Ham)	Recharge from Rainfall-NM (Ham)	Recharge from Other Sources-NM (Ham)	Total Annual Ground Water Recharge (Ham)	Total Natural Discharges (Ham)	Annual Extractable Ground Water Resource (Ham)
174	NAGPUR	PARSHIONI	53651.00	3397.42	1143.73	133.57	3146.06	7820.78	408.55	7412.22
175	NAGPUR	RAMTEK	63271.00	4478.53	582.51	162.11	1113.16	6336.30	320.12	6016.19
176	NAGPUR	SAONER	56237.00	3559.48	486.71	167.59	1051.28	5265.06	351.58	4913.48
177	NAGPUR	UMRED	82492.00	7894.27	688.47	183.92	1012.38	9779.05	539.55	9239.49
178	NANDED	MUDKHED	32394.00	2998.90	18.13	99.83	1022.28	4139.14	206.96	3932.18
179	NANDED	KINWAT	147562.00	14008.21	245.55	115.32	1830.21	16199.29	809.95	15389.34
180	NANDED	ARDHAPUR	28176.00	2652.19	16.00	91.16	1435.32	4194.67	209.74	3984.93
181	NANDED	BHOKAR	63026.00	5997.93	59.36	210.84	757.08	7025.20	351.24	6673.96
182	NANDED	BILOLI	58037.00	5483.14	20.06	405.34	684.35	6592.89	329.65	6263.23
183	NANDED	DEGLOOR	66590.00	6104.53	56.17	358.08	554.44	7073.22	353.66	6719.56
184	NANDED	DHARMABAD	33537.00	3957.85	8.29	192.41	187.28	4345.83	217.29	4128.54
185	NANDED	HADGAON	100411.00	11100.03	118.85	324.64	2546.51	14090.03	704.51	13385.52
186	NANDED	HIMATAYTNAHAR	49896.00	4826.87	70.36	162.05	604.98	5664.26	283.20	5381.06
187	NANDED	KANDHAR	77962.00	8848.99	63.07	271.54	1224.66	10408.26	520.42	9887.84
188	NANDED	LOHA	84955.00	9168.28	70.20	349.95	1484.94	11073.37	553.67	10519.69
189	NANDED	MAHUR	49818.00	4972.49	66.41	22.80	571.07	5632.78	281.64	5351.14
190	NANDED	MUKHED	87594.00	7869.66	101.48	471.96	873.04	9316.15	465.80	8850.35
191	NANDED	NAIGAON	56560.00	5336.61	26.86	376.59	1589.82	7329.87	366.49	6963.38
192	NANDED	NANDED	40633.00	4425.89	18.78	129.57	1629.40	6203.65	310.20	5893.45
193	NANDED	UMARI	40620.00	4276.42	15.27	136.88	525.30	4953.86	251.08	4702.78
194	NANDURBAR	NANDURBAR	98370.00	8682.77	703.55	291.18	2473.05	12150.56	607.54	11543.02
195	NANDURBAR	AKKALKUVA	41428.00	4540.15	172.25	120.84	665.34	5498.59	274.93	5223.66
196	NANDURBAR	AKRANI	37951.00	3867.15	180.89	146.14	347.75	4541.93	227.10	4314.82
197	NANDURBAR	NAWAPUR	90952.00	11137.92	1050.53	235.04	3267.67	15691.15	841.11	14850.04
198	NANDURBAR	SHAHADA	113802.00	10805.97	610.31	403.11	1600.44	13419.83	727.36	12692.47

Sl.No	District	Assessment Unit Name	Total Recharge Worthy Area (Ham)	Recharge from Rainfall-MON (Ham)	Recharge from Other Sources-MON (Ham)	Recharge from Rainfall-NM (Ham)	Recharge from Other Sources-NM (Ham)	Total Annual Ground Water Recharge (Ham)	Total Natural Discharges (Ham)	Annual Extractable Ground Water Resource (Ham)
199	NANDURBAR	TALODA	32775.00	3674.05	126.20	153.15	636.03	4589.42	229.46	4359.96
200	NASHIK	SINNAR	126789.00	10026.17	1474.81	712.96	4968.80	17182.74	867.48	16315.26
201	NASHIK	KALWAN	61064.00	5992.06	625.34	262.77	1278.33	8158.50	413.77	7744.72
202	NASHIK	NIPHAD	112934.00	8823.07	1295.26	343.59	7071.25	17533.17	995.06	16538.11
203	NASHIK	BAGLAN SATANA	132843.00	8281.55	1013.29	516.91	3441.39	13253.14	808.74	12444.40
204	NASHIK	CHANDWAD	79776.00	6474.94	1037.13	220.21	3839.72	11572.00	719.57	10852.43
205	NASHIK	DEOLA	50983.00	3712.99	617.88	133.17	2127.63	6591.68	329.59	6262.09
206	NASHIK	DINDORI	90388.00	8397.79	553.25	67.31	3179.37	12197.72	681.60	11516.13
207	NASHIK	MALEGAON	158540.00	10874.96	2327.76	621.99	6000.56	19825.27	999.65	18825.62
208	NASHIK	NANDGAON	108456.00	8288.37	457.79	420.49	1473.95	10640.59	536.85	10103.74
209	NASHIK	NASIK	73730.00	6252.50	1728.03	78.61	7569.54	15628.68	1188.98	14439.70
210	NASHIK	PETH	49647.00	9592.43	221.24	0.00	853.15	10666.83	551.19	10115.64
211	NASHIK	SURGANA	72303.00	11411.27	465.10	0.00	531.59	12407.96	620.39	11787.56
212	NASHIK	TRAMBAKESHWAR	68122.00	11318.48	266.74	8.55	376.48	11970.25	602.36	11367.89
213	NASHIK	IGATPURI	66295.00	15741.16	290.35	35.17	1469.04	17535.72	876.78	16658.94
214	NASHIK	YEOLA	96986.00	7422.80	1193.43	364.10	4067.86	13048.18	659.88	12388.31
215	OSMANABAD	WASHI	53518.60	5018.85	355.73	172.16	1069.17	6615.92	330.80	6285.11
216	OSMANABAD	BHOOM	43220.00	3403.07	417.76	88.38	915.66	4824.87	241.25	4583.62
217	OSMANABAD	KALAMB	85658.40	6560.26	746.97	728.24	2046.92	10082.39	504.12	9578.27
218	OSMANABAD	LOHARA	48285.00	4976.24	647.30	270.04	1418.88	7312.46	365.64	6946.82
219	OSMANABAD	OMERGA	89487.00	9064.16	1007.43	576.25	2327.16	12975.00	648.76	12326.24
220	OSMANABAD	OSMANABAD	118844.00	11472.91	1281.64	0.00	3504.31	16258.87	812.95	15445.92
221	OSMANABAD	PARANDA	98394.00	7333.22	653.35	187.39	1647.90	9821.86	491.09	9330.77
222	OSMANABAD	TULJAPUR	134221.00	13335.45	1337.06	561.19	2788.08	18021.79	937.56	17084.23
223	PALGHAR	JAWHAR	32747.00	2418.40	37.42	0.00	228.39	2684.22	174.41	2509.80

Sl.No	District	Assessment Unit Name	Total Recharge Worthy Area (Ham)	Recharge from Rainfall-MON (Ham)	Recharge from Other Sources-MON (Ham)	Recharge from Rainfall-NM (Ham)	Recharge from Other Sources-NM (Ham)	Total Annual Ground Water Recharge (Ham)	Total Natural Discharges (Ham)	Annual Extractable Ground Water Resource (Ham)
224	PALGHAR	DAHANU	52734.00	3366.34	21.31	0.00	1088.55	4476.20	243.88	4232.32
225	PALGHAR	MOKHADA	17627.00	1158.21	41.58	0.00	176.72	1376.51	68.83	1307.68
226	PALGHAR	PALGHAR	58251.00	3822.82	113.38	0.00	1355.55	5291.75	362.85	4928.90
227	PALGHAR	TALASARI	18518.00	989.64	5.99	0.00	65.17	1060.80	53.04	1007.76
228	PALGHAR	VASAI	32750.00	1683.80	7.27	0.00	150.66	1841.73	92.09	1749.64
229	PALGHAR	VIKRAMGAD	28840.00	2513.78	26.54	0.00	199.46	2739.78	244.11	2495.67
230	PALGHAR	WADA	34619.00	2353.25	35.84	0.00	96.00	2485.10	159.38	2325.72
231	PARBHANI	PARBHANI	113532.00	10117.19	283.09	403.15	3292.56	14095.99	748.58	13347.41
232	PARBHANI	GANGAKHED	51836.00	3754.46	269.40	0.00	4679.17	8703.03	444.13	8258.89
233	PARBHANI	JINTUR	127004.00	11860.24	400.53	188.87	6542.34	18991.99	1053.81	17938.18
234	PARBHANI	MANWAT	46817.00	5006.53	224.30	0.00	1685.64	6916.47	345.82	6570.65
235	PARBHANI	PALAM	50884.00	4645.26	90.21	0.00	1286.96	6022.43	301.12	5721.30
236	PARBHANI	PATHARI	57963.00	6461.71	97.73	0.00	1573.94	8133.38	406.68	7726.70
237	PARBHANI	PURNA	65182.00	6784.96	49.91	29.93	5144.90	12009.70	600.48	11409.22
238	PARBHANI	SELU	72703.00	6247.99	294.28	23.48	1286.00	7851.76	398.87	7452.89
239	PARBHANI	SONPEPTH	35479.00	3176.44	76.04	0.00	580.33	3832.80	191.63	3641.17
240	PUNE	JUNNAR	109757.44	8825.19	1843.63	48.28	6432.35	17149.45	1032.57	16116.88
241	PUNE	AMBEGAON	78670.72	6410.13	1213.73	1.84	4646.77	12272.46	696.76	11575.70
242	PUNE	BARAMATI	137784.67	7019.07	3465.31	493.29	11776.49	22754.15	1718.14	21036.01
243	PUNE	BHOR	34070.24	3168.87	221.09	18.37	838.77	4247.10	299.17	3947.93
244	PUNE	DAUND	126393.01	6038.60	2369.23	273.14	8441.34	17122.31	856.12	16266.20
245	PUNE	HAVELI	121553.65	9380.81	960.33	0.00	3218.19	13559.33	697.88	12861.45
246	PUNE	INDAPUR	146762.11	7488.52	4857.53	9.77	18078.88	30434.71	1762.09	28672.63
247	PUNE	KHED	128314.69	10179.69	1034.91	0.00	3054.66	14269.26	713.45	13555.80
248	PUNE	MAVAL	78615.53	8045.62	208.65	0.00	827.20	9081.47	498.44	8583.03

Sl.No	District	Assessment Unit Name	Total Recharge Worthy Area (Ham)	Recharge from Rainfall-MON (Ham)	Recharge from Other Sources-MON (Ham)	Recharge from Rainfall-NM (Ham)	Recharge from Other Sources-NM (Ham)	Total Annual Ground Water Recharge (Ham)	Total Natural Discharges (Ham)	Annual Extractable Ground Water Resource (Ham)
249	PUNE	MULSHI	44401.58	7008.59	173.43	0.00	824.08	8006.09	404.82	7601.27
250	PUNE	PURANDHAR	97519.25	6288.24	1712.26	347.00	5244.87	13592.37	853.13	12739.24
251	PUNE	SHIRUR	148690.70	9535.69	1541.86	0.93	4663.99	15742.46	814.30	14928.16
252	PUNE	VELHE	23194.43	4833.17	61.76	0.00	144.69	5039.62	290.04	4749.58
253	RAIGAD	ALIBAG	25313.00	2221.70	16.31	0.00	519.61	2757.62	138.63	2618.99
254	RAIGAD	KARJAT	38139.00	2930.48	79.96	0.00	754.13	3764.57	213.70	3550.87
255	RAIGAD	KHALAPUR	31561.00	3671.88	55.91	0.00	195.98	3923.77	197.78	3725.99
256	RAIGAD	MAHAD	27363.00	2176.80	26.27	0.00	163.12	2366.19	118.30	2247.89
257	RAIGAD	MANGAON	51136.00	3865.88	33.85	0.00	598.33	4498.06	224.89	4273.16
258	RAIGAD	MHASALA	14830.00	1086.83	18.10	0.00	232.18	1337.12	66.86	1270.26
259	RAIGAD	PANVEL	35584.00	2803.95	28.52	0.00	229.06	3061.53	157.27	2904.26
260	RAIGAD	POLADPUR	11559.00	873.86	9.65	0.00	34.22	917.73	45.89	871.84
261	RAIGAD	ROHA	40981.00	3043.13	29.20	0.00	1618.28	4690.60	235.63	4454.98
262	RAIGAD	SUDHAGAD	25712.00	2306.51	31.78	0.00	312.77	2651.07	135.55	2515.53
263	RAIGAD	TALA	8194.00	619.47	10.45	0.00	79.48	709.40	35.47	673.93
264	RAIGAD	URAN	17106.00	1799.05	7.55	0.00	46.56	1853.16	92.66	1760.50
265	RAIGAD	SHRIWARDHAN	12528.00	901.85	15.64	0.00	240.80	1158.29	57.92	1100.37
266	RAIGAD	PEN	22164.00	2365.56	34.32	0.00	114.89	2514.77	127.83	2386.95
267	RAIGAD	MURUD	12589.00	951.73	11.27	0.00	371.39	1334.39	66.72	1267.67
268	RATNAGIRI	CHIPLUN	79261.00	5889.31	28.44	0.00	356.66	6274.42	313.73	5960.69
269	RATNAGIRI	DAPOLI	40731.00	3086.90	15.86	0.00	298.89	3401.65	177.95	3223.70
270	RATNAGIRI	GUHAGAR	57545.00	3829.79	25.41	0.00	282.26	4137.46	206.88	3930.58
271	RATNAGIRI	KHED	73065.00	5523.72	10.29	0.00	182.38	5716.38	285.82	5430.57
272	RATNAGIRI	LANJA	42631.00	3146.92	24.03	11.98	361.50	3544.43	192.87	3351.56
273	RATNAGIRI	MANDANGAD	26680.00	2017.01	13.62	0.00	66.09	2096.72	104.84	1991.88

Sl.No	District	Assessment Unit Name	Total Recharge Worthy Area (Ham)	Recharge from Rainfall-MON (Ham)	Recharge from Other Sources-MON (Ham)	Recharge from Rainfall-NM (Ham)	Recharge from Other Sources-NM (Ham)	Total Annual Ground Water Recharge (Ham)	Total Natural Discharges (Ham)	Annual Extractable Ground Water Resource (Ham)
274	RATNAGIRI	RAJAPUR	76472.00	6646.44	24.08	3.58	261.80	6935.90	573.27	6362.63
275	RATNAGIRI	RATNAGIRI	50541.00	3646.97	3.01	2.92	234.92	3887.82	194.39	3693.43
276	RATNAGIRI	SANGAMESHWAR	64381.00	4872.64	24.55	0.00	135.99	5033.19	251.68	4781.50
277	SANGLI	ATPADI	84923.00	4114.57	2291.09	0.00	6377.00	12782.66	657.09	12125.57
278	SANGLI	JAT	224761.00	15242.15	3048.53	121.76	8934.02	27346.47	1475.74	25870.72
279	SANGLI	KADEGAON	56982.00	3280.60	2755.96	0.00	8359.94	14396.51	896.32	13500.19
280	SANGLI	KAVATHE MAHANKAL	74953.00	4169.35	2197.85	6.15	5740.28	12113.63	815.06	11298.58
281	SANGLI	KHANAPUR	50917.79	2954.22	2741.21	0.00	7757.51	13452.94	1144.41	12308.53
282	SANGLI	MIRAJ	95038.00	6069.85	2196.82	0.49	8986.64	17253.80	956.19	16297.61
283	SANGLI	PALUS	31212.04	1981.12	1836.64	0.00	4308.67	8126.44	716.52	7409.92
284	SANGLI	SHIRALA	58734.27	4211.97	575.19	0.00	2356.98	7144.13	451.66	6692.48
285	SANGLI	WALWA	75921.97	5058.62	1013.48	0.00	4001.94	10074.04	824.44	9249.60
286	SANGLI	TASGAON	89315.17	5921.04	2947.18	0.00	8666.46	17534.67	1019.97	16514.70
287	SATARA	JAOLI	55215.00	3572.26	430.61	37.86	394.41	4435.13	236.44	4198.69
288	SATARA	KARAD	88323.00	4952.59	3008.67	357.90	4330.17	12649.32	720.89	11928.43
289	SATARA	KHANDALA	45551.00	2460.53	724.97	278.56	1635.22	5099.27	301.93	4797.34
290	SATARA	KHATAV	126905.00	7079.13	1699.66	747.86	2624.22	12150.87	650.17	11500.70
291	SATARA	KOREGAON	78698.00	5821.02	2468.37	293.80	5055.13	13638.32	944.58	12693.74
292	SATARA	MAHABALESHWAR	6012.00	149.54	28.51	0.55	39.70	218.30	10.92	207.38
293	SATARA	MAN	142517.00	8546.32	1832.66	1004.56	2634.87	14018.41	700.94	13317.47
294	SATARA	PATAN	93138.00	1802.30	812.74	49.86	841.92	3506.83	214.11	3292.72
295	SATARA	PHALTAN	110345.00	5621.85	2861.70	626.86	8246.61	17357.03	971.06	16385.97
296	SATARA	SATARA	78336.00	8771.10	3509.47	314.57	7401.80	19996.95	1388.67	18608.28
297	SATARA	WAI	52467.00	3710.64	1644.92	21.66	3862.99	9240.21	728.13	8512.08

Sl.No	District	Assessment Unit Name	Total Recharge Worthy Area (Ham)	Recharge from Rainfall-MON (Ham)	Recharge from Other Sources-MON (Ham)	Recharge from Rainfall-NM (Ham)	Recharge from Other Sources-NM (Ham)	Total Annual Ground Water Recharge (Ham)	Total Natural Discharges (Ham)	Annual Extractable Ground Water Resource (Ham)
298	SINDHUDURG	KANKAVALI	46940.58	3842.79	36.16	0.00	305.53	4184.48	209.22	3975.26
299	SINDHUDURG	DEVGAD	48229.35	3594.78	25.24	0.00	289.05	3909.07	195.46	3713.62
300	SINDHUDURG	DOUDAMARG	11509.59	581.22	10.64	0.74	75.99	668.59	33.42	635.17
301	SINDHUDURG	KUDAL	49252.15	4185.19	41.31	0.00	623.85	4850.34	242.51	4607.83
302	SINDHUDURG	MALWAN	38108.97	3193.29	11.61	0.00	273.82	3478.71	173.94	3304.78
303	SINDHUDURG	VAIBHAVVWADI	17782.87	1350.22	6.40	0.00	128.85	1485.47	74.27	1411.19
304	SINDHUDURG	VENGURLA	23110.32	1721.58	15.96	0.12	202.83	1940.49	97.03	1843.47
305	SINDHUDURG	SAWANTWADI	44371.67	2356.14	48.80	2.97	332.24	2740.15	144.67	2595.48
306	SOLAPUR	AKKALKOT	140705.00	11371.90	562.09	259.21	1783.53	13976.73	698.84	13277.89
307	SOLAPUR	BARSHI	149562.00	7586.12	849.96	75.60	2240.42	10752.10	537.61	10214.49
308	SOLAPUR	KARMALA	165983.00	9073.84	737.47	198.01	2166.78	12176.10	608.80	11567.31
309	SOLAPUR	MADHA	155933.00	10795.91	1446.86	238.30	4111.84	16592.91	829.65	15763.26
310	SOLAPUR	MALSHIRAS	149299.00	8780.29	1792.58	657.74	9355.97	20586.57	1029.34	19557.23
311	SOLAPUR	MANGALWEDHA	113510.00	5586.16	833.33	103.92	3025.01	9548.42	477.43	9070.99
312	SOLAPUR	MOHOL	136046.00	7594.71	1581.67	194.04	4888.63	14259.04	712.95	13546.10
313	SOLAPUR	N.SOLAPUR	58927.00	4708.68	385.49	101.27	1404.75	6600.19	330.02	6270.18
314	SOLAPUR	PANDHARPUR	129010.00	8015.55	1219.12	216.05	5841.02	15291.74	764.59	14527.15
315	SOLAPUR	S.SOLAPUR	108415.00	8818.51	387.99	210.72	1692.02	11109.23	555.48	10553.76
316	SOLAPUR	SANGOLA	176500.00	9974.43	1122.28	699.17	3586.82	15382.70	769.13	14613.57
317	THANE	BHIVANDI	40634.00	2538.74	48.74	0.00	371.01	2958.48	160.38	2798.10
318	THANE	AMBARNATH	26980.00	1647.34	35.26	0.00	142.55	1825.15	96.00	1729.14
319	THANE	KALYAN	12643.00	796.22	15.53	0.00	46.08	857.83	42.89	814.93
320	THANE	MURBAD	54378.00	3347.37	77.03	0.00	347.13	3771.53	195.24	3576.29
321	THANE	SHAHAPUR	75675.00	5052.06	108.25	0.00	1257.22	6417.54	395.43	6022.11
322	THANE	THANE	21837.00	1341.46	2.84	0.00	58.16	1402.45	70.12	1332.33

Sl.No	District	Assessment Unit Name	Total Recharge Worthy Area (Ham)	Recharge from Rainfall-MON (Ham)	Recharge from Other Sources-MON (Ham)	Recharge from Rainfall-NM (Ham)	Recharge from Other Sources-NM (Ham)	Total Annual Ground Water Recharge (Ham)	Total Natural Discharges (Ham)	Annual Extractable Ground Water Resource (Ham)
323	THANE	ULHASNAGAR	1300.00	77.13	0.91	0.00	9.23	87.27	4.36	82.91
324	WARDHA	ARVI	79476.00	7453.80	234.82	209.55	2115.51	10013.68	500.70	9512.98
325	WARDHA	ASHTI	45935.00	4242.89	72.70	102.79	1613.99	6032.37	301.62	5730.75
326	WARDHA	HINGANGHAT	91965.00	9861.33	151.35	266.90	2208.05	12487.63	624.39	11863.24
327	WARDHA	KARANJA	60320.00	6193.12	228.85	65.67	1739.59	8227.23	411.37	7815.86
328	WARDHA	SAMUDRAPUR	92552.00	10397.08	163.39	204.61	3636.36	14401.44	722.29	13679.15
329	WARDHA	SELOO	64140.00	6150.90	136.10	26.06	3637.72	9950.78	608.36	9342.42
330	WARDHA	WARDHA	78650.00	8020.76	302.22	349.42	3306.43	11978.83	690.93	11287.91
331	WARDHA	DEOLI	68178.00	7475.92	149.50	238.97	2805.37	10669.76	533.48	10136.28
332	WASHIM	KARANJA	81886.56	5917.13	328.63	0.98	1675.66	7922.40	445.16	7477.23
333	WASHIM	MALEGAON	84643.08	6545.88	427.48	44.61	2039.55	9057.53	452.87	8604.66
334	WASHIM	MANGRULPIR	71008.53	6848.76	569.78	12.31	2206.05	9636.89	507.63	9129.26
335	WASHIM	MANORA	70488.15	6479.53	461.16	1.73	2222.64	9165.06	458.26	8706.81
336	WASHIM	RISOD	84924.19	9381.64	526.01	3.64	2444.53	12355.82	667.52	11688.30
337	WASHIM	WASHIM	88245.91	7780.13	528.78	5.58	2280.78	10595.27	529.77	10065.50
338	YAWATMAL	OMARKHED	97835.73	10168.89	1339.87	424.72	3657.98	15591.46	963.64	14627.82
339	YAWATMAL	ARNI	65767.39	5614.20	703.44	299.90	2613.71	9231.24	471.74	8759.50
340	YAWATMAL	BABULGAON	53129.15	4368.71	224.54	471.19	644.64	5709.09	286.53	5422.56
341	YAWATMAL	DARAVHA	76872.21	5937.50	913.28	405.61	1872.73	9129.12	506.41	8622.71
342	YAWATMAL	DIGRAS	46370.60	3772.93	607.04	190.24	1697.20	6267.41	358.37	5909.03
343	YAWATMAL	GHATANJI	75790.02	6381.81	1827.30	396.56	2615.28	11220.95	561.06	10659.90
344	YAWATMAL	KALAMB	62832.35	5115.88	335.54	333.47	810.76	6595.65	349.23	6246.42
345	YAWATMAL	MAHAGAON	72193.56	5916.04	632.28	333.37	1732.56	8614.24	445.41	8168.83
346	YAWATMAL	NER	63372.32	4140.43	328.27	284.55	869.34	5622.59	283.63	5338.96
347	YAWATMAL	PANDHARKAVADA	69925.56	5981.59	1272.76	397.29	2127.19	9778.83	488.94	9289.89

Sl.No	District	Assessment Unit Name	Total Recharge Worthy Area (Ham)	Recharge from Rainfall-MON (Ham)	Recharge from Other Sources-MON (Ham)	Recharge from Rainfall-NM (Ham)	Recharge from Other Sources-NM (Ham)	Total Annual Ground Water Recharge (Ham)	Total Natural Discharges (Ham)	Annual Extractable Ground Water Resource (Ham)
348	YAWATMAL	PUSAD	98440.16	8207.64	1029.52	470.44	3507.29	13214.89	708.58	12506.31
349	YAWATMAL	RALEGAON	68676.09	5873.47	368.46	369.94	936.26	7548.12	497.74	7050.38
350	YAWATMAL	WANI	80596.78	7284.20	303.10	259.24	817.61	8664.15	433.20	8230.95
351	YAWATMAL	YEOTMAL	93283.95	7117.12	1146.78	737.30	2156.80	11157.99	573.75	10584.24
352	YAWATMAL	ZARA ZAMANI	61394.01	5188.18	1166.60	260.50	1434.46	8049.74	405.92	7643.83
353	YAWATMAL	MAREGAON	57586.79	3540.60	194.67	191.48	563.81	4490.56	245.54	4245.02
		TOTAL	**25991402.57**	**2074450.42**	**262474.46**	**63612.67**	**875901.29**	**3276438.84**	**181515.52**	**3094923.32**

ANNEXURE- C: ASSESSMENT OF DYNAMIC GROUND WATER EXTRACTION OF MAHARASHTRA -2023

Sl.No	District	Assessment Unit Name	Total Recharge Worthy Area (Ham)	Annual Extractable Ground Water Resource (Ham)	Irrigation Use (Ham)	Industrial Use (Ham)	Domestic Use (Ham)	Total Extraction (Ham)	Annual GW Allocation for for Domestic Use as on 2025 (Ham)	Net Ground Water Availability for future use (Ham)	Stage of Ground Water Extraction (%)	Categorization (OE/Critical/Semicritical/Safe)
1	AHMEDNAGAR	SANGAMNER	164094.9	13780.0	12014.9	0.0	773.8	12788.7	773.8	2665.2	92.8	critical
2	AHMEDNAGAR	PATHARDI	110910.0	10985.6	8619.4	0.0	479.0	9098.4	479.0	2823.6	82.8	semi_critical
3	AHMEDNAGAR	NAGAR	131868.0	12009.1	7568.6	0.0	436.5	8005.1	436.5	4065.4	66.7	safe
4	AHMEDNAGAR	KOPARGAON	66643.4	7719.5	6723.3	0.0	469.8	7193.2	469.8	1436.7	93.2	critical
5	AHMEDNAGAR	KARJAT	139398.0	11738.9	7176.8	0.0	241.9	7418.7	241.9	4320.3	63.2	safe
6	AHMEDNAGAR	AKOLA	123350.0	8350.3	5994.7	0.0	649.5	6644.2	649.5	2367.6	79.6	semi_critical
7	AHMEDNAGAR	JAMKHED	68603.0	6234.9	3591.1	0.0	286.9	3878.0	286.9	2357.0	62.2	safe
8	AHMEDNAGAR	NEWASA	132780.0	16804.8	14122.1	0.0	448.1	14570.2	458.7	3292.5	86.7	semi_critical
9	AHMEDNAGAR	PARNER	177332.0	16045.5	5916.0	0.0	709.4	6625.4	709.4	9420.1	41.3	safe
10	AHMEDNAGAR	RHATA	65448.4	7936.8	8773.4	0.0	213.2	8986.6	213.2	111.3	113.2	over_exploited
11	AHMEDNAGAR	SHEVGAON	94578.0	8689.9	6955.6	0.0	403.8	7359.4	403.8	2033.6	84.7	semi_critical
12	AHMEDNAGAR	SHRIGONDA	135667.0	11462.6	8417.3	0.0	328.4	8745.6	328.4	3389.0	76.3	semi_critical
13	AHMEDNAGAR	SHRIRAMPUR	58316.3	7954.7	6938.6	0.0	363.2	7301.8	363.2	1553.6	91.8	critical
14	AHMEDNAGAR	RAHURI	93486.0	12794.3	11776.7	0.0	393.3	12170.0	394.2	2796.7	95.1	critical
15	AKOLA	AKOT	80449.2	4341.9	2677.5	0.0	138.0	2815.4	192.8	1526.5	64.8	safe
16	AKOLA	AKOLA	99521.9	4395.4	2109.7	0.2	522.1	2632.0	564.1	1763.4	59.9	safe
17	AKOLA	BALAPUR	67013.1	4350.9	2440.5	0.3	268.3	2709.1	268.9	1651.8	62.3	safe
18	AKOLA	BARSI TAKLI	68347.4	5542.5	3312.1	0.0	719.1	4031.3	719.1	1511.2	72.7	semi_critical
19	AKOLA	MURTIZAPUR	76798.0	5059.9	3233.1	0.1	244.4	3477.6	257.0	1582.3	68.7	safe
20	AKOLA	PATUR	59873.3	5756.4	3522.3	0.0	228.4	3750.7	228.4	2013.2	65.2	safe

Sl.No	District	Assessment Unit Name	Total Recharge Worthy Area (Ham)	Annual Extractable Ground Water Resource (Ham)	Irrigation Use (Ham)	Industrial Use (Ham)	Domestic Use (Ham)	Total Extraction (Ham)	Annual GW Allocation for for Domestic Use as on 2025 (Ham)	Net Ground Water Availability for future use (Ham)	Stage of Ground Water Extraction (%)	Categorization (OE/Critical/Semicritical/Safe)
21	AKOLA	TELHARA	62162.0	6838.3	4248.8	0.0	134.3	4383.1	145.3	2490.2	64.1	safe
22	AMRAVATI	ACHLAPUR	63812.0	7503.7	6829.0	0.0	429.7	7258.6	431.0	1445.0	96.7	critical
23	AMRAVATI	AMRAVATI	80309.0	7238.5	5127.5	0.0	426.1	5553.5	443.2	1684.9	76.7	semi_critical
24	AMRAVATI	ANJANGAON SURJI	52089.0	5132.5	2959.6	0.0	97.9	3057.5	112.5	2088.0	59.6	safe
25	AMRAVATI	BHATKULI	57991.0	396.3	185.0	0.0	28.9	213.8	831.8	182.4	54.0	safe
26	AMRAVATI	CHANDUR BAZAR	66563.0	6422.0	8825.8	0.0	369.9	9195.7	369.9	1069.6	143.2	over_exploited
27	AMRAVATI	CHANDUR RAILWAY	47062.0	5040.1	2712.6	0.0	601.3	3314.0	601.3	1891.7	65.8	safe
28	AMRAVATI	CHIKHALDARA	31728.0	2997.0	1824.0	0.0	155.1	1979.1	155.1	1147.5	66.0	safe
29	AMRAVATI	DARYAPUR	77689.0	0.0	0.0	0.0	0.0	0.0	190.0	0.0		salinity
30	AMRAVATI	DHAMANGAON RLY	59692.0	5835.4	3800.8	0.0	495.1	4295.9	495.1	1539.4	73.6	semi_critical
31	AMRAVATI	DHARNI	39180.0	3669.2	1673.6	0.0	207.6	1881.2	207.6	1795.6	51.3	safe
32	AMRAVATI	MORSHI	70106.0	9414.0	9085.9	0.0	402.9	9488.8	402.9	995.8	100.8	over_exploited
33	AMRAVATI	NANDGAON	70595.0	7314.3	5203.5	0.0	442.7	5646.1	442.7	1868.1	77.2	semi_critical
34	AMRAVATI	TIWSA	53891.0	8597.8	5556.2	0.0	231.8	5787.9	231.8	3086.5	67.3	safe
35	AMRAVATI	WARUD	68532.0	10753.6	15718.8	0.0	358.2	16077.1	358.2	8.9	149.5	over_exploited
36	AURANGABAD	AURANGABAD	147407.3	12181.7	8275.3	0.0	665.5	8940.8	665.5	3240.9	73.4	semi_critical
37	AURANGABAD	FULAMBRE	39998.8	4645.7	3367.4	0.0	127.9	3495.4	127.9	1150.4	75.2	semi_critical
38	AURANGABAD	GANGAPUR	128019.0	12886.1	8708.7	0.0	497.2	9205.9	497.2	3680.2	71.4	semi_critical
39	AURANGABAD	KANNAD	128047.0	15825.3	10011.9	0.0	512.3	10524.2	512.3	5301.1	66.5	safe
40	AURANGABAD	KHULDABAD	43724.0	5606.5	3807.7	0.0	212.0	4019.7	211.9	1586.9	71.7	semi_critical
41	AURANGABAD	PAITHAN	149988.0	17885.3	12353.5	0.0	456.1	12809.6	456.1	5075.6	71.6	semi_critical

Sl.No	District	Assessment Unit Name	Total Recharge Worthy Area (Ham)	Annual Extractable Ground Water Resource (Ham)	Irrigation Use (Ham)	Industrial Use (Ham)	Domestic Use (Ham)	Total Extraction (Ham)	Annual GW Allocation for for Domestic Use as on 2025 (Ham)	Net Ground Water Availability for future use (Ham)	Stage of Ground Water Extraction (%)	Categorization (OE/Critical/Semicritical/Safe)
42	AURANGABAD	SILLOD	117696.0	12808.3	8724.1	0.0	392.1	9116.2	392.1	3692.1	71.2	semi_critical
43	AURANGABAD	SOYEGAON	60928.0	4865.9	2979.4	0.0	108.0	3087.3	108.0	1778.6	63.4	safe
44	AURANGABAD	VAIJAPUR	134366.0	14931.6	11124.4	0.0	491.4	11615.9	491.4	3315.7	77.8	semi_critical
45	BEED	AMBEJOGAI	89860.0	10068.0	4984.4	2.7	401.1	5388.1	401.1	4679.9	53.5	safe
46	BEED	ASHTI	143644.0	16275.7	9424.8	4.2	872.2	10301.3	872.2	5974.5	63.3	safe
47	BEED	BEED	134779.0	15226.3	9102.3	7.1	657.7	9767.1	657.7	5459.1	64.1	safe
48	BEED	DHARUR	23576.0	2852.9	1453.4	0.2	91.7	1545.3	91.7	1307.5	54.2	safe
49	BEED	GEVRAI	147921.0	17533.4	11195.4	0.5	698.8	11894.7	698.8	5638.8	67.8	safe
50	BEED	KAIJ	132030.0	14161.6	8706.5	2.1	340.8	9049.4	340.8	5112.2	63.9	safe
51	BEED	MAJALGAON	92096.0	11737.5	6102.0	19.1	427.8	6548.9	427.8	5188.6	55.8	safe
52	BEED	PARLI	63526.0	11301.1	3975.5	3.3	289.8	4268.6	289.8	7032.5	37.8	safe
53	BEED	PATODA	72377.0	8424.3	5341.8	0.3	343.2	5685.4	343.2	2738.9	67.5	safe
54	BEED	SHIRUR KA	61407.0	6883.4	3779.1	0.0	324.5	4103.7	324.5	2779.7	59.6	safe
55	BEED	WADVANI	73989.0	9041.0	4265.4	0.1	326.8	4592.3	326.8	4448.6	50.8	safe
56	BHANDARA	BHANDARA	63776.0	8289.4	2833.2	25.7	670.2	3529.1	670.2	4760.3	42.6	safe
57	BHANDARA	LAKHANDUR	45038.0	36831.0	2729.8	22.7	429.6	3182.2	429.6	33648.9	8.6	safe
58	BHANDARA	LAKHANI	46600.0	5816.2	2718.7	30.8	431.4	3181.0	431.4	2635.2	54.7	safe
59	BHANDARA	MOHADI	51494.0	5818.2	2823.7	46.1	442.3	3312.2	442.3	2506.1	56.9	safe
60	BHANDARA	PAUNI	64046.0	14969.2	4964.0	26.6	497.9	5488.6	498.0	9480.5	36.7	safe
61	BHANDARA	SAKOLI	53420.0	6880.7	3045.9	16.7	527.5	3590.1	527.5	3290.6	52.2	safe
62	BHANDARA	TUMSAR	72123.0	8215.6	3298.8	3.0	650.1	3951.9	650.1	4263.7	48.1	safe
63	BULDHANA	BULDHANA	60748.0	7567.0	6019.2	0.0	294.1	6313.3	294.1	1356.3	83.4	semi_critical
64	BULDHANA	CHIKHALI	93581.0	10897.6	8030.8	0.0	362.8	8393.6	362.8	2504.0	77.0	semi_critical

Sl.No	District	Assessment Unit Name	Total Recharge Worthy Area (Ham)	Annual Extractable Ground Water Resource (Ham)	Irrigation Use (Ham)	Industrial Use (Ham)	Domestic Use (Ham)	Total Extraction (Ham)	Annual GW Allocation for for Domestic Use as on 2025 (Ham)	Net Ground Water Availability for future use (Ham)	Stage of Ground Water Extraction (%)	Categorization (OE/Critical/Semicritical/Safe)
65	BULDHANA	DEULGAON RAJA	44866.0	5618.8	4131.9	0.0	210.1	4342.0	210.1	1276.8	77.3	semi_critical
66	BULDHANA	JALGAON	54218.0	5200.2	5859.1	0.0	170.0	6029.1	182.4	512.3	115.9	over_exploited
67	BULDHANA	KHAMGAON	96087.0	10098.1	6528.9	0.0	389.3	6918.2	389.3	3217.3	68.5	safe
68	BULDHANA	LONAR	57912.0	7345.1	4486.4	0.0	273.3	4759.7	273.3	2585.4	64.8	safe
69	BULDHANA	MALAKAPUR	44372.0	4806.5	3467.2	0.0	156.1	3623.2	156.1	1183.2	75.4	semi_critical
70	BULDHANA	MEHKAR	90285.0	10741.4	6227.3	0.0	378.2	6605.6	378.3	4135.8	61.5	safe
71	BULDHANA	MOTALA	56018.0	5379.6	3996.2	0.0	244.8	4241.1	244.8	1138.5	78.8	semi_critical
72	BULDHANA	NANDURA	53625.0	4976.3	3813.3	0.0	131.3	3944.6	165.5	1042.2	79.3	semi_critical
73	BULDHANA	SANGRAMPUR	51627.0	4122.1	4599.7	0.0	143.5	4743.1	170.9	901.1	115.1	over_exploited
74	BULDHANA	SHEGAON	50979.0	3177.3	1606.7	0.0	214.6	1821.3	251.5	1356.0	57.3	safe
75	BULDHANA	SINDKHEDRAJA	66297.0	8036.5	5670.5	0.0	286.3	5956.8	286.3	2079.7	74.1	semi_critical
76	CHANDRAPUR	BALLARPUR	43059.0	5749.5	492.4	1.4	525.1	1018.9	525.1	4730.6	17.7	safe
77	CHANDRAPUR	BHADRAVATI	142621.0	13208.3	1483.5	2.3	1431.9	2917.7	1431.9	10290.6	22.1	safe
78	CHANDRAPUR	BRAHMAPURI	72363.0	7497.6	1862.7	3.2	1422.0	3287.9	1422.0	4209.8	43.9	safe
79	CHANDRAPUR	CHANDRAPUR	94061.0	9868.2	980.7	4.1	1127.1	2111.9	1127.1	7756.3	21.4	safe
80	CHANDRAPUR	CHIMMUR	64777.0	5660.5	1188.1	0.5	1333.3	2521.9	1333.3	3138.7	44.6	safe
81	CHANDRAPUR	GONDPIPRI	73430.0	7161.5	732.5	1.4	1084.0	1817.9	1084.0	5343.6	25.4	safe
82	CHANDRAPUR	JIWATI	43178.0	3235.7	430.2	1.2	607.5	1038.9	607.5	2196.8	32.1	safe
83	CHANDRAPUR	KORPANA	43159.0	2544.2	345.3	2.6	443.4	791.3	443.4	1752.9	31.1	safe
84	CHANDRAPUR	MUL	40572.0	5250.2	676.6	0.3	1006.8	1683.8	1006.8	3566.4	32.1	safe
85	CHANDRAPUR	NAGBHIND	65337.0	8682.1	1691.7	2.7	1193.4	2887.9	1193.5	5794.2	33.3	safe
86	CHANDRAPUR	POBHURNA	36463.0	4467.1	620.0	0.3	615.8	1236.1	615.8	3231.0	27.7	safe
87	CHANDRAPUR	RAJURA	82548.0	7321.3	738.4	1.8	1218.3	1958.5	1218.3	5362.7	26.8	safe
88	CHANDRAPUR	SAWALI	59050.0	8303.7	594.8	0.5	1430.0	2025.3	1430.0	6278.4	24.4	safe

Sl.No	District	Assessment Unit Name	Total Recharge Worthy Area (Ham)	Annual Extractable Ground Water Resource (Ham)	Irrigation Use (Ham)	Industrial Use (Ham)	Domestic Use (Ham)	Total Extraction (Ham)	Annual GW Allocation for for Domestic Use as on 2025 (Ham)	Net Ground Water Availability for future use (Ham)	Stage of Ground Water Extraction (%)	Categorization (OE/Critical/Semicritical/Safe)
89	CHANDRAPUR	SINDEWALI	78649.0	10351.7	1128.5	1.0	2208.3	3337.9	2208.3	7013.8	32.2	safe
90	CHANDRAPUR	WARORA	108390.0	11600.9	1967.3	0.6	1916.4	3884.3	1916.4	7716.6	33.5	safe
91	DHULE	DHULE	182626.0	18976.2	10958.8	43.2	394.0	11396.0	394.0	7580.3	60.1	safe
92	DHULE	SAKRI	196767.0	19490.3	9119.2	8.5	526.3	9654.0	526.3	9836.3	49.5	safe
93	DHULE	SHIRPUR	130779.0	16344.7	7297.3	34.9	436.9	7769.1	436.9	8818.3	47.5	safe
94	DHULE	SINDKHEDA	131960.0	14096.2	6441.2	14.5	399.3	6855.1	399.3	7241.1	48.6	safe
95	GADCHIROLI	AHERI	114098.5	10957.4	1131.1	0.0	342.6	1473.7	342.6	9483.7	13.4	safe
96	GADCHIROLI	KORCHI	38658.7	4758.2	1045.5	0.0	182.1	1227.6	182.1	3530.6	25.8	safe
97	GADCHIROLI	GADCHIROLI	51743.8	6512.5	1437.2	0.0	296.3	1733.5	296.3	4779.0	26.6	safe
98	GADCHIROLI	WADSA	38873.0	6455.6	1292.9	0.0	378.1	1671.0	378.1	4784.6	25.9	safe
99	GADCHIROLI	ETAPALLI	114792.2	12288.7	1640.4	0.0	345.3	1985.6	345.3	10303.1	16.2	safe
100	GADCHIROLI	ARMORI	63493.9	8872.8	2296.8	0.2	464.8	2761.8	464.8	6111.0	31.1	safe
101	GADCHIROLI	BHAMRAGAD	37688.2	3522.1	206.2	0.0	69.7	275.9	69.7	3246.1	7.8	safe
102	GADCHIROLI	CHAMORSHI	125583.7	13563.9	2587.8	1.3	729.3	3318.4	729.3	10245.5	24.5	safe
103	GADCHIROLI	DHANORA	75416.3	9046.6	2131.4	0.0	311.6	2443.1	311.6	6603.5	27.0	safe
104	GADCHIROLI	KURKHEDA	76871.9	9945.3	2923.6	0.0	260.1	3183.7	260.1	6761.6	32.0	safe
105	GADCHIROLI	MULCHERA	70866.1	7506.9	1523.4	0.0	160.6	1684.0	160.6	5823.0	22.4	safe
106	GADCHIROLI	SORONCHA	78563.0	9433.4	2938.8	0.0	367.2	3306.0	367.3	6127.4	35.0	safe
107	GONDIA	TIRORA	52133.3	7250.7	963.5	24.4	989.4	1977.3	989.4	5273.4	27.3	safe
108	GONDIA	AMGAON	35689.1	4787.9	577.7	28.1	808.7	1414.5	808.7	3373.4	29.5	safe
109	GONDIA	DEORI	80783.7	8593.1	813.2	12.1	449.3	1274.5	449.3	7318.6	14.8	safe
110	GONDIA	GONDIA	62169.5	8113.5	1611.5	100.7	1037.5	2749.6	1037.5	5363.8	33.9	safe
111	GONDIA	GOREGAON	41385.4	4766.7	1250.6	86.0	754.5	2091.1	754.5	2675.6	43.9	safe
112	GONDIA	SALEKASA	39296.0	6323.7	884.6	18.2	581.3	1484.1	581.3	4839.6	23.5	safe

Sl.No	District	Assessment Unit Name	Total Recharge Worthy Area (Ham)	Annual Extractable Ground Water Resource (Ham)	Irrigation Use (Ham)	Industrial Use (Ham)	Domestic Use (Ham)	Total Extraction (Ham)	Annual GW Allocation for for Domestic Use as on 2025 (Ham)	Net Ground Water Availability for future use (Ham)	Stage of Ground Water Extraction (%)	Categorization (OE/Critical/Semicritical/Safe)
113	GONDIA	ARJUNI MOREGAON	87477.0	14060.8	1670.0	24.9	700.9	2395.8	700.9	11665.0	17.0	safe
114	GONDIA	SADAK ARJUNI	60770.8	8470.5	2382.7	24.2	614.9	3021.8	614.9	5448.7	35.7	safe
115	HINGOLI	AUNDHA	81961.0	22213.1	6393.4	0.0	651.3	7044.7	651.3	15168.3	31.7	safe
116	HINGOLI	BASMATH	76436.0	34651.8	10515.6	1.0	536.8	11053.4	536.8	23643.4	31.9	safe
117	HINGOLI	HINGOLI	94832.0	14971.9	5002.0	0.8	374.1	5376.9	374.1	9595.0	35.9	safe
118	HINGOLI	KALMNURI	94891.0	17575.3	7923.2	0.7	376.8	8300.7	376.8	9323.4	47.2	safe
119	HINGOLI	SENGAON	118121.0	16193.1	6452.8	0.0	220.1	6672.9	220.1	9520.2	41.2	safe
120	JALGAON	BHUSAWAL	53818.0	5800.2	4202.7	10.7	275.8	4489.2	275.8	1491.5	77.4	semi_critical
121	JALGAON	AMALNER	89266.0	11980.0	7978.1	4.9	559.5	8542.5	559.5	3521.8	71.3	semi_critical
122	JALGAON	BHADGAON	49142.0	10055.8	7767.9	26.1	199.3	7993.4	199.3	2062.4	79.5	semi_critical
123	JALGAON	BODWAD	35669.0	3912.8	2819.8	0.7	217.7	3038.2	217.7	874.7	77.6	semi_critical
124	JALGAON	CHALISGAON	103335.0	14149.9	10327.3	4.1	408.9	10740.3	408.9	3434.7	75.9	semi_critical
125	JALGAON	CHOPDA	110180.0	11088.3	8854.9	0.9	345.8	9201.6	345.8	2513.3	83.0	semi_critical
126	JALGAON	DHARANGAON	45418.0	8005.2	4146.1	34.7	209.5	4390.4	209.5	3614.8	54.8	safe
127	JALGAON	ERANDOL	49177.0	6949.4	4533.9	23.6	173.7	4731.3	173.7	2218.1	68.1	safe
128	JALGAON	JALGAON	83198.0	8539.2	4368.2	31.5	248.4	4648.1	248.4	3891.1	54.4	safe
129	JALGAON	JAMNER	126843.0	12825.2	8456.8	0.9	657.8	9115.4	657.8	3729.8	71.1	semi_critical
130	JALGAON	MUKTAINAGAR	63392.0	5501.2	3791.1	5.8	279.8	4076.7	279.8	1424.4	74.1	semi_critical
131	JALGAON	PACHORA	79609.0	10380.6	7251.1	2.0	368.2	7621.4	368.2	2889.0	73.4	semi_critical
132	JALGAON	PAROLA	71160.0	7550.7	5741.1	17.1	450.9	6209.1	450.9	1807.6	82.2	semi_critical
133	JALGAON	RAVER	93907.0	9926.6	12273.5	2.1	274.8	12550.5	274.8	282.8	126.4	over_exploited
134	JALGAON	YAWAL	83769.0	8319.7	8736.0	9.9	217.8	8963.7	217.8	1280.1	107.7	over_exploited
135	JALNA	JALNA	123892.2	10824.4	6797.2	7.2	192.6	6997.0	1331.4	3285.0	64.6	safe

Sl.No	District	Assessment Unit Name	Total Recharge Worthy Area (Ham)	Annual Extractable Ground Water Resource (Ham)	Irrigation Use (Ham)	Industrial Use (Ham)	Domestic Use (Ham)	Total Extraction (Ham)	Annual GW Allocation for for Domestic Use as on 2025 (Ham)	Net Ground Water Availability for future use (Ham)	Stage of Ground Water Extraction (%)	Categorization (OE/Critical/Semicritical/Safe)
136	JALNA	AMBAD	110885.0	9536.7	3898.0	8.5	158.2	4064.6	787.6	4842.6	42.6	safe
137	JALNA	BADNAPUR	53430.7	5670.7	3522.5	5.7	115.4	3643.6	250.6	1891.9	64.3	safe
138	JALNA	BHOKARDAN	127316.3	13201.5	7651.1	8.4	265.0	7924.5	1286.3	4838.3	60.0	safe
139	JALNA	GHAT SAWANGI	108967.0	13855.4	7920.9	1.1	152.2	8074.2	470.7	5462.7	58.3	safe
140	JALNA	JAFRABAD	69380.5	8000.7	4542.0	4.8	133.3	4680.1	408.9	3045.0	58.5	safe
141	JALNA	MANTHA	80364.4	7976.1	3464.5	1.9	137.5	3603.9	724.2	3785.5	45.2	safe
142	JALNA	PARTUR	97564.0	10900.4	4647.7	31.3	197.0	4876.0	434.5	5786.8	44.7	safe
143	KOLHAPUR	AJARA	40265.2	7897.8	3437.6	0.0	145.0	3582.5	145.0	4315.3	45.4	safe
144	KOLHAPUR	BHUDARGAD	50035.3	6853.2	2861.7	0.0	147.9	3009.6	147.9	3843.6	43.9	safe
145	KOLHAPUR	CHANDGAD	75071.0	16201.0	7307.4	0.0	233.6	7541.0	233.6	8660.0	46.5	safe
146	KOLHAPUR	GADHINGLAJ	47755.1	11878.7	6952.5	0.0	178.6	7131.1	178.6	4747.5	60.0	safe
147	KOLHAPUR	GAGANBAWADA	12218.7	3822.7	676.9	0.0	79.2	756.2	79.2	3066.6	19.8	safe
148	KOLHAPUR	HATKANANGALE	57309.0	11132.1	6089.1	0.0	206.8	6295.9	206.8	4836.2	56.6	safe
149	KOLHAPUR	KAGAL	55651.7	12733.1	5035.7	0.0	139.9	5175.6	139.9	7557.5	40.6	safe
150	KOLHAPUR	KARVIR	49221.0	13009.7	5147.2	0.0	209.0	5356.2	209.0	7653.6	41.2	safe
151	KOLHAPUR	PANHALA	39428.6	10062.8	4280.4	0.0	212.5	4492.9	212.5	5569.9	44.6	safe
152	KOLHAPUR	SHAHUWADI	34785.7	7484.4	1709.3	0.0	168.8	1878.2	168.8	5606.2	25.1	safe
153	KOLHAPUR	SHIROL	53273.0	10822.6	3977.9	0.0	192.4	4170.3	192.4	6652.2	38.5	safe
154	KOLHAPUR	RADHANAGARI	47161.8	15887.6	4691.4	0.0	165.8	4857.1	165.8	11030.5	30.6	safe
155	LATUR	AHMEDPUR	91041.0	8359.4	3494.7	111.1	313.1	3918.8	313.1	4563.1	46.9	safe
156	LATUR	ANANTPAL SH	17789.0	1810.9	839.0	0.0	50.6	889.6	50.6	921.4	49.1	safe
157	LATUR	AUSA	116191.0	13988.5	6390.2	13.0	345.7	6748.9	345.7	7311.0	48.2	safe
158	LATUR	CHAKUR	47981.0	4443.6	2622.0	7.8	153.6	2783.5	153.6	1665.6	62.6	safe
159	LATUR	DEVANI	25576.0	2282.0	905.3	0.0	87.7	993.0	87.7	1289.1	43.5	safe

Sl.No	District	Assessment Unit Name	Total Recharge Worthy Area (Ham)	Annual Extractable Ground Water Resource (Ham)	Irrigation Use (Ham)	Industrial Use (Ham)	Domestic Use (Ham)	Total Extraction (Ham)	Annual GW Allocation for for Domestic Use as on 2025 (Ham)	Net Ground Water Availability for future use (Ham)	Stage of Ground Water Extraction (%)	Categorization (OE/Critical/Semicritical/Safe)
160	LATUR	JALKOT	19867.0	1762.7	650.1	0.0	52.5	702.5	52.5	1060.2	39.9	safe
161	LATUR	LATUR	91073.0	9821.5	6489.2	50.6	404.4	6944.2	404.4	3217.0	70.7	semi_critical
162	LATUR	NILANGA	120705.0	11437.4	6185.3	4.7	386.9	6577.0	386.9	4914.4	57.5	safe
163	LATUR	RENAPUR	46992.0	4274.4	2672.6	0.6	134.8	2808.0	134.8	1643.3	65.7	safe
164	LATUR	UDGIR	86333.0	7364.7	3332.3	4.8	270.4	3607.5	270.4	3795.7	49.0	safe
165	NAGPUR	MOUDA	75358.0	10620.1	1893.4	5.8	1041.4	2940.5	1041.4	7679.6	27.7	safe
166	NAGPUR	BHIWAPUR	55765.0	4029.5	1703.0	0.8	421.0	2124.8	421.0	1904.6	52.7	safe
167	NAGPUR	HINGANA	63414.0	7585.6	2734.6	13.7	859.3	3607.6	859.3	3978.0	47.6	safe
168	NAGPUR	KALAMESHWAR	47112.0	6746.2	3449.6	4.5	470.2	3924.3	470.2	2821.8	58.2	safe
169	NAGPUR	KAMTEE	53604.0	7668.6	2081.8	223.2	887.7	3192.7	887.7	4475.9	41.6	safe
170	NAGPUR	KATOL	55293.0	8775.4	5266.2	4.8	939.1	6210.0	939.1	2565.4	70.8	semi_critical
171	NAGPUR	KUHI	74997.0	6532.5	3114.2	5.7	672.8	3792.6	672.8	2739.9	58.1	safe
172	NAGPUR	NAGPUR	53525.0	6042.4	2123.1	23.3	664.5	2810.9	664.5	3231.5	46.5	safe
173	NAGPUR	NARKHED	64323.0	9357.9	5159.5	0.3	868.1	6027.8	868.1	3330.1	64.4	safe
174	NAGPUR	PARSHIONI	53651.0	7412.2	1886.4	5.1	816.7	2708.2	816.7	4704.1	36.5	safe
175	NAGPUR	RAMTEK	63271.0	6016.2	1402.2	1.8	888.2	2292.2	888.2	3723.9	38.1	safe
176	NAGPUR	SAONER	56237.0	4913.5	2707.8	43.8	654.2	3405.8	654.1	1507.7	69.3	safe
177	NAGPUR	UMRED	82492.0	9239.5	2338.3	21.5	1064.4	3424.2	1064.4	5815.3	37.1	safe
178	NANDED	MUDKHED	32394.0	3932.2	2026.9	0.0	63.9	2090.8	63.9	1841.4	53.2	safe
179	NANDED	KINWAT	147562.0	15389.3	3491.6	0.0	298.9	3790.5	298.9	11598.8	24.6	safe
180	NANDED	ARDHAPUR	28176.0	3984.9	2242.4	0.0	75.2	2317.6	75.2	1667.3	58.2	safe
181	NANDED	BHOKAR	63026.0	6674.0	2092.9	0.0	114.5	2207.4	114.5	4466.6	33.1	safe
182	NANDED	BILOLI	58037.0	6263.2	1126.8	0.0	221.9	1348.7	221.9	4914.5	21.5	safe
183	NANDED	DEGLOOR	66590.0	6719.6	1851.7	0.6	517.8	2370.1	517.8	4349.5	35.3	safe

Sl.No	District	Assessment Unit Name	Total Recharge Worthy Area (Ham)	Annual Extractable Ground Water Resource (Ham)	Irrigation Use (Ham)	Industrial Use (Ham)	Domestic Use (Ham)	Total Extraction (Ham)	Annual GW Allocation for for Domestic Use as on 2025 (Ham)	Net Ground Water Availability for future use (Ham)	Stage of Ground Water Extraction (%)	Categorization (OE/Critical/Semicritical/Safe)
184	NANDED	DHARMABAD	33537.0	4128.5	553.0	0.0	80.9	633.9	80.9	3494.6	15.4	safe
185	NANDED	HADGAON	100411.0	13385.5	4845.5	0.0	298.2	5143.8	298.2	8241.7	38.4	safe
186	NANDED	HIMATAYTNAHAR	49896.0	5381.1	1955.6	0.0	89.4	2044.9	89.4	3336.1	38.0	safe
187	NANDED	KANDHAR	77962.0	9887.8	2428.4	0.0	203.3	2631.7	203.3	7256.1	26.6	safe
188	NANDED	LOHA	84955.0	10519.7	3099.2	0.0	205.5	3304.7	205.5	7215.0	31.4	safe
189	NANDED	MAHUR	49818.0	5351.1	1968.4	0.0	104.3	2072.6	104.3	3278.5	38.7	safe
190	NANDED	MUKHED	87594.0	8850.3	2050.3	0.6	302.8	2353.6	302.8	6520.0	26.6	safe
191	NANDED	NAIGAON	56560.0	6963.4	1872.1	0.0	163.3	2035.4	163.3	4928.0	29.2	safe
192	NANDED	NANDED	40633.0	5893.4	2068.2	0.0	460.8	2529.0	460.8	3364.5	42.9	safe
193	NANDED	UMARI	40620.0	4702.8	1192.0	0.0	143.5	1335.6	143.6	3367.2	28.4	safe
194	NANDURBAR	NANDURBAR	98370.0	11543.0	5661.3	0.0	473.3	6134.7	473.3	5408.3	53.1	safe
195	NANDURBAR	AKKALKUVA	41428.0	5223.7	1289.8	0.0	479.7	1769.5	479.7	3473.0	33.9	safe
196	NANDURBAR	AKRANI	37951.0	4314.8	676.2	0.0	346.4	1022.6	346.4	3292.2	23.7	safe
197	NANDURBAR	NAWAPUR	90952.0	14850.0	3949.8	0.0	759.9	4709.8	759.9	10140.3	31.7	safe
198	NANDURBAR	SHAHADA	113802.0	12692.5	4101.1	0.0	600.1	4701.2	600.1	7991.2	37.0	safe
199	NANDURBAR	TALODA	32775.0	4360.0	1505.7	0.0	332.2	1837.9	332.2	2522.1	42.2	safe
200	NASHIK	SINNAR	126789.0	16315.3	15479.2	246.1	295.2	16020.4	295.2	2348.0	98.2	critical
201	NASHIK	KALWAN	61064.0	7744.7	4645.8	0.7	174.5	4821.0	174.5	2923.7	62.2	safe
202	NASHIK	NIPHAD	112934.0	16538.1	15402.9	125.5	375.2	15903.5	375.2	2615.4	96.2	critical
203	NASHIK	BAGLAN SATANA	132843.0	12444.4	9906.6	4.0	262.3	10172.9	262.3	2816.6	81.7	semi_critical
204	NASHIK	CHANDWAD	79776.0	10852.4	8732.1	13.9	182.6	8928.6	182.6	2147.0	82.3	semi_critical
205	NASHIK	DEOLA	50983.0	6262.1	5489.6	1.4	193.4	5684.4	193.4	1108.9	90.8	critical
206	NASHIK	DINDORI	90388.0	11516.1	6561.1	362.2	254.8	7178.0	254.8	4414.7	62.3	safe

Sl.No	District	Assessment Unit Name	Total Recharge Worthy Area (Ham)	Annual Extractable Ground Water Resource (Ham)	Irrigation Use (Ham)	Industrial Use (Ham)	Domestic Use (Ham)	Total Extraction (Ham)	Annual GW Allocation for for Domestic Use as on 2025 (Ham)	Net Ground Water Availability for future use (Ham)	Stage of Ground Water Extraction (%)	Categorization (OE/Critical/Semicritical/Safe)
207	NASHIK	MALEGAON	158540.0	18825.6	10832.6	113.5	360.7	11306.9	360.7	8201.1	60.1	safe
208	NASHIK	NANDGAON	108456.0	10103.7	5560.8	166.6	232.0	5959.4	232.0	4165.3	59.0	safe
209	NASHIK	NASIK	73730.0	14439.7	6122.0	66.3	196.6	6384.9	196.6	8245.8	44.2	safe
210	NASHIK	PETH	49647.0	10115.6	362.2	0.0	175.5	537.7	175.5	9578.0	5.3	safe
211	NASHIK	SURGANA	72303.0	11787.6	1266.1	2.9	209.6	1478.6	209.6	10308.9	12.5	safe
212	NASHIK	TRAMBAKESHWAR	68122.0	11367.9	1074.4	3.7	224.7	1302.7	224.7	10065.1	11.5	safe
213	NASHIK	IGATPURI	66295.0	16658.9	3946.5	64.6	197.0	4208.1	197.0	12450.9	25.3	safe
214	NASHIK	YEOLA	96986.0	12388.3	9264.5	31.0	259.7	9555.2	259.7	2989.1	77.1	semi_critical
215	OSMANABAD	WASHI	53518.6	6285.1	3973.1	0.2	185.1	4158.4	185.1	2126.7	66.2	safe
216	OSMANABAD	BHOOM	43220.0	4583.6	2816.2	0.1	126.7	2943.0	126.7	1640.6	64.2	safe
217	OSMANABAD	KALAMB	85658.4	9578.3	6443.1	0.2	340.7	6783.9	340.7	2794.3	70.8	semi_critical
218	OSMANABAD	LOHARA	48285.0	6946.8	3835.7	0.0	170.6	4006.3	170.6	2941.2	57.7	safe
219	OSMANABAD	OMERGA	89487.0	12326.2	6670.2	0.0	334.9	7005.1	334.9	5321.2	56.8	safe
220	OSMANABAD	OSMANABAD	118844.0	15445.9	11151.8	0.0	429.7	11581.5	429.7	4033.5	75.0	semi_critical
221	OSMANABAD	PARANDA	98394.0	9330.8	5238.0	0.0	237.9	5476.0	237.9	3854.8	58.7	safe
222	OSMANABAD	TULJAPUR	134221.0	17084.2	8144.6	0.3	490.2	8635.1	490.2	8449.1	50.5	safe
223	PALGHAR	JAWHAR	32747.0	2509.8	188.1	1.3	86.7	276.0	86.7	2233.8	11.0	safe
224	PALGHAR	DAHANU	52734.0	4232.3	1137.9	4.6	181.7	1324.2	181.7	2908.1	31.3	safe
225	PALGHAR	MOKHADA	17627.0	1307.7	119.8	2.7	56.3	178.7	56.3	1129.0	13.7	safe
226	PALGHAR	PALGHAR	58251.0	4928.9	1087.4	11.5	262.4	1361.4	262.4	3567.5	27.6	safe
227	PALGHAR	TALASARI	18518.0	1007.8	236.7	3.0	78.3	318.1	78.3	689.7	31.6	safe
228	PALGHAR	VASAI	32750.0	1749.6	573.6	5.7	83.6	662.9	83.6	1086.8	37.9	safe
229	PALGHAR	VIKRAMGAD	28840.0	2495.7	299.7	3.0	99.4	402.1	99.4	2093.6	16.1	safe

Sl.No	District	Assessment Unit Name	Total Recharge Worthy Area (Ham)	Annual Extractable Ground Water Resource (Ham)	Irrigation Use (Ham)	Industrial Use (Ham)	Domestic Use (Ham)	Total Extraction (Ham)	Annual GW Allocation for for Domestic Use as on 2025 (Ham)	Net Ground Water Availability for future use (Ham)	Stage of Ground Water Extraction (%)	Categorization (OE/Critical/Semicritical/Safe)
230	PALGHAR	WADA	34619.0	2325.7	243.3	12.1	124.7	380.1	124.7	1945.6	16.3	safe
231	PARBHANI	PARBHANI	113532.0	13347.4	6249.1	0.0	384.1	6633.2	384.1	6714.2	49.7	safe
232	PARBHANI	GANGAKHED	51836.0	8258.9	3086.2	0.0	311.9	3398.1	311.9	4860.8	41.1	safe
233	PARBHANI	JINTUR	127004.0	17938.2	6708.2	0.0	256.2	6964.4	256.2	10973.7	38.8	safe
234	PARBHANI	MANWAT	46817.0	6570.7	2802.3	0.0	128.0	2930.3	128.0	3640.4	44.6	safe
235	PARBHANI	PALAM	50884.0	5721.3	2928.7	0.0	138.7	3067.4	138.7	2653.9	53.6	safe
236	PARBHANI	PATHARI	57963.0	7726.7	3787.2	0.0	194.9	3982.1	194.9	3744.6	51.5	safe
237	PARBHANI	PURNA	65182.0	11409.2	4881.0	0.0	248.1	5129.0	248.1	6280.2	45.0	safe
238	PARBHANI	SELU	72703.0	7452.9	3954.5	0.0	187.0	4141.5	187.0	3311.4	55.6	safe
239	PARBHANI	SONPEPTH	35479.0	3641.2	1815.2	0.0	101.3	1916.4	101.3	1724.7	52.6	safe
240	PUNE	JUNNAR	109757.4	16116.9	13183.6	0.0	545.2	13728.7	545.2	3415.1	85.2	semi_critical
241	PUNE	AMBEGAON	78670.7	11575.7	8536.5	0.0	452.3	8988.8	452.3	3392.3	77.7	semi_critical
242	PUNE	BARAMATI	137784.7	21036.0	16426.9	0.0	486.3	16913.2	501.8	5748.8	80.4	semi_critical
243	PUNE	BHOR	34070.2	3947.9	1402.8	0.0	270.6	1673.3	270.6	2274.6	42.4	safe
244	PUNE	DAUND	126393.0	16266.2	10985.4	0.0	472.7	11458.1	562.4	5251.0	70.4	semi_critical
245	PUNE	HAVELI	121553.7	12861.5	6706.9	0.0	1097.2	7804.2	1097.2	5152.3	60.7	safe
246	PUNE	INDAPUR	146762.1	28672.6	19047.6	0.0	1181.5	20229.1	1427.7	9942.7	70.6	semi_critical
247	PUNE	KHED	128314.7	13555.8	9496.6	0.0	1046.1	10542.7	1046.1	3450.6	77.8	semi_critical
248	PUNE	MAVAL	78615.5	8583.0	1493.6	0.0	398.0	1891.5	398.0	6691.5	22.0	safe
249	PUNE	MULSHI	44401.6	7601.3	841.5	0.0	728.8	1570.2	728.8	6031.0	20.7	safe
250	PUNE	PURANDHAR	97519.3	12739.2	10511.4	0.0	343.0	10854.4	344.8	2498.6	85.2	semi_critical
251	PUNE	SHIRUR	148690.7	14928.2	13167.6	0.0	973.7	14141.3	973.7	1948.5	94.7	critical
252	PUNE	VELHE	23194.4	4749.6	293.3	0.0	156.3	449.6	156.3	4300.0	9.5	safe
253	RAIGAD	ALIBAG	25313.0	2619.0	992.9	0.0	233.6	1226.5	233.6	1392.5	46.8	safe

Sl.No	District	Assessment Unit Name	Total Recharge Worthy Area (Ham)	Annual Extractable Ground Water Resource (Ham)	Irrigation Use (Ham)	Industrial Use (Ham)	Domestic Use (Ham)	Total Extraction (Ham)	Annual GW Allocation for for Domestic Use as on 2025 (Ham)	Net Ground Water Availability for future use (Ham)	Stage of Ground Water Extraction (%)	Categorization (OE/Critical/Semicritical/Safe)
254	RAIGAD	KARJAT	38139.0	3550.9	176.1	0.0	166.1	342.2	166.1	3208.7	9.6	safe
255	RAIGAD	KHALAPUR	31561.0	3726.0	179.4	0.0	168.6	348.0	168.6	3378.0	9.3	safe
256	RAIGAD	MAHAD	27363.0	2247.9	197.6	0.0	178.4	376.1	178.5	1871.8	16.7	safe
257	RAIGAD	MANGAON	51136.0	4273.2	195.8	0.0	186.9	382.7	186.9	3890.5	9.0	safe
258	RAIGAD	MHASALA	14830.0	1270.3	460.0	0.0	71.6	531.6	71.6	738.6	41.9	safe
259	RAIGAD	PANVEL	35584.0	2904.3	507.1	0.0	377.6	884.7	377.6	2019.6	30.5	safe
260	RAIGAD	POLADPUR	11559.0	871.8	40.7	0.0	93.3	134.0	93.3	737.9	15.4	safe
261	RAIGAD	ROHA	40981.0	4455.0	321.6	0.0	138.8	460.4	138.8	3994.6	10.3	safe
262	RAIGAD	SUDHAGAD	25712.0	2515.5	170.5	0.0	110.6	281.1	110.6	2234.4	11.2	safe
263	RAIGAD	TALA	8194.0	673.9	217.6	0.0	36.9	254.6	36.9	419.3	37.8	safe
264	RAIGAD	URAN	17106.0	1760.5	104.2	0.0	57.1	161.3	57.1	1599.2	9.2	safe
265	RAIGAD	SHRIWARDHAN	12528.0	1100.4	400.9	0.0	61.2	462.1	61.2	638.3	42.0	safe
266	RAIGAD	PEN	22164.0	2386.9	139.7	0.0	107.9	247.7	107.9	2139.3	10.4	safe
267	RAIGAD	MURUD	12589.0	1267.7	248.2	0.0	49.2	297.4	49.2	970.3	23.5	safe
268	RATNAGIRI	CHIPLUN	79261.0	5960.7	566.5	0.0	161.0	727.6	161.0	5233.1	12.2	safe
269	RATNAGIRI	DAPOLI	40731.0	3223.7	725.7	0.0	121.8	847.4	121.8	2376.3	26.3	safe
270	RATNAGIRI	GUHAGAR	57545.0	3930.6	1035.3	0.0	137.0	1172.3	137.0	2758.3	29.8	safe
271	RATNAGIRI	KHED	73065.0	5430.6	507.2	0.0	142.4	649.6	142.4	4780.9	12.0	safe
272	RATNAGIRI	LANJA	42631.0	3351.6	341.1	0.0	137.5	478.6	137.5	2872.9	14.3	safe
273	RATNAGIRI	MANDANGAD	26680.0	1991.9	216.4	0.0	74.8	291.2	74.8	1700.7	14.6	safe
274	RATNAGIRI	RAJAPUR	76472.0	6362.6	678.8	0.0	226.1	904.9	226.1	5457.7	14.2	safe
275	RATNAGIRI	RATNAGIRI	50541.0	3693.4	930.1	0.0	157.2	1087.3	157.2	2606.2	29.4	safe
276	RATNAGIRI	SANGAMESHWAR	64381.0	4781.5	385.5	0.0	155.5	541.0	155.5	4240.5	11.3	safe
277	SANGLI	ATPADI	84923.0	12125.6	6258.1	0.0	530.4	6788.5	530.4	5337.1	56.0	safe

Sl.No	District	Assessment Unit Name	Total Recharge Worthy Area (Ham)	Annual Extractable Ground Water Resource (Ham)	Irrigation Use (Ham)	Industrial Use (Ham)	Domestic Use (Ham)	Total Extraction (Ham)	Annual GW Allocation for for Domestic Use as on 2025 (Ham)	Net Ground Water Availability for future use (Ham)	Stage of Ground Water Extraction (%)	Categorization (OE/Critical/Semicritical/Safe)
278	SANGLI	JAT	224761.0	25870.7	15822.5	0.0	691.7	16514.3	691.7	9576.4	63.8	safe
279	SANGLI	KADEGAON	56982.0	13500.2	7526.7	0.0	243.4	7770.1	243.4	5730.1	57.6	safe
280	SANGLI	KAVATHE MAHANKAL	74953.0	11298.6	8341.3	0.0	428.2	8769.5	428.2	2568.1	77.6	semi_critical
281	SANGLI	KHANAPUR	50917.8	12308.5	3840.9	0.0	178.1	4019.0	178.1	8289.5	32.7	safe
282	SANGLI	MIRAJ	95038.0	16297.6	8864.6	0.0	282.9	9147.5	312.3	7150.1	56.1	safe
283	SANGLI	PALUS	31212.0	7409.9	2742.7	0.0	119.5	2862.3	119.5	4547.6	38.6	safe
284	SANGLI	SHIRALA	58734.3	6692.5	1874.0	0.0	296.7	2170.7	296.7	4521.8	32.4	safe
285	SANGLI	WALWA	75922.0	9249.6	4521.6	0.0	293.3	4814.9	294.6	4434.7	52.1	safe
286	SANGLI	TASGAON	89315.2	16514.7	8031.4	0.0	243.4	8274.8	251.5	8239.9	50.1	safe
287	SATARA	JAOLI	55215.0	4198.7	775.9	0.0	252.1	1028.0	252.1	3170.7	24.5	safe
288	SATARA	KARAD	88323.0	11928.4	6739.5	0.0	813.5	7552.9	813.5	4375.5	63.3	safe
289	SATARA	KHANDALA	45551.0	4797.3	2768.6	0.0	197.9	2966.5	197.9	1830.8	61.8	safe
290	SATARA	KHATAV	126905.0	11500.7	8416.2	0.0	548.1	8964.3	548.1	2536.4	77.9	semi_critical
291	SATARA	KOREGAON	78698.0	12693.7	6737.8	0.0	420.0	7157.9	420.0	5535.8	56.4	safe
292	SATARA	MAHABALESHWAR	6012.0	207.4	109.3	0.0	21.6	130.9	21.6	76.5	63.1	safe
293	SATARA	MAN	142517.0	13317.5	10265.0	0.0	568.8	10833.8	568.8	2527.2	81.4	semi_critical
294	SATARA	PATAN	93138.0	3292.7	1810.0	0.0	343.4	2153.5	343.4	1139.3	65.4	safe
295	SATARA	PHALTAN	110345.0	16386.0	10390.8	0.0	531.5	10922.3	531.5	5463.6	66.7	safe
296	SATARA	SATARA	78336.0	18608.3	7330.2	0.0	733.4	8063.6	733.4	10544.6	43.3	safe
297	SATARA	WAI	52467.0	8512.1	5297.3	0.0	419.4	5716.7	419.4	2795.8	67.2	safe
298	SINDHUDURG	KANKAVALI	46940.6	3975.3	1049.7	0.0	360.5	1410.1	360.5	2565.2	35.5	safe
299	SINDHUDURG	DEVGAD	48229.4	3713.6	1043.8	0.0	378.2	1422.0	378.2	2291.6	38.3	safe
300	SINDHUDURG	DOUDAMARG	11509.6	635.2	270.9	0.0	82.0	352.9	82.0	282.3	55.6	safe

Sl.No	District	Assessment Unit Name	Total Recharge Worthy Area (Ham)	Annual Extractable Ground Water Resource (Ham)	Irrigation Use (Ham)	Industrial Use (Ham)	Domestic Use (Ham)	Total Extraction (Ham)	Annual GW Allocation for for Domestic Use as on 2025 (Ham)	Net Ground Water Availability for future use (Ham)	Stage of Ground Water Extraction (%)	Categorization (OE/Critical/Semicritical/Safe)
301	SINDHUDURG	KUDAL	49252.2	4607.8	1834.8	0.0	386.5	2221.3	386.5	2386.6	48.2	safe
302	SINDHUDURG	MALWAN	38109.0	3304.8	1010.6	0.0	282.2	1292.8	282.2	2012.0	39.1	safe
303	SINDHUDURG	VAIBHAVVWADI	17782.9	1411.2	488.4	0.0	183.8	672.2	183.8	739.0	47.6	safe
304	SINDHUDURG	VENGURLA	23110.3	1843.5	748.5	0.0	180.9	929.4	180.9	914.1	50.4	safe
305	SINDHUDURG	SAWANTWADI	44371.7	2595.5	904.7	0.0	365.1	1269.9	365.1	1325.6	48.9	safe
306	SOLAPUR	AKKALKOT	140705.0	13277.9	6980.3	0.4	496.7	7477.3	496.7	5800.6	56.3	safe
307	SOLAPUR	BARSHI	149562.0	10214.5	7633.3	0.1	465.2	8098.6	465.2	2115.9	79.3	semi_critical
308	SOLAPUR	KARMALA	165983.0	11567.3	7983.2	0.0	378.0	8361.2	378.0	3338.1	72.3	semi_critical
309	SOLAPUR	MADHA	155933.0	15763.3	12333.6	0.2	512.6	12846.4	512.6	3969.8	81.5	semi_critical
310	SOLAPUR	MALSHIRAS	149299.0	19557.2	19183.8	0.0	613.7	19797.6	613.7	3399.5	101.2	over_exploited
311	SOLAPUR	MANGALWEDHA	113510.0	9071.0	6466.1	0.0	300.9	6767.0	300.9	2306.1	74.6	semi_critical
312	SOLAPUR	MOHOL	136046.0	13546.1	11470.8	0.2	479.7	11950.7	479.7	2957.1	88.2	semi_critical
313	SOLAPUR	N.SOLAPUR	58927.0	6270.2	3997.8	1.3	210.9	4210.0	210.9	2082.5	67.1	safe
314	SOLAPUR	PANDHARPUR	129010.0	14527.1	10391.3	0.0	410.9	10802.2	410.9	4457.3	74.4	semi_critical
315	SOLAPUR	S.SOLAPUR	108415.0	10553.8	6355.1	0.4	362.9	6718.5	362.9	3860.9	63.7	safe
316	SOLAPUR	SANGOLA	176500.0	14613.6	10103.1	0.0	621.5	10724.7	621.5	3888.9	73.4	semi_critical
317	THANE	BHIVANDI	40634.0	2798.1	1007.1	0.0	128.2	1135.2	128.2	1662.9	40.6	safe
318	THANE	AMBARNATH	26980.0	1729.1	286.6	0.0	65.0	351.6	65.0	1377.6	20.3	safe
319	THANE	KALYAN	12643.0	814.9	121.2	0.0	42.5	163.6	42.5	651.3	20.1	safe
320	THANE	MURBAD	54378.0	3576.3	211.0	0.0	131.2	342.3	131.2	3234.0	9.6	safe
321	THANE	SHAHAPUR	75675.0	6022.1	517.3	0.0	199.5	716.7	199.5	5305.4	11.9	safe
322	THANE	THANE	21837.0	1332.3	221.3	0.0	152.6	373.9	152.6	958.4	28.1	safe
323	THANE	ULHASNAGAR	1300.0	82.9	33.3	0.0	1.8	35.1	1.8	47.8	42.4	safe
324	WARDHA	ARVI	79476.0	9513.0	4305.9	8.0	540.3	4854.3	540.3	4658.7	51.0	safe

Sl.No	District	Assessment Unit Name	Total Recharge Worthy Area (Ham)	Annual Extractable Ground Water Resource (Ham)	Irrigation Use (Ham)	Industrial Use (Ham)	Domestic Use (Ham)	Total Extraction (Ham)	Annual GW Allocation for for Domestic Use as on 2025 (Ham)	Net Ground Water Availability for future use (Ham)	Stage of Ground Water Extraction (%)	Categorization (OE/Critical/Semicritical/Safe)
325	WARDHA	ASHTI	45935.0	5730.8	3127.3	5.1	299.9	3432.3	299.9	2298.5	59.9	safe
326	WARDHA	HINGANGHAT	91965.0	11863.2	5735.5	17.7	465.7	6218.9	465.7	5644.4	52.4	safe
327	WARDHA	KARANJA	60320.0	7815.9	5007.5	7.3	342.7	5357.4	342.7	2458.5	68.5	safe
328	WARDHA	SAMUDRAPUR	92552.0	13679.1	5917.8	14.4	412.2	6344.4	412.2	7334.8	46.4	safe
329	WARDHA	SELOO	64140.0	9342.4	4746.8	8.8	401.0	5156.6	401.0	4185.8	55.2	safe
330	WARDHA	WARDHA	78650.0	11287.9	6211.2	19.6	560.3	6791.1	560.3	4496.8	60.2	safe
331	WARDHA	DEOLI	68178.0	10136.3	3888.8	38.0	422.8	4349.6	422.8	5786.7	42.9	safe
332	WASHIM	KARANJA	81886.6	7477.2	4744.7	0.9	410.3	5155.9	410.3	2321.4	69.0	safe
333	WASHIM	MALEGAON	84643.1	8604.7	5256.5	4.3	324.4	5585.2	324.4	3019.5	64.9	safe
334	WASHIM	MANGRULPIR	71008.5	9129.3	4601.2	0.4	359.5	4961.1	359.5	4168.2	54.3	safe
335	WASHIM	MANORA	70488.2	8706.8	4015.9	0.9	346.9	4363.8	346.9	4343.0	50.1	safe
336	WASHIM	RISOD	84924.2	11688.3	6990.8	0.9	369.8	7361.6	369.8	4326.7	63.0	safe
337	WASHIM	WASHIM	88245.9	10065.5	5829.0	1.1	258.3	6088.4	258.3	3977.1	60.5	safe
338	YAWATMAL	OMARKHED	97835.7	14627.8	3937.7	2.3	534.0	4474.0	534.0	10153.8	30.6	safe
339	YAWATMAL	ARNI	65767.4	8759.5	2587.9	0.2	443.7	3031.8	443.7	5727.7	34.6	safe
340	YAWATMAL	BABULGAON	53129.2	5422.6	1756.0	0.4	570.7	2327.1	570.7	3095.4	42.9	safe
341	YAWATMAL	DARAVHA	76872.2	8622.7	2998.7	0.4	612.1	3611.2	612.1	5011.5	41.9	safe
342	YAWATMAL	DIGRAS	46370.6	5909.0	2105.2	0.2	338.7	2444.1	338.7	3464.9	41.4	safe
343	YAWATMAL	GHATANJI	75790.0	10659.9	1320.6	0.1	411.9	1732.7	412.0	8927.2	16.3	safe
344	YAWATMAL	KALAMB	62832.4	6246.4	1953.3	1.7	431.2	2386.2	431.2	3860.2	38.2	safe
345	YAWATMAL	MAHAGAON	72193.6	8168.8	3647.3	0.2	455.7	4103.2	455.7	4065.7	50.2	safe
346	YAWATMAL	NER	63372.3	5339.0	2300.6	0.3	548.4	2849.3	548.4	2489.6	53.4	safe
347	YAWATMAL	PANDHARKAVADA	69925.6	9289.9	1486.1	0.5	365.5	1852.2	365.5	7437.7	19.9	safe

Sl.No	District	Assessment Unit Name	Total Recharge Worthy Area (Ham)	Annual Extractable Ground Water Resource (Ham)	Irrigation Use (Ham)	Industrial Use (Ham)	Domestic Use (Ham)	Total Extraction (Ham)	Annual GW Allocation for for Domestic Use as on 2025 (Ham)	Net Ground Water Availability for future use (Ham)	Stage of Ground Water Extraction (%)	Categorization (OE/Critical/Semicritical/Safe)
348	YAWATMAL	PUSAD	98440.2	12506.3	4023.2	2.3	504.4	4530.0	504.4	7976.3	36.2	safe-
349	YAWATMAL	RALEGAON	68676.1	7050.4	2001.0	7.0	525.4	2533.3	525.4	4517.0	35.9	safe
350	YAWATMAL	WANI	80596.8	8230.9	2062.1	3.3	408.4	2473.8	408.4	5757.1	30.1	safe
351	YAWATMAL	YEOTMAL	93284.0	10584.2	2928.4	2.2	795.8	3726.4	795.8	6857.8	35.2	safe
352	YAWATMAL	ZARA ZAMANI	61394.0	7643.8	1032.7	0.5	474.1	1507.3	474.1	6138.5	19.7	safe
353	YAWATMAL	MAREGAON	57586.8	4245.0	1197.2	1.4	208.1	1406.7	208.1	2839.7	33.1	safe
	TOTAL		**25991402.6**	**3094923.3**	**1527543.4**	**2852.1**	**135691.4**	**1666087.2**	**141696.0**	**1481051.6**	**53.83**	

ANNEXURE -D: SUMMARY OF TALUKA WISE CATEGORIZATION -GWRE 2023

S.No	Name of District	Total No. of Assessed Units	Safe		Semi-Critical		Critical		Over-Exploited		Saline	
			No	%	No.	%	No.	%	No.	%	No.	%
1	AHMEDNAGAR	14	4	28.57	5	35.71	4	28.57	1	7.14	-	-
2	AKOLA	7	6	85.71	1	14.29	-	-	-	-	-	-
3	AMRAVATI	14	6	42.86	3	21.43	1	7.14	3	21.43	1	7.14
4	AURANGABAD	9	2	22.22	7	77.78	-	-	-	-	-	-
5	BEED	11	11	100.0	-	-	-	-	-	-	-	-
6	BHANDARA	7	7	100.0	-	-	-	-	-	-	-	-
7	BULDHANA	13	4	30.77	7	53.85	-	-	2	15.38	-	-
8	CHANDRAPUR	15	15	100.0	-	-	-	-	-	-	-	-
9	DHULE	4	4	100.0	-	-	-	-	-	-	-	-
10	GADCHIROLI	12	12	100.0	-	-	-	-	-	-	-	-
11	GONDIA	8	8	100.0	-	-	-	-	-	-	-	-
12	HINGOLI	5	5	100.0	-	-	-	-	-	-	-	-
13	JALGAON	15	3	20.0	10	66.67	-	-	2	13.33	-	-
14	JALNA	8	8	100.0	-	-	-	-	-	-	-	-
15	KOLHAPUR	12	12	100.0	-	-	-	-	-	-	-	-
16	LATUR	10	9	90.0	1	10.0	-	-	-	-	-	-
17	NAGPUR	13	12	92.31	1	7.69	-	-	-	-	-	-
18	NANDED	16	16	100.0	-	-	-	-	-	-	-	-
19	NANDURBAR	6	6	100.0	-	-	-	-	-	-	-	-
20	NASHIK	15	9	60.0	3	20.0	3	20.0	-	-	-	-
21	OSMANABAD	8	6	75.0	2	25.0	-	-	-	-	-	-
22	PALGHAR	8	8	100.0	-	-	-	-	-	-	-	-
23	PARBHANI	9	9	100.0	-	-	-	-	-	-	-	-
24	PUNE	13	5	38.46	7	53.85	1	7.69	-	-	-	-

S.No	Name of District	Total No. of Assessed Units	Safe		Semi-Critical		Critical		Over-Exploited		Saline	
			No	%	No.	%	No.	%	No.	%	No.	%
25	**RAIGAD**	15	15	100.0	-	-	-	-	-	-	-	-
26	**RATNAGIRI**	9	9	100.0	-	-	-	-	-	-	-	-
27	**SANGLI**	10	9	90.0	1	10.0	-	-	-	-	-	-
28	**SATARA**	11	9	81.82	2	18.18	-	-	-	-	-	-
29	**SINDHUDURG**	8	8	100.0	-	-	-	-	-	-	-	-
30	**SOLAPUR**	11	3	27.27	7	63.64	-	-	1	9.09	-	-
31	**THANE**	7	7	100.0	-	-	-	-	-	-	-	-
32	**WARDHA**	8	8	100.0	-	-	-	-	-	-	-	-
33	**WASHIM**	6	6	100.0	-	-	-	-	-	-	-	-
34	**YAWATMAL**	16	16	100.0	-	-	-	-	-	-	-	-
	Total	**353**	**277**	**78.47**	**57**	**16.15**	**9**	**2.55**	**9**	**2.55**	**1**	**0.28**

ANNEXURE E: CATEGORISATION OF ASSESSMENT UNIT- 2023, MAHARASHTRA STATE

S.NO	Name of District	S.NO	Name of Semi-Critical Assessment Units	S.NO	Name of Critical Assessment Units	S.NO	Name of Over-Exploited Assessment Units
1	**AHMEDNAGAR**	1	AKOLA	1	SANGAMNER	1	RHATA
		2	NEWASA	2	KOPARGAON		
		3	SHEVGAON	3	SHRIRAMPUR		
		4	SHRIGONDA	4	RAHURI		
		5	PATHARDI				
2	**AKOLA**	1	BARSI TAKLI				
3	**AMRAVATI**	1	AMRAVATI	1	ACHLAPUR	1	CHANDUR BAZAR
		2	DHAMANGAON RAILWAY			2	WARUD
		3	NANDGAON			3	MORSHI
4	**AURANGABAD**	1	GANGAPUR				
		2	FULAMBRE				
		3	AURANGABAD				
		4	PAITHAN				
		5	VAIJAPUR				
		6	SILLOD				
		7	KHULDABAD				
5	**BULDHANA**	1	NANDURA			1	JALGAON
		2	BULDHANA			2	SANGRAMPUR
		3	CHIKHALI				
		4	MALAKAPUR				

S.NO	Name of District	S.NO	Name of Semi-Critical Assessment Units	S.NO	Name of Critical Assessment Units	S.NO	Name of Over-Exploited Assessment Units
		5	DEULGAON RAJA				
		6	MOTALA				
		7	SINDKHEDRAJA				
6	**JALGAON**	1	BHADGAON			1	YAWAL
		2	PACHORA			2	RAVER
		3	CHALISGAON				
		4	AMALNER				
		5	PAROLA				
		6	BODWAD				
		7	BHUSAWAL				
		8	CHOPDA				
		9	MUKTAINAGAR				
		10	JAMNER				
7	**LATUR**	1	LATUR				
8	**NAGPUR**	1	KATOL				
9	**NASHIK**	1	BAGLAN SATANA	1	NIPHAD		
		2	CHANDWAD	2	DEOLA		
		3	YEOLA	3	SINNAR		
10	**OSMANABAD**	1	OSMANABAD				
		2	KALAMB				

S.NO	Name of District	S.NO	Name of Semi-Critical Assessment Units	S.NO	Name of Critical Assessment Units	S.NO	Name of Over-Exploited Assessment Units
11	**PUNE**	1	KHED	1	SHIRUR		
		2	INDAPUR				
		3	PURANDHAR				
		4	AMBEGAON				
		5	JUNNAR				
		6	BARAMATI				
		7	DAUND				
12	**SANGLI**	1	KAVATHE MAHANKAL				
13	**SATARA**	1	KHATAV				
		2	MAN				
14	**SOLAPUR**	1	MADHA			1	MALSHIRAS
		2	MANGALWEDHA				
		3	BARSHI				
		4	SANGOLA				
		5	PANDHARPUR				
		6	KARMALA				
		7	MOHOL				

ABSTRACT

Total No. of Assessed Units	Number of Semicritical Assessment Units	Number of Critical Assessment Units	Number of Over Exploited Assessment Units
353	57	9	9

ANNEXURE F: ASSESSMENT UNITS IMPROVED AND DETERIORATED COMPARED TO GWRE 2023

NAME OF STATE/UT									
S.No	**Name of District**	**Name of Assessment Unit**	**Stage of Ground Water Extraction (%) 2022**	**Categorization in2022**	**Name of District**	**Name of Assessment Unit**	**Stage of Ground Water Extraction (%) 2023**	**Categorization in 2023**	**Remark**
1	**BULDHANA**	KHAMGAON	71.31	Semi Critical	**BULDHANA**	KHAMGAON	68.51	Safe	Improved
2	**BULDHANA**	LONAR	70.19	Semi Critical	**BULDHANA**	LONAR	64.80	Safe	Improved
3	**SATARA**	PHALTAN	70.62	Semi Critical	**SATARA**	PHALTAN	66.65	Safe	Improved
4	**JALGAON**	MUKTAINAGAR	68.51	Safe	**JALGAON**	MUKTAINAGAR	74.10	Semi Critical	Deteriorated
5	**NASHIK**	SINNAR	100.32	Over Exploited	**NASHIK**	SINNAR	98.19	Critical	Improved
6	**NAGPUR**	SAONER	70.06	Semi Critical	**NAGPUR**	SAONER	69.31	Safe	Improved
7	**AMRAVATI**	ACHLAPUR	100.88	Over Exploited	**AMRAVATI**	ACHLAPUR	96.73	Critical	Improved
8	**AMRAVATI**	TIWSA	70.32	Semi Critical	**AMRAVATI**	TIWSA	67.31	Safe	Improved
9	**WARDHA**	KARANJA	72.84	Semi Critical	**WARDHA**	KARANJA	68.54	Safe	Improved

MAP 1: ADMINISTRATIVE MAP

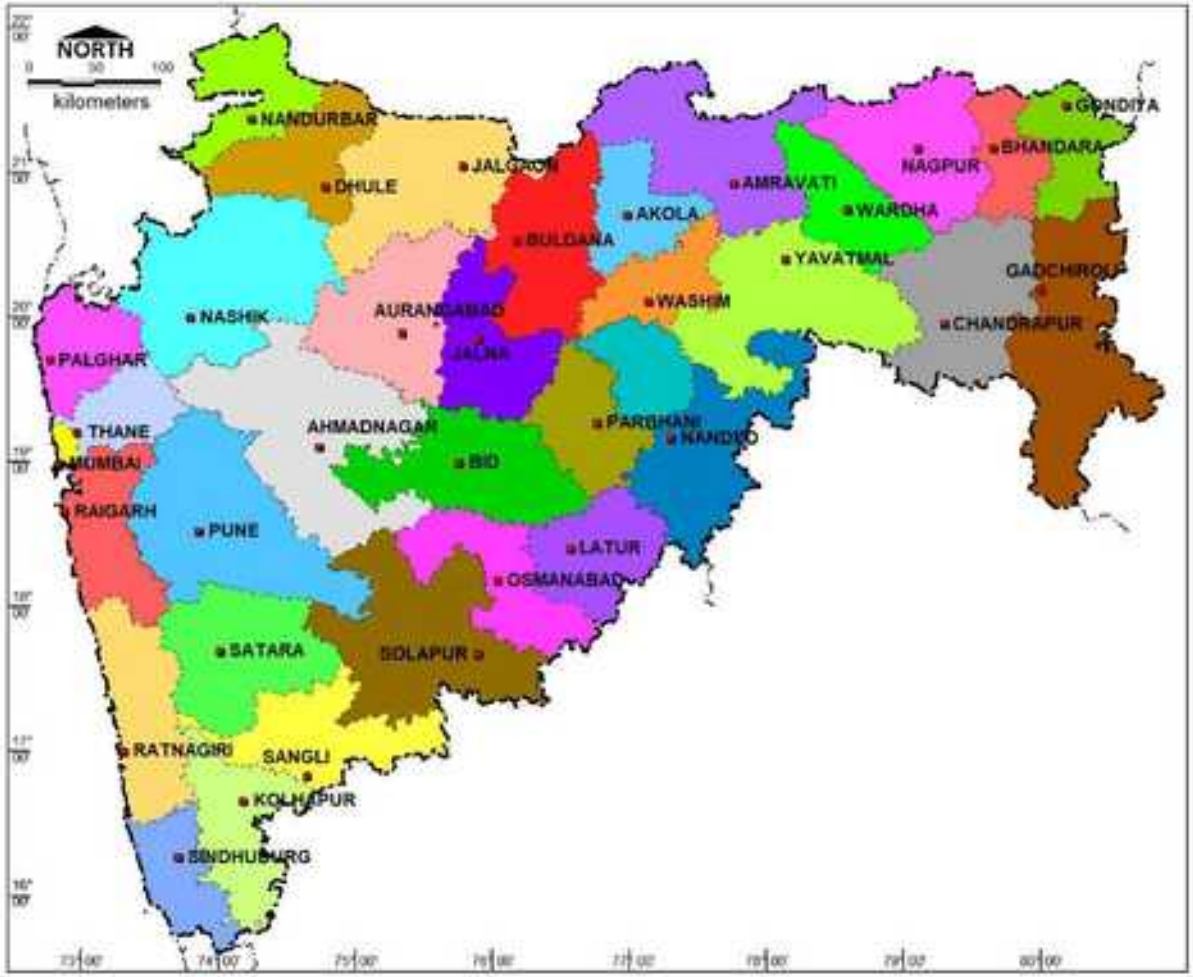

MAP 2: RIVER BASINS, MAHARASHTRA STATE

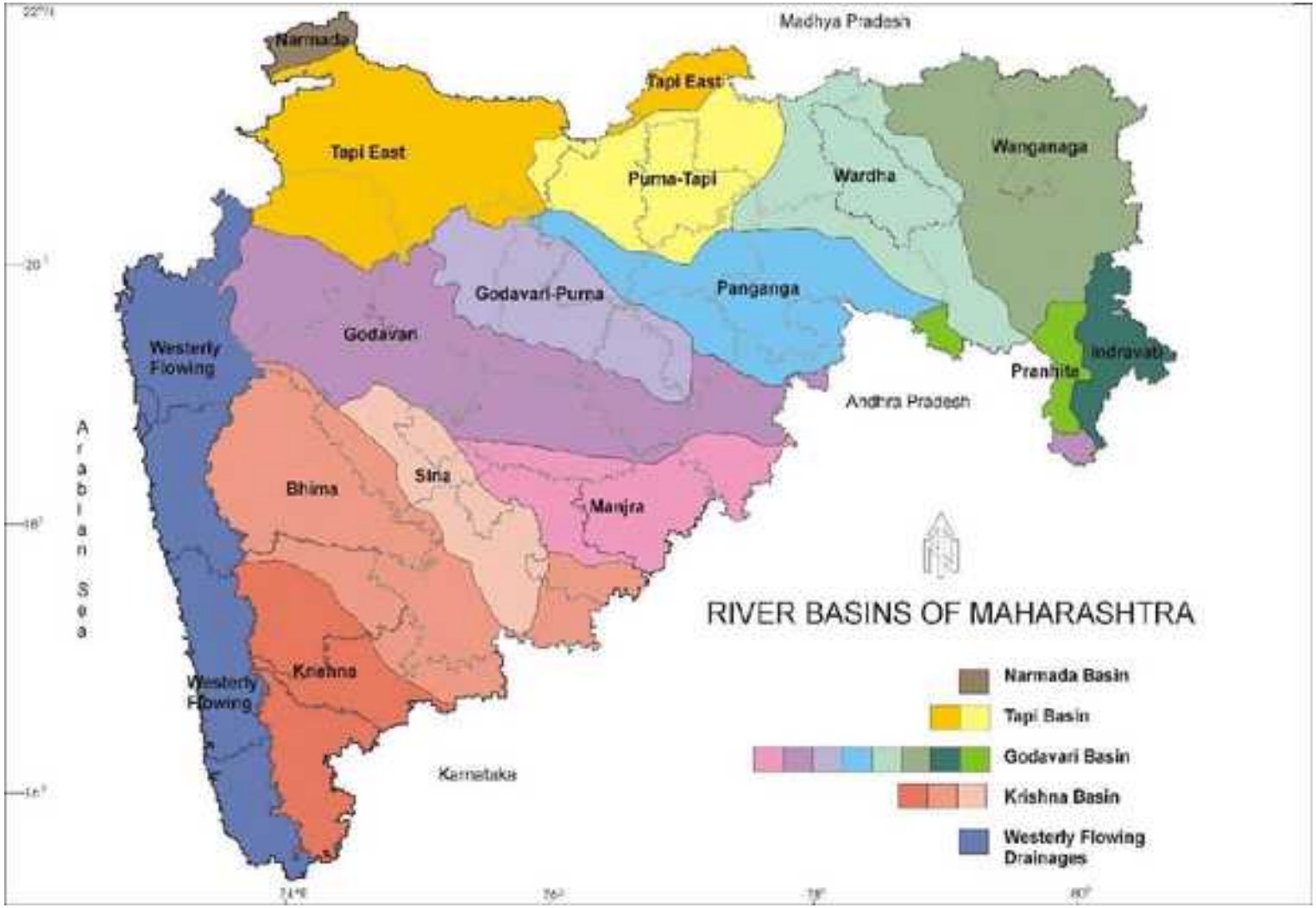

MAP 3: RAINFALL DISTRIBUTION, MAHARASHTRA STATE

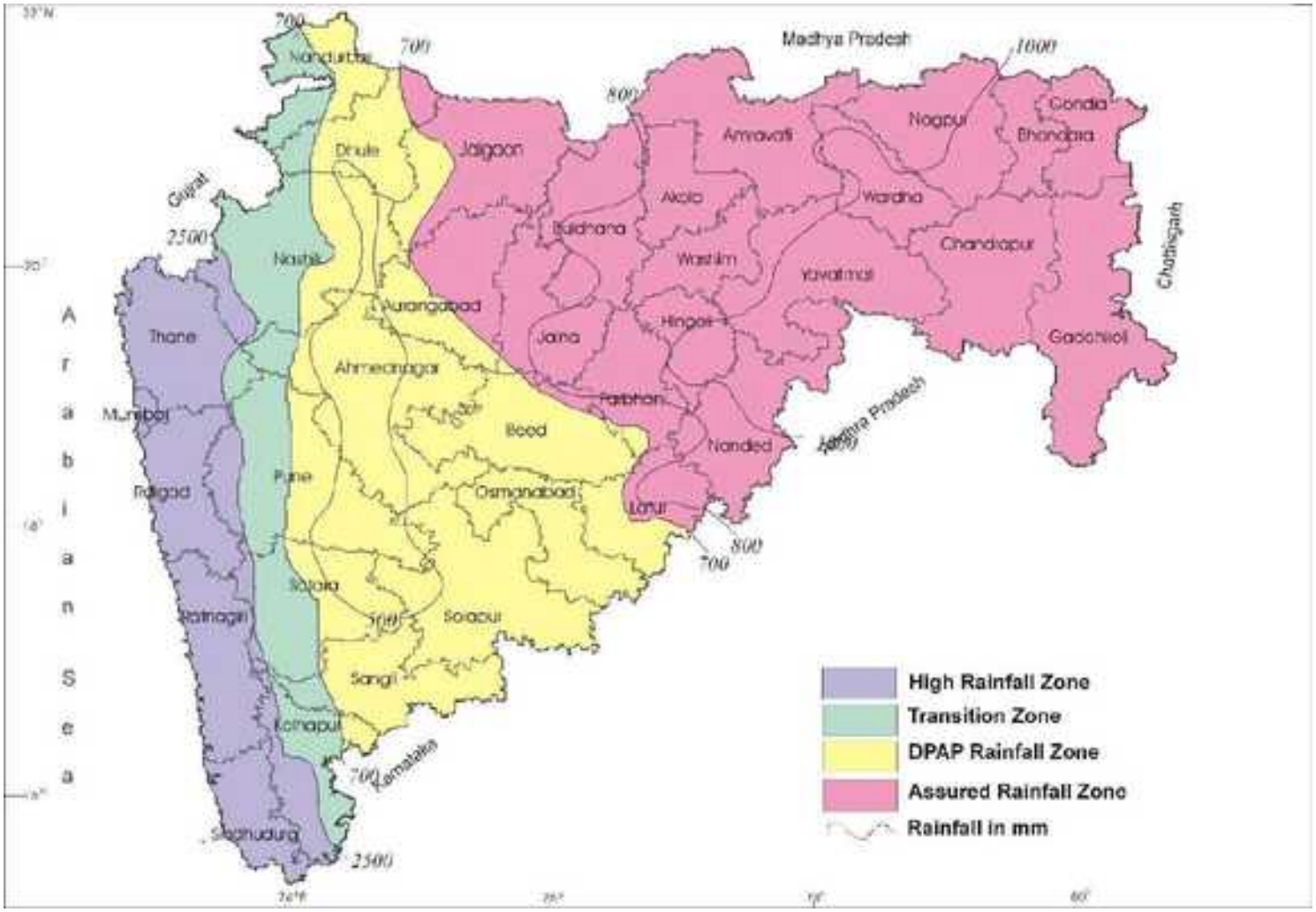

MAP 4: GEOLOGY, MAHARASHTRA STATE

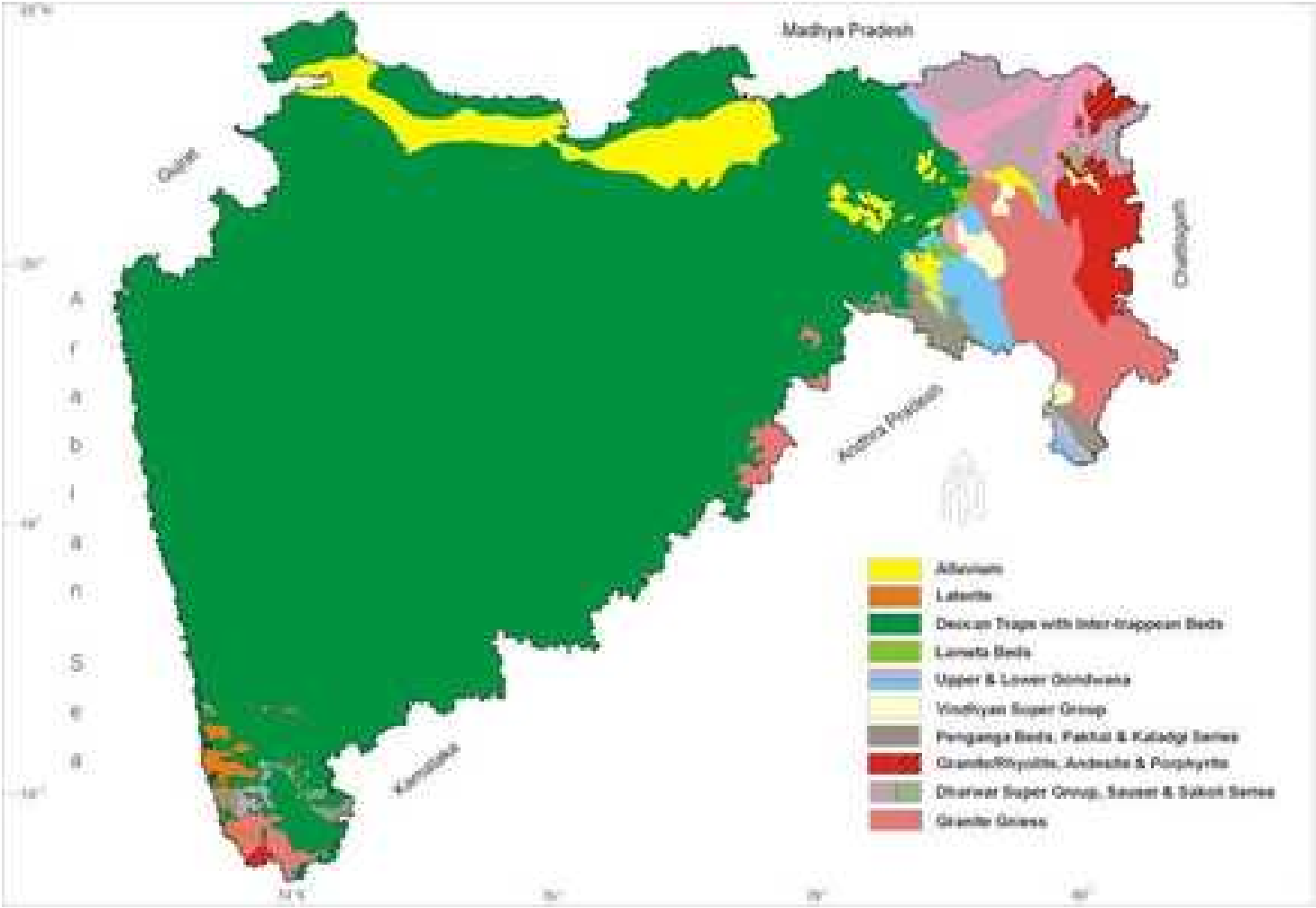

MAP 5: TALUKA WISE CATEGORIZATION OF MAHARASHTRA STATE
(As per Groundwater Estimation 2022-23)

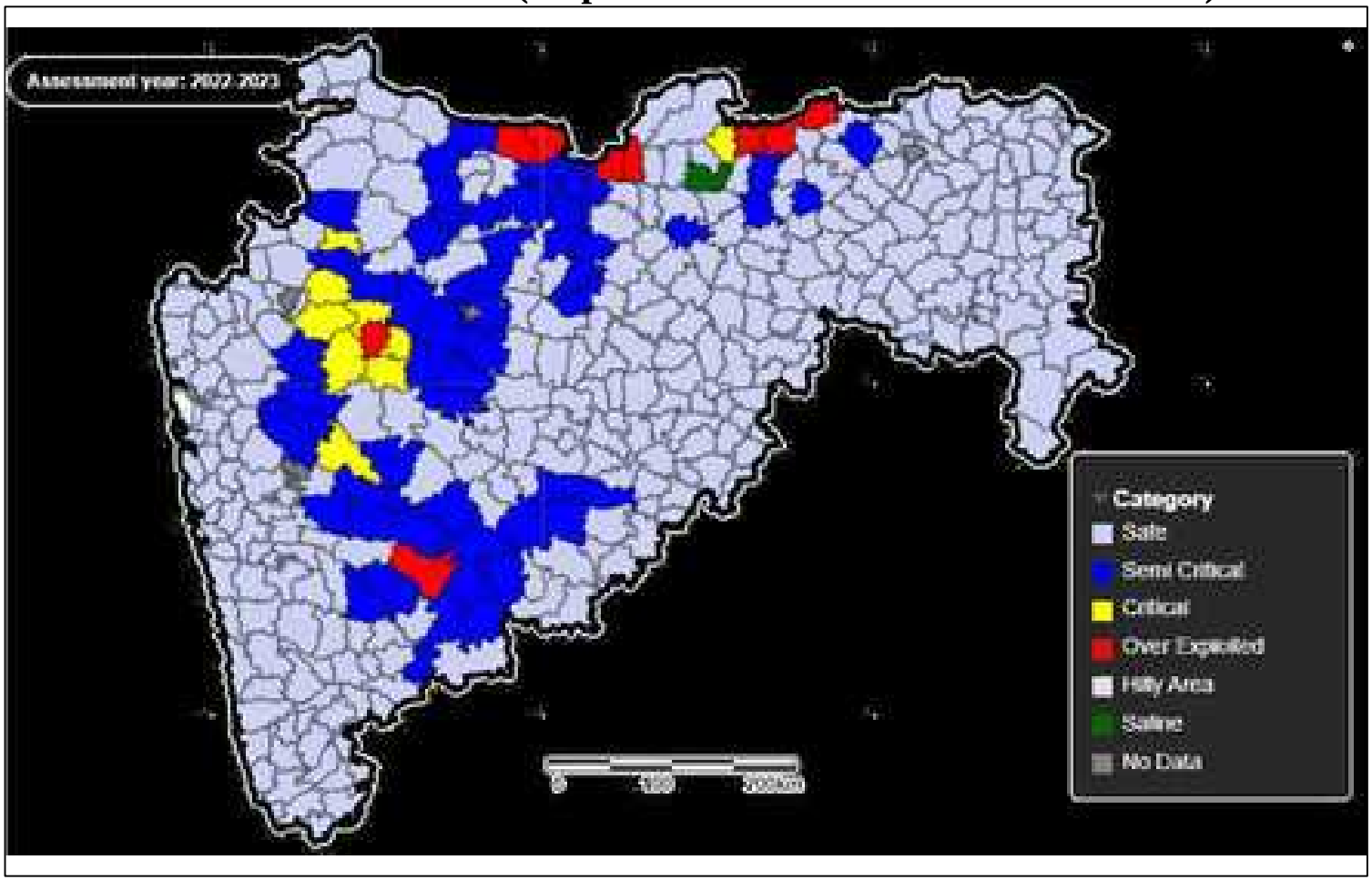
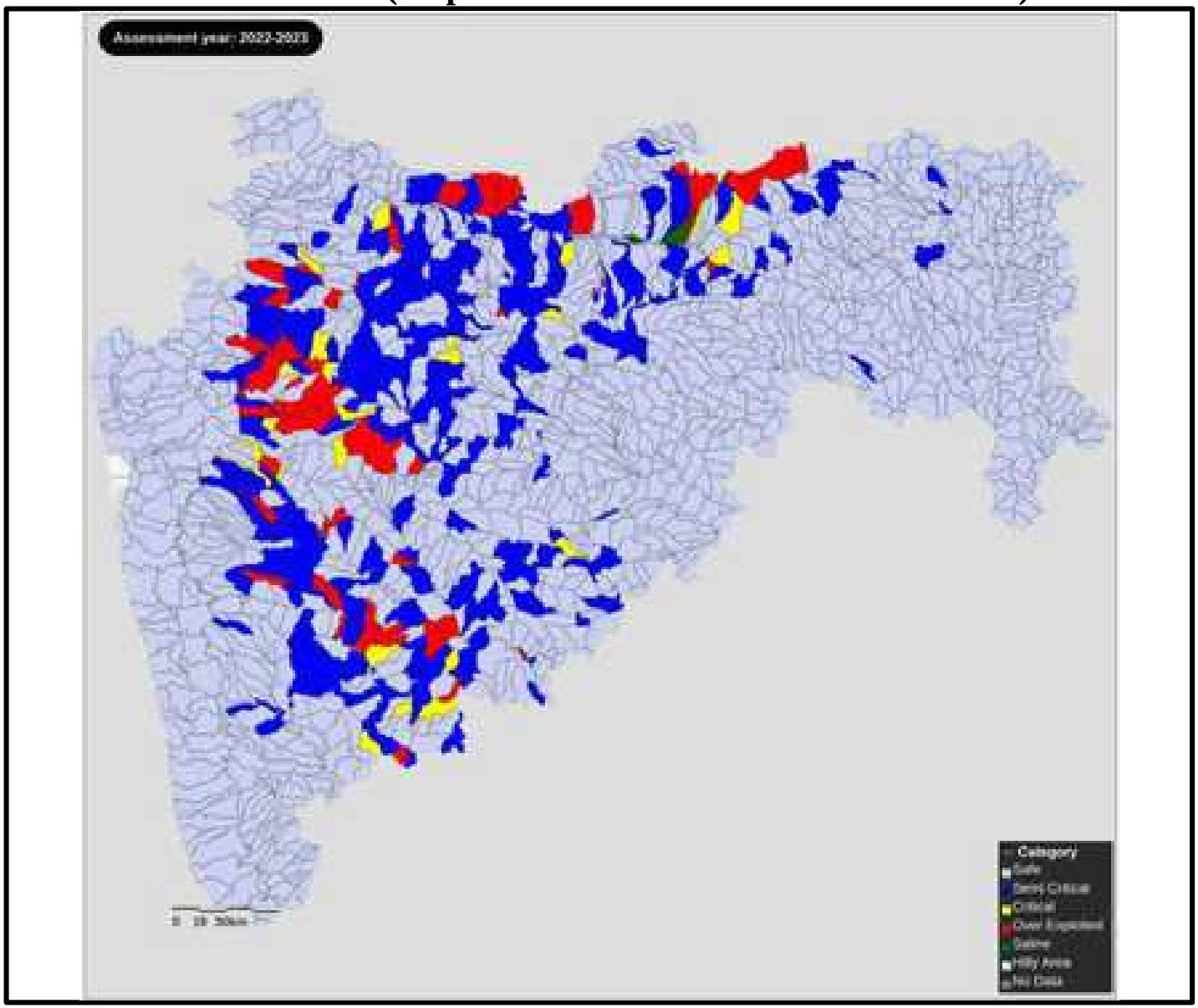
MAP 6: WATERSHED WISE CATEGORIZATION OF MAHARASHTRA STATE
(As per Groundwater Estimation 2022-23)